ALABAMA

CONTENTS

	Page
MAP.—Alabama by minor civil divisions	68
DIAGRAM.—Urban and rural population of Alabama: 1820 to 1940	69

TABLES

TABLE 1.—Population of Alabama, urban and rural: 1820 to 1940	69
TABLE 2.—Population of cities of 10,000 or more from earliest census to 1940	70
TABLE 3.—Area and population of counties, urban and rural: 1920 to 1940	71
TABLE 4.—Population of counties by minor civil divisions: 1920 to 1940	72
TABLE 5.—Population of incorporated places: 1940 and 1930	79
TABLE 6.—Population of cities of 5,000 or more by wards: 1940	80
TABLE 7.—Population of the Birmingham metropolitan district: 1940 and 1930	81
TABLE 7–A.—Population of the Mobile metropolitan district: 1940	82
TABLE 7–B.—Population of the Montgomery metropolitan district: 1940 and 1930	82
TABLE 8.—Population of Birmingham by census tracts: 1940	82

MAPS FOR CENSUS TRACTS AND METROPOLITAN DISTRICTS

CENSUS TRACTS	Page
Birmingham	83

METROPOLITAN DISTRICTS	Page
Birmingham	84
Mobile	85
Montgomery	85

467750—42——6

ALABAMA

MINOR CIVIL DIVISIONS—ELECTION PRECINCTS

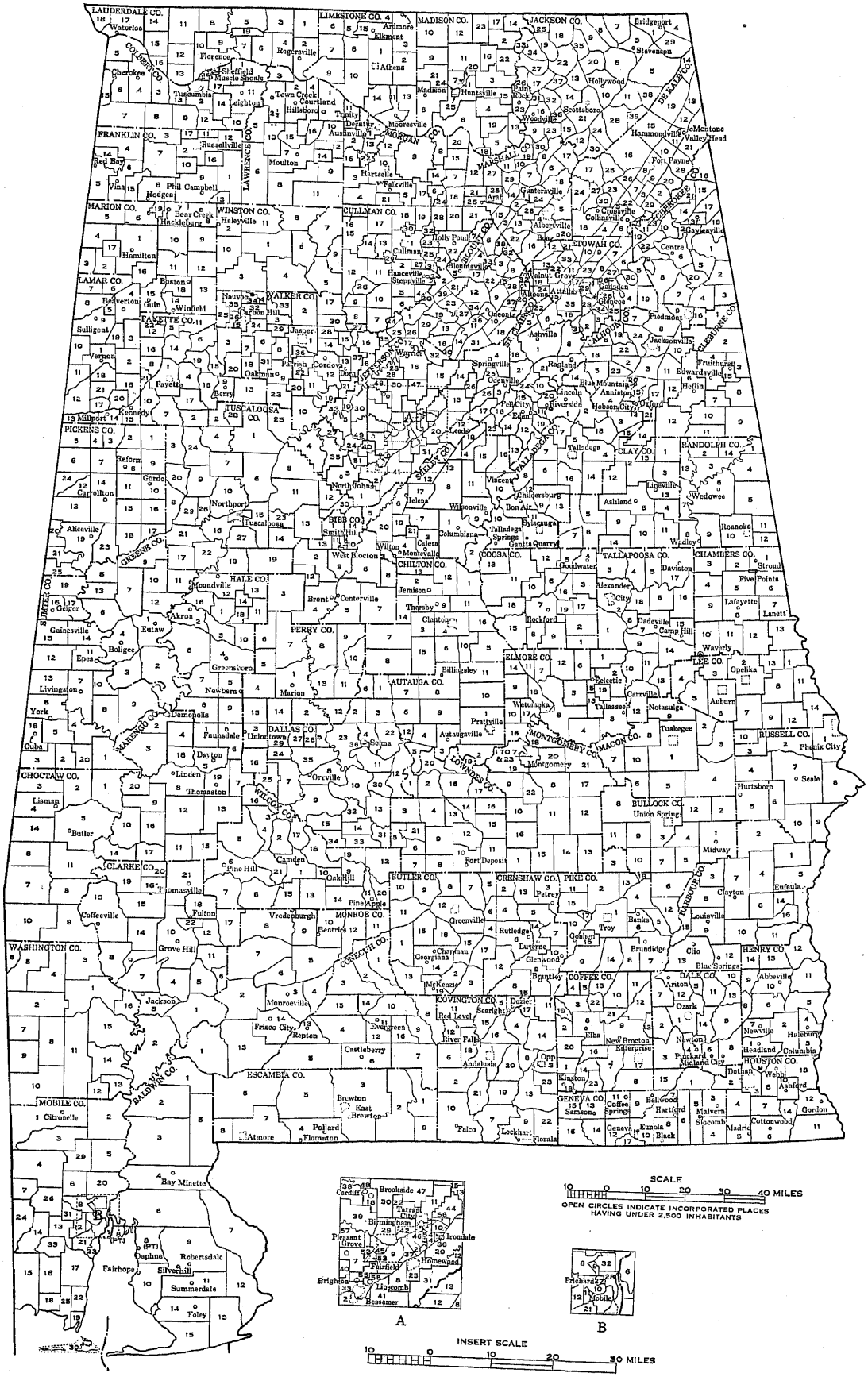

ALABAMA

NUMBER OF INHABITANTS

Population of the State.—Alabama was organized as a Territory in 1817 and was admitted to the Union as the twenty-second State in 1819. Its population on April 1, 1940, according to the Sixteenth Census, was 2,832,961, which represents an increase of 186,713, or 7.1 percent, as compared with the population on April 1, 1930. The total land area of the State, as shown in table 3, is 51,078 square miles. The average number of inhabitants per square mile in 1940 was 55.5, as compared with 51.8 in 1930.

Table 1 shows the population of Alabama from 1820, the year in which its area was first separately enumerated, to 1940, together with the increase during each decade. The urban and rural population of the State at each census is presented in this table and is also shown graphically in the accompanying chart. The urban population of Alabama consists of those persons living in incorporated places of 2,500 or more, the remainder of the population being classified as rural. The urban and rural areas are not necessarily constant from one census to the next, since new places are added to the urban list from time to time as they attain a population of 2,500 or more. Places are likewise taken off the urban list when, through decline in population, they fall below this limit. For example, Elba qualified as urban in 1930 but not in 1920 or 1940.

TABLE 1.—POPULATION OF ALABAMA, URBAN AND RURAL: 1820 to 1940

[Percent not shown where base is less than 100]

CENSUS YEAR	THE STATE			URBAN PLACES				RURAL TERRITORY			PERCENT OF TOTAL	
	Population	Increase over preceding census		Number of places	Population	Increase over preceding census		Population	Increase over preceding census		Urban	Rural
		Number	Percent			Number	Percent		Number	Percent		
1940	2,832,961	186,713	7.1	59	855,941	111,668	15.0	1,977,020	75,045	3.9	30.2	69.8
1930	2,646,248	298,074	12.7	53	744,273	234,956	46.1	1,901,975	63,118	3.4	28.1	71.9
1920	2,348,174	210,081	9.8	39	509,317	138,886	37.5	1,838,857	71,195	4.0	21.7	78.3
1910	2,138,093	309,396	16.9	28	370,431	153,717	70.9	1,767,662	155,679	9.7	17.3	82.7
1900	1,828,697	315,296	20.8	27	216,714	64,479	42.4	1,611,983	250,817	18.4	11.9	88.1
1890	1,513,401	250,896	19.9	19	152,235	83,717	122.2	1,361,166	167,179	14.0	10.1	89.9
1880	1,262,505	265,513	26.6	7	68,518	5,818	9.3	1,193,987	259,695	27.8	5.4	94.6
1870	996,992	32,791	3.4	7	62,700	13,790	28.2	934,292	18,992	2.1	6.3	93.7
1860	964,201	192,578	25.0	5	48,901	13,722	39.0	915,300	178,856	24.3	5.1	94.9
1850	771,623	180,867	30.6	4	35,179	22,507	177.6	736,444	158,360	27.4	4.6	95.4
1840	590,756	281,229	90.9	1	12,672	9,478	296.7	578,084	271,751	88.7	2.1	97.9
1830	309,527	181,026	142.0	1	3,194	3,194		306,333	178,432	139.5	1.0	99.0
1820	127,901							127,901				100.0

URBAN AND RURAL POPULATION OF ALABAMA: 1820 to 1940

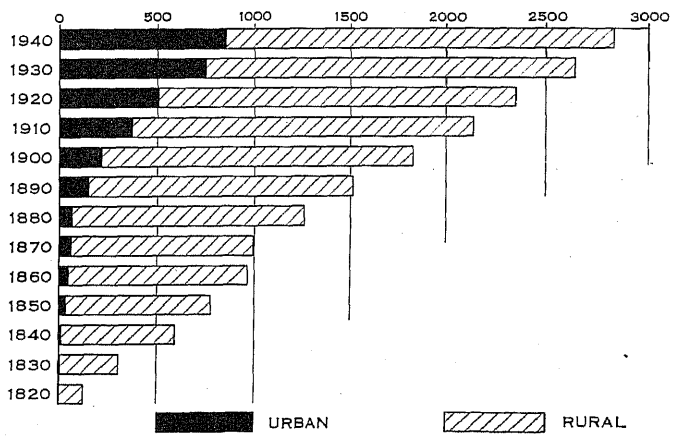

Geographic subdivisions.—In tables 2 to 5 the population of Alabama is shown by counties, election precincts, cities, and towns, with some comparative figures from previous censuses. Table 6 gives the population of cities by wards. Data for the metropolitan districts are presented in tables 7, 7–A, and 7–B, and for the census tracts of Birmingham, in table 8.

Cities of 10,000 or more.—There are 14 cities in the State that had a population of 10,000 or more in 1940. Table 2 shows the population of these cities at each census for which figures are available, together with the increase or decrease during each decade. Birmingham, the largest city, had a population in 1940 of 267,583; and Montgomery, the capital of the State, had a population of 78,084.

TABLE 2.—POPULATION OF CITIES OF 10,000 OR MORE FROM EARLIEST CENSUS TO 1940

[A minus sign (−) denotes decrease]

CITY AND CENSUS YEAR	Population	INCREASE OVER PRECEDING CENSUS	
		Number	Percent
Anniston:			
1940	25,523	3,178	14.2
1930	22,345	4,611	26.0
1920	17,734	4,940	38.6
1910	12,794	3,099	32.0
1900	9,695	−303	−3.0
1890	9,998	9,056	961.4
1880	942		
Bessemer:			
1940	22,826	2,105	10.2
1930	20,721	2,047	11.0
1920	18,674	7,810	71.9
1910	10,864	4,506	70.9
1900	6,358	1,814	39.9
1890	4,544		
Birmingham:			
1940	267,583	7,905	3.0
1930	259,678	80,872	45.2
1920	178,806	46,121	34.8
1910	132,685	94,270	245.4
1900	38,415	12,237	46.7
1890	26,178	23,092	748.3
1880	3,086		
Decatur:[1]			
1940	16,604	1,011	6.5
1930	15,593	10,841	228.1
1920	4,752	524	12.4
1910	4,228	1,114	35.8
1900	3,114	349	12.6
1890	2,765	1,702	160.1
1880	1,063	392	58.4
1870	671		
1860	(2)		
1850	606		
Dothan:			
1940	17,194	1,148	7.2
1930	16,046	6,012	59.9
1920	10,034	3,018	43.0
1910	7,016	3,741	114.2
1900	3,275	3,028	1,225.9
1890	247		
Fairfield:			
1940	11,703	644	5.8
1930	11,059	6,056	121.0
1920	5,003		
Florence:			
1940	15,043	3,314	28.3
1930	11,729	1,200	11.4
1920	10,529	3,840	57.4
1910	6,689	211	3.3
1900	6,478	466	7.8
1890	6,012	4,653	342.4
1880	1,359	−644	−32.1
1870	2,003	608	43.6
1860	1,395	593	73.9
1850	802		
Gadsden:			
1940	36,975	12,933	53.8
1930	24,042	9,305	63.1
1920	14,737	4,180	39.6
1910	10,557	6,275	146.5
1900	4,282	1,381	47.6
1890	2,901	1,204	70.9
1880	1,697		
Huntsville:			
1940	13,050	1,496	12.9
1930	11,554	3,536	44.1
1920	8,018	407	5.3
1910	7,611	−457	−5.7
1900	8,068	73	0.9
1890	7,995	3,018	60.6
1880	4,977	70	1.4
1870	4,907	1,273	35.0
1860	3,634	771	26.9
1850	2,863		
Mobile:			
1940	78,720	10,518	15.4
1930	68,202	7,425	12.2
1920	60,777	9,256	18.0
1910	51,521	13,052	33.9
1900	38,469	7,393	23.8
1890	31,076	1,944	6.7
1880	29,132	−2,902	−9.1
1870	32,034	2,776	9.5
1860	29,258	8,743	42.6
1850	20,515	7,843	61.9
1840	12,672	9,478	296.7
1830	3,194		
Montgomery:			
1940	78,084	12,005	18.2
1930	66,079	22,615	52.0
1920	43,464	5,328	14.0
1910	38,136	7,790	25.7
1900	30,346	8,463	38.7
1890	21,883	5,170	30.9
1880	16,713	6,125	57.8
1870	10,588	1,745	19.7
1860	8,843	115	1.3
1850	8,728	6,549	300.6
1840	2,179		
Phenix City:[3]			
1940	15,351	1,489	10.7
1930	13,862	8,430	155.2
1920	5,432	877	19.3
1910	4,555	392	9.4
1900	4,163	463	12.5
1890	3,700	1,476	66.4
1880	2,224		
Selma:			
1940	19,834	1,822	10.1
1930	18,012	2,423	15.5
1920	15,589	1,940	14.2
1910	13,649	4,936	56.7
1900	8,713	1,091	14.3
1890	7,622	93	1.2
1880	7,529	1,045	16.1
1870	6,484	3,307	104.1
1860	3,177	104	3.4
1850	3,073		
Tuscaloosa:			
1940	27,493	6,834	33.1
1930	20,659	8,663	72.2
1920	11,996	3,589	42.7
1910	8,407	3,313	65.0
1900	5,094	879	20.9
1890	4,215	1,797	74.3
1880	2,418	729	43.2
1870	1,689	−2,300	−57.7
1860	3,989		

[1] Albany and Decatur cities and Fairview town consolidated as Decatur city in 1927. Combined population for 1920 and prior census years is as follows: 1920, 12,772; 1910, 10,583; 1900, 7,551; 1890, 6,330.
[2] Not returned separately.
[3] Phenix City and Girard city consolidated as Phenix City in 1923. Combined population for 1920 and prior census years is as follows: 1920, 10,374; 1910, 8,769; 1900, 8,003.

Counties.—Table 3 shows the population of the 67 counties of Alabama from 1920 to 1940, together with the land area of each county and its population per square mile in 1940. The land areas given here are the result of new measurements recently compiled and differ somewhat from those published in earlier census reports. Of the 63 counties whose boundaries remained unchanged since 1930, 45 increased in population between 1930 and 1940, and 18 decreased. Part of Cherokee County was annexed to Etowah County in 1931; part of Lee County was annexed to Russell County and part of Russell County was annexed to Lee County, in 1932. This table also presents the urban and rural population of each county for 1940 and 1930.

TABLE 3.—AREA AND POPULATION OF COUNTIES, URBAN AND RURAL: 1920 TO 1940

[A minus sign (−) denotes decrease. Percent not shown where less than 0.1 or where base is less than 100]

COUNTY	Land area in square miles, 1940	TOTAL POPULATION						URBAN POPULATION			RURAL POPULATION			PERCENT URBAN	
		1940		1930	1920	Percent of increase		1940	1930	Percent of increase	1940	1930	Percent of increase	1940	1930
		Total	Per square mile			1930 to 1940	1920 to 1930								
Alabama	51,078	2,832,961	55.5	2,646,248	2,348,174	7.1	12.7	855,941	744,273	15.0	1,977,020	1,901,975	3.9	30.2	28.1
Autauga	599	20,977	35.0	19,694	18,908	6.5	4.2	2,664			18,313	19,694	−7.0	12.7	
Baldwin	1,613	32,324	20.0	28,289	20,730	14.3	36.5				32,324	28,289	14.3		
Barbour	899	32,722	36.4	32,425	32,067	0.9	1.1	6,269	5,208	20.4	26,453	27,217	−2.8	19.2	16.1
Bibb	625	20,155	32.2	20,780	23,144	−3.0	−10.2				20,155	20,780	−3.0		
Blount	640	29,490	46.1	28,020	25,538	5.2	9.7				29,490	28,020	5.2		
Bullock	615	19,810	32.2	20,016	25,333	−1.0	−21.0	3,107	2,875	8.1	16,703	17,141	−2.6	15.7	14.4
Butler	773	32,447	42.0	30,195	29,531	7.5	2.2	5,075	3,985	27.4	27,372	26,210	4.4	15.6	13.2
Calhoun [1]	610	63,319	103.8	55,611	47,822	13.9	16.3	32,537	28,853	12.8	30,782	26,758	15.0	51.4	51.9
Chambers	598	42,146	70.5	39,313	41,201	7.2	−4.6	6,141	5,204	18.0	36,005	34,109	5.6	14.6	13.2
Cherokee [1]	600	19,928	33.2	20,219	20,862	−1.4	−3.1				19,928	20,219	−1.4		
Chilton	699	27,955	40.0	24,579	22,770	13.7	7.9	3,982			23,973	24,579	−2.5	14.2	
Choctaw	918	20,195	22.0	20,513	20,753	−1.6	−1.2				20,195	20,513	−1.6		
Clarke	1,241	27,636	22.3	26,016	26,409	6.2	−1.5				27,636	26,016	6.2		
Clay	603	16,907	28.0	17,768	22,645	−4.8	−21.5				16,907	17,768	−4.8		
Cleburne	574	13,629	23.7	12,877	13,360	5.8	−3.6				13,629	12,877	5.8		
Coffee	677	31,987	47.2	32,556	30,070	−1.7	8.3	4,353	6,225	−30.1	27,634	26,331	4.9	13.6	19.1
Colbert	616	34,093	55.3	29,860	31,997	14.2	−6.7	13,448	10,754	25.1	20,645	19,106	8.1	39.4	36.0
Conecuh	850	25,489	30.0	25,429	24,593	0.2	3.4				25,489	25,429	0.2		
Coosa	648	13,460	20.8	12,460	14,839	8.0	−16.0				13,460	12,460	8.0		
Covington	1,034	42,417	41.0	41,356	38,103	2.6	8.5	13,063	10,652	22.6	29,354	30,704	−4.4	30.8	25.8
Crenshaw	611	23,631	38.7	23,656	23,017	−0.1	2.8				23,631	23,656	−0.1		
Cullman	743	47,343	63.7	41,051	33,034	15.3	24.3	5,074	2,786	82.1	42,269	38,265	10.5	10.7	6.8
Dale	560	22,685	40.5	23,175	22,711	−2.1	2.0	3,601	3,103	16.0	19,084	20,072	−4.9	15.9	13.4
Dallas	976	55,245	56.6	55,094	54,697	0.3	0.7	19,834	18,012	10.1	35,411	37,082	−4.5	35.9	32.7
De Kalb	778	43,075	55.4	40,104	34,426	7.4	16.5	4,424	3,375	31.1	38,651	36,729	5.2	10.3	8.4
Elmore [2]	628	34,546	55.0	34,280	28,085	0.8	22.1	3,089			31,457	34,280	−8.2	8.9	
Escambia	962	30,671	31.9	27,963	22,464	9.7	24.5	6,523	5,853	11.4	24,148	22,110	9.2	21.3	20.9
Etowah [1]	555	72,580	130.8	63,399	47,275	14.5	34.1	41,860	37,171	12.6	30,720	26,228	17.1	57.7	58.6
Fayette	627	21,651	34.5	18,443	18,365	17.4	0.4	2,668			18,983	18,443	2.9	12.3	
Franklin	644	27,552	42.8	25,372	22,011	8.6	15.3	3,510	3,146	11.6	24,042	22,226	8.2	12.7	12.4
Geneva	578	29,172	50.5	30,104	29,315	−3.1	2.7	2,803			26,369	30,104	−12.4	9.6	
Greene	645	19,185	29.7	19,745	18,133	−2.8	8.9				19,185	19,745	−2.8		
Hale	663	25,533	38.5	26,265	24,289	−2.8	8.1				25,533	26,265	−2.8		
Henry	565	21,912	38.8	22,820	21,547	−4.0	5.9				21,912	22,820	−4.0		
Houston	578	45,665	79.0	45,935	37,334	−0.6	23.0	17,194	16,046	7.2	28,471	29,889	−4.7	37.7	34.9
Jackson	1,124	41,802	37.2	36,881	35,864	13.3	2.8	2,834			38,968	36,881	5.7	6.8	
Jefferson	1,117	459,930	411.8	431,493	310,054	6.6	39.2	319,213	307,431	3.8	140,717	124,062	13.4	69.4	71.2
Lamar	605	19,708	32.6	18,001	18,149	9.5	−0.8				19,708	18,001	9.5		
Lauderdale	688	46,230	67.2	41,130	39,556	12.4	4.0	15,043	11,729	28.3	31,187	29,401	6.1	32.5	28.5
Lawrence	686	27,880	40.6	26,942	24,307	3.5	10.8				27,880	26,942	3.5		
Lee [3]	612	36,455	59.6	36,063	32,821	1.1	9.9	13,139	15,555	−15.5	23,316	20,508	13.7	36.0	43.1
Limestone	545	35,642	65.4	36,629	31,341	−2.7	16.9	4,342	4,238	2.5	31,300	32,391	−3.4	12.2	11.6
Lowndes	716	22,661	31.6	22,878	25,406	−0.9	−10.0				22,661	22,878	−0.9		
Macon	616	27,654	44.9	27,103	23,561	2.0	15.0	3,937	3,314	18.8	23,717	23,789	−0.3	14.2	12.2
Madison	803	66,317	82.6	64,623	51,268	2.6	26.0	13,050	11,554	12.9	53,267	53,069	0.4	19.7	17.9
Marengo	978	35,736	36.5	36,426	36,065	−1.9	1.0	4,137	4,037	2.5	31,599	32,389	−2.4	11.6	11.1
Marion	743	28,776	38.7	25,967	22,008	10.8	18.0				28,776	25,967	10.8		
Marshall	571	42,395	74.2	39,802	32,669	6.5	21.8	8,049	5,542	45.2	34,346	34,260	0.3	19.0	13.9
Mobile	1,248	141,974	113.8	118,363	100,117	19.9	18.2	84,804	72,782	16.5	57,170	45,581	25.4	59.7	61.5
Monroe	1,035	29,465	28.5	30,070	28,884	−2.0	4.1				29,465	30,070	−2.0		
Montgomery [2]	790	114,420	144.8	98,671	80,853	16.0	22.0	78,084	66,079	18.2	36,336	32,592	11.5	68.2	67.0
Morgan	574	48,148	83.9	46,176	40,196	4.3	14.9	19,188	15,593	23.1	28,960	30,583	−5.3	39.9	33.8
Perry	734	26,610	36.3	26,385	25,373	0.9	4.0				26,610	26,385	0.9		
Pickens	887	27,671	31.2	24,902	25,353	11.1	−1.8				27,671	24,902	11.1		
Pike	673	32,493	48.3	32,240	31,631	0.8	1.9	7,055	6,814	3.5	25,438	25,426		21.7	21.1
Randolph	581	25,516	43.9	26,861	27,064	−5.0	−0.8	4,168	4,373	−4.7	21,348	22,488	−5.1	16.3	16.3
Russell [3]	639	35,775	56.0	27,377	27,448	30.7	−0.3	15,351	7,263	111.4	20,424	20,114	1.5	42.9	26.5
St. Clair	641	27,336	42.6	24,510	23,383	11.5	4.8	39			27,297	24,510	11.4	0.1	
Shelby	801	28,962	36.2	27,576	27,097	5.0	1.7				28,962	27,576	5.0		
Sumter	914	27,321	29.9	26,929	25,569	1.5	5.3				27,321	26,929	1.5		
Talladega	750	51,832	69.1	45,241	41,005	14.6	10.3	15,567	11,711	32.9	36,265	33,530	8.2	30.0	25.9
Tallapoosa	711	35,270	49.6	31,188	29,744	13.1	4.9	6,640	4,519	46.9	28,630	26,669	7.4	18.8	14.5
Tuscaloosa	1,340	76,036	56.7	64,153	53,680	18.5	19.5	30,680	20,659	48.5	45,356	43,494	4.3	40.3	32.2
Walker	809	64,201	79.4	59,445	50,593	8.0	17.5	9,402	7,832	20.0	54,799	51,613	6.2	14.6	13.2
Washington	1,069	16,188	15.1	16,365	14,279	−1.1	14.6				16,188	16,365	−1.1		
Wilcox	900	26,279	29.2	24,880	31,080	5.6	−19.9				26,279	24,880	5.6		
Winston	633	18,746	29.6	15,596	14,378	20.2	8.5				18,746	15,596	20.2		

[1] Part of Calhoun annexed to Etowah and part of Etowah annexed to Calhoun in 1923; part of Cherokee annexed to Etowah in 1931.
[2] Part of Elmore annexed to Montgomery in 1923.
[3] Part of Lee annexed to Russell and part of Russell annexed to Lee in 1932.

Minor civil divisions.—To the primary political divisions into which the counties are subdivided the Census Bureau applies the general term "minor civil divisions." The primary divisions of the counties in Alabama are called election precincts except for the city of Mobile, which is independent of any precinct organization. The incorporated cities (except Mobile) and towns form secondary subdivisons of the minor civil divisions in which they are located. There are 64 cities and 215 towns. Ordinarily, each of the secondary divisions forms a part of some election precinct (or precincts).

Table 4 shows the population of each county by election precincts, cities, and towns for the last three censuses. The population of the cities (except Mobile) and towns is shown in *italics* under the population of the primary divisions in which the places are respectively located. Where an incorporated place is located in two or more election precincts in the same county, the total population of the place is given in connection with the presentation for the first precinct. Where the place is situated in two or more counties, the total population is given in connection with each county. The population of Montgomery, which comprises several entire election precincts, is presented in roman type, followed by the precinct population in *italic* type.

TABLE 4.—POPULATION OF COUNTIES BY MINOR CIVIL DIVISIONS: 1920 TO 1940

[The "precincts" shown in the table are election precincts. For changes in boundaries, etc., between 1930 and 1940, see footnotes; for those between 1920 and 1930, see Reports of the Fifteenth Census (1930), vol. I, pp. 69–83]

MINOR CIVIL DIVISION	1940	1930	1920
Autauga County	20,977	19,694	18,903
Prec. 1, Prattville	7,272	5,838	5,102
Prattville city	*2,664*	*2,331*	*2,316*
Prec. 2, Washington	860	1,284	1,457
Prec. 3, Autaugaville	1,904	2,405	2,411
Autaugaville town	*456*	*450*	*382*
Prec. 4, Mulberry	1,182	1,260	1,080
Prec. 5, Days Bend	480	308	343
Prec. 6, Milton	835	695	704
Prec. 7, Bethel	946	991	1,141
Prec. 8, Big Springs	1,737	1,421	1,258
Billingsley town	*133*	*189*	*214*
Prec. 9, Independence	1,592	1,023	1,265
Prec. 10, Liberty	1,927	2,628	1,964
Prec. 11, Mountain Creek	1,978	1,340	1,290
Prec. 12, Statesville	264	501	893
Baldwin County	32,324	28,289	20,730
Prec. 1, Blackshear	1,042	945	1,076
Prec. 2, Montgomery Hill and Latham	692	704	864
Prec. 3, Stockton and Deans	1,782	1,870	1,880
Prec. 4, Bay Minette	4,723	4,271	2,693
Bay Minette town	*1,763*	*1,545*	*1,092*
Prec. 5, Perdido and Lottie	2,024	1,834	1,710
Prec. 6, Stapleton	1,330	1,045	1,021
Prec. 7, Holmans and Gatesswood	585	519	1,011
Prec. 8, Daphne	2,723	2,131	1,608
Daphne town	*690*	*582*	-------
Prec. 9, Loxley and Robertsdale	4,981	4,380	2,301
Robertsdale town	*779*	*678*	-------
Silverhill town	*270*	*814*	-------
Prec. 10, Fairhope and Zundels	3,917	3,681	1,963
Fairhope town	*1,845*	*1,549*	*868*
Prec. 11, Summerdale and Marlow	1,808	1,766	993
Summerdale town	*239*	*267*	-------
Prec. 12, Seminole and Lillian	1,049	605	356
Prec. 13, Elberta and Josephine	1,239	1,272	1,025
Prec. 14, Foley and Magnolia Springs	3,081	2,370	1,214
Foley town	*864*	*791*	*243*
Prec. 15, Bon Secour and Palmetto Beach	1,348	896	1,015
Barbour County	32,722	32,425	32,067
Prec. 1, Hawkinsville	767	2,092	1,499
Prec. 2, Spring Hill	1,839	1,659	2,092
Prec. 3, Mount Andrew	1,040	1,006	1,150
Prec. 4, Fort Browder	876	862	1,275
Prec. 5, Eufaula	9,411	8,118	7,237
Eufaula city	*6,269*	*5,208*	*4,989*
Prec. 6, Williamsons	783	779	984
Prec. 7, Clayton	3,743	3,876	2,986
Clayton town	*1,813*	*1,717*	*989*
Prec. 8, Starr Hill	1,867	1,479	1,587
Prec. 9, Louisville	2,663	2,527	2,568
Louisville town	*662*	*587*	*504*
Prec. 10, Coxs Mills	1,609	1,650	1,827
Prec. 11, Richards	880	1,018	1,067
Prec. 12, Reeders Mill	1,672	1,691	1,768
Blue Springs town	*167*	*164*	*162*
Prec. 13, Faulks	3,872	3,683	3,749
Clio town	*841*	*867*	*838*
Prec. 14, Cotton Hill	411	464	561
Prec. 15, Grants	575	842	871
Prec. 16, Belcher	714	679	846
Bibb County	20,155	20,780	22,144
Prec. 1, Kingdom [1]	1,436	2,210	2,826
Prec. 2, Scottsville	749	796	709
Prec. 3, Hallman	727	974	1,346
Prec. 4, James	3,934	3,395	3,126
Brent town	*829*	*586*	*286*
Prec. 5, Centerville	1,874	1,957	2,078
Centerville town	*893*	*791*	*793*
Prec. 6, Six Mile	3,291	3,386	4,447
Prec. 7, Randolph	1,947	1,721	2,267
Prec. 8, Ashby	590	798	785
Prec. 9, River Bend	530	1,639	889
Prec. 10, Blocton	2,013	2,112	2,811
Smith Hill town	*280*	*240*	*431*
West Blocton town, total [1]	*1,817*	*1,070*	*1,023*
In Prec. 10	*1,101*	*1,070*	*1,023*
In Prec. 11	*716*	-------	-------
Prec. 11, McGraws	1,023	669	790
West Blocton town (part)	*716*	-------	-------
Prec. 12, Eoline	600	523	618
Prec. 13, Oldham Place	594	600	452
Prec. 14, Belle Ellen [1]	847	-------	-------
Blount County	29,490	28,020	25,538
Prec. 1, Blount Springs	431	671	372
Prec. 2, Gum Springs	846	799	877
Prec. 3, Moores	1,099	875	653
Prec. 4, Pocahontas	1,081	1,009	845
Prec. 5, Blountsville	1,415	1,637	1,479
Blountsville town	*576*	*468*	*427*
Prec. 6, Brooksville	755	608	671
Prec. 7, Summit	1,035	1,168	1,099
Prec. 8, Campbells	892	967	864
Prec. 9, Hoods	881	774	555
Prec. 10, Hardwick	855	513	947
Prec. 11, Chepultepec	877	920	841
Prec. 12, Cleveland	1,628	1,513	1,484
Prec. 13, Whites	656	670	1,245
Prec. 14, Remlap	467	415	456
Prec. 15, Baileys	180	405	-------
Prec. 16, Selfville	745	788	658
Prec. 17, Royal	376	437	356
Prec. 18, Straight Mountain	749	511	-------
Prec. 19, Walkers	1,445	655	707
Prec. 20, Bangor	430	297	349
Prec. 21, Joy	333	303	346
Prec. 22, Rays	942	849	1,248
Prec. 23, Nectar	636	596	604
Prec. 24, Sulphur Springs	301	296	-------
Prec. 25, Mount High	335	222	913
Prec. 26, Rock Springs	500	602	-------
Prec. 27, Locust Fork	548	589	-------
Prec. 28, Thompsons	495	562	552
Prec. 29, Calverts	1,248	1,395	1,268
Prec. 30, Compton	116	67	123
Prec. 31, Blount Highlands	593	477	495
Prec. 32, Burgetts	659	642	594
Prec. 33, Liberty	1,052	838	845
Prec. 34, Concord	226	547	562
Prec. 35, Harmony	479	450	387
Prec. 36, Oneonta [2]	3,018	2,412	1,944
Oneonta town [2]	*2,376*	*1,837*	*876*
Prec. 37, Daileys	356	704	579
Prec. 38, Bright Star	586	603	620
Prec. 39, Copelands	224	234	-------
Bullock County	19,810	20,016	25,333
Prec. 1, Midway	2,806	2,679	2,962
Midway town	*617*	*710*	*524*
Prec. 2, Enon	1,088	1,221	1,227
Bullock County—Con.			
Prec. 3, Union Springs	5,423	5,206	6,840
Union Springs city	*3,107*	*2,875*	*4,125*
Prec. 4, Ridgely	1,237	1,463	1,459
Prec. 5, Indian Creek	883	947	1,287
Prec. 6, Perote	1,480	1,630	1,840
Prec. 7, Inverness	1,101	1,142	1,472
Prec. 8, Greenwood	2,078	1,985	3,495
Prec. 9, Bruceville	874	940	1,307
Prec. 10, Post Oak	1,198	937	1,047
Prec. 11, Union Church	816	964	973
Prec. 12, Suspension	826	902	1,424
Butler County	32,447	30,195	29,531
Prec. 1, Starlington	1,380	1,298	1,575
Prec. 2, Shell	1,037	1,048	1,021
Prec. 3, Oaky Streak	545	668	641
Prec. 4, Dock	534	560	536
Prec. 5, Daisy	616	530	902
Prec. 6, Midway [3]	682	748	643
Prec. 7, Spring Hill	1,593	1,379	1,409
Prec. 8, Dead Fall	920	891	1,007
Prec. 9, Manningham	1,190	959	1,113
Prec. 10, Monterey	819	667	868
Prec. 11, Forest Home and Butler Springs	1,707	1,599	1,668
Prec. 12, Greenville	9,723	8,341	7,016
Greenville city	*5,075*	*3,985*	*3,471*
Prec. 13, Garland	1,557	1,450	1,681
Prec. 14, Georgiana	5,603	5,394	5,144
Chapman town	*1,167*	*1,189*	*1,142*
Georgiana town	*1,627*	*1,480*	*1,560*
Prec. 15, Mount Olive	713	574	615
Prec. 16, Rocky Creek	692	1,036	1,099
Prec. 17, Pigeon Creek	651	590	655
Prec. 18, Bolling	1,120	1,288	958
Prec. 19, McKenzie	1,365	1,175	980
McKenzie town	*504*	*396*	*298*
Calhoun County	63,319	455,611	427,822
Prec. 1, Jacksonville	3,783	4,212	3,003
Jacksonville city	*2,995*	*2,840*	*2,395*
Prec. 2, Alexandria	1,248	1,434	1,631
Prec. 3, Weavers	2,328	1,292	1,048
Prec. 4, Burns Cross Roads	2,489	2,040	1,844
Prec. 5, Polkville	810	764	760
Prec. 6, Peeks Hill	498	489	462
Prec. 7, Hollingsworth	841	817	989
Prec. 8, Greens Schoolhouse	1,379	1,244	1,031
Prec. 9, Piedmont	5,029	4,578	3,525
Piedmont city	*4,019*	*3,668*	*2,645*
Prec. 10, Rabbit Town	659	801	844
Prec. 11, White Plains	963	1,209	1,464
Prec. 12, Choccolocco and Iron City	1,004	865	986
Prec. 13, Oxford	3,656	3,324	2,744
Hobson City town	*508*	*404*	*371*
Oxford town	*1,393*	*1,206*	*1,108*
Prec. 14, Sulphur Springs	1,035	768	1,118
Prec. 15, Anniston [4]	28,836	22,807	18,185
Anniston city [4]	*25,523*	*22,345*	*17,734*
Prec. 16, Greenwood	779	709	735
Prec. 17, De Armanville	920	893	927
Prec. 18, Ohatchie	1,221	1,033	965
Prec. 19, Duke	808	658	751
Prec. 20 [4]	1,982	-------	-------
Blue Mountain town [4]	*687*	*1,134*	*605*
Prec. 21, Snows	449	399	379
Prec. 22, Wellington	914	911	537
Prec. 23, Peaceburg	690	610	653
Prec. 24, West Point	998	240	823

[1] BIBB.—West Blocton town returned in 1930 as in precinct 10 only. Precinct 14, Belle Ellen, organized from part of 1 in 1931.
[2] BLOUNT.—Part of precinct 36 annexed to Oneonta town in 1940.
[3] BUTLER.—Name of precinct 6, Midway, changed from Yellow Shanks since 1930.
[4] CALHOUN.—County totals for 1930 and 1920 include population (3,514 in 1930; 2,418 in 1920) of old precinct 20, Oxanna, including part of Anniston city, annexed to 15 in 1939. New precinct 20 organized from part of 15, including Blue Mountain town, and part of Blue Mountain town reverted to new precinct 20, in 1939.

TABLE 4.—POPULATION OF COUNTIES BY MINOR CIVIL DIVISIONS: 1920 TO 1940—Continued

MINOR CIVIL DIVISION	1940	1930	1920
Chambers County	42,146	39,313	41,201
Prec. 1, Standing Rock	1,580	1,839	2,293
Five Points town, total	778	1,010	835
In Prec. 1	192	245	254
In Prec. 2	156	189	-------
In Prec. 5	380	539	528
In Prec. 6	44	37	53
Stroud town	125	396	442
Prec. 2, Pearsons Cross Roads	1,244	1,723	1,932
Five Points town (part)	156	189	-------
Prec. 3, Milltown and Sparkling Springs	1,775	1,869	2,259
Prec. 4, Wise	1,381	1,686	1,954
Prec. 5, Hamburg and Five Points	2,365	2,830	3,035
Five Points town (part)	380	539	528
Prec. 6, Fredonia	1,157	1,102	1,700
Five Points town (part)	44	37	53
Prec. 7, Lanett	11,259	8,277	7,097
Lanett city	6,141	5,204	4,976
Prec. 8, Lafayette [5]	4,254	4,159	4,206
Lafayette city [5]	2,138	2,119	1,911
Prec. 9, Ridge Grove	1,418	1,499	2,054
Prec. 10, New Harmony and Waverly	1,729	2,020	2,198
Waverly town, total	321	383	208
In Chambers Co	235	295	208
In Lee Co	86	88	-------
Prec. 11, Oak Bowery	1,202	1,664	1,918
Prec. 12, Cusseta	1,233	1,347	1,799
Prec. 13, Langdale, Shawmut, River View, and Fairfax	11,549	9,298	8,156
Cherokee County [6]	19,928	[6] 20,219	[6] 20,862
Prec. 1, Mud Creek	1,461	1,439	1,103
Prec. 2, Forney	741	977	1,366
Prec. 3, Tecumseh	479	366	561
Prec. 4, Spring Garden	962	1,128	788
Prec. 5, Barnard	864	1,119	1,165
Prec. 6, Center	2,665	2,331	2,301
Centre town [6]	1,012	-------	-------
Prec. 7, Coloma	663	911	1,097
Prec. 8, Ball Play	1,197	1,125	1,149
Prec. 9, Dixon Shop	988	1,084	1,050
Prec. 10, Round Mountain	631	761	716
Prec. 11, Sand Rock	930	836	830
Prec. 12, Cedar Bluff	1,235	1,162	1,128
Prec. 13, Gaylesville	539	612	703
Gaylesville town	183	204	226
Prec. 14, Waterloo	919	841	966
Prec. 15, Broomtown	712	650	822
Prec. 16, Paden [6]	743	611	775
Prec. 17, Cedar Springs	501	618	645
Prec. 18, Sterling	680	749	703
Prec. 19, Stafford [6]	344	516	442
Prec. 20, Ellis	817	693	641
Prec. 21, Lewis [6]	725	516	510
Prec. 22, Leesburg	732	626	668
Prec. 23, Tucker	400	444	450
Chilton County	27,955	24,579	22,770
Prec. 1, Mullins Schoolhouse	461	436	550
Prec. 2, Jemison	2,439	2,200	1,894
Jemison town	456	459	419
Prec. 3, Isabella [7]	821	665	747
Prec. 4, Clanton [7]	8,257	6,365	5,124
Clanton town [7]	3,982	1,847	1,411
Prec. 5, Verbena	1,843	2,095	1,929
Prec. 6, Kincheon	1,243	1,381	1,175
Prec. 7, Maplesville	1,803	1,574	1,487
Prec. 8, Stanton	1,404	1,307	1,492
Prec. 9, Thorsby	2,376	2,233	1,800
Thorsby town	772	771	513
Prec. 10, Cooper	1,659	1,575	1,492
Prec. 11, Cane Creek	807	328	641
Prec. 12, Mineral Springs	948	774	912
Prec. 13, Ocampo	959	927	852
Prec. 14, Macedonia	917	813	891
Prec. 15, Pletcher	1,333	1,417	1,233
Prec. 16, Providence	685	489	551
Choctaw County	20,195	20,513	20,753
Prec. 1	1,908	1,679	1,846
Prec. 2	995	1,334	1,523
Prec. 3	1,601	1,625	1,445
Prec. 4	1,991	2,147	1,950
Lisman town	545	521	521
Prec. 5	3,432	2,692	3,040
Butler town	670	601	-------
Prec. 6	891	926	1,094
Choctaw County—Con.			
Prec. 7	2,637	2,492	2,298
Prec. 8	1,169	998	1,056
Prec. 9	1,043	1,602	1,102
Prec. 10	2,331	2,357	2,684
Prec. 11	1,201	1,184	1,155
Prec. 14	996	1,477	1,560
Clarke County	27,686	26,016	26,409
Prec. 1, Gainestown	1,605	1,154	1,857
Prec. 2, Salt Works	1,091	1,413	1,378
Prec. 3, Jackson	2,919	2,882	2,514
Jackson town	2,039	1,828	1,331
Prec. 4, Walker Springs	1,260	1,185	1,072
Prec. 5, Suggsville	559	1,140	1,093
Prec. 6, Gosport	864	875	878
Prec. 7, McLeods	1,200	661	602
Prec. 8, River Hill	729	777	928
Prec. 9, Good Springs	396	642	743
Prec. 10, Grove Hill	3,690	3,263	2,200
Grove Hill town	730	491	-------
Prec. 11, Anderson	800	649	803
Prec. 12, Gates	351	277	350
Prec. 13, Coffeeville	2,787	2,737	2,610
Coffeeville town [8]	250	-------	-------
Prec. 14, Clarkesville	848	600	853
Prec. 15, New Prospect	456	320	335
Prec. 16, Tallahatta Springs	327	455	365
Prec. 17, Cane Creek	681	611	826
Prec. 18, Pleasant Hill	1,096	1,166	1,606
Fulton town	707	766	709
Prec. 19, Campbell	1,236	1,096	1,686
Prec. 20, Bashi	727	540	668
Prec. 21, Choctaw Corner	3,814	3,247	2,669
Thomasville town	2,000	1,504	1,002
Prec. 22, Dickinson	200	326	373
Clay County	16,907	[9] 17,768	[9] 22,645
Prec. 1, Delta	1,108	1,198	1,353
Prec. 2, Copper Mine	795	620	1,233
Prec. 3, Fox Creek	1,365	1,700	1,850
Prec. 4, Wesobulga [9]	997	922	1,295
Prec. 5, Coleta	417	304	503
Prec. 6, Ashland [9]	3,757	3,713	4,629
Ashland town	1,608	1,476	1,655
Prec. 7, Hollins	431	510	725
Prec. 8, Brownville	479	674	648
Prec. 9, Millerville [9]	1,301	931	1,254
Prec. 10, Wicker [9]	1,110	1,157	1,506
Prec. 11, Almond [9]	1,135	1,479	1,432
Prec. 12, Idaho [9]	657	518	675
Prec. 13, Lineville	2,521	2,934	3,323
Lineville town	1,300	1,329	1,507
Prec. 14, Pinckneyville	491	635	853
Prec. 15, Union	343	295	581
Cleburne County	13,629	12,877	[10] 13,360
Prec. 1, Borden Springs	652	525	695
Prec. 2, Oak Level	845	1,057	989
Prec. 3, Muscadine	719	614	875
Prec. 4, Edwardsville	921	807	1,055
Edwardsville town	194	226	234
Prec. 6, Heflin	2,609	1,850	1,737
Heflin town	1,684	1,231	1,026
Prec. 7, Bells Mills	515	418	452
Prec. 8, Abernathy	1,564	1,422	1,683
Prec. 9, Lost Creek	2,341	2,752	2,369
Prec. 10, Arbacoochee	826	1,084	833
Prec. 11, Pine Knot	741	670	850
Prec. 12, Chulafinnee	1,379	1,089	1,173
Prec. 14, Kentuck	52	35	57
Prec. 15, Fruithurst	465	554	439
Fruithurst town	281	225	223
Coffee County	31,987	32,556	30,070
Prec. 1, Oldtown	798	962	928
Prec. 2, Dannelly Cross Roads	818	820	760
Prec. 3, Brannen	739	768	674
Prec. 4, Childersville	525	544	503
Prec. 5, Tilmans Mill	367	366	460
Prec. 6, Elba	3,940	4,071	3,285
Elba city	2,363	2,523	1,681
Prec. 7, Peacock	2,199	2,433	2,249
Prec. 8, Grant	2,131	2,386	2,154
Prec. 9, Clintonville	2,638	2,740	2,343
New Brockton town	878	727	467
Prec. 10, Victoria	1,705	1,625	1,728
Prec. 11, Simmons Mill	1,150	1,132	1,140
Prec. 12, Centerville	834	1,068	1,346
Coffee County—Con.			
Prec. 13, Haw Ridge	41	200	304
Prec. 14, Holleys Mill	1,003	948	887
Prec. 15, Deanville	972	917	1,095
Prec. 16, Kimmeys Mill	980	953	1,007
Prec. 17, Enterprise	6,507	5,862	4,872
Enterprise city	4,353	3,702	3,013
Prec. 18, Paul	963	1,068	810
Kinston town	343	388	-------
Prec. 19, Carpenter	496	534	521
Prec. 20, Parker	1,180	1,229	1,164
Prec. 21, Woodland Grove	315	284	343
Prec. 22, Wise Mill	608	560	662
Prec. 23, Leverett	1,078	1,086	835
Colbert County	34,093	29,860	[11] 31,997
Prec. 1, Brick	1,953	2,064	1,370
Prec. 2, Tuscumbia	7,283	6,032	5,980
Tuscumbia city	5,515	4,533	3,855
Prec. 3, Barton	1,060	1,116	899
Prec. 4, Cherokee	2,635	2,390	1,974
Cherokee town	786	659	524
Prec. 5, Riverton	505	834	943
Prec. 6, Margerum	743	875	748
Prec. 7, Rock Creek	559	755	420
Prec. 8, Srygley	500	395	411
Prec. 9, Wheeler	1,008	887	927
Prec. 10, Poplar Creek	723	578	621
Prec. 11, Leighton	3,278	3,239	3,143
Leighton town	810	670	598
Prec. 12, Camp Smith	957	700	718
Prec. 13, Pride	569	593	528
Prec. 14, Spring Valley	1,125	1,118	1,114
Prec. 15, Allsboro	536	491	740
Prec. 16, Sheffield	8,870	6,408	10,739
Sheffield city	7,933	6,221	6,682
Prec. 17, Muscle Shoals	1,789	1,385	-------
Muscle Shoals town	1,113	719	-------
Conecuh County	25,489	25,429	24,593
Prec. 1, Mixons	1,090	1,061	1,441
Prec. 2, Fork of Sepulga	1,162	719	854
Prec. 3, Mill	1,983	2,019	2,052
Prec. 4, Belleville	2,543	2,308	2,298
Prec. 5, Brushy Creek	1,580	1,612	1,322
Prec. 6, Castleberry [12]	2,779	3,100	2,842
Castleberry town [12]	609	427	313
Prec. 7, Brooklyn	2,031	1,906	1,983
Prec. 8, Jamestov n	1,498	1,674	1,408
Prec. 9, Oldtown	1,135	1,080	2,743
Prec. 10, Owassa [12]	1,617	1,608	1,372
Prec. 11, Evergreen	3,755	3,570	2,909
Evergreen city	2,816	2,007	1,813
Prec. 12, Sparta	284	269	156
Prec. 13, Repton	1,225	1,435	1,303
Repton town	365	420	422
Prec. 14, Callihan	799	750	770
Prec. 15, Loree	1,152	1,164	1,140
Prec. 16, Centerville	856	1,154	-------
Coosa County	13,460	[13] 12,460	[13] 14,339
Prec. 1, Brooksville	664	647	914
Prec. 2, Nixburg	1,051	1,014	1,136
Prec. 3, Socapatoy	1,243	1,134	1,387
Prec. 4, Goodwater	2,112	1,922	1,874
Goodwater town	1,028	996	920
Prec. 5, Mount Olive	542	584	745
Prec. 6, Hanover	509	552	769
Prec. 7, Rockford	1,291	1,152	1,310
Rockford town	594	520	274
Prec. 8, McCords	438	342	441
Prec. 9, Concord	334	344	289
Prec. 10, Flint Hill	182	141	232
Prec. 11, Weogufka [13]	1,138	1,176	1,089
Prec. 12, Jordan	1,038	907	827
Prec. 13, Marble Valley	492	539	1,121
Prec. 15, Travellers Rest	556	562	807
Prec. 16, Crews	301	270	406
Prec. 17, Lauderdale	647	633	717
Prec. 18, Fixico	564	120	176
Prec. 19, Hissop	358	350	381
Covington County	42,417	41,356	38,103
Prec. 1, Andalusia	9,647	7,680	6,057
Andalusia city	6,886	5,154	4,023
Prec. 2, Fairfield	891	976	1,123
Prec. 3, Opp	5,306	5,552	4,123
Opp city	3,178	2,918	1,566

[5] CHAMBERS.—Part of Lafayette city reverted to precinct 8 in 1932.

[6] CHEROKEE.—Part of precinct 19 annexed to Etowah County in 1931. County totals for 1930 and 1920 include population (104 in 1930; 283 in 1920) of precinct 24, Mount Pleasant, annexed to 16 and 21 in 1931. Centre town incorporated in 1937.

[7] CHILTON.—Name of precinct 3, Isabella, changed from Benson in 1932, and part of precinct 4, annexed to Clanton town in 1935.

[8] CLARKE.—Coffeeville town incorporated in 1938.

[9] CLAY.—County totals for 1930 and 1920 include population (178 in 1930; 478 in 1920) of precinct 18, Poll Bridge, annexed to 6 and 12 in 1936; total for 1920 also includes population (124) of precinct 16, annexed to 8, and population (183) of precinct 17, annexed to 2, in 1926. Part of precinct 11 annexed to 4 in 1932, and part of precinct 10 annexed to 9 in 1936.

[10] CLEBURNE.—County total for 1920 includes population (153) of precinct 5, annexed to 4 and 6 between 1920 and 1930.

[11] COLBERT.—County total for 1920 includes population (722) of old precinct 17, annexed to 1 in 1927.

[12] CONECUH.—Part of precinct 6 annexed to Castleberry town in 1939; name of precinct 10, Owassa, changed from Gravella since 1930.

[13] COOSA.—County totals for 1930 and 1920 include population (71 in 1930; 218 in 1920) of precinct 14, Lewis, annexed to 11 since 1930.

TABLE 4.—POPULATION OF COUNTIES BY MINOR CIVIL DIVISIONS: 1920 TO 1940—Continued

MINOR CIVIL DIVISION	1940	1930	1920
Covington County—Con.			
Prec. 4, Rose Hill	1,466	1,421	1,360
Prec. 5, Shirley	427	539	548
Prec. 6, Loango	749	724	934
Prec. 7, Watkins	869	786	901
Prec. 8, Davis Shop	838	653	597
Prec. 9, Florala	4,668	4,856	4,615
Florala city	*2,999*	*2,580*	*2,633*
Lockhart town [14]	*910*		
Prec. 10, Hart	1,553	1,567	1,975
Falco town	*80*	*96*	*532*
Prec. 11, Westover	1,985	1,570	1,488
Prec. 12, Red Level	1,666	1,665	1,501
Red Level town	*516*	*445*	*385*
Prec. 13, Green Bay	997	1,309	985
Prec. 14, Copperas Head	1,759	1,537	1,453
Prec. 15, Gantt	1,492	1,569	1,384
Prec. 16, Straughns Schoolhouse	1,352	1,648	1,603
Prec. 17, Williams	353	676	535
Prec. 18, River Falls	1,687	1,853	2,486
River Falls town	*418*	*556*	*1,107*
Prec. 19, George	810	728	722
Prec. 20, Sanford	1,313	1,262	1,446
Prec. 21, Carolina	703	776	872
Prec. 22, McRae	852	971	664
Prec. 23, Bulah	1,034	1,038	731
Crenshaw County	23,631	23,656	23,017
Prec. 1, Surles and Coleman	593	718	1,035
Prec. 2, Danielville	852	841	1,028
Prec. 3, Bradleyton and Petrey	1,575	1,483	1,891
Petrey town	*258*	*168*	*165*
Prec. 4, Honoraville and Gravil Hill	1,508	1,549	1,289
Prec. 5, Fullers Crossroads and Live Oak	1,220	1,593	1,514
Prec. 6, Rutledge	3,346	2,981	2,832
Rutledge town	*289*	*215*	*155*
Prec. 7, Dorman and Vidette	1,543	1,647	1,620
Prec. 8, Leon and Theba	1,116	1,181	1,310
Prec. 9, Mount Ida and Brantley	2,462	2,387	2,529
Brantley town	*1,126*	*1,053*	*702*
Prec. 10, Glenwood	1,276	1,459	1,561
Glenwood town	*393*	*429*	*386*
Prec. 11, Bullock and Host	1,231	1,350	1,186
Prec. 12, Aiken and Pleasant Home	1,193	1,220	1,074
Prec. 13, Saville and Highland Home	1,392	1,300	1,582
Prec. 14, Luverne and Vernledge	3,343	3,089	1,910
Luverne town	*2,243*	*1,874*	*1,464*
Prec. 15, Dozier and Searight	981	858	656
Dozier town	*399*	*377*	*237*
Searight town	*133*	*114*	*71*
Cullman County	47,343	41,051	33,034
Prec. 1, Cullman [15]	9,576	7,661	6,234
Cullman city [15]	*5,074*	*2,786*	*2,467*
Prec. 2, Good Hope [15]	1,113	1,034	878
Prec. 3, Hanceville	2,517	2,062	2,119
Hanceville town	*650*	*780*	*441*
Steppville town [15]	*415*		
Prec. 4, Garden City	809	636	490
Prec. 5, Stouts Mountain	524	319	366
Prec. 6, Country	1,029	1,008	711
Prec. 7, Arkadelphia	1,131	1,006	889
Prec. 8, Antioch	524	464	330
Prec. 9, Cold Spring	659	524	724
Prec. 10, Bremen	956	800	741
Prec. 11, Trimble [15]	1,319	1,214	1,234
Prec. 12, Crane Hill	1,630	1,249	1,158
Prec. 13, Adams [15]	1,165	1,140	736
Prec. 14, Logan	1,169	892	885
Prec. 15, Jones Chapel	1,978	1,696	1,379
Prec. 16, Willow Spring	718	632	465
Prec. 17, Ebenezer	2,609	2,527	1,805
Prec. 18, Vinemont [15]	2,456	2,278	1,686
Prec. 19, Kings [15]	1,378	1,731	2,005
Prec. 20, Baileyton	1,833	1,419	2,043
Prec. 21, Joppa (Findley)	1,862	1,894	1,714
Prec. 22, Holly Pond	2,568	2,335	1,753
Holly Pond town	*226*	*224*	*168*
Prec. 23, Berlin [15]	884	1,225	977
Prec. 24, Walter [15]	1,020	1,068	1,031
Prec. 25, Weltie	709	761	681
Prec. 26, Brushy Pond	518	481	
Prec. 27, White City [15]	1,024	1,115	
Prec. 28, Fairview [15]	1,682	1,880	
Prec. 29, Grand View [15]	386		
Prec. 30, Kelly [15]	582		
Prec. 31, Center Hill [15]	440		
Prec. 32, Simcoe [15]	575		
Dale County	22,685	23,175	22,711
Prec. 1, Ozark	5,770	4,918	4,147
Ozark city	*3,601*	*3,108*	*2,518*
Prec. 2, Westville	318	631	840
Prec. 3, Daleville [16]	2,006	3,400	3,280
Prec. 4, Newton [16]	1,877	1,748	1,951
Newton town	*616*	*661*	*680*
Prec. 5, Arguta	391	510	566
Prec. 6, Pinckard	1,570	1,862	1,633
Pinckard town	*555*	*653*	*969*
Prec. 7, Rocky Head	1,118	982	1,539
Prec. 8, Midland City	2,334	2,714	2,395
Midland City town	*647*	*755*	*665*
Prec. 9, Echo	1,574	1,480	1,573
Prec. 10, Clopton	577	614	650
Prec. 11, Skipperville	1,129	1,116	1,207
Prec. 12, Barnes Cross Roads	1,644	1,693	1,539
Ariton town	*561*	*611*	*625*
Prec. 13, Bells Schoolhouse	583	654	603
Prec. 14, Ewell	866	853	788
Prec. 15, Clayhatchee [16]	928		
Dallas County	55,245	[17]55,094	[17]54,697
Prec. 1, Plantersville	939	910	982
Prec. 2, Summerfield	930	931	907
Prec. 3, Woodlawn	902	871	994
Prec. 4, Valley Creek	1,529	1,648	1,743
Prec. 5, Harrells	449	545	567
Prec. 6, Dublin	225	255	413
Prec. 7, Martins	894	1,288	2,014
Prec. 8, Orrville [17]	2,387	2,232	2,190
Orrville town	*416*	*394*	*341*
Prec. 9, Lexington	2,004	2,019	2,429
Prec. 10, River	2,107	2,227	2,285
Prec. 11, Pine Flat	2,332	2,298	1,630
Prec. 12, Oldtown	2,132	2,073	1,856
Prec. 13, Pleasant Hill	1,567	1,634	1,701
Prec. 14, Richmond	666	763	1,009
Prec. 15, Portland	620	785	1,084
Prec. 22, Burnsville	1,848	1,934	1,385
Prec. 23, Union [17]	3,739	2,375	1,908
Prec. 24, Pences	666	960	1,077
Prec. 25, Liberty Hill	1,154	1,270	1,502
Prec. 27, Vernon	674	911	978
Prec. 28, Marion Junction	969	1,053	1,114
Prec. 29, Browns	1,102	1,273	1,334
Prec. 30, Kings	1,458	1,713	1,579
Prec. 31, Smyly	578	544	719
Prec. 32, Elm Bluff	560	473	719
Prec. 33, Carlowville	684	869	860
Prec. 34, Boykins	333	387	600
Prec. 35, Mitchells	1,963	1,709	2,155
Prec. 36	19,834	18,012	15,589
Selma city	*19,834*	*18,012*	*15,589*
De Kalb County	43,075	40,104	34,426
Prec. 1, Brindley	295	654	604
Prec. 2, Walkers Chapel	746	888	970
Prec. 3, Collbran	293	208	232
Prec. 4, Hendrixville	477	331	251
Prec. 5, Van Buren	662	887	823
Prec. 6, Collinsville	1,743	1,532	1,342
Collinsville town	*957*	*892*	*793*
Prec. 7, Lebanon	528	556	618
Prec. 8, Hudson Mill [18]	397	323	261
Prec. 9, Fort Payne [18]	4,993	4,309	2,837
Fort Payne city [18]	*4,424*	*3,875*	*2,025*
Prec. 10, Rock Collins	634	442	458
Prec. 11, Valley Head	1,099	1,033	993
Hammondville town [18]	*93*		
Valley Head town	*439*	*430*	
Prec. 12, Phillips	457	540	528
Prec. 13, Sulphur Springs	306	493	816
Prec. 14, Deer Head Cove	895	903	872
Prec. 15, Pine Grove	2,581	2,670	2,431
Prec. 16, Blue Pond	5,382	3,119	2,732
Prec. 17, Graham	2,727	2,719	2,406
Prec. 18, Lathamville	3,981	3,921	3,279
Crossville town	*436*	*316*	
Prec. 19, Poplar Springs	3,296	2,158	1,442
Prec. 20, Adamsburg	1,161	1,145	826
Prec. 21, Mentone	1,042	663	664
Mentone town [18]	*154*		
Prec. 22, Portersville	588	310	326
Prec. 23, Crumley	1,353	1,538	1,737
Prec. 24, Whiton	1,993	1,910	1,375
Prec. 25, Corinth	1,321	2,340	1,966
Prec. 26, Lydia	826	1,141	991
Prec. 27, Johnson	1,397	1,678	1,771
Prec. 28, New Organ	652	427	390
Prec. 29, Loveless	488	435	485
Prec. 30, Skirum	762	831	
Elmore County	34,546	34,280	28,085
Prec. 1, Colemans	618	669	1,338
Prec. 2, Channahatchee	1,615	1,226	1,376
Prec. 3, Tallassee	5,455	5,553	3,247
Tallassee town	*1,011*	*849*	*2,084*
Prec. 4, Mitchells Mill (Ware)	1,112	1,063	1,175
Prec. 5, Sandtuck	1,538	1,481	1,342
Prec. 6, Central	898	952	1,011
Prec. 7, Buyck	973	1,144	1,042
Prec. 8, Wetumpka [19]	4,002	4,457	3,477
Wetumpka city, total [19]	*3,089*	*2,357*	*1,520*
In Prec. 8	*736*	*622*	*399*
In Prec. 18	*2,353*	*1,735*	*1,121*
Prec. 9, Cold Spring	3,544	3,629	2,190
Prec. 10, Robinson Springs	1,359	1,042	974
Prec. 11, Titus	716	794	583
Prec. 12, Weoka	1,666	1,162	1,074
Prec. 13, Friendship	558	737	742
Prec. 14, Lightwood	907	930	775
Prec. 15, Eclectic	1,138	2,056	1,817
Eclectic town	*606*	*678*	*555*
Prec. 16, Millbrook	1,314	1,337	1,100
Prec. 17, Elmore	1,798	1,729	1,536
Prec. 18, West Wetumpka	4,112	3,561	2,684
Wetumpka city (part)	*2,353*	*1,735*	*1,121*
Prec. 19, Neman	1,223	758	602
Escambia County	30,671	27,963	22,464
Prec. 1, Pine Grove	1,027	883	1,039
Prec. 2, Parker	1,555	1,480	1,371
Prec. 3, Brewton	9,315	8,096	6,528
Brewton city	*3,323*	*2,818*	*2,682*
East Brewton town	*1,540*	*1,002*	*826*
Prec. 4, Pollard	3,439	3,102	3,255
Flomaton town	*837*	*915*	*724*
Pollard town	*339*	*304*	*631*
Prec. 5, Owen	2,269	2,099	1,465
Prec. 6, Jack Springs	4,192	4,214	3,048
Prec. 7, Canoe	7,873	7,425	4,955
Atmore city	*3,200*	*3,035*	*1,775*
Prec. 8, Wilsons	522	416	203
Prec. 9, Macedonia	479	248	600
Etowah County [20]	72,580	63,399	47,275
Prec. 1, Gadsden [20]	21,544	20,006	13,555
Gadsden city, total [20]	*36,975*	*24,042*	*14,737*
In Prec. 1	*20,802*	*19,148*	*13,097*
In Prec. 26	*3,903*	*2,615*	
In Prec. 28	*106*		
In Prec. 29	*12,164*	*2,279*	*1,640*
Prec. 2, Phillips	734	685	664
Prec. 3, Kansas	488	529	418
Prec. 4, Hokes Bluff [20]	2,005	1,664	1,627
Prec. 5, Ball Play	685	718	766
Prec. 6, Turkeytown	509	485	345
Prec. 7, Brocks [20]	910	760	770
Prec. 8, Fairview	1,523	1,051	749
Prec. 9, Keener	415	494	374
Prec. 10, Duck Springs	1,125	908	935
Prec. 11, Cox	796	737	816
Prec. 12, Chandler	915	831	838
Prec. 13, Aurora	877	831	761
Prec. 14, Walnut Grove	659	594	524
Walnut Grove town	*206*	*216*	*167*
Prec. 15, Clear Creek	690	367	492
Prec. 16, Gum Springs	711	493	587
Prec. 17, Attalla	5,227	4,749	4,150
Attalla city	*4,885*	*4,585*	*3,462*
Prec. 18, Hoppers	710	761	579
Prec. 19, Reaves	885	608	614
Prec. 20, Warrior	465	418	343
Prec. 21, Short Creek	1,813	1,512	1,379
Prec. 22, Howelton	948	749	464
Prec. 23, Reese	463	424	598
Prec. 24, Union	567	516	524
Prec. 25, Keysburg	1,449	1,205	923
Glencoe town [20]	*669*		
Prec. 26, East Gadsden	5,484	3,870	1,411
Gadsden city (part)	*3,903*	*2,615*	
Prec. 27, Hollis [20]	1,332	1,525	1,280
Prec. 28, Gilbert [20]	1,033	678	402
Gadsden city (part)	*106*		
Prec. 29, Alabama City [20]	12,585	10,958	7,121
Gadsden city (part)	*12,164*	*2,279*	*1,640*
Prec. 30, Coats Bend	449	433	544
Prec. 31, Riddles Bend	242	220	179
Prec. 32, Altoona	1,187	1,316	1,202
Altoona town	*995*	*1,098*	*1,078*
Prec. 33, Carlisle	1,018	1,031	1,011
Prec. 34, Whortons Bend	324	354	330
Prec. 35, Curtiston	1,444	919	
Prec. 36, Waldrop [20]	369		

[14] COVINGTON.—Lockhart town incorporated in 1931.

[15] CULLMAN.—Parts of precinct 1 annexed to Cullman city in 1931 and 1937. Precinct 29 organized from parts of 1, 2, 11, and 13, and precinct 30 organized from parts of 1 and 18, in 1928, but not returned separately in 1930. Precinct 31 organized from parts of 24 and 27 in 1930, and precinct 32 organized from parts of 19, 23, and 28 in 1936. Steppville town not returned separately in 1930.

[16] DALE.—Precinct 15 organized from parts of 3 and 4 in 1937.

[17] DALLAS.—County totals for 1930 and 1920 include population (1,132 in 1930; 1,374 in 1920) of precinct 16, Cahaba, annexed to 8 and 23 in 1930.

[18] DE KALB.—Part of precinct 8 annexed to 9, and part of precinct 9 annexed to 8, in 1935. Part of precinct 9 annexed to Fort Payne city in 1931. Mentone and Hammondville towns incorporated in 1935 and 1937, respectively.

[19] ELMORE.—Part of precinct 8 annexed to Wetumpka city in 1933.

[20] ETOWAH.—Part of Cherokee County annexed to precinct 7 in 1931. Precinct 36 organized from parts of 4 and 27 in 1932. Part of precinct 29, including Alabama City (population 8,544 in 1930; 5,432 in 1920), and part of precinct 28 annexed to Gadsden city in 1932, and part of precinct 1 annexed in 1937. Glencoe town incorporated in 1939

TABLE 4.—POPULATION OF COUNTIES BY MINOR CIVIL DIVISIONS: 1920 TO 1940—Continued

MINOR CIVIL DIVISION	1940	1930	1920
Fayette County	21,651	18,443	18,365
Prec. 1, Fayette	5,207	4,061	3,404
Fayette city	*2,668*	*2,109*	*1,741*
Prec. 2, Ridge	566	563	606
Prec. 3, North River	1,212	1,101	690
Prec. 4, Stough [21]	945	760	713
Prec. 5, Russell	957	1,021	976
Prec. 6, Coles	859	780	823
Prec. 7, Hico	753	729	746
Prec. 8, Collins	622	605	514
Prec. 9, Berry [21]	1,514	1,237	1,238
Berry town	*639*	*500*	*491*
Prec. 10, Lee	801	633	820
Prec. 11, Brown	1,214	997	1,119
Prec. 12, Webster	595	482	670
Prec. 13, Boley Springs	806	697	800
Prec. 14, Gilpin	926	817	833
Prec. 15, Clear Creek	543	471	482
Prec. 16, Thompson	750	587	751
Prec. 17, Stonewall	818	681	800
Prec. 18, Bylor	1,100	916	819
Prec. 19, Fords	401	289	531
Prec. 20, Georges Creek	416	336	437
Prec. 21, Hankins	266	254	216
Prec. 22, Sugar Creek	380	426	377
Franklin County	27,552	25,372	22,011
Prec. 1, Newburg	2,333	1,944	1,849
Prec. 2, Russellville	6,452	5,686	5,740
Russellville city	*3,510*	*3,146*	*2,269*
Prec. 3, Frankfort	727	770	741
Prec. 4, Pleasant Site	1,125	1,056	1,214
Prec. 5, Red Bay	2,949	2,399	2,178
Red Bay town	*1,560*	*1,297*	*753*
Prec. 6, Burleson	1,522	1,420	1,529
Vina town	*472*	*448*	*339*
Prec. 7, Belgreen	1,793	1,466	1,233
Prec. 8, Hodges	1,704	1,641	2,292
Hodges town	*260*	*247*	*279*
Prec. 9, Phil Campbell	3,684	3,544	2,287
Phil Campbell town	*533*	*472*	*418*
Prec. 10, Rockwood	1,031	1,530	1,107
Prec. 11, Hills	386	364	359
Prec. 12, Stouts	1,200	1,059	1,038
Prec. 13, Dime	422	472	444
Prec. 14, Halltown	817	693	-------
Prec. 15, Atwood	582	572	-------
Prec. 16, Waco	484	535	-------
Prec. 17, Jonesboro	341	221	-------
Geneva County	29,172	[22] 30,104	[22] 29,315
Prec. 3, Malvern	2,126	2,478	2,505
Malvern town	*190*	*207*	*221*
Prec. 4, Fadette	1,919	2,021	2,106
Prec. 5, Slocomb and Tate Schoolhouse [22]	3,112	-------	-------
Slocomb town	*1,041*	*964*	*581*
Prec. 6, Dundee and Hurricane Church [22]	1,732	-------	-------
Prec. 7, St. Paul	2,877	3,142	3,437
Hartford town	*1,494*	*1,419*	*1,561*
Prec. 8, Noblins	1,994	2,111	2,152
Black town	*348*	*335*	*614*
Prec. 9, Chancellor	1,660	2,015	1,991
Bellwood town	*285*	*299*	-------
Prec. 10, Geneva	4,246	3,608	3,008
Eunola town [22]	*113*	-------	-------
Geneva town	*2,803*	*1,593*	*1,581*
Prec. 11, Center	1,621	1,752	1,875
Coffee Springs town	*196*	*258*	*212*
Prec. 12, Marl	844	876	777
Prec. 13, Piney Grove	3,723	3,280	3,230
Samson town	*2,182*	*1,656*	*1,646*
Prec. 14, Gilmores	648	683	644
Prec. 15, Lowrey and Davis Schoolhouse	1,000	1,288	1,034
Prec. 16, Hacoda	1,197	1,447	1,384
Prec. 17, Vaughanville	473	461	470
Greene County	19,185	19,745	18,133
Prec. 1, Eutaw	3,373	3,693	2,886
Eutaw town	*1,895*	*1,721*	*1,359*
Prec. 2, Forkland	2,694	2,642	2,404
Prec. 3, Tishabee	1,555	1,778	1,637
Prec. 4, Boligee	2,382	2,711	2,475
Boligee town	*241*	*178*	-------
Prec. 6, Mount Hebron	1,190	1,263	1,361
Prec. 7, Clinton	2,101	1,713	1,656
Prec. 8, Pleasant Ridge	692	892	660
Prec. 9, Mantua	1,552	1,296	1,189
Greene County—Con.			
Prec. 10, Union	1,046	969	1,187
Prec. 11, Knoxville	861	803	1,042
Prec. 12, Springfield	1,032	1,009	954
Prec. 13, West Greene	707	976	682
Hale County	25,533	26,265	24,289
Prec. 1, Havana	941	1,030	848
Prec. 2, Akron	1,527	2,464	2,191
Akron town	*504*	*793*	*675*
Prec. 3, Harrison	760	448	524
Prec. 4, Greensboro	5,854	5,497	5,129
Greensboro town	*2,034*	*1,795*	*1,809*
Prec. 5, Newbern	1,524	1,589	1,469
Newbern town	*388*	*389*	*438*
Prec. 6, Sawyerville	3,134	3,042	2,858
Prec. 7, Cedarville	1,889	1,951	1,581
Prec. 8, Prairieville	1,919	2,038	2,056
Prec. 9, Laneville	1,845	2,117	1,608
Prec. 10, Halls Store	1,065	911	1,017
Prec. 11, Five Mile	516	379	466
Prec. 12, Moundville	2,845	2,879	2,601
Moundville town	*812*	*757*	*328*
Prec. 13, Phipps	175	221	327
Prec. 14, Geddie	122	102	207
Prec. 16, Stewarts Station	1,237	1,441	1,127
Prec. 18, Ingrem	180	166	280
Henry County	21,912	22,820	21,547
Prec. 1, Headland	3,979	4,166	3,470
Headland town	*2,052*	*1,811*	*1,252*
Prec. 2, Balkum	2,093	2,228	1,847
Prec. 3, Douglas Crossroads	928	964	1,036
Prec. 4, Haleburg	946	949	1,022
Haleburg town	*252*	*274*	-------
Prec. 5, Hardwicksburg	1,434	1,541	1,590
Prec. 6, Capps	1,485	1,741	1,532
Prec. 7, Newville	1,723	1,944	2,053
Newville town	*578*	*528*	*547*
Prec. 8, Curetons	496	450	472
Prec. 9, Reynolds	314	424	420
Prec. 10, Abbeville	3,933	4,096	3,054
Abbeville city	*2,080*	*2,047*	*1,267*
Prec. 11, Shorterville	1,646	1,765	1,810
Prec. 12, Centerville	985	823	1,194
Prec. 13, Lawrenceville	1,070	925	1,087
Prec. 14, Edwin	880	804	960
Houston County	45,665	45,935	37,334
Prec. 1, Wicksburg and Reynolds Store [23]	1,868	2,043	1,860
Prec. 2, Brannan Stand and Hawthorns Store [23]	1,664	1,805	1,466
Dothan city, total [23]	*17,194*	*16,046*	*10,084*
In Prec. 2	*76*	-------	-------
In Prec. 3	*17,118*	*16,046*	*10,084*
Prec. 3, Dothan	19,614	18,180	12,197
Dothan city (part)	*17,118*	*16,046*	*10,084*
Prec 4, Piney Grove and Taylor	2,320	2,744	2,377
Prec. 5, Madrid and Providence School [23]	1,791	2,348	2,101
Madrid town	*229*	*279*	-------
Prec. 6, Cottonwood and Hodgesville [23]	2,984	2,773	2,502
Cottonwood town	*600*	*410*	*293*
Prec. 7, Center Schoolhouse and Keytons Siding [23]	1,885	2,099	1,776
Prec. 8, Cowarts	2,702	2,533	2,352
Webb town	*379*	*400*	*415*
Prec. 9, Kinsey	825	912	770
Prec. 10, Ashford	2,529	2,425	2,266
Ashford town	*1,224*	*920*	*754*
Prec. 11, Grangeburg and Crosby	1,917	1,948	2,085
Prec. 12, Gordon and Pansey [23]	2,209	2,251	2,183
Gordon town	*327*	*299*	*319*
Prec. 13, Columbia and Bentons Schoolhouse [23]	2,726	3,168	2,719
Columbia town	*829*	*926*	*860*
Prec. 14, Harpers Schoolhouse	631	706	680
Jackson County	41,802	36,881	[24] 35,864
Prec. 1, Bridgeport	3,276	3,510	3,152
Bridgeport city	*2,031*	*2,124*	*2,018*
Prec. 3, Stevenson	3,131	2,823	2,844
Stevenson town	*793*	*733*	*640*
Prec. 4, Bryant [24]	1,300	840	294
Jackson County—Con.			
Prec. 5, Fabius	1,526	1,190	1,236
Prec. 6, Fackler	1,442	1,541	1,437
Prec. 7, Bass	673	600	878
Prec. 8, Cave Spring	276	274	382
Prec. 9, Allison	331	255	438
Prec. 10, Hollywood	2,033	2,191	2,305
Hollywood town	*811*	*274*	*276*
Prec. 11, Pisgah	1,389	1,266	1,333
Prec. 12, Langston	679	890	739
Prec. 13, Tupelo	590	749	835
Prec. 14, Larkinsville	1,065	1,148	1,047
Prec. 15, Hunts Store	271	444	335
Prec. 16, Woodville	845	851	796
Woodville town	*183*	*196*	*191*
Prec. 17, Trenton	637	429	544
Prec. 18, Collins	631	552	798
Prec. 19, Bishop	420	384	390
Prec. 20, Kyles	832	751	700
Prec. 21, Scottsboro	5,537	4,622	3,545
Scottsboro city	*2,834*	*2,304*	*1,417*
Prec. 22, Sanders	1,495	128	195
Prec. 23, Paint Rock	925	962	1,022
Paint Rock town	*282*	*320*	*332*
Prec. 24, Section	1,653	1,508	1,409
Prec. 25, Harmony	230	170	242
Prec. 26, Garth	306	298	380
Prec. 27, Hollytree	509	406	447
Prec. 28, Dutton	2,308	1,797	2,051
Prec. 29, Gross Spring	981	908	825
Prec. 30, Haigwood	1,322	1,307	1,453
Prec. 31, Holly Spring	81	43	77
Prec. 32, Limrock	707	526	653
Prec. 33, Hambrick	85	82	145
Prec. 34, Princeton	504	503	546
Prec. 35, Crow	361	246	194
Prec. 36, Aspel	215	326	395
Prec. 37, Winniger	569	229	194
Prec. 38, Rosalie	1,516	1,178	955
Prec. 39, Dean	1,151	954	-------
Jefferson County	459,930	431,493	[25] 310,054
Prec. 1	1,730	1,119	1,072
Prec. 2 [25]	10,567	11,406	8,320
Bessemer city, total [25]	*28,826*	*20,721*	*18,674*
In Prec. 2	*8,648*	*4,328*	*3,145*
In Prec. 33	*19,178*	*16,393*	*15,531*
Prec. 3	1,755	1,689	2,454
North Johns town [25]	*404*	*344*	-------
Prec. 4	879	623	500
Prec. 5	942	917	632
Prec. 6	1,778	1,132	1,084
Prec. 7 [25]	8,219	6,612	5,104
Pleasant Grove town [25]	*1,066*	-------	-------
Prec. 8 [25]	1,562	2,029	1,977
Prec. 9 [25]	60,171	63,435	[25] 7,688
Birmingham city, total [25]	*267,583*	*259,678*	*178,806*
In Prec. 9	*52,930*	*51,058*	-------
In Prec. 10	*17,367*	*16,680*	-------
Prec. 21, entire	*42,509*	*42,674*	-------
In Prec. 29	*12,526*	*12,144*	-------
In Prec. 34	*16,596*	*16,608*	-------
In Prec. 36	*1,083*	*1,058*	-------
Prec. 37, entire	*45,786*	*44,058*	-------
In Prec. 42	*22,512*	*20,937*	-------
In Prec. 45	*27,188*	*25,064*	-------
Prec. 46, entire	*18,658*	*18,642*	-------
In Prec. 52	*4,084*	*4,667*	-------
In Prec. 54	*6,404*	*6,093*	-------
Prec. 10	17,581	16,929	[25] 1,173
Birmingham city (part)	*17,367*	*16,680*	-------
Prec. 11	9,590	9,988	4,150
Tarrant City	*6,833*	*7,341*	*734*
Prec. 12	4,552	3,840	2,245
Leeds city, total [25]	*2,910*	*2,529*	*1,600*
In Jefferson Co	*2,871*	*2,529*	*1,600*
In St. Clair Co	*39*	-------	-------
Prec. 13	3,987	2,420	1,561
Prec. 14	1,139	739	629
Prec. 15	3,127	2,191	1,842
Prec. 16	2,557	3,066	2,684
Prec. 17 [25]	3,155	2,667	2,731
Warrior town	*1,008*	*646*	*568*
Prec. 18	1,471	1,550	2,712
Brookside town	*714*	*466*	*668*
Cardiff town	*246*	*148*	*468*
Prec. 19	3,490	1,900	2,165
Prec. 20	6,478	5,386	3,181
Irondale town, total [25]	*1,486*	*1,517*	*809*
In Prec. 20	*1,352*	*1,517*	*809*
In Prec. 36	*134*	-------	-------
Prec. 21	42,509	42,674	-------
Birmingham city (part)	*42,509*	*42,674*	-------

[21] FAYETTE.—Name of precinct 4, Stough, changed from Berry, and precinct 9, Berry, from Holly Springs, in 1935.

[22] GENEVA.—County totals for 1930 and 1920 include population (4,942 in 1930; 4,702 in 1920) of precincts 5, Dundee, and 6, Tate Schoolhouse, taken to form precinct 5, Slocomb and Tate Schoolhouse, and precinct 6, Dundee and Hurricane Church, in 1936. Eunola town not returned separately in 1930 and 1920.

[23] HOUSTON.—Name of precinct 1, Wicksburg and Reynolds Store, changed from Wicksburg and Jellico, in 1938. Dothan city returned in 1930 as in precinct 3 only; precinct 2, as Brannan Stand; precinct 5, as Madrid; precinct 6, as Cottonwood; precinct 7, as Center Schoolhouse; precinct 12, as Gordon; and precinct 13, as Columbia.

[24] JACKSON.—County total for 1920 includes population (653) of old precinct 39, Long Island, annexed to 4 in 1921. Name of precinct 4 returned in 1930 as Carpenter.

[25] JEFFERSON.—County total for 1920 includes population (6,893) of precincts 49 and 52, not returned separately, and population (178,806) of Birmingham city, not returned by precincts; figures for precincts 9, 10, 29, 34, 36, 42, 45, and 54 are exclusive of population of Birmingham city. Parts of precincts 7, 9, and 33 annexed to 55, part of precinct 8 annexed to 41, and precinct 58 organized from parts of 9, 55, and 33, including Lipscomb town, in 1939. Part of precinct 2, including part of Bessemer city, and parts of precincts 40 and 51 annexed to 33; part of precinct 32 annexed to 17; part of precinct 29 annexed to 39; and part of precinct 47 annexed to 50, in 1940. Pleasant Grove town incorporated in 1933. Name of North Johns town returned in 1930 as Johns; Leeds city returned in 1930 and 1920 as in Jefferson County only; Irondale town, as in precinct 20 only; Brighton town, as in precinct 55 only; and precinct 53, as coextensive with Fairfield city. The 1930 figures for precincts 44 and 56 have been corrected by transfer of population (512) of the Alabama Boys' Industrial School, incorrectly returned as in precinct 56. No population reported in 1940 for that part of precinct 34 outside of Birmingham city, and for precinct 53, outside of Fairfield city.

TABLE 4.—POPULATION OF COUNTIES BY MINOR CIVIL DIVISIONS: 1920 TO 1940—Continued

MINOR CIVIL DIVISION	1940	1930	1920
Jefferson County—Con.			
Prec. 22	2,096	1,700	1,647
Prec. 23	1,031	943	736
Prec. 24	1,194	717	560
Prec. 25	10,769	8,006	2,042
Homewood city	*7,397*	*6,103*	-------
Prec. 26	403	345	419
Prec. 27	308	350	240
Prec. 28	414	967	737
Prec. 29 [25]	15,081	14,225	[25] 1,925
Birmingham city (part)	*12,526*	*12,144*	-------
Prec. 30	2,095	2,374	3,198
Prec. 31	2,888	2,115	1,017
Prec. 32 [25]	3,336	3,342	1,859
Prec. 33 [25]	25,371	21,458	20,098
Bessemer city (part)	*19,178*	*16,398*	*15,531*
Brighton town, total [25]	*1,377*	*1,708*	*3,665*
In Prec. 33	*9*	-------	-------
In Prec. 55	*1,368*	*1,708*	*3,665*
Prec. 34 [25]	16,536	16,608	[25] 108
Birmingham city (part)	*16,536*	*16,608*	-------
Prec. 35	707	468	535
Prec. 36	1,470	1,410	[25] 249
Birmingham city (part)	*1,083*	*1,058*	-------
Irondale town (part)	*134*	-------	-------
Prec. 37	45,786	44,058	-------
Birmingham city (part)	*45,786*	*44,058*	-------
Prec. 38	2,027	1,604	1,661
Prec. 39 [25]	4,019	3,625	3,153
Prec. 40 [25]	2,363	2,367	1,070
Prec. 41 [25]	2,346	1,742	1,200
Prec. 42	27,041	25,322	[25] 2,502
Birmingham city (part)	*22,512*	*20,937*	-------
Prec. 43	1,179	1,722	889
Prec. 44	2,797	[25] 2,133	1,016
Prec. 45	29,145	27,999	[25] 3,194
Birmingham city (part)	*27,188*	*25,064*	-------
Prec. 46	18,658	18,642	-------
Birmingham city (part)	*18,658*	*18,642*	-------
Prec. 47 [25]	3,418	2,674	2,286
Prec. 48	470	334	1,162
Prec. 49	412	329	-------
Prec. 50 [25]	2,572	2,042	3,292
Prec. 51 [25]	627	1,438	1,229
Prec. 52	5,970	6,211	-------
Birmingham city (part)	*4,084*	*4,667*	-------
Prec. 53 [25]	11,703	11,059	5,003
Fairfield city [25]	*11,703*	*11,059*	*5,003*
Prec. 54	6,652	6,443	[25] 1,849
Birmingham city (part)	*6,404*	*6,098*	-------
Prec. 55 [25]	6,463	5,761	5,575
Brighton town (part)	*1,368*	*1,708*	*3,665*
Prec. 56	1,672	[25] 1,897	-------
Prec. 57	7,538	6,851	-------
Prec. 58 [25]	6,134	-------	-------
Lipscomb town [25]	*1,740*	*1,774*	*1,605*
Lamar County	**19,708**	**18,001**	**18,149**
Prec. 1, Vernon	2,294	1,969	1,338
Vernon town	*759*	*519*	*440*
Prec. 2, Lawrence	1,165	990	1,065
Prec. 3, Sizemore	703	644	787
Prec. 4, Brown	1,146	956	1,142
Beaverton town	*231*	*164*	-------
Prec. 5, Goode	343	242	269
Prec. 6, Hensen	636	527	610
Prec. 7, Millville	955	1,042	994
Prec. 8, Pine Springs	692	645	617
Prec. 9, Moscow	3,136	2,693	2,794
Sulligent town	*1,287*	*1,078*	*1,071*
Prec. 10, Military Springs	730	707	674
Prec. 11, Betts	829	700	718
Prec. 12, Trulls	807	712	1,017
Prec. 13, Vail	449	511	620
Prec. 14, Millport	1,296	1,372	1,253
Millport town	*700*	*714*	*604*
Prec. 15, Steen	1,111	1,060	1,097
Kennedy town	*367*	*277*	*203*
Prec. 16, Strickland	896	901	808
Prec. 17, Wilson	452	411	686
Prec. 18, Ridge	790	699	860
Prec. 19, Bell	427	383	345
Prec. 20, Curry	505	487	455
Prec. 21, Guim	346	350	-------
Lauderdale County	**46,230**	**41,130**	**39,556**
Prec. 1, Mitchells	2,415	2,489	2,406
Prec. 2, Rogersville	2,814	3,047	2,576
Rogersville town	*508*	*445*	*397*
Prec. 3, Lexington	2,146	2,211	1,890
Prec. 4, Cross Roads	2,016	1,782	1,871
Prec. 5, Green Hill	2,295	2,018	2,011
Prec. 6, Center Star	1,408	1,378	1,369
Prec. 7, Killen	1,174	1,030	1,110
Prec. 8, Blackburn	1,204	1,039	1,133
Lauderdale County—Con.			
Prec. 9, St. Florian	1,637	1,068	962
Prec. 10, Florence	18,888	14,948	14,315
Florence city	*15,043*	*11,729*	*10,529*
Prec. 11, Cloverdale	2,667	2,212	2,242
Prec. 12, Oakland	1,715	1,569	1,551
Prec. 13, Woodland	787	1,142	1,079
Prec. 14, Chapel	946	863	842
Prec. 15, Gravelly Springs	975	908	817
Prec. 16, Smithsonia	464	501	508
Prec. 17, Waterloo	1,651	1,659	1,547
Waterloo town	*524*	*497*	*415*
Prec. 18, Spains	335	631	770
Prec. 19, Atlas	693	635	557
Lawrence County	**27,880**	**26,942**	**24,307**
Prec. 1, Hillsboro	1,909	2,198	2,063
Hillsboro town	*292*	*240*	*248*
Prec. 2, Courtland	2,609	3,173	2,488
Courtland town	*454*	*359*	*367*
Prec. 2½, Town Creek	2,725	2,674	2,450
Town Creek town	*637*	*427*	*405*
Prec. 3, Red Bank	858	844	839
Prec. 4, Mountain Home	1,330	1,328	1,689
Prec. 5, Wolf Spring	1,448	1,390	1,432
Prec. 6, Mount Hope	1,891	1,866	1,898
Prec. 7, Moulton	4,116	4,064	4,483
Moulton town	*752*	*639*	*519*
Prec. 8, Pinhook	1,262	1,241	979
Prec. 9, Oakville	1,687	1,528	1,812
Prec. 10, Morris Chapel	1,556	1,277	1,668
Prec. 11, Shiloh	630	578	863
Prec. 12, Kitchens	1,157	1,196	738
Prec. 13, Hatton	1,716	1,249	905
Prec. 14, Fairfield	676	558	-------
Prec. 15, Mount Moriah	954	456	-------
Prec. 16, Chalybeate Springs	856	822	-------
Lee County [26]	**36,455**	[26]**36,063**	[26]**32,821**
Prec. 1, Beulah	906	684	855
Prec. 2, Opelika	12,828	9,977	8,202
Opelika city	*8,487*	*6,156*	*4,966*
Prec. 3, Ridge Grove	1,151	1,390	1,606
Prec. 4, Roxana	991	1,057	933
Waverly town, total	*321*	*383*	*208*
In Lee Co	*86*	*88*	-------
In Chambers Co	*235*	*295*	*208*
Prec. 5, Loachapoka [26]	2,040	2,105	1,937
Prec. 6, Auburn	8,297	5,177	3,840
Auburn city	*4,652*	*2,300*	*2,143*
Prec. 7, Walkers Store [26]	2,058	2,019	1,931
Prec. 8, Salem	1,375	1,317	2,057
Prec. 9, Prince Crossroads	1,030	1,014	1,024
Prec. 10, Marvyn [26]	1,148	-------	-------
Prec. 11, Wacoochee	878	1,032	1,030
Prec. 12, Meadows Crossroads	879	850	1,111
Prec. 13, Beans Mill [26]	1,004	945	1,035
Prec. 14, Smiths Station [26]	1,870	1,897	1,828
Limestone County	**35,642**	[27]**36,629**	[27]**31,341**
Prec. 1, Athens	9,247	9,342	6,848
Athens city	*4,342*	*4,238*	*3,323*
Prec. 2, Shoalford	3,155	3,133	2,842
Prec. 3, Sand Springs	3,907	3,489	2,740
Ardmore town	*381*	*266*	-------
Prec. 4, Pettusville	1,051	831	1,187
Prec. 5, Gilbertsboro	1,087	956	1,949
Prec. 6, Wickham	1,917	1,605	1,626
Prec. 7, Pleasant Grove	1,499	1,487	1,556
Prec. 8, Big Creek	1,923	1,943	1,769
Prec. 9, Georgia	1,806	2,077	1,769
Prec. 10, Slough	3,078	3,093	2,605
Prec. 11, Mooresville	1,749	2,007	1,840
Mooresville town	*129*	*114*	*144*
Prec. 13, Greenbrier [27]	2,228	1,575	907
Prec. 14, Quid Nunc	1,325	1,841	1,612
Prec. 15, Elkmont	1,670	2,031	1,361
Elkmont town	*185*	*192*	*261*
Lowndes County	**22,661**	**22,878**	**25,406**
Prec. 1, Benton	645	757	851
Prec. 2, Church Hill	1,422	1,185	1,076
Prec. 3, Collirene	1,044	1,231	1,141
Prec. 4, Gordonsville	2,088	1,950	2,153
Prec. 5, Farmersville	635	284	374
Prec. 6, Braggs	415	374	469
Prec. 7, Hickory Hill	296	268	532
Prec. 8, Hopewell	464	492	671
Prec. 9, Mount Willing	805	965	1,132
Prec. 10, Fort Deposit	2,251	2,075	1,747
Fort Deposit town	*1,351*	*1,092*	*830*
Prec. 11, Sandy Ridge	1,460	1,469	2,103
Prec. 12, Calhoun	1,055	1,265	1,865
Lowndes County—Con.			
Prec. 13, Prairie Hill	590	494	712
Prec. 14, Hayneville	2,054	1,712	1,895
Prec. 15, Letohatchie	1,056	1,131	857
Prec. 16, Steep Creek	933	815	1,127
Prec. 17, Pintlala	1,696	1,772	2,192
Prec. 18, Lowndesboro	1,230	1,440	1,672
Prec. 19, St. Clair	960	1,058	1,009
Prec. 20, White Hall	1,040	1,326	1,091
Prec. 21, Wyndham	522	815	737
Macon County	**27,654**	**27,103**	**23,561**
Prec. 1, Tuskegee	9,886	8,942	6,425
Tuskegee city	*3,937*	*3,314*	*2,476*
Prec. 2, Little Texas	1,185	1,088	1,111
Prec. 3, Society Hill	1,867	1,882	1,809
Prec. 4, Warrior Stand	2,684	3,143	3,394
Prec. 5, Cotton Valley	1,781	1,853	1,727
Prec. 6, Hardaway [28]	1,090	1,146	1,570
Prec. 7, Cross Keys	1,873	1,855	1,888
Prec. 8, Franklin	2,205	2,135	1,532
Prec. 9, Notasulga	3,826	3,932	3,143
Notasulga town [28]	*863*	*756*	*619*
Prec. 10, La Place	1,257	1,127	957
Madison County	**66,317**	**64,623**	[29]**51,268**
Prec. 1, Huntsville	18,801	16,345	12,180
Huntsville city	*13,050*	*11,554*	*8,018*
Prec. 2, New Market	1,569	1,564	1,462
Prec. 3, Maysville	2,235	2,217	2,119
Prec. 4, Colliers	1,175	1,350	1,320
Prec. 5, Vienna	2,078	1,619	1,519
Prec. 6, Whitesburg	2,718	3,622	1,892
Prec. 7, Lincoln	2,380	3,030	-------
Prec. 8, Madison	3,470	3,971	1,706
Madison town	*455*	*431*	*436*
Prec. 9, Cluttsville	2,311	2,058	2,102
Prec. 10, Madison Crossroads	3,294	3,369	2,898
Prec. 11, Meridianville	3,150	3,291	3,187
Prec. 12, Hazel Green	2,392	2,201	2,060
Prec. 13, Poplar Ridge	1,160	1,073	1,042
Prec. 14, Wells	85	160	174
Prec. 15, Gurley	1,423	1,249	1,345
Prec. 16, Deposit	1,445	1,477	1,475
Prec. 17, Plevna	854	791	766
Prec. 18, Clouds Cove	207	264	255
Prec. 19, Owens Crossroads	1,377	1,198	1,252
Prec. 20, Dallas	3,204	2,708	2,850
Prec. 21, Monrovia	2,220	2,156	1,891
Prec. 22, Hurricane	910	960	1,029
Prec. 23, Sulphur Springs	1,705	1,571	1,337
Prec. 24, West Huntsville	3,830	3,404	1,806
Prec. 25, Merrimack	2,324	2,975	2,276
Marengo County	**35,736**	**36,426**	**36,065**
Prec. 1, Macon	1,261	1,346	1,519
Prec. 2, Demopolis	6,361	6,441	6,040
Demopolis city	*4,137*	*4,037*	*2,779*
Prec. 3, Jefferson	2,662	2,837	2,378
Prec. 4, Spring Hill	829	557	1,030
Prec. 5, Dayton	1,778	1,768	1,847
Dayton town	*153*	*202*	*245*
Prec. 6, Faunsdale	2,606	3,074	2,703
Faunsdale town	*185*	*264*	*268*
Prec. 7, McKinley	1,255	1,309	1,524
Prec. 8, Linden	3,683	3,441	2,629
Linden town	*1,203*	*982*	*700*
Prec. 9, Hills	992	1,078	1,035
Prec. 10, Nanafalia	1,455	1,516	1,397
Prec. 11, Dixons Mills	1,268	1,195	1,415
Prec. 12, Shiloh	1,554	1,876	2,038
Prec. 13, Magnolia	1,556	1,645	1,944
Prec. 14, Horse Creek	870	832	900
Prec. 15, Pineville	1,138	1,042	1,375
Prec. 16, Sweetwater	1,400	1,769	1,662
Prec. 17, Hoboken	684	460	666
Prec. 18, Jacksons Store	1,103	871	607
Prec. 19, Thomaston	2,485	2,468	2,475
Thomaston town	*345*	*377*	*372*
Prec. 20, Myrtlewood	796	901	881
Marion County	**28,776**	**25,987**	**22,008**
Prec. 1, Hamilton	4,283	3,258	2,702
Hamilton town	*1,002*	*695*	*487*
Prec. 2, Rye	792	694	647
Prec. 3, Camp	440	457	385
Prec. 4, Bexar	1,291	1,136	991
Prec. 5, Shottsville	1,192	1,159	918
Prec. 6, Reids	1,171	1,200	1,257
Prec. 7, Hackleburg	1,921	2,213	2,032
Hackleburg town	*492*	*628*	*376*
Prec. 8, Bear Creek	2,025	2,018	1,866
Bear Creek town	*243*	*208*	*222*

[25] JEFFERSON.—For footnote, see preceding page.

[26] LEE.—County totals for 1930 and 1920 include population (6,599 in 1930; 5,432 in 1920) of old precinct 10, comprising part of Pienix City, annexed to precinct 1, Russell County, in 1932. New precinct 10 organized from part of Russell County, and part of precinct 14 annexed to Russell County, in 1932. Notasulga town, geographically located in Lee and Macon Counties, had no population in 1940 in Lee County; returned in 1930 and 1920 as in Macon County only. Name of precinct 7 changed from Grahams Store, and name of precinct 13 from Floyds Mill, since 1930.

[27] LIMESTONE.—County totals for 1930 and 1920 include population (1,219 in 1930; 730 in 1920) of precinct 12, Richland, annexed to 13 since 1930.

[28] MACON.—Name of precinct 6 changed from Honey Cut since 1930. Notasulga town, geographically located in Macon and Lee Counties, had no population in 1940 in Lee County; returned in 1930 and 1920 as in Macon County only.

[29] MADISON.—County total for 1920 includes population (1,325) of old precinct 7, annexed to 6 and 8 between 1920 and 1930.

TABLE 4.—POPULATION OF COUNTIES BY MINOR CIVIL DIVISIONS: 1920 TO 1940—Continued

MINOR CIVIL DIVISION	1940	1930	1920
Marion County—Con.			
Prec. 9, Kimbrough	1,342	1,299	1,124
Prec. 10, Howells	1,001	1,050	991
Prec. 11, Pearces Mills	612	554	610
Prec. 12, Clarks	1,310	909	1,051
Prec. 13, Baccus	1,254	864	870
Prec. 14, Winfield	3,265	2,751	1,852
Winfield town	*1,662*	*1,254*	*753*
Prec. 15, Guin	2,432	2,215	1,973
Guin town	*1,175*	*1,099*	*596*
Prec. 16, Pikeville	496	435	534
Prec. 17, Barnesville	574	566	433
Prec. 18, Brilliant	2,669	2,537	1,772
Boston town	*591*	*522*	-------
Prec. 19, Wiginton	706	652	-------
Marshall County	42,395	39,802	32,669
Prec. 1, Guntersville [30]	4,398	3,634	2,101
Guntersville city [30]	*4,398*	*2,826*	*1,909*
Prec. 2, Crossroads	444	447	391
Prec. 3, Big Springs	282	260	253
Prec. 4, Albertville [30]	5,873	5,309	4,322
Albertville city [30]	*3,651*	*2,716*	*1,666*
Prec. 5, Jay Bird	1,347	1,102	1,038
Prec. 6, Wakefield	342	589	548
Prec. 7, Claysville	583	865	767
Prec. 8, Bosharts	602	777	775
Prec. 9, Kennamers	506	463	417
Prec. 10, Honeycomb	253	376	410
Prec. 11, Paint Rock	807	720	750
Prec. 12, Oleander	1,386	1,176	1,097
Prec. 13, Rock Spring	1,385	1,555	1,774
Prec. 14, Warrenton	663	855	1,324
Prec. 15, Red Hill	529	502	507
Prec. 16, Friendship	2,613	2,630	2,169
Prec. 17, Kirbys	680	890	805
Prec. 18, Thompsons	2,045	2,191	1,828
Prec. 19, Bucksnort [30]	689	1,059	722
Prec. 20, Red Apple	3,904	3,707	3,087
Boaz town	*1,927*	*1,691*	*1,369*
Prec. 21, Cranford	924	863	671
Prec. 22, Reed Brake	1,663	1,380	1,380
Prec. 23, Wrights [30]	736	1,137	795
Prec. 24, Hooper	1,401	1,366	1,107
Prec. 25, Grassy	1,315	1,018	938
Prec. 26, Arab	2,249	1,891	1,474
Arab town	*640*	*425*	*264*
Prec. 27, Union Grove	1,414	1,128	1,219
Prec. 28, Mount High	1,496	1,323	-------
Prec. 29, Georgia Mountain	637	589	-------
Prec. 30, Grant [30]	1,229	-------	-------
Mobile County	141,974	[31] 118,363	[31] 100,117
Mobile city [31]	78,720	68,202	60,777
Prec. 1, Citronelle	2,361	2,336	2,174
Citronelle town	*1,057*	*1,082*	*932*
Prec. 2, Mount Vernon and Calvert	4,393	3,520	2,615
Prec. 3, Gulfcrest	560	505	619
Prec. 4, Andrew Malones	375	334	355
Prec. 5, Creola	582	552	674
Prec. 6, Oak Grove	637	536	716
Prec. 7, Wilmer	542	674	539
Prec. 8, Carvers [31]	1,820	1,124	739
Prec. 9, Whistler [31]	4,159	8,436	9,555
Prec. 10, Toulminville [31]	5,906	7,793	5,854
Prec. 11, Crichton [31]	5,624	4,858	4,120
Prec. 12, Spring Hill [31]	2,357	2,284	1,273
Prec. 13, Wheelerville [31]	943	553	495
Prec. 14, McGills [31]	454	495	255
Prec. 15, Grand Bay and C. H. Dees Store [31]	1,912	1,666	1,107
Prec. 16, St. Elmo and Irvington	1,541	1,306	792
Prec. 17, Theodore	2,288	1,797	967
Prec. 18, Bayou La Batre	2,269	1,635	960
Prec. 19, Herron Bay	412	243	169
Prec. 20, Steeleys (Satsuma) [31]	1,149	602	447
Prec. 21, Bryants Place and O. H. Harbins Store [31]	2,009	1,443	850
Prec. 22, Beards Mill	397	534	445
Prec. 23, Alonzo Thomas Store	1,656	931	693
Prec. 24, Henry Pierces	780	551	465
Prec. 25, Coden	576	514	290
Prec. 26, Semmes [31]	1,201	1,092	828
Prec. 27, Prichard [31]	6,084	-------	-------
Prichard city [31]	*6,084*	*4,580*	-------
Mobile County—Con.			
Prec. 28, Plateau [31]	6,861	-------	-------
Prec. 29, Chunchula	672	561	573
Prec. 30, Dauphin Island	226	286	291
Prec. 31, Overlook Nursery [31]	726	-------	-------
Prec. 32, Chickasaw	1,530	1,450	-------
Prec. 33, Dawes	252	340	-------
Monroe County	29,465	30,070	28,884
Prec. 1, Mount Pleasant	1,776	1,996	1,659
Prec. 2, Perdue Hill	1,978	2,245	2,075
Prec. 3, Monroeville	4,722	4,292	3,119
Monroeville town	*1,724*	*1,355*	*1,017*
Prec. 4, Burnt Corn	1,150	1,165	1,173
Prec. 5, Tunnel Springs	2,271	1,924	2,129
Prec. 6, Ridge	1,392	994	1,053
Prec. 7, Franklin	1,890	2,019	2,608
Prec. 8, Bells Landing	1,689	1,854	1,664
Prec. 9, Buena Vista	1,852	1,941	2,685
Vredenburgh town	*666*	*815*	*874*
Prec. 10, Pineville	1,645	1,635	2,550
Beatrice town	*410*	*342*	*293*
Prec. 11, Simpkinsville	790	771	804
Prec. 12, Midway	655	1,205	1,062
Prec. 13, Jeddo	3,408	3,212	2,512
Prec. 14, Jones Mill	4,247	4,817	3,791
Frisco City town	*994*	*1,021*	*576*
Montgomery County	114,420	98,671	[32] 80,853
Montgomery city, total	78,084	66,079	43,464
Prec. 1	*7,788*	*6,607*	*5,636*
Prec. 2	*19,528*	*16,454*	*9,405*
Prec. 3	*6,398*	*5,582*	*4,147*
Prec. 4	*7,788*	*6,910*	*7,035*
Prec. 5	*12,897*	*10,225*	*5,044*
Prec. 6	*5,238*	*5,180*	*4,075*
Prec. 7	*13,940*	*12,313*	*8,122*
Prec. 23, Cloverdale	*4,507*	*2,958*	-------
Prec. 8, Dooley	1,410	1,300	1,359
Prec. 9, McGehee	1,560	1,424	1,906
Prec. 10, Killough	1,675	1,734	2,349
Prec. 11, Robertson Crossroads	1,696	2,007	2,318
Prec. 12, Porters	1,874	1,868	2,299
Prec. 13, Pine Level	1,548	1,375	1,379
Prec. 14, Dublin	1,349	1,237	1,584
Prec. 15, Tuckers	2,195	2,286	2,581
Prec. 16, Union Academy	1,731	1,284	2,000
Prec. 17, Pike Road	1,663	1,763	2,165
Prec. 18, Old Elam	7,003	6,087	2,488
Prec. 19, Kendall	5,610	3,234	7,177
Prec. 20, Walkers	3,000	2,989	3,862
Prec. 21, Mount Meigs	3,107	3,274	2,416
Prec. 22, Snowdoun	915	730	969
Morgan County	48,148	46,176	[33] 40,196
Prec. 1, Decatur	20,233	18,945	5,090
Austinville town	*790*	*818*	*838*
Decatur city	*16,604*	*15,593*	*4,752*
Prec. 2, Lanes	1,189	813	932
Prec. 3, Danville	1,253	1,302	1,192
Prec. 4, Massey (Gibson)	1,275	1,298	1,353
Prec. 5, Falkville	2,401	1,814	1,669
Falkville town	*567*	*543*	*362*
Prec. 6, Lawrence Cove	563	363	523
Prec. 7, Center Grove (Apple Grove)	488	347	456
Prec. 8, Valhermosa Springs	1,282	1,153	858
Prec. 9, Somerville	4,028	3,212	3,104
Prec. 10, Hartselle	4,698	4,801	4,179
Hartselle city	*2,584*	*2,204*	*2,009*
Prec. 11, Trinity	1,079	1,233	1,135
Trinity town	*249*	*208*	*243*
Prec. 12, Priceville	1,124	1,603	1,374
Prec. 13, Flint	888	1,034	816
Prec. 14, Florette (Nunns Mill)	541	534	416
Prec. 15, Wolff	1,188	961	837
Prec. 16, Neel (Shady Grove)	972	1,086	812
Prec. 17, Eva	1,552	1,602	1,152
Prec. 18, Ryans Crossroads	777	711	643
Prec. 20, Laceys Spring	950	1,139	826
Prec. 21, Lacon	761	1,208	1,102
Prec. 22, Oak Ridge	449	567	477
Prec. 24, Gum Pond	457	450	368
Perry County	26,610	26,385	25,378
Prec. 1, Marion	5,573	5,401	5,190
Marion city	*2,382*	*2,141*	*2,035*
Prec. 2, Hamburg	1,302	1,438	1,225
Prec. 3, Uniontown	4,723	4,040	3,659
Uniontown town	*1,869*	*1,424*	*1,359*
Prec. 4, Scotts	2,031	2,099	1,397
Prec. 5, Cleveland	715	655	813
Prec. 6, Brush Creek	983	726	908
Prec. 7, Oldtown	2,019	1,889	1,727
Prec. 8, Severe	1,376	1,093	1,359
Prec. 9, Pinetucky	909	736	811
Prec. 10, Heards	241	303	377
Prec. 11, Perryville	623	807	912
Prec. 12, Oak Grove	975	1,253	1,069
Prec. 13, Radfordville	1,008	1,295	1,250
Prec. 14, Cunningham	1,047	1,218	1,321
Prec. 15, Walthalls	1,484	1,789	1,532
Prec. 16, Popes	1,601	1,643	1,823
Pickens County	27,671	[34] 24,902	[34] 25,353
Prec. 1, Shelton	679	675	796
Prec. 2, Palmetto	781	653	692
Prec. 3, Vail	487	469	586
Prec. 4, Providence	416	401	541
Prec. 5, Henry	1,372	1,287	1,181
Prec. 6, Ethelville	1,099	1,126	1,043
Prec. 7, Beard	1,015	700	973
Prec. 8, Reform	2,259	2,040	2,074
Reform town	*885*	*898*	*1,069*
Prec. 9, Corrs	1,281	1,238	1,100
Prec. 10, Gordo	2,421	2,122	1,761
Gordo town	*934*	*811*	*642*
Prec. 11, Bostic	894	746	717
Prec. 12, Spring Hill	591	518	529
Prec. 13, Pickensville	1,607	1,645	1,594
Prec. 14, Carrollton	2,573	2,207	2,618
Carrollton town	*626*	*569*	*564*
Prec. 15, Speeds Mills	534	403	629
Prec. 16, Raleigh	772	763	666
Prec. 17, Kings Store	232	405	191
Prec. 18, Olney	483	551	605
Prec. 19, Aliceville [34]	4,798	3,154	2,682
Aliceville town	*1,475*	*1,066*	*944*
Prec. 20, Memphis	444	400	447
Prec. 21, Cochrane	521	595	859
Prec. 23, Bethany	1,235	981	1,309
Prec. 24, Pine Grove	582	565	687
Prec. 25, Whitten	595	562	675
Pike County	32,493	32,240	31,631
Prec. 1, Troy	9,973	9,428	8,163
Troy city	*7,055*	*6,814*	*5,696*
Prec. 2, Orion	1,711	1,404	1,683
Prec. 3, China Grove	657	573	952
Prec. 4, Cross Roads	1,319	1,293	1,466
Prec. 5, Monticello	990	893	984
Prec. 6, Tanyard	1,603	1,607	1,482
Banks town	*252*	*296*	*299*
Prec. 7, Dixons	4,372	4,709	3,851
Brundidge town	*1,909*	*1,434*	*941*
Prec. 8, Grimes	1,520	1,526	1,286
Prec. 9, Darbys	2,096	2,180	2,139
Prec. 10, Goshen Hill	1,780	1,863	2,222
Goshen town	*356*	*367*	*387*
Prec. 11, Mitchells	777	795	1,253
Prec. 12, Josie	1,472	1,487	1,593
Prec. 13, Linwood	610	446	1,012
Prec. 14, Spring Hill	1,632	1,772	1,688
Prec. 15, Indian Branch	991	1,052	1,280
Prec. 16, Little Oak	489	521	577
Prec. 17, Kings	291	487	-------
Prec. 18, Saco	210	204	-------
Randolph County	25,516	26,861	27,064
Prec. 1, Saxons	613	727	763
Prec. 2, Morrisons	1,379	1,409	1,126
Prec. 3, Rockdale	1,182	1,257	1,319
Prec. 4, Lamar	2,291	2,673	2,874
Prec. 5, High Shoals	2,306	2,602	2,690
Prec. 6, Wedowee	3,728	3,245	3,260
Wedowee town	*525*	*396*	*510*
Prec. 7, Fox Creek	503	596	841
Prec. 8, Almond	1,272	1,467	1,633
Wadley town	*493*	*527*	*508*
Prec. 9, Louina	1,152	1,157	1,538
Prec. 10, Roanoke	6,999	7,188	6,730
Roanoke city	*4,168*	*4,373*	*3,841*

[30] MARSHALL.—Part of precinct 1 annexed to Guntersville city and made coextensive with the city in 1936. Part of precinct 4 annexed to Albertville city in 1939, and precinct 30 organized from parts of 19 and 23 in 1932.

[31] MOBILE.—County totals for 1930 and 1920 include population (1,210 in 1930; 480 in 1920) of old precinct 31, Government Street Loop, annexed to precincts 11 and 21 and to Mobile city, in 1931. Parts of Mobile city annexed to precincts 10 and 28 in 1931 and 1935, respectively, and part of precinct 11 annexed to the city in 1931. Precinct 27 organized from parts of 9 and 10 (comprising Prichard city) and precinct 28 organized from part of 9, in 1932; and new precinct 31, Overlook Nursery, organized from parts of 8, 12, 13, and 26, in 1933. Name of precinct 9 returned in 1930 as Whistler and Plateau, and name of precinct 10 as Toulminville and Prichard. Names of precincts changed since 1930: Precinct 14, McGills, from Lloyd Abbotts; precinct 15, Grand Bay and C. H. Dees Store, from Grand Bay and Union Church; precinct 20, Steeleys (Satsuma), from Steeleys; precinct 21, Bryants Place and O. H. Harbins Store, from Reds Store and Harvards; and precinct 26, Semmes, from Crawfords.

[32] MONTGOMERY.—County total for 1920 includes population (537) of precinct 23, annexed to Montgomery city in 1927.

[33] MORGAN.—County total for 1920 includes population (10,882) of precinct 19 and precinct 23, including Austinville town, annexed to 1 in 1927.

[34] PICKENS.—County totals for 1930 and 1920 include population (696 in 1930; 398 in 1920) of precinct 22, Vienna, annexed to 19 since 1930.

TABLE 4.—POPULATION OF COUNTIES BY MINOR CIVIL DIVISIONS: 1920 TO 1940—Continued

MINOR CIVIL DIVISION	1940	1930	1920
Randolph County—Con.			
Prec. 11, Rock Mills	1,570	1,720	1,436
Prec. 12, Bacon Level	721	806	891
Prec. 13, Halpins	704	760	1,009
Prec. 14, Pine Hill	1,096	1,254	954
Russell County [33]	**35,775**	**27,377**	**27,448**
Prec. 1, Girard [33]	19,137	9,668	7,943
Phenix City	*15,351*	*13,862*	*6,432*
Prec. 2, Crawford	1,607	1,490	1,468
Prec. 3, Marvyn [33]	797	1,658	1,730
Prec. 4, Uchee	1,219	1,363	1,432
Prec. 5, Hurtsboro	3,613	3,643	3,876
Hurtsboro town	*894*	*884*	*868*
Prec. 6, Hatchechubbee	1,918	1,817	1,758
Prec. 7, Seale	2,784	2,931	3,797
Seale town	*289*	*335*	*316*
Prec. 8, Oswichee	2,017	2,014	2,640
Prec. 9, Jernigan	1,024	1,320	1,276
Prec. 10, Glennville	1,659	1,473	1,528
St. Clair County	**27,336**	**24,510**	**23,383**
Prec. 1, Ashville	2,494	2,379	2,289
Ashville town	*385*	*369*	*349*
Prec. 2, Friendship	654	569	798
Prec. 3, Branchville	1,023	1,176	2,806
Odenville town	*347*	*318*	*375*
Prec. 4, Springville	2,184	1,801	2,027
Springville town	*460*	*437*	*450*
Prec. 5, Slate	725	531	548
Prec. 6, Steele	920	749	710
Prec. 7, Ferguson	212	222	245
Prec. 8, Greensport	763	664	700
Prec. 9, Ragland	2,296	2,350	1,814
Ragland town	*1,070*	*981*	*613*
Prec. 10, Coal City	582	698	1,260
Prec. 24, Wattsville	843	405	
Prec. 11, Seddon	610	293	231
Prec. 12, Easonville	990	991	1,057
Prec. 13, Kellys Creek	516	561	732
Prec. 14, Dunlap	317	378	258
Prec. 15, Eden	3,425	2,887	2,556
Eden town	*329*	*206*	*198*
Pell City town	*900*	*835*	*825*
Prec. 16, Cook Springs	539	469	365
Prec. 17, Moody	1,443	859	2,097
Leeds city, total [36]	*2,910*	*2,529*	*1,600*
In St. Clair Co.	*39*		
In Jefferson Co.	*2,871*	*2,529*	*1,600*
Prec. 18, Caldwell	632	545	664
Prec. 19, Cropwell	632	787	752
Prec. 20, Riverside	496	462	606
Riverside town	*135*	*131*	*240*
Prec. 21, Fairview	305	392	342
Prec. 22, Chandler Mountain	390	418	323
Prec. 23, Stewarts	174	88	203
Prec. 25, Margaret	2,321	1,871	
Prec. 26, Acmar	1,850	1,965	
Shelby County	**28,962**	**27,576**	**27,097**
Prec. 1, Columbiana	3,373	3,080	3,540
Columbiana town	*1,197*	*1,180*	*1,073*
Prec. 2, Spring Creek	526	600	698
Prec. 3, Calera	2,194	1,873	1,621
Calera town	*1,092*	*975*	*852*
Prec. 4, Montevallo	4,181	4,143	3,260
Montevallo town	*1,490*	*1,245*	*850*
Wilton town	*422*	*562*	*522*
Prec. 5, Bamford	331	209	398
Prec. 6, Helena	1,498	1,184	2,362
Helena town	*667*	*549*	*808*
Prec. 7, Saginaw and Siluria	2,790	2,347	2,307
Prec. 8, Chelsea	1,114	833	1,212
Prec. 9, Wilsonville	1,721	1,972	2,043
Wilsonville town	*749*	*770*	*815*
Prec. 10, Harpersville	2,015	2,354	1,903
Vincent town, total	*1,108*	*1,192*	*1,034*
In Prec. 10	*252*	*397*	*175*
In Prec. 16	*856*	*795*	*859*
Prec. 11, Westover	564	368	626
Prec. 12, Highland	834	746	1,076
Prec. 13, Bold Springs	308	168	282
Prec. 14, Vandiver	397	497	442
Prec. 15, Sterrett	633	565	512
Prec. 16, Vincent	1,385	1,268	1,389
Vincent town (part)	*856*	*795*	*859*
Prec. 17, Pelham	1,490	1,118	823
Prec. 18, Dunnavant	530	444	530
Prec. 19, Maylene	1,394	1,908	2,073
Prec. 20, Boothton	1,367	1,688	
Prec. 21, Ebenezer	317	211	
Sumter County	**27,321**	**26,929**	**25,569**
Prec. 1, Black Bluff	751	561	706
Prec. 2, Gaston	853	868	573
Prec. 3, Thornville	968	824	614
Prec. 4, Earbee	1,188	1,160	1,016
Prec. 5, Intercourse	762	684	1,061
Prec. 6, York	3,084	2,983	2,855
York town	*1,783*	*1,796*	*1,651*
Prec. 7, Livingston	2,926	2,790	2,380
Livingston town	*1,170*	*1,072*	*903*
Prec. 8, Brewersville	1,726	1,680	1,897
Prec. 9, Belmont	1,849	1,993	1,757
Prec. 10, Bluff Port	410	467	427
Prec. 11, Jones Bluff	1,338	1,662	1,777
Epes town	*328*	*362*	*782*
Prec. 12, Sumterville	1,801	1,901	1,612
Prec. 13, Payneville	1,220	1,107	1,075
Prec. 14, Gainesville	1,528	1,366	1,516
Gainesville town	*883*	*829*	*855*
Prec. 15, Lacy	1,317	1,089	1,093
Prec. 16, Preston	1,036	1,116	899
Geiger town	*192*	*121*	*116*
Prec. 17, Hares	1,044	856	830
Prec. 18, Cuba	1,678	1,758	1,673
Cuba town	*557*	*542*	*719*
Prec. 19, Warsaw	1,611	1,789	1,503
Prec. 20, Cotohaga	231	275	305
Talladega County	**51,832**	**45,241**	**41,005**
Prec. 1, Lincoln	2,488	2,724	2,867
Lincoln town	*420*	*429*	*498*
Prec. 2, Estaboga	1,673	1,609	1,629
Prec. 3, Silver Run	1,250	1,136	1,246
Prec. 4, Ironaton	1,092	956	1,581
Prec. 5, Talladega	12,912	11,182	8,504
Talladega city	*9,208*	*7,696*	*6,646*
Prec. 6, Alpine	1,593	1,461	1,555
Prec. 7, Renfroe	1,197	1,062	1,241
Prec. 8, Laniers	1,640	1,618	1,711
Prec. 9, Risers	1,310	1,519	1,524
Prec. 10, Fayetteville	2,035	1,972	2,150
Talladega Springs town	*150*	*118*	*257*
Prec. 11, Sylacauga	15,115	10,609	8,118
Ganitts Quarry town	*456*	*542*	*413*
Sylacauga city	*6,209*	*4,115*	*2,141*
Prec. 12, Childersburg	2,751	2,798	2,157
Bon Air town [37]	*371*		
Childersburg town	*515*	*459*	*418*
Prec. 13, Sycamore	1,648	1,478	1,206
Prec. 14, Chandlers Springs	767	659	922
Prec. 15 Camps Mill	141	120	194
Prec. 16, Autreys	804	888	1,019
Prec. 17, Averys Store	1,347	1,420	1,275
Prec. 18, Munford	2,069	2,030	2,106
Tallapoosa County	**35,270**	**31,188**	**29,744**
Prec. 1, Gold Branch	980	946	1,591
Prec. 2, Alexander	11,617	8,077	5,498
Alexander City	*6,640*	*4,519*	*2,293*
Prec. 3, Hackneyville	1,313	1,066	1,237
Prec. 4, Poplar Springs	690	649	879
Prec. 5, New Site	1,165	1,284	1,364
Prec. 6, Eagle Creek	1,030	1,094	1,052
Prec. 7, Dadeville	3,252	2,692	2,428
Dadeville town	*2,025*	*1,549*	*1,146*
Prec. 8, Oakfuska	152	97	325
Prec. 9, Red Ridge	339	363	814
Prec. 10, Eufala	648	631	889
Prec. 11, Walnut Hill	519	578	659
Prec. 12, Reeltown	6,231	5,846	4,212
Carrville town	*468*	*353*	*256*
Prec. 13, Church Hill	554	496	745
Prec. 14, Rome	1,663	1,734	1,745
Prec. 15, Camp Hill	2,125	2,177	2,093
Camp Hill town	*1,147*	*1,181*	*952*
Prec. 16, Dudleyville	1,085	1,133	1,471
Prec. 17, Daviston	1,325	1,715	1,769
Daviston town	*124*	*144*	*89*
Prec. 18, Jacksons Gap	582	610	973
Tuscaloosa County	**76,036**	**64,153**	**53,680**
Prec. 1, Dunns	1,157	739	790
Prec. 2, New Lexington	842	857	754
Prec. 3, Moores Bridge	714	724	719
Prec. 4, Marcumville	1,801	1,507	1,296
Prec. 5, Ackers	1,007	1,659	1,770
Prec. 6, Hassell	822	531	832
Prec. 7, Cowden (Dodsons)	1,017	1,177	984
Prec. 8, Elrods	868	1,146	538
Prec. 9, Hughes	875	721	985
Prec. 10, Northport	6,833	5,577	3,903
Northport city	*2,187*	*2,178*	*1,606*
Tuscaloosa County—Con.			
Prec. 11, Brookwood	2,689	1,499	3,353
Prec. 12, Parsons	969	1,473	1,791
Prec. 13, Vance	1,475	1,768	1,272
Prec. 14, Coaling and Jones (Smith)	559	667	788
Prec. 15, Cottondale [38]	6,824	6,839	4,482
Prec. 16, Courthouse [38]	34,237	24,400	15,605
Tuscaloosa city [38]	*27,493*	*20,659*	*11,996*
Prec. 17, Hickmans	942	823	1,063
Prec. 18, Friersons	1,233	1,345	1,417
Prec. 19, Blockers	969	1,064	1,367
Prec. 20, Crossland	541	593	667
Prec. 21, Romulus	1,114	1,085	1,072
Prec. 22, Fosters	1,234	1,125	1,340
Prec. 23, Mitchells	998	253	498
Prec. 24, Reese	1,340	1,355	865
Prec. 25, Whitsons [38]	277	516	471
Prec. 26, Coker	719	631	757
Prec. 27, Taylorville	1,783	1,445	1,540
Prec. 28, McDuff (Dobbs)	576	440	400
Prec. 29, Buhl	859	1,285	859
Prec. 30, Carroll	762	909	1,502
Walker County	**64,201**	**59,445**	**50,593**
Prec. 1, Jasper [39]	9,982	7,495	5,536
Jasper city	*6,847*	*5,313*	*3,246*
Prec. 2, South Lowell (Manchester) [39]	2,374	1,643	1,630
Prec. 3, Saragossa [39]	1,731	1,360	1,612
Prec. 4, Nauvoo [39]	1,103	1,181	1,530
Nauvoo town, total [39]	*533*	*648*	*489*
In Prec. 4	*486*	*648*	*489*
In Prec. 34	*47*		
Prec. 5, Carbon Hill	3,487	3,446	3,641
Carbon Hill city	*2,555*	*2,519*	*2,666*
Prec. 6, Townley	2,098	2,408	2,980
Prec. 7, Beach Grove	159	170	274
Prec. 8, Pleasant Grove	891	678	533
Prec. 9, Oakman	2,031	1,945	2,288
Oakman town	*897*	*927*	*1,083*
Prec. 10, High Hill	594	387	471
Prec. 11, Good Springs [39]	2,322	2,216	2,122
Prec. 12, Cordova	5,546	5,555	4,649
Cordova town	*1,881*	*1,830*	*1,622*
Prec. 13, Dora [39]	3,165	5,395	5,015
Dora town	*1,082*	*1,143*	*1,117*
Prec. 14, Union Chapel [39]	1,598	1,128	767
Prec. 15, Sipsey [39]	1,380	1,672	1,494
Prec. 16, Empire [39]	2,453	3,282	2,883
Prec. 17, Marylee [39]	994	863	774
Prec. 18, Corona	763	1,001	1,405
Prec. 19, (Alabama) Pumpkin Center [39]	395	290	242
Prec. 20, Pleasant Field	253	288	272
Prec. 21, Flat Creek [39]	2,295	2,480	995
Prec. 22, Parrish	3,136	3,445	1,600
Parrish town	*870*	*987*	
Prec. 23, Cains [39]	564	551	499
Prec. 24, Pocahontas	911	878	619
Prec. 25, Eldridge	909	681	996
Prec. 26, Kansas	769	665	627
Prec. 27, Gravleeton [39]	478	429	241
Prec. 28, Boldo	714	512	422
Prec. 29, Gamble Mines	474	974	755
Prec. 30, Powells [39]	693	441	382
Prec. 31, Coal Valley	1,115	1,437	2,349
Prec. 32, Prospect	1,219	1,065	990
Prec. 33, Lamons Chapel	1,439	965	
Prec. 34, Shacklefords	1,042	1,018	
Nauvoo town (part)	*47*		
Prec. 35, Dog Town	707	581	
Prec. 36, Bankhead [39]	1,368	860	
Prec. 37, Sumiton [39]	3,049		
Washington County	**16,188**	**16,365**	**14,279**
Prec. 1, St. Stephens	1,050	1,312	674
Prec. 2, Chatom	1,971	1,164	857
Prec. 3, Frankville	1,011	1,124	1,170
Prec. 4, Koenton	1,679	1,450	1,321
Prec. 5, Millry [40]	1,766	1,397	1,456
Prec. 6, Red Creek	557	574	446
Prec. 7, Yellow Pine	1,016	914	739
Prec. 8, Reeds (Tibbie)	441	591	663
Prec. 9, Escatawpa	767	662	878
Prec. 10, Deer Park	709	706	632
Prec. 11, Sims Chapel	1,022	1,422	494
Prec. 12, Fairford	369	457	512
Prec. 13, Malcolm	634	556	633
Prec. 14, McIntosh	1,124	1,245	1,078
Prec. 15, Sunflower	1,248	1,728	1,687
Prec. 16, Carson	824	1,063	1,039

[33] RUSSELL.—Part of precinct 3 annexed to Lee County; old precinct 10, Lee County (comprising part of Phenix City), and part of precinct 14, Lee County, annexed to precinct 1, Russell County, in 1932.

[36] ST. CLAIR.—Leeds city returned in 1930 and 1920 as in Jefferson County only.

[37] TALLADEGA.—Bon Air town incorporated in 1932.

[38] TUSCALOOSA.—Part of Tuscaloosa city reverted to precinct 16 in 1930; and part of precinct 15 annexed to 16 in 1932. Name of precinct 25, Whitsons, changed from Mulenax since 1930.

[39] WALKER.—Part of precinct 1 annexed to 36, and precinct 37 organized from parts of 13 and 16, in 1933. Nauvoo town returned in 1930 as in precinct 4 only. Names of precincts changed in 1934: Precinct 2, South Lowell (Manchester), from South Lowell; precinct 3, Saragossa, from Zion; precinct 4, Nauvoo, from Cagles; precinct 11, Good Springs, from Good Springs (America); precinct 14, Union Chapel, from Bartonville; precinct 15, Sipsey, from Bryan (Sipsey); precinct 16, Empire, from Dorris (Empire); precinct 17, Marylee, from Turpentine (Marylee); precinct 19 (Alabama), Pumpkin Center, from Alabama; precinct 21, Flat Creek, from Ebenezer (Quinton); precinct 23, Cains, from Liberty Hill (Cain); precinct 27, Gravleeton, from Pisgah (Gravleeton); and precinct 30, Powells, from Powell (Powellville).

[40] WASHINGTON.—Name of precinct 5, Millry, changed from Healing Springs since 1930.

TABLE 4.—POPULATION OF COUNTIES BY MINOR CIVIL DIVISIONS: 1920 TO 1940—Continued

MINOR CIVIL DIVISION	1940	1930	1920
Wilcox County	26,279	24,880	31,080
Prec. 1, Camden	3,461	2,504	2,518
Camden town	*909*	*697*	*700*
Prec. 2, Canton	1,414	1,409	1,787
Prec. 3, Rehoboth	1,046	882	1,180
Prec. 4, Prairie Bluff	1,005	857	1,258
Prec. 5, Clifton	2,511	2,495	3,113
Prec. 6, Bethel	2,859	2,734	2,732
Pine Hill town	*418*	*433*	*375*
Prec. 7, Lower Peach Tree	973	1,185	1,257
Prec. 8, Blacks Bluff	1,772	1,542	1,817
Prec. 9, Allenton	1,066	995	1,281
Oak Hill town [41]	*159*	-------	-------
Wilcox County—Con.			
Prec. 10, Bonham	478	564	742
Prec. 11, Pine Apple	907	803	1,288
Pine Apple town	*455*	*438*	*464*
Prec. 12, Snow Hill	1,372	1,314	2,008
Prec. 13, Mims	401	371	687
Prec. 14, Fox Mills	1,255	1,579	1,434
Prec. 15, Sedan	609	683	1,052
Prec. 16, Boiling Springs	1,109	1,085	1,335
Prec. 17, Gees Bend	1,206	762	919
Prec. 18, Mount Hope	957	839	1,370
Prec. 19, Ackerville	459	500	1,291
Prec. 20, Awin	510	499	319
Prec. 21, Possum Bend	909	1,278	1,692
Winston County	18,746	15,596	14,378
Prec. 1, Double Springs	2,516	2,021	1,784
Prec. 2, Haleyville	5,112	4,580	3,725
Haleyville city	*2,427*	*2,115*	*1,404*
Prec. 3, Lynn	2,253	1,623	1,665
Prec. 4, Motes	965	1,160	894
Prec. 5, Arley	1,524	1,126	1,030
Prec. 6, Houston	877	446	565
Prec. 7, Addison	1,965	1,622	1,528
Prec. 8, Moreland	246	210	346
Prec. 9, Helican and Ne Smith	1,002	769	760
Prec. 10, Delmar	1,134	950	1,185
Prec. 11, Ashridge	1,152	1,089	896

[41] WILCOX.—Oak Hill town incorporated in 1938.

Incorporated places.—Table 5 shows the population in 1940 and 1930 of the incorporated places (cities and towns) in Alabama. In this table the places are arranged in alphabetical order, each followed by the name of the county in which it is located. In table 6 the population of the cities of 5,000 or more that are subdivided into wards is shown by wards.

TABLE 5.—POPULATION OF INCORPORATED PLACES: 1940 AND 1930

[The population of these places in 1920 is given in table 4. Places marked with an asterisk (*) were classified as urban in 1940]

CITY OR TOWN	County	1940	1930
Abbeville	Henry	2,080	2,047
Akron	Hale	504	793
Albertville*	Marshall	3,651	2,716
Alexander City*	Tallapoosa	6,640	4,519
Aliceville	Pickens	1,475	1,066
Altoona	Etowah	995	1,098
Andalusia*	Covington	6,886	5,154
Anniston*	Calhoun	25,523	22,345
Arab	Marshall	640	425
Ardmore	Limestone	381	266
Ariton	Dale	561	611
Ashford	Houston	1,224	920
Ashland	Clay	1,608	1,476
Ashville	St. Clair	385	369
Athens*	Limestone	4,342	4,238
Atmore*	Escambia	3,200	3,035
Attalla*	Etowah	4,885	4,585
Auburn*	Lee	4,652	2,800
Austinville	Morgan	790	818
Autaugaville	Autauga	456	450
Banks	Pike	252	296
Bay Minette	Baldwin	1,763	1,545
Bear Creek	Marion	243	208
Beatrice	Monroe	410	342
Beaverton	Lamar	231	164
Bellwood	Geneva	285	299
Berry	Fayette	639	500
Bessemer*	Jefferson	22,826	20,721
Billingsley	Autauga	183	189
Birmingham*	Jefferson	267,583	259,678
Black	Geneva	348	335
Blountsville	Blount	576	468
Blue Mountain	Calhoun	687	1,134
Blue Springs	Barbour	167	164
Boaz	Marshall	1,927	1,691
Boligee	Greene	241	178
Bon Air	Talladega	371	-------
Boston	Marion	591	522
Brantley	Crenshaw	1,126	1,053
Brent	Bibb	829	586
Brewton*	Escambia	3,323	2,818
Bridgeport	Jackson	2,031	2,124
Brighton	Jefferson	1,377	1,708
Brookside	Jefferson	714	466
Brundidge	Pike	1,909	1,434
Butler	Choctaw	670	501
Calera	Shelby	1,092	975
Camden	Wilcox	909	697
Camp Hill	Tallapoosa	1,147	1,131
Carbon Hill*	Walker	2,555	2,519
Cardiff	Jefferson	246	146
Carrollton	Pickens	626	569
Carrville	Tallapoosa	468	353
Castleberry	Conecuh	609	427
Centerville	Bibb	893	791
Centre	Cherokee	1,012	-------
Chapman	Butler	1,167	1,189
Cherokee	Colbert	786	659
Childersburg	Talladega	515	459
Citronelle	Mobile	1,057	1,082
Clanton*	Chilton	3,982	1,847
Clayton	Barbour	1,813	1,717
Clio	Barbour	841	867
Coffee Springs	Geneva	196	258
Coffeeville	Clarke	250	-------
Collinsville	De Kalb	957	892
Columbia	Houston	829	926
Columbiana	Shelby	1,197	1,180
Cordova	Walker	1,881	1,830
Cottonwood	Houston	600	410
Courtland	Lawrence	454	359
Crossville	De Kalb	436	316
Cuba	Sumter	557	542
Cullman*	Cullman	5,074	2,786
Dadeville	Tallapoosa	2,025	1,549
Daphne	Baldwin	630	582
Daviston	Tallapoosa	124	144
Dayton	Marengo	153	202
Decatur*	Morgan	16,604	15,593
Demopolis*	Marengo	4,137	4,037
Dora	Walker	1,032	1,143
Dothan*	Houston	17,194	16,046
Dozier	Crenshaw	399	377
East Brewton	Escambia	1,340	1,002
Eclectic	Elmore	606	678
Eden	St. Clair	329	206
Edwardsville	Cleburne	194	226
Elba	Coffee	2,363	2,523
Elkmont	Limestone	185	192
Enterprise*	Coffee	4,353	3,702
Epes	Sumter	328	362
Eufaula*	Barbour	6,269	5,208
Eunola	Geneva	113	[1]
Eutaw	Greene	1,895	1,721
Evergreen	Conecuh	2,216	2,007
Fairfield*	Jefferson	11,703	11,059
Fairhope	Baldwin	1,845	1,549
Falco	Covington	80	96
Falkville	Morgan	567	543
Faunsdale	Marengo	185	264
Fayette*	Fayette	2,668	2,109
Five Points	Chambers	778	1,010
Flomaton	Escambia	837	915
Florala*	Covington	2,999	2,580
Florence*	Lauderdale	15,043	11,729
Foley	Baldwin	864	791
Fort Deposit	Lowndes	1,351	1,092
Fort Payne*	De Kalb	4,424	3,375
Frisco City	Monroe	994	1,021
Fruithurst	Cleburne	281	225
Fulton	Clarke	707	766
Gadsden*	Etowah	36,975	24,042
Gainesville	Sumter	283	329
Gantts Quarry	Talladega	456	542
Gaylesville	Cherokee	183	204
Geiger	Sumter	192	121
Geneva*	Geneva	2,803	1,593
Georgiana	Butler	1,627	1,480
Glencoe	Etowah	669	-------
Glenwood	Crenshaw	393	429
Goodwater	Coosa	1,028	996
Gordo	Pickens	934	811
Gordon	Houston	327	299
Goshen	Pike	356	367
Greensboro	Hale	2,034	1,795
Greenville*	Butler	5,075	3,985
Grove Hill	Clarke	730	491
Guin	Marion	1,175	1,099
Guntersville*	Marshall	4,398	2,826
Hackleburg	Marion	492	628
Haleburg	Henry	232	274
Haleyville	Winston	2,427	2,115
Hamilton	Marion	1,002	695
Hammondville	De Kalb	93	-------
Hanceville	Cullman	650	780
Hartford	Geneva	1,494	1,419
Hartselle*	Morgan	2,584	2,204
Headland	Henry	2,052	1,811
Heflin	Cleburne	1,684	1,231
Helena	Shelby	667	549
Hillsboro	Lawrence	292	240
Hobson City	Calhoun	508	404
Hodges	Franklin	260	247
Holly Pond	Cullman	226	224
Hollywood	Jackson	311	274
Homewood*	Jefferson	7,397	6,103
Huntsville*	Madison	13,050	11,554
Hurtsboro	Russell	894	884
Irondale	Jefferson	1,486	1,517
Jackson	Clarke	2,039	1,828
Jacksonville*	Calhoun	2,995	2,840
Jasper*	Walker	6,847	5,313
Jemison	Chilton	456	459
Kennedy	Lamar	367	277
Kinston	Coffee	343	388
Lafayette	Chambers	2,138	2,119
Lanett*	Chambers	6,141	5,204
Leeds*	Jefferson / St. Clair	2,910	2,529
Leighton	Colbert	810	670
Lincoln	Talladega	420	429
Linden	Marengo	1,203	982
Lineville	Clay	1,300	1,329
Lipscomb	Jefferson	1,740	1,774
Lisman	Choctaw	545	521
Livingston	Sumter	1,170	1,072
Lockhart	Covington	910	-------
Louisville	Barbour	662	587
Luverne	Crenshaw	2,243	1,874
McKenzie	Butler	504	396
Madison	Madison	455	431
Madrid	Houston	229	279
Malvern	Geneva	190	207
Marion	Perry	2,382	2,141
Mentone	De Kalb	154	-------
Midland City	Dale	647	755
Midway	Bullock	617	710
Millport	Lamar	700	714
Mobile*	Mobile	78,720	68,202
Monroeville	Monroe	1,724	1,355
Montevallo	Shelby	1,490	1,245

[1] Not returned separately.

TABLE 5.—POPULATION OF INCORPORATED PLACES: 1940 AND 1930—Continued

[The population of these places in 1920 is given in table 4. Places marked with an asterisk (*) were classified as urban in 1940]

CITY OR TOWN	County	1940	1930	CITY OR TOWN	County	1940	1930	CITY OR TOWN	County	1940	1930
Montgomery*	Montgomery	78,084	66,079	Prichard*	Mobile	6,084	4,580	Thomasville	Clarke	2,000	1,504
Mooresville	Limestone	129	114	Ragland	St. Clair	1,070	981	Thorsby	Chilton	772	771
Moulton	Lawrence	752	639	Red Bay	Franklin	1,560	1,297	Town Creek	Lawrence	637	427
Moundville	Hale	812	757	Red Level	Covington	516	445	Trinity	Morgan	249	208
Muscle Shoals	Colbert	1,113	719	Reform	Pickens	885	898	Troy*	Pike	7,055	6,814
Nauvoo	Walker	533	648	Repton	Conecuh	365	420	Tuscaloosa*	Tuscaloosa	27,493	20,059
Newbern	Hale	388	389	River Falls	Covington	413	556	Tuscumbia*	Colbert	5,515	4,533
New Brockton	Coffee	878	727	Riverside	St. Clair	135	131	Tuskegee*	Macon	3,937	3,314
Newton	Dale	616	661	Roanoke*	Randolph	4,168	4,373	Union Springs*	Bullock	3,107	2,875
Newville	Henry	578	528	Robertsdale	Baldwin	779	678	Uniontown	Perry	1,869	1,424
North Johns[2]	Jefferson	404	344								
Northport*	Tuscaloosa	3,187	2,173	Rockford	Coosa	394	320	Valley Head	De Kalb	439	430
	Lee	} 863	756	Rogersville	Lauderdale	508	445	Vernon	Lamar	759	519
Notasulga	Macon			Russellville*	Franklin	3,510	3,146	Vina	Franklin	472	448
Oak Hill	Wilcox	159	------	Rutledge	Crenshaw	289	215	Vincent	Shelby	1,108	1,102
Oakman	Walker	897	927	Samson	Geneva	2,182	1,656	Vredenburgh	Monroe	666	815
Odenville	St. Clair	347	318	Scottsboro*	Jackson	2,834	2,304	Wadley	Randolph	493	527
Oneonta	Blount	2,376	1,387	Seale	Russell	289	335	Walnut Grove	Etowah	206	216
Opelika*	Lee	8,487	6,156	Searight	Crenshaw	133	114	Warrior	Jefferson	1,008	646
Opp*	Covington	3,178	2,918	Selma*	Dallas	19,834	18,012	Waterloo	Lauderdale	524	497
Orrville	Dallas	416	394	Sheffield*	Colbert	7,933	6,221	Waverly	Chambers	} 321	383
									Lee		
Oxford	Calhoun	1,393	1,206	Silverhill	Baldwin	270	314	Webb	Houston	379	400
Ozark*	Dale	3,601	3,103	Slocomb	Geneva	1,041	964	Wedowee	Randolph	525	396
Paint Rock	Jackson	282	320	Smith Hill	Bibb	280	240	West Blocton	Bibb	1,317	1,070
Parrish	Walker	870	987	Springville	St. Clair	460	437	Wetumpka*	Elmore	3,089	2,357
Pell City	St. Clair	900	835	Steppville	Cullman	415	(1)	Wilsonville	Shelby	749	770
Petrey	Crenshaw	258	168	Stevenson	Jackson	793	733	Wilton	Shelby	422	562
Phenix City*	Russell	15,351	13,862	Stroud	Chambers	125	396	Winfield	Marion	1,662	1,254
Phil Campbell	Franklin	533	472	Sulligent	Lamar	1,287	1,078	Woodville	Jackson	183	196
Piedmont*	Calhoun	4,019	3,668	Summerdale	Baldwin	239	267	York	Sumter	1,783	1,796
Pinckard	Dale	555	633	Sylacauga*	Talladega	6,269	4,115				
Pine Apple	Wilcox	455	438	Talladega*	Talladega	9,298	7,596				
Pine Hill	Wilcox	418	433	Talladega Springs	Talladega	150	118				
Pleasant Grove	Jefferson	1,066	------	Tallassee	Elmore	1,011	849				
Pollard	Escambia	339	304	Tarrant City*	Jefferson	6,833	7,341				
Prattville*	Autauga	2,664	2,331	Thomaston	Marengo	345	377				

[1] Not returned separately.

[2] Returned in 1930 as Johns.

TABLE 6.—POPULATION OF CITIES OF 5,000 OR MORE BY WARDS: 1940

CITY AND WARD	Population	CITY AND WARD	Population	CITY AND WARD	Population	CITY AND WARD	Population	CITY AND WARD	Population
Andalusia	6,886	**Eufaula—Con.**		**Huntsville**	13,050	**Opelika—Con.**		**Talladega**	9,298
Ward 1	1,494	Ward 3	2,132	Ward 1	5,369	Ward 3	2,060	Ward 1	1,830
Ward 2	1,434	Ward 4	1,410	Ward 2	2,414	Ward 4	908	Ward 2	1,825
Ward 3	1,874	**Fairfield**	11,703	Ward 3	2,241	Ward 5	2,276	Ward 3	453
Ward 4	2,084	Ward 1	1,440	Ward 4	3,026	Ward 6	747	Ward 4	2,573
Anniston	25,523	Ward 2	2,222	**Mobile**	78,720	**Phenix City**	15,351	Ward 7	1,153
Ward 1	3,039	Ward 3	915	Ward 1	3,806	Ward 1	1,133	Ward 8	1,464
Ward 2	8,605	Ward 4	4,234	Ward 2	1,946	Ward 2	1,012	**Tarrant City**	6,833
Ward 3	4,175	Ward 5	2,892	Ward 3	1,865	Ward 3	1,500	Ward 1	2,600
Ward 4	3,143	**Florence**	15,043	Ward 4	5,625	Ward 4	1,249	Ward 2	2,034
Ward 5	2,988	Ward 1	1,962	Ward 5	3,816	Ward 5	2,134	Ward 3	2,199
Ward 6	3,573	Ward 2	1,951	Ward 6	8,686	Ward 6	1,375	**Troy**	7,055
Bessemer	22,826	Ward 3	2,034	Ward 7	19,277	Ward 7	1,982	Ward 1	2,495
Ward 1	2,294	Ward 4	1,671	Ward 8	15,747	Ward 8	1,049	Ward 2	1,549
Ward 2	4,763	Ward 5	3,375	Ward 9	6,139	Ward 9	2,186	Ward 3	887
Ward 3	5,083	Ward 6	4,050	Ward 10	6,813	Ward 10	1,731	Ward 4	1,087
Ward 4	5,633	**Greenville**	5,075	Ward 11	5,000	**Selma**	19,834	Ward 5	1,037
Ward 5	5,053	Ward 1	1,409	**Montgomery**	78,084	Ward 1	3,662	**Tuscumbia**	5,515
Dothan	17,194	Ward 2	1,976	Ward 1	7,788	Ward 2	4,326	Ward 1	1,241
Ward 1	2,777	Ward 3	1,225	Ward 2	19,528	Ward 3	3,886	Ward 2	1,059
Ward 2	3,811	Ward 4	465	Ward 3	6,398	Ward 4	4,140	Ward 3	812
Ward 3	5,541	**Homewood**	7,397	Ward 4	7,788	Ward 5	3,820	Ward 4	786
Ward 4	5,065	Ward 1	2,260	Ward 5	12,897	**Sylacauga**	6,269	Ward 5	1,617
Eufaula	6,269	Ward 2	2,921	Ward 6	5,238	Ward 1	2,303		
Ward 1	955	Ward 3	1,102	Ward 7	13,940	Ward 2	1,012		
Ward 2	1,772	Ward 4	590	Ward 23	4,507	Ward 3	956		
		Ward 5	524	**Opelika**	8,487	Ward 4	1,998		
				Ward 1	929				
				Ward 2	1,567				

NOTE.—Other cities of more than 5,000 (Alexander City, Birmingham, Cullman, Decatur, Gadsden, Jasper, Lanett, Prichard, Sheffield, and Tuscaloosa) have no wards.

Metropolitan districts.—Metropolitan districts have been set up for use in the 1940 Census of Population in connection with each city of 50,000 or more, two or more such cities sometimes being in one district. The general plan is to include in the district, in addition to the central city or cities, all adjacent and contiguous minor civil divisions having a population of 150 or more per square mile. In some metropolitan districts a few less densely populated contiguous divisions are included on the basis of special qualifications. A metropolitan district is thus not a political unit but rather an area including all the thickly settled territory in and around a city or group of cities. It tends to be a more or less integrated area with common economic, social, and, often, administrative interests. The following tables give data for the three metropolitan districts with their central city in Alabama. Part of the Columbus district is also situated in Alabama; data for this district are presented in the bulletin for Georgia.

Table 7 shows the population of the Birmingham metropolitan district and its constituent political units in 1940 and 1930, together with the increase or decrease during the decade. In 1940 the Birmingham metropolitan district had 407,851 inhabitants, whereas in 1930 the district as then constituted had a population of 382,792. All of precincts 22, 38, and 44, and that part of precinct 51 that was annexed to precinct 33 in 1940 were included in the metropolitan district in 1940 for the first time. That part of precinct 8 that was annexed to precinct 41 in 1939 was not included in the metropolitan district in 1940 although it was included in the district in 1930. Since the 1930 population of these parts of precincts 8 and 51 is not obtainable, the total population in 1930 cannot be given for either the new area or the area now omitted.

TABLE 7.—POPULATION OF THE BIRMINGHAM METROPOLITAN DISTRICT: 1940 AND 1930

[A minus sign (−) denotes decrease]

AREA	POPULATION		INCREASE	
	1940	1930	Number	Percent
The metropolitan district	**407,851**	**382,792**	**25,059**	**6.5**
Birmingham city	267,583	259,678	7,905	3.0
Outside city	140,268	123,114	17,154	13.9
Incorporated places	**55,388**	**50,835**	**4,553**	**9.0**
Bessemer city	22,826	20,721	2,105	10.2
Brighton town	1,377	1,708	−331	−19.4
Brookside town	714	466	248	53.2
Cardiff town	246	146	100	68.5
Fairfield city	11,703	11,059	644	5.8
Homewood city	7,397	6,103	1,294	21.2
Irondale town	1,486	1,517	−31	−2.0
Lipscomb town	1,740	1,774	−34	−1.9
Pleasant Grove town [1]	1,066			
Tarrant City	6,833	7,341	−508	−6.9
Unincorporated areas	84,880	72,279	12,601	17.4

TABLE 7.—POPULATION OF THE BIRMINGHAM METROPOLITAN DISTRICT: 1940 AND 1930—Continued

[A minus sign (−) denotes decrease]

AREA	POPULATION		INCREASE	
	1940	1930	Number	Percent
District includes following minor civil divisions (election precincts):				
In Jefferson County	**407,851**	**382,792**	**25,059**	**6.5**
Precinct 2 [2] (incl. part of Bessemer city)	10,567	11,406	−839	−7.4
Precinct 7 [3] (incl. Pleasant Grove town)	8,219	6,612	1,607	24.3
Precinct 8 [4]	1,562	2,029	−467	−23.0
Precinct 9 [5] (incl. part of Birmingham city)	60,171	63,435	−3,264	−5.1
Precinct 10 (incl. part of Birmingham city)	17,581	16,929	652	3.9
Precinct 11 (incl. Tarrant City)	9,590	9,988	−398	−4.0
Precinct 18 (incl. Brookside and Cardiff towns)	1,471	1,550	−79	−5.1
Precinct 20 (incl. part of Irondale town)	6,478	5,386	1,092	20.3
Precinct 21 (comprising part of Birmingham city)	42,509	42,674	−165	−0.4
Precinct 22	2,096	(6)		
Precinct 25 (incl. Homewood city)	10,769	8,006	2,763	34.5
Precinct 29 [7] (incl. part of Birmingham city)	15,081	14,225	856	6.0
Precinct 33 [8] (incl. parts of Bessemer city and Brighton town)	25,371	21,458	3,913	18.2
Precinct 34 (incl. part of Birmingham city)	16,536	16,608	−72	−0.4
Precinct 36 (incl. parts of Birmingham city and Irondale town)	1,470	1,410	60	4.3
Precinct 37 (comprising part of Birmingham city)	45,786	44,058	1,728	3.9
Precinct 38	2,027	(9)		
Precinct 39 [7]	4,019	3,625	394	10.9
Precinct 40 [10]	2,363	2,367	−4	−0.2
Precinct 42 (incl. part of Birmingham city)	27,041	25,322	1,719	6.8
Precinct 44	2,797	(11)		
Precinct 45 (incl. part of Birmingham city)	29,145	27,999	1,146	4.1
Precinct 46 (comprising part of Birmingham city)	18,658	18,642	16	0.1
Precinct 49	412	329	83	25.2
Precinct 52 (incl. part of Birmingham city)	5,970	6,211	−241	−3.9
Precinct 53 (comprising Fairfield city)	11,703	11,059	644	5.8
Precinct 54 (incl. part of Birmingham city)	6,652	6,443	209	3.2
Precinct 55 [12] (incl. part of Brighton town)	6,463	5,761	702	12.2
Precinct 56	1,672	[13] 2,409	−737	−30.6
Precinct 57	7,538	6,851	687	10.0
Precinct 58 [14] (incl. Lipscomb town)	6,134			

[1] Incorporated in 1933.
[2] Part, including part of Bessemer city, annexed to precinct 33 in 1940.
[3] Part annexed to precinct 55 in 1939.
[4] Part annexed to precinct 41 in 1939; not included in the metropolitan district in 1940 (1940 and 1930 population not obtainable).
[5] Part annexed to precinct 55, and part taken to form part of precinct 58, in 1939.
[6] Not included in the metropolitan district in 1930 (population 1,700 in 1930).
[7] Part of precinct 29 annexed to precinct 39 in 1940.
[8] Part annexed to precinct 55, and part, including Lipscomb town, taken to form part of precinct 58, in 1939. Part of precinct 2, including part of Bessemer city, and parts of precincts 40 and 51 annexed in 1940. That part formerly part of precinct 51 (1940 and 1930 population not obtainable) not included in the metropolitan district in 1930.
[9] Not included in the metropolitan district in 1930 (population 1,604 in 1930).
[10] Part annexed to precinct 33 in 1940.
[11] Not included in the metropolitan district in 1930 (population 1,621 in 1930).
[12] Parts of precincts 7, 9, and 33 annexed, and part taken to form part of precinct 58, in 1939.
[13] Includes population (512) of Alabama Boys' Industrial School in precinct 44; incorrectly returned in 1930 as in precinct 56.
[14] Organized from parts of precincts 9, 33, and 55 in 1939.

Table 7–A shows the population of the Mobile metropolitan district and its constituent political units in 1940. This district was defined for the first time in 1940. In 1940 the Mobile metropolitan district had 114,906 inhabitants. Comparative figures for 1930 are not available because of the redistricting of Mobile County into new minor civil divisions.

TABLE 7–A.—POPULATION OF THE MOBILE METROPOLITAN DISTRICT: 1940

[This area was not defined as a metropolitan district in 1930. Comparative figures for 1930 are not available]

AREA	Population
The metropolitan district	**114,906**
Mobile city	78,720
Outside city	36,186
Incorporated places	**6,084**
Prichard city	6,084
Unincorporated areas	30,102
District includes following minor civil divisions (election precincts and cities):	
In Mobile County	**114,906**
Mobile city	78,720
Precinct 9, Whistler	4,159
Precinct 10, Toulminville	5,906
Precinct 11, Crichton	5,624
Precinct 12, Spring Hill	2,357
Precinct 21, Bryants Place and O. H. Harbins Store	2,009
Precinct 23, Alonzo Thomas Store	1,656
Precinct 27, Prichard (comprising Prichard city)	6,084
Precinct 28, Plateau	6,861
Precinct 32, Chickasaw	1,530

TABLE 7–B.—POPULATION OF THE MONTGOMERY METROPOLITAN DISTRICT: 1940 AND 1930

[This area was not defined as a metropolitan district in 1930; the figures shown in the second column represent the 1930 population of the specified places]

AREA	POPULATION		INCREASE	
	1940	1930	Number	Percent
The metropolitan district	**93,697**	**78,389**	**15,308**	**19.5**
Montgomery city	78,084	66,079	12,005	18.2
Outside city	15,613	12,310	3,303	26.8
Unincorporated areas	15,613	12,310	3,303	26.8
District includes following minor civil divisions (election precincts):				
In Montgomery County	**93,697**	**78,389**	**15,308**	**19.5**
Precinct 1 (comprising part of Montgomery city)	7,788	6,507	1,281	19.7
Precinct 2 (comprising part of Montgomery city)	19,528	16,454	3,074	18.7
Precinct 3 (comprising part of Montgomery city)	6,398	5,532	866	15.7
Precinct 4 (comprising part of Montgomery city)	7,788	6,910	878	12.7
Precinct 5 (comprising part of Montgomery city)	12,897	10,225	2,672	26.1
Precinct 6 (comprising part of Montgomery city)	5,238	5,180	58	1.1
Precinct 7 (comprising part of Montgomery city)	13,940	12,313	1,627	13.2
Precinct 18, Old Elam	7,003	6,087	916	15.0
Precinct 19, Kendall	5,610	3,234	2,376	73.5
Precinct 20, Walkers	3,000	2,989	11	0.4
Precinct 23, Cloverdale (comprising part of Montgomery city)	4,507	2,958	1,549	52.4

Table 7–B shows the population of the Montgomery metropolitan district and its constituent political units in 1940. This district was defined for the first time in 1940. For comparison the 1930 population of the units comprising the present district is also shown, together with the increase between 1930 and 1940. In 1940 the Montgomery metropolitan district had 93,697 inhabitants, whereas in 1930 the same area had a population of 78,389.

Census tracts.—Census tracts are small areas into which certain large cities are subdivided for statistical and local administrative purposes, through cooperation with a local committee in each case. The tracts are permanently established, so that comparisons may be made from census to census; they are laid out with a view to approximate uniformity in population and with some regard for uniformity in area; and each is designed to include an area fairly homogeneous in population characteristics. In table 8 the 1940 population of Birmingham is shown by census tracts. Since these tracts were not established until after 1930, there are no comparative figures for earlier censuses. The census tracts for Birmingham are shown on the accompanying map.

TABLE 8.—POPULATION OF BIRMINGHAM BY CENSUS TRACTS: 1940

TRACT	Population	TRACT	Population	TRACT	Population	TRACT	Population
The city	267,583	Tract 13	2,476	Tract 27	4,044	Tract 41	3,592
		Tract 14	3,747	Tract 28	10,896	Tract 42	4,908
Tract 1	2,792	Tract 15	8,145	Tract 29	7,594	Tract 43	4,939
Tract 2	1,796	Tract 16	9,138	Tract 30	6,296	Tract 44	5,904
Tract 3	3,935	Tract 17	2,764	Tract 31	5,248	Tract 45	5,598
Tract 4	4,882	Tract 18	6,401	Tract 32	7,410	Tract 46	3,017
Tract 5	5,960	Tract 19	3,274	Tract 33	6,254	Tract 47	11,626
Tract 6	3,984	Tract 20	2,329	Tract 34	6,097	Tract 48	5,094
Tract 7	4,937	Tract 21	3,982	Tract 35	4,084	Tract 49	9,804
Tract 8	7,604	Tract 22	2,813	Tract 36	2,741	Tract 50	4,458
Tract 9	7,296	Tract 23	4,756	Tract 37	4,041	Tract 51	2,477
Tract 10	2,403	Tract 24	5,777	Tract 38	6,377	Tract 52	2,610
Tract 11	5,222	Tract 25	2,631	Tract 39	1,764		
Tract 12	6,597	Tract 26	5,426	Tract 40	9,643		

BIRMINGHAM BY CENSUS TRACTS

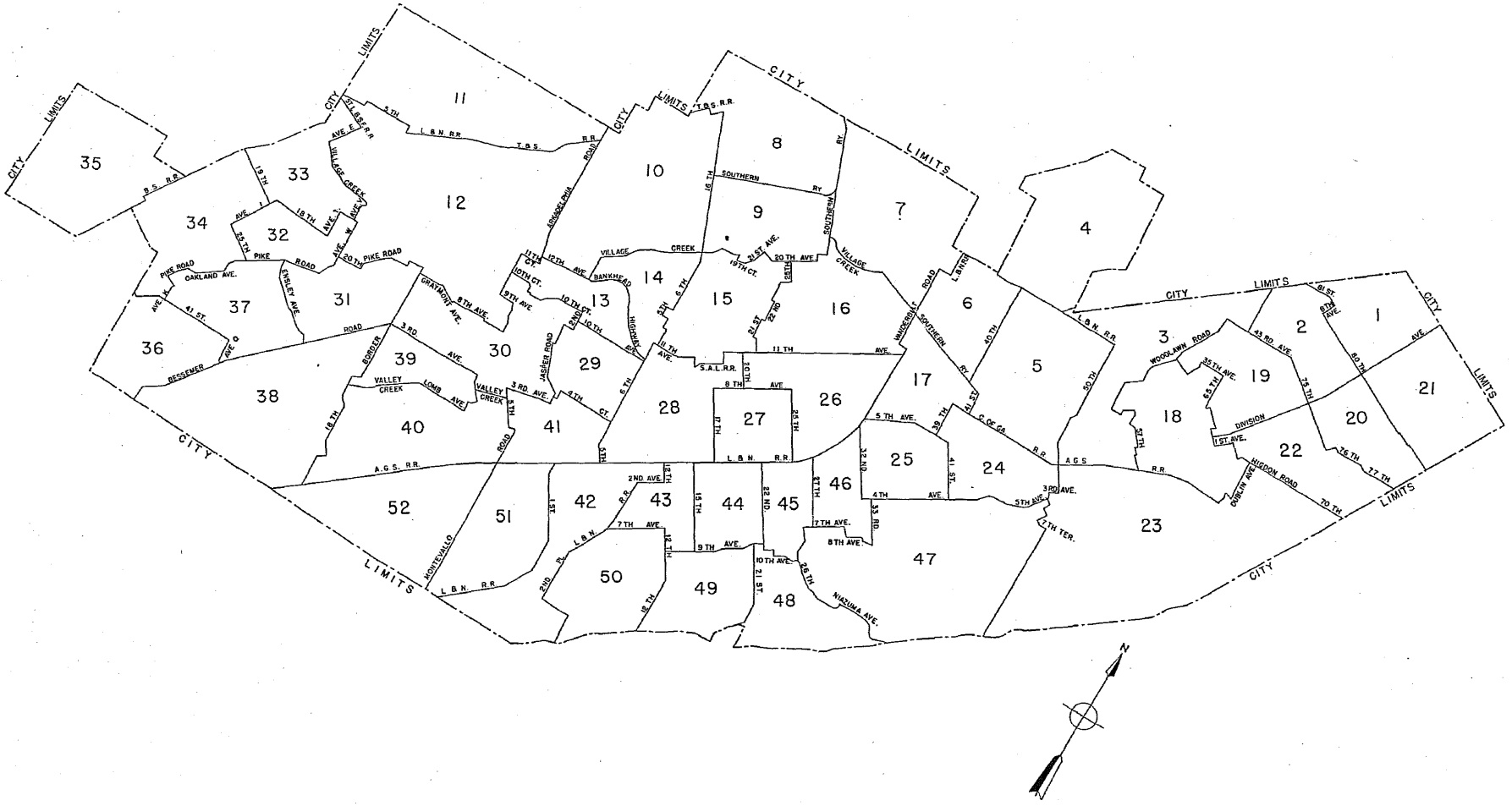

BIRMINGHAM METROPOLITAN DISTRICT

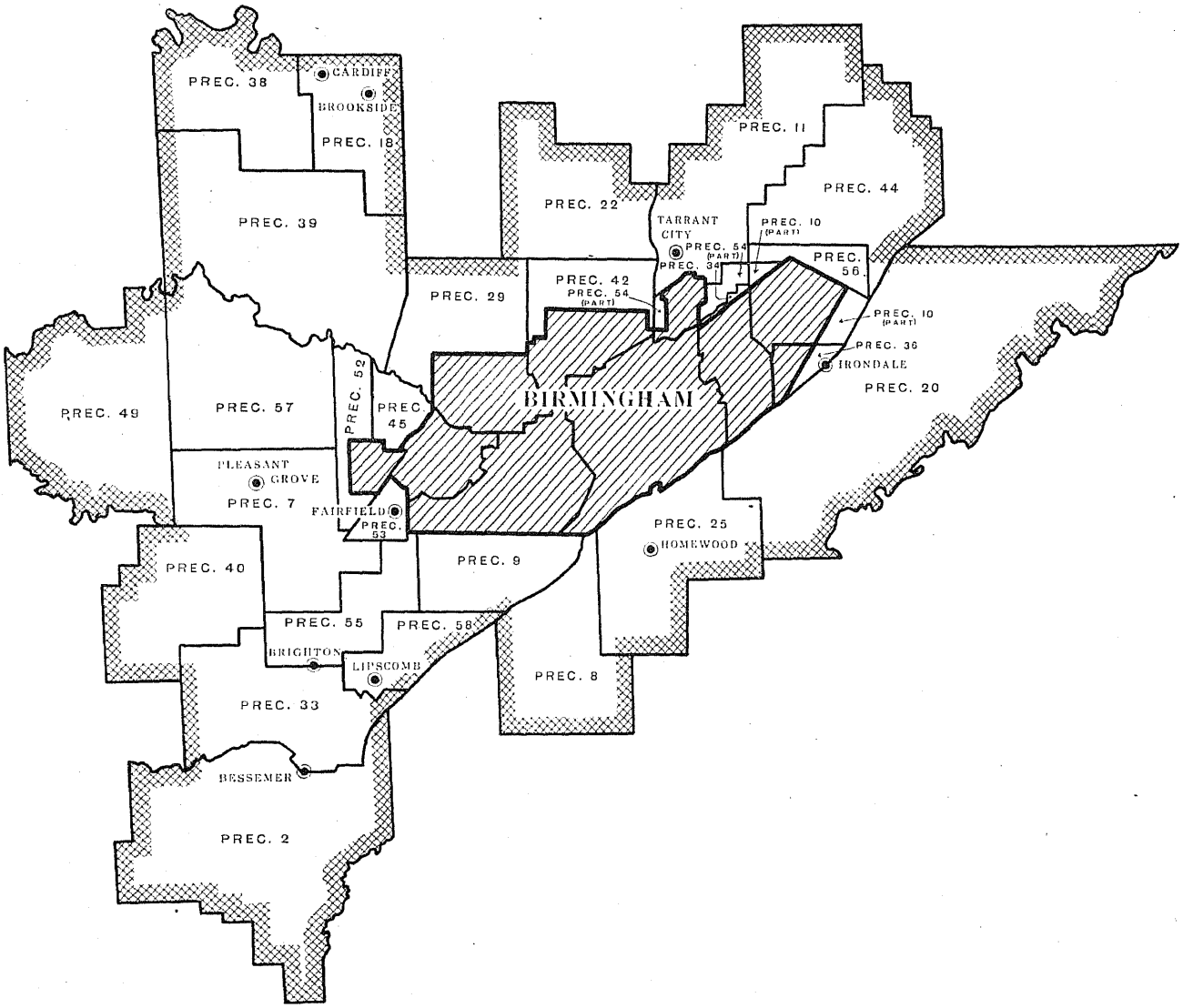

MOBILE METROPOLITAN DISTRICT

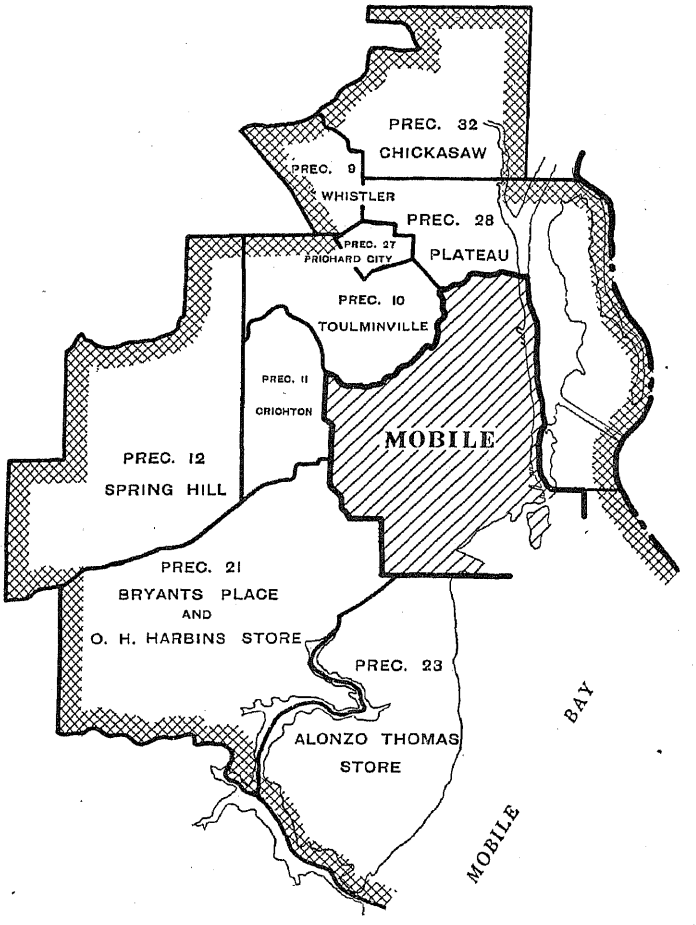

MONTGOMERY METROPOLITAN DISTRICT

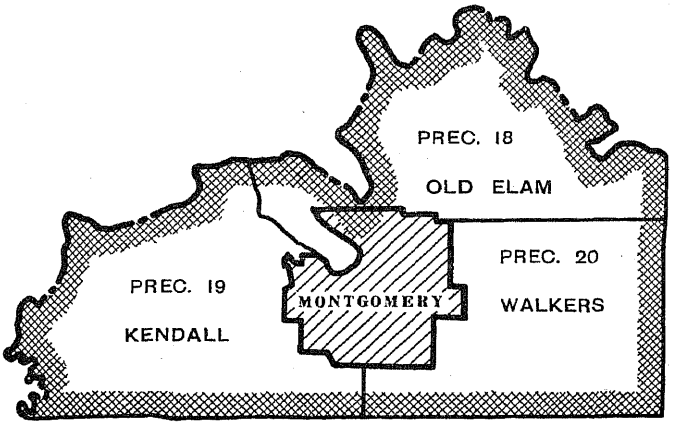

ARIZONA

CONTENTS

	Page
MAP.—Arizona by minor civil divisions	88
DIAGRAM.—Urban and rural population of Arizona: 1870 to 1940	89
TABLE 1.—Population of Arizona, urban and rural: 1870 to 1940	89
TABLE 2.—Population of cities of 10,000 or more from earliest census to 1940	89
TABLE 3.—Area and population of counties, urban and rural: 1920 to 1940	90
TABLE 4.—Population of counties by minor civil divisions: 1920 to 1940	91
TABLE 5.—Population of incorporated places: 1940 and 1930	91
TABLE 6.—Population of cities of 5,000 or more by wards: 1940	92
TABLE 7.—Population of the Phoenix metropolitan district: 1940	92
MAP.—Phoenix metropolitan district	92

ARIZONA

MINOR CIVIL DIVISIONS—SUPERVISORIAL DISTRICTS

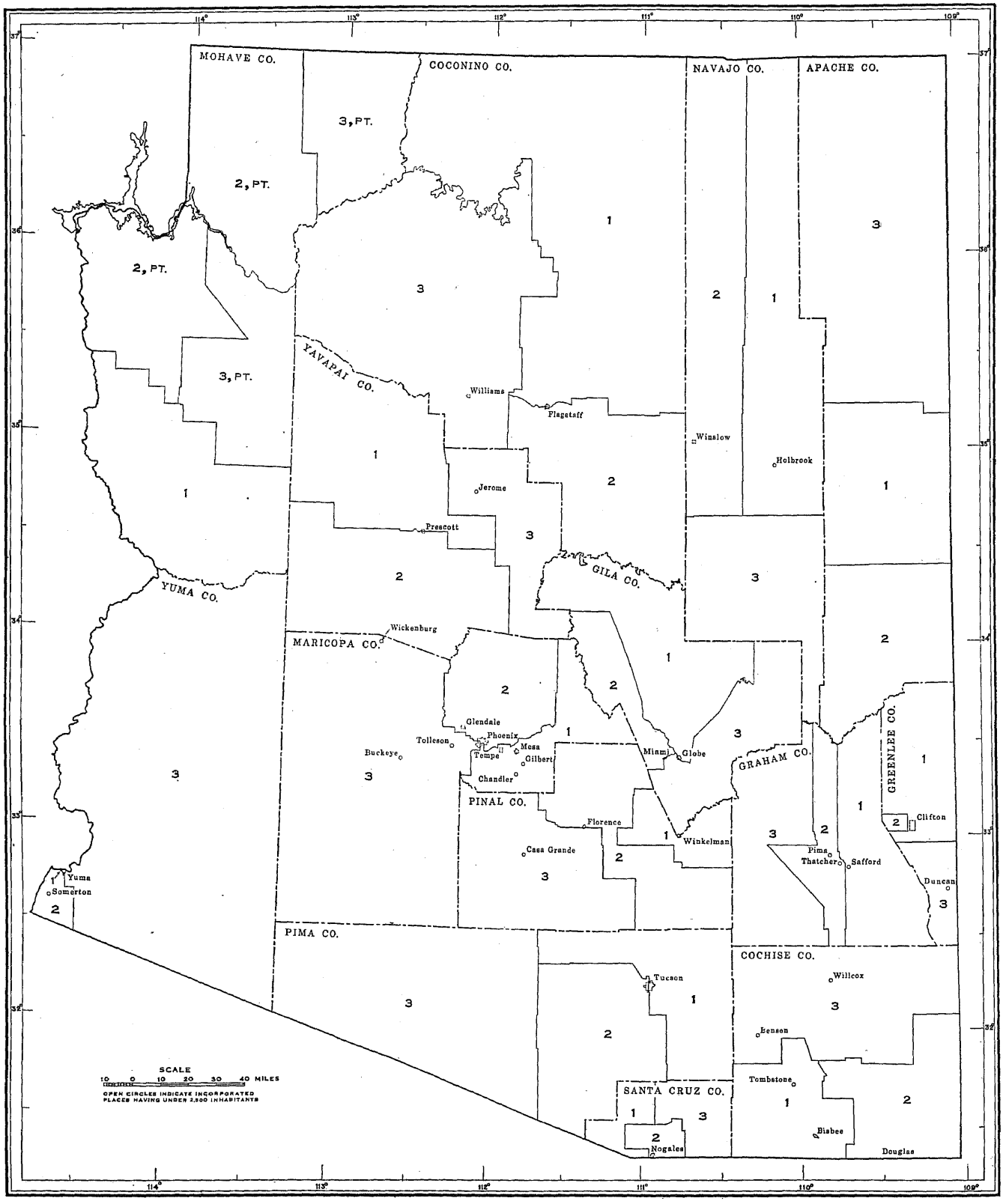

ARIZONA

NUMBER OF INHABITANTS

Population of the State.—Arizona was organized as a Territory in 1863 and was admitted to the Union as the forty-eighth State in 1912. Its population on April 1, 1940, according to the Sixteenth Census, was 499,261, which represents an increase of 63,688, or 14.6 percent, as compared with the population on April 1, 1930. The total land area of the State, as shown in table 3, is 113,580 square miles. The average number of inhabitants per square mile in 1940 was 4.4, as compared with 3.8 in 1930.

Table 1 shows the population of Arizona from 1870, the year in which its area was first separately enumerated, to 1940, together with the increase during each decade. The urban and rural population of the State at each census is presented in this table and is also shown graphically in the accompanying chart. The urban population of Arizona comprises all persons living in incorporated places of 2,500 or more, the remainder of the population being classified as rural. The urban and rural areas are not necessarily constant from one census to the next, since new places are added to the urban list from time to time as they attain a population of 2,500 or more. Places are likewise taken off the urban list when, through decline in population, they fall below this limit. For example, Clifton qualified as urban in 1920 and 1940 but not in 1930.

TABLE 1.—POPULATION OF ARIZONA, URBAN AND RURAL: 1870 TO 1940

[Urban-rural classification in accordance with 1940 definitions]

CENSUS YEAR	THE STATE			URBAN PLACES				RURAL TERRITORY			PERCENT OF TOTAL	
	Population	Increase over preceding census		Number of places	Population	Increase over preceding census		Population	Increase over preceding census		Urban	Rural
		Number	Percent			Number	Percent		Number	Percent		
1940	499,261	63,688	14.6	16	173,981	24,125	16.1	325,280	39,563	13.8	34.8	65.2
1930	435,573	101,411	30.3	14	149,856	29,068	24.1	285,717	72,343	33.9	34.4	65.6
1920	334,162	129,808	63.5	15	120,788	57,528	90.9	213,374	72,280	51.2	36.1	63.9
1910	204,354	81,423	66.2	9	63,260	43,765	224.5	141,094	37,658	36.4	31.0	69.0
1900	122,931	34,688	39.3	4	19,495	11,193	134.8	103,436	23,495	29.4	15.9	84.1
1890	88,243	47,803	118.2	2	8,302	1,295	18.5	79,941	46,508	139.1	9.4	90.6
1880	40,440	30,782	318.7	1	7,007	3,783	117.3	33,433	26,999	419.6	17.3	82.7
1870	9,658			1	3,224			6,434			33.4	66.6

URBAN AND RURAL POPULATION OF ARIZONA: 1870 TO 1940

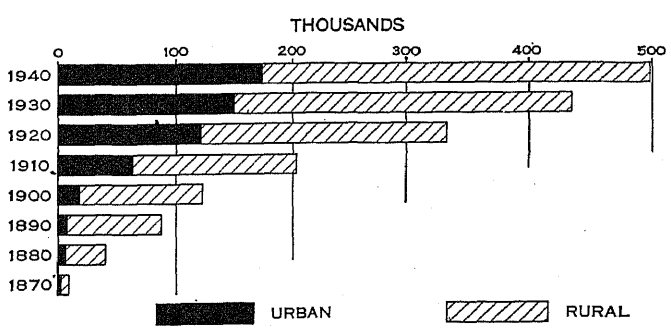

Geographic subdivisions.—In tables 2 to 5 the population of Arizona is shown by counties, supervisorial districts, cities, and towns, with some comparative figures from previous censuses. Table 6 gives the population of cities by wards, and table 7 presents data for the Phoenix metropolitan district.

Cities of 10,000 or more.—There are two cities in the State that had a population of 10,000 or more in 1940. Table 2 shows the population of these cities at each census for which figures are available, together with the increase or decrease during each decade. Phoenix, the capital and largest city, had a population in 1940 of 65,414.

TABLE 2.—POPULATION OF CITIES OF 10,000 OR MORE FROM EARLIEST CENSUS TO 1940

[A minus sign (−) denotes decrease]

CITY AND CENSUS YEAR	Population	INCREASE OVER PRECEDING CENSUS	
		Number	Percent
Phoenix:			
1940	65,414	17,296	35.9
1930	48,118	19,065	65.6
1920	29,053	17,919	160.9
1910	11,134	5,590	100.8
1900	5,544	2,392	75.9
1890	3,152		
Tucson:			
1940	[1] 36,818	4,312	13.3
1930	32,506	12,214	60.2
1920	20,292	7,099	53.8
1910	13,193	5,662	75.2
1900	7,531	2,381	46.2
1890	5,150	−1,857	−26.5
1880	7,007	3,783	117.3
1870	[2] 3,224		

[1] Includes population, 1,066, of South Tucson city, separately incorporated in 1939. Revised 1940 population figure for Tucson is 35,752. The urban-rural tabulations have not been adjusted for this correction.

[2] Population prior to incorporation.

Counties.—Table 3 shows the population of the 14 counties of Arizona from 1920 to 1940, together with the land area of each county and its population per square mile in 1940. The land areas given here are the result of new measurements recently compiled and differ somewhat from those published in earlier census reports. Nine of these counties increased in population between 1930 and 1940, and five decreased. No new counties have been organized, and there have been no changes in county boundaries since the census of 1930. This table also presents the urban and rural population of each county for 1940 and 1930.

TABLE 3.—AREA AND POPULATION OF COUNTIES, URBAN AND RURAL: 1920 TO 1940

[A minus sign (−) denotes decrease. Percent not shown where base is less than 100]

COUNTY	Land area in square miles, 1940	TOTAL POPULATION						URBAN POPULATION			RURAL POPULATION			PERCENT URBAN	
		1940		1930	1920	Percent of increase		1940	1930	Percent of increase	1940	1930	Percent of increase	1940	1930
		Total	Per square mile			1930 to 1940	1920 to 1930								
Arizona	113,580	499,261	4.4	435,573	334,162	14.6	30.3	173,981	149,856	16.1	325,280	285,717	13.8	34.8	34.4
Apache	11,174	24,095	2.2	17,765	13,196	35.6	34.6				24,095	17,765	35.6		
Cochise	6,256	34,627	5.5	40,998	46,465	−15.5	−11.8	14,476	17,851	−18.9	20,151	23,147	−12.9	41.8	43.5
Coconino	18,573	18,770	1.0	14,064	9,982	33.5	40.9	7,702	3,891	97.9	11,068	10,173	8.8	41.0	27.7
Gila	4,750	23,867	5.0	31,016	25,678	−23.0	20.8	10,863	14,850	−26.8	13,004	16,166	−19.6	45.5	47.9
Graham	4,610	12,113	2.6	10,373	10,148	16.8	2.2				12,113	10,373	16.8		
Greenlee	1,874	8,698	4.6	9,886	15,362	−12.0	−35.6	2,668			6,030	9,886	−39.0	30.7	
Maricopa	9,231	186,193	20.2	150,970	89,576	23.3	68.5	80,399	55,494	44.9	105,794	95,476	10.8	43.2	36.8
Mohave	13,260	8,591	0.6	5,572	5,259	54.2	6.0				8,591	5,572	54.2		
Navajo	9,911	25,309	2.6	21,202	16,077	19.4	31.9	4,577	3,917	16.8	20,732	17,285	19.9	18.1	18.5
Pima	9,241	72,838	7.9	55,676	34,680	30.8	60.5	36,818	32,506	13.3	36,020	23,170	55.5	50.5	58.4
Pinal	5,378	28,841	5.4	22,081	16,130	30.6	36.9				28,841	22,081	30.6		
Santa Cruz	1,246	9,482	7.6	9,684	12,689	−2.1	−23.7	5,135	6,006	−14.5	4,347	3,678	18.2	54.2	62.0
Yavapai	8,091	26,511	3.3	28,470	24,016	−6.9	18.5	6,018	10,449	−42.4	20,493	18,021	13.7	22.7	36.7
Yuma	9,985	19,326	1.9	17,816	14,904	8.5	19.5	5,325	4,892	8.9	14,001	12,924	8.3	27.6	27.5

Minor civil divisions.—To the primary political divisions into which the counties are subdivided the Census Bureau applies the general term "minor civil divisions." The primary divisions of the counties in Arizona are called supervisorial districts. The incorporated cities and towns form secondary subdivisions of the minor civil divisions in which they are located. There are 15 cities and 19 towns. Ordinarily, each of these secondary divisions forms a part of some district (or districts).

Table 4 shows the population of each county by districts, cities, and towns for the last three censuses. The population of the cities and towns is shown in *italics* under the population of the primary divisions in which the places are respectively located. Where an incorporated place is located in two or more districts the total population of the place is given in connection with the presentation for the first district.

TABLE 4.—POPULATION OF COUNTIES BY MINOR CIVIL DIVISIONS: 1920 TO 1940

[The "districts" shown in the table are supervisorial districts. Since figures for 1930 and 1920 were given for election precincts, justice precincts, or school districts, comparative figures can be shown for county totals and for secondary divisions only. For changes between 1930 and 1940, see footnotes; for those between 1920 and 1930, see Reports of the Fifteenth Census (1930), vol. I, pp. 93–97]

MINOR CIVIL DIVISION	1940	1930	1920
Apache County	24,095	17,765	13,196
District 1	2,966		
District 2	4,494		
District 3	16,635		
Cochise County	34,627	40,998	46,465
District 1	15,742		
Bisbee city	*5,853*	*8,023*	*9,205*
Tombstone city	*822*	*849*	*1,178*
District 2	13,576		
Douglas city	*8,623*	*9,828*	*9,916*
District 3	5,309		
Benson town	*962*	*925*	
Willcox town	*884*	*806*	*905*
Coconino County	18,770	14,064	9,962
District 1	10,096		
Flagstaff city, total	*5,080*	*3,891*	*3,186*
In District 1	*2,484*		
In District 2	*2,596*		
District 2	4,025		
Flagstaff city (part)	*2,596*		
District 3	4,649		
Williams town	*2,622*	*2,166*	*1,350*
Gila County	23,867	31,016	25,678
District 1	6,157		
Globe city, total	*6,141*	*7,157*	*7,044*
In District 1	*4,328*		
In District 3	*1,813*		
District 2	6,324		
Miami town, total	*4,722*	*7,693*	*6,689*
In District 2	*4,048*		
In District 3	*674*		
District 3	11,386		
Globe city (part)	*1,813*		
Miami town (part)	*674*		
Winkelman town	*524*	*729*	*573*
Graham County	12,113	10,373	10,148
District 1	5,928		
Safford town	*2,266*	*1,706*	*1,336*
Graham County—Continued.			
District 2	3,981		
Pima town	*867*	*980*	*515*
Thatcher town	*1,106*	*895*	*899*
District 3	2,204		
Greenlee County	8,698	9,886	15,362
District 1	3,126		
Clifton town	*2,668*	*2,305*	*4,163*
District 2	3,529		
District 3	2,043		
Duncan town [1]	*887*		
Maricopa County	186,193	150,970	89,576
District 1	49,434		
Chandler town	*1,239*	*1,378*	
Gilbert town	*837*	*791*	*865*
Mesa city [2]	*7,224*	*3,711*	*3,036*
Phoenix city, total	*65,414*	*48,118*	*29,053*
In District 1	*8,332*		
In District 2	*31,721*		
In District 3	*25,361*		
Tempe city	*2,906*	*2,495*	*1,963*
District 2	81,452		
Glendale city	*4,855*	*3,665*	*2,737*
Phoenix city (part)	*31,721*		
District 3	55,307		
Buckeye town	*1,305*	*1,077*	
Phoenix city (part)	*25,361*		
Tolleson town	*1,731*	*910*	
Wickenburg town	*995*	*734*	*527*
Mohave County	8,591	5,572	5,259
District 1	2,735		
District 2	3,077		
District 3	2,779		
Navajo County	25,309	21,202	16,077
District 1	7,853		
Holbrook town	*1,184*	*1,115*	*1,206*
District 2	10,914		
Winslow city	*4,577*	*3,917*	*3,730*
District 3	6,542		
Pima County	72,838	55,676	34,680
District 1	26,564		
Tucson city, total	*[3]36,818*	*32,506*	*20,292*
In District 1	*14,600*		
In District 2	*[3]22,218*		
District 2	37,164		
Tucson city (part)	*22,218*		
District 3	9,110		
Pinal County	28,841	22,081	16,130
District 1	3,069		
District 2	8,130		
Florence town, total	*1,383*	*1,318*	*1,161*
In District 2	*907*	*915*	
In District 3	*476*	*403*	
District 3	17,642		
Casa Grande town	*1,545*	*1,351*	*948*
Florence town (part)	*476*	*403*	
Santa Cruz County	9,482	9,684	12,689
District 1	1,581		
District 2	5,943		
Nogales city	*5,135*	*6,006*	*8,460*
District 3	1,958		
Yavapai County	26,511	28,470	24,016
District 1	9,054		
Prescott city, total	*6,018*	*5,517*	*5,010*
In District 1	*2,838*		
In District 2	*3,180*		
District 2	7,898		
Prescott city (part)	*3,180*		
District 3	9,559		
Jerome town	*2,295*	*4,932*	*4,080*
Yuma County	19,326	17,816	14,904
District 1	5,158		
Yuma city, total [4]	*5,325*	*4,892*	*4,237*
In District 1	*5,158*		
In District 2	*167*		
District 2	8,209		
Somerton city	*1,247*	*891*	*938*
Yuma city (part)	*167*		
District 3 [4]	5,959		

[1] GREENLEE.—Duncan town incorporated in 1938.
[2] MARICOPA.—Mesa town incorporated as a city in 1930.
[3] PIMA.—Total reported for Tucson city includes population, 1,066, of South Tucson city, separately incorporated in 1939. Revised population figure for Tucson is 35,752. The urban-rural tabulations have not been adjusted for this correction.
[4] YUMA.—No population in that part of Yuma city located in district 3.

Incorporated places.—Table 5 shows the population in 1940 and 1930 of the incorporated places (cities and towns) in Arizona. In this table the places are arranged in alphabetical order, each followed by the name of the county in which it is located. In table 6, the population of the cities having 5,000 inhabitants or more that are subdivided into wards is shown for these subdivisions.

TABLE 5.—POPULATION OF INCORPORATED PLACES: 1940 AND 1930

[The population of these places in 1920 is given in table 4. Places marked with an asterisk (*) were classified as urban in 1940]

CITY OR TOWN	County	1940	1930
Benson	Cochise	962	925
Bisbee*	Cochise	5,853	8,023
Buckeye	Maricopa	1,305	1,077
Casa Grande	Pinal	1,545	1,351
Chandler	Maricopa	1,239	1,378
Clifton*	Greenlee	2,668	2,305
Douglas*	Cochise	8,623	9,828
Duncan	Greenlee	887	
Flagstaff*	Coconino	5,080	3,891
Florence	Pinal	1,383	1,318
Gilbert	Maricopa	837	791
Glendale*	Maricopa	4,855	3,665
Globe*	Gila	6,141	7,157
Holbrook	Navajo	1,184	1,115
Jerome	Yavapai	2,295	4,932
Mesa*	Maricopa	7,224	3,711
Miami*	Gila	4,722	7,693
Nogales*	Santa Cruz	5,135	6,006
Phoenix*	Maricopa	65,414	48,118
Pima	Graham	867	980
Prescott*	Yavapai	6,018	5,517
Safford	Graham	2,266	1,706
Somerton	Yuma	1,247	891
Tempe*	Maricopa	2,906	2,495
Thatcher	Graham	1,106	895
Tolleson	Maricopa	1,731	910
Tombstone	Cochise	822	849
Tucson*	Pima	[1]36,818	32,506
Wickenburg	Maricopa	995	734
Willcox	Cochise	884	806
Williams*	Coconino	2,622	2,166
Winkelman	Gila	524	729
Winslow*	Navajo	4,577	3,917
Yuma*	Yuma	5,325	4,892

[1] Includes population, 1,066, of South Tucson city, separately incorporated in 1939. Revised 1940 population figure for Tucson is 35,752. The urban-rural tabulations have not been adjusted for this correction.

TABLE 6.—POPULATION OF CITIES OF 5,000 OR MORE BY WARDS: 1940

CITY AND WARD	1940	CITY AND WARD	1940
Bisbee	5,853	Globe—Continued.	
Ward 1	2,366	Ward 4	979
Ward 2	1,458	Ward 5	1,045
Ward 3	2,029	Ward 6	982
Douglas	8,623	Prescott	6,018
Ward 1	1,998	Ward 1	1,265
Ward 2	1,132	Ward 2	1,573
Ward 3	1,442	Ward 3	1,197
Ward 4	1,271	Ward 4	1,983
Ward 5	1,387	Tucson	[1] 36,818
Ward 6	1,393	Ward 1	5,489
Globe	6,141	Ward 2	4,422
Ward 1	1,127	Ward 3	4,785
Ward 2	1,119	Ward 4	4,225
Ward 3	889	Ward 5	[1] 12,497
		Ward 6	5,400

NOTE.—The other cities of more than 5,000 (Flagstaff, Mesa, Nogales, Phoenix, and Yuma) have no wards.

[1] Includes population, 1,066, of South Tucson, separately incorporated in 1939. Revised 1940 population figure for Tucson is 35,752, and for ward 5, 11,431. The urban-rural tabulations have not been adjusted for this correction.

Metropolitan districts.—Metropolitan districts have been set up for use in the 1940 Census of Population in connection with each city of 50,000 or more, two or more such cities sometimes being in one district. The general plan is to include in the district, in addition to the central city or cities, all adjacent and contiguous minor civil divisions having a population of 150 or more per square mile. In some metropolitan districts a few less densely populated contiguous divisions are included on the basis of special qualifications. Only a portion of a minor civil division is included if the minor civil division has a large area and practically all of the population is concentrated in a small section near the central city with the more remote sections being very sparsely settled. In such cases, the unit considered was not the minor civil division but component enumeration districts. (For example, not all of the enumeration districts in supervisorial districts 1, 2, and 3 of Maricopa County are included in the Phoenix metropolitan district.) A metropolitan district is thus not a political unit but rather an area including all the thickly settled territory in and around a city or group of cities. It tends to be a more or less integrated area with common economic, social, and, often, administrative interests.

The Phoenix metropolitan district is the only one in Arizona. This district was defined for the first time in 1940.

Table 7 shows the population of the Phoenix metropolitan district and its constituent political units in 1940. In 1940 the Phoenix metropolitan district had 121,828 inhabitants. Comparative figures for 1930 are not available because of the redistricting of the counties into new minor civil divisions.

TABLE 7.—POPULATION OF THE PHOENIX METROPOLITAN DISTRICT: 1940

[This area was not defined as a metropolitan district in 1930, nor are comparable figures for the same area available for 1930]

AREA	Population, 1940
The metropolitan district	121,828
Phoenix city	65,414
Outside city	56,414
Incorporated places	4,855
Glendale city	4,855
Unincorporated areas	51,559
District includes following minor civil divisions (supervisorial districts):	
In Maricopa County	121,828
District 1 (part, incl. part of Phoenix city) [1]	18,027
District 2 (part, incl. Glendale city and part of Phoenix city) [2]	71,057
District 3 (part, incl. part of Phoenix city) [3]	32,744

[1] That part outside Phoenix city is bounded by West 8th Street, Bartlet Road, Base Line Road, South Central Avenue, Laveen Road, and city limits.

[2] That part outside the cities is bounded by Lateral 19, Arizona Canal, Indian School Road, Chicago Avenue, Thomas Road, 40th Street, U. S. Highway 60, and city limits.

[3] That part outside Phoenix city is bounded by Salt River, Lateral 17, Buckeye Road, Lateral 15, Van Buren Street, Lateral 16, and city limits.

PHOENIX METROPOLITAN DISTRICT

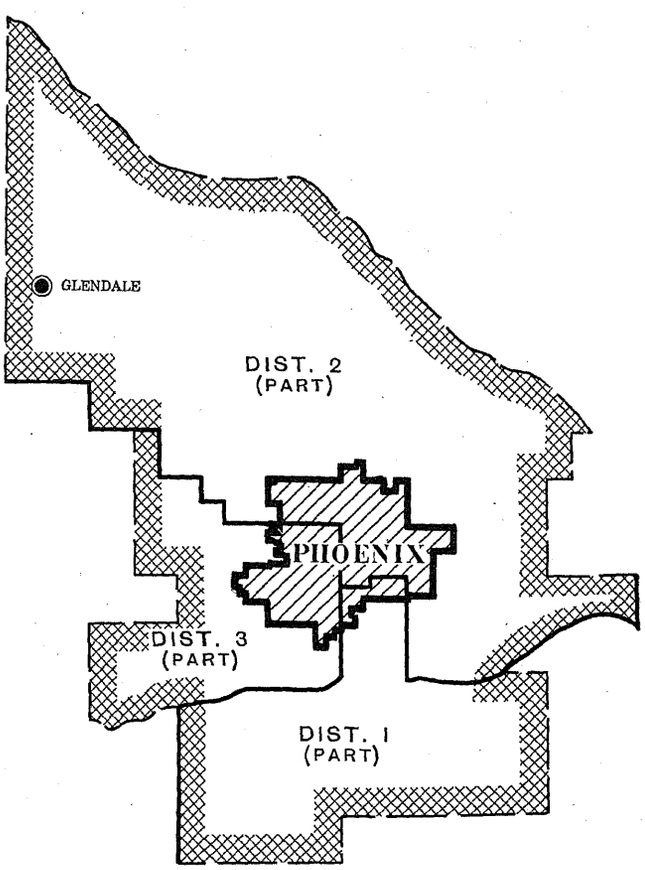

ARKANSAS

CONTENTS

	Page
MAP.—Arkansas by minor civil divisions (4 sections)	94
DIAGRAM.—Urban and rural population of Arkansas: 1810 to 1940	99
TABLE 1.—Population of Arkansas, urban and rural: 1810 to 1940	99
TABLE 2.—Population of cities of 10,000 or more from earliest census to 1940	100
TABLE 3.—Area and population of counties, urban and rural: 1920 to 1940	100
TABLE 4.—Population of counties by minor civil divisions: 1920 to 1940	102
TABLE 5.—Population of incorporated places: 1940 and 1930	109
TABLE 6.—Population of cities of 5,000 or more by wards: 1940	111
TABLE 7.—Population of the Little Rock metropolitan district: 1940 and 1930	112
MAP.—Little Rock metropolitan district	112

ARKANSAS—NORTHWESTERN PART

MINOR CIVIL DIVISIONS—TOWNSHIPS

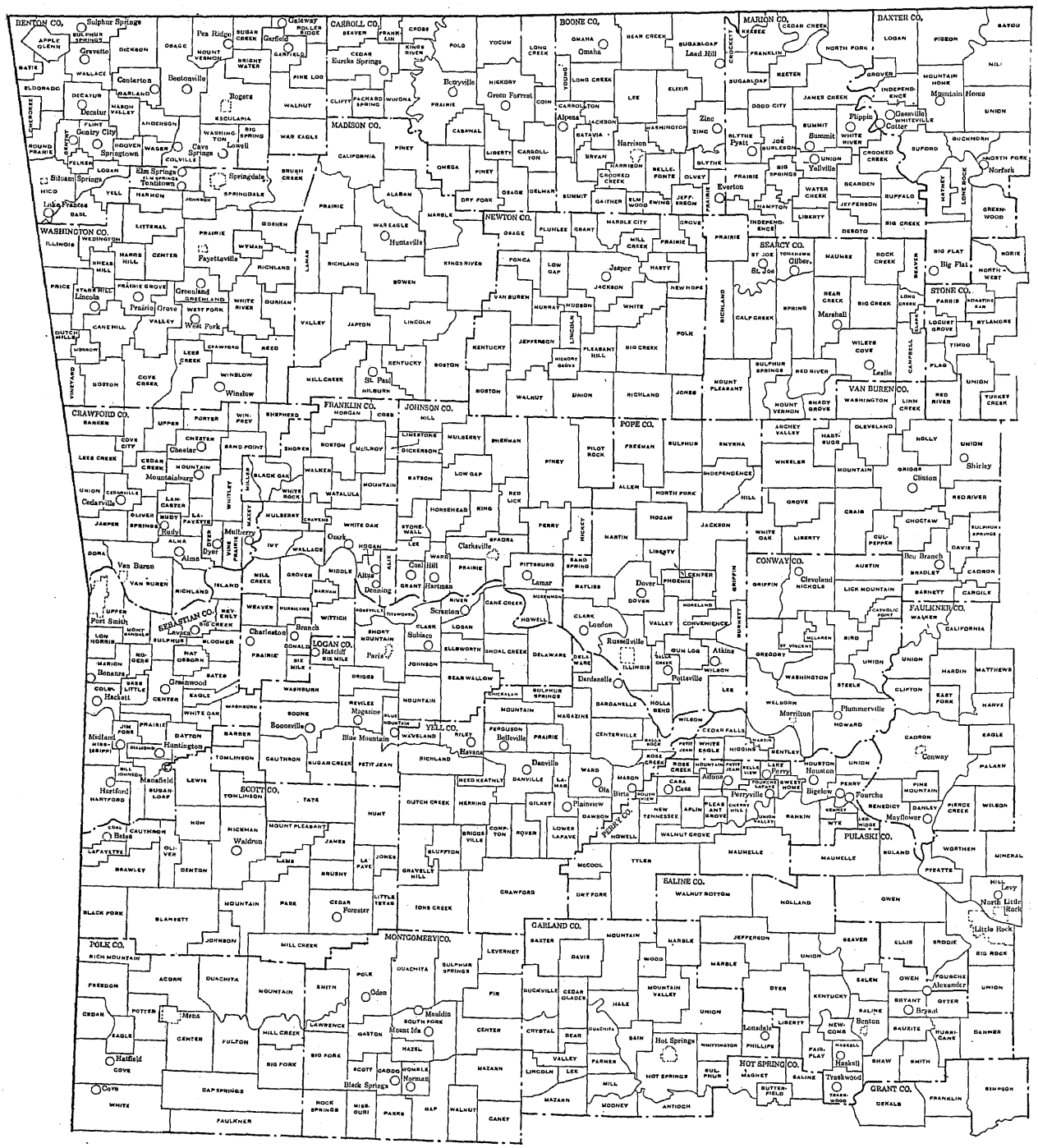

ARKANSAS—NORTHEASTERN PART

MINOR CIVIL DIVISIONS—TOWNSHIPS

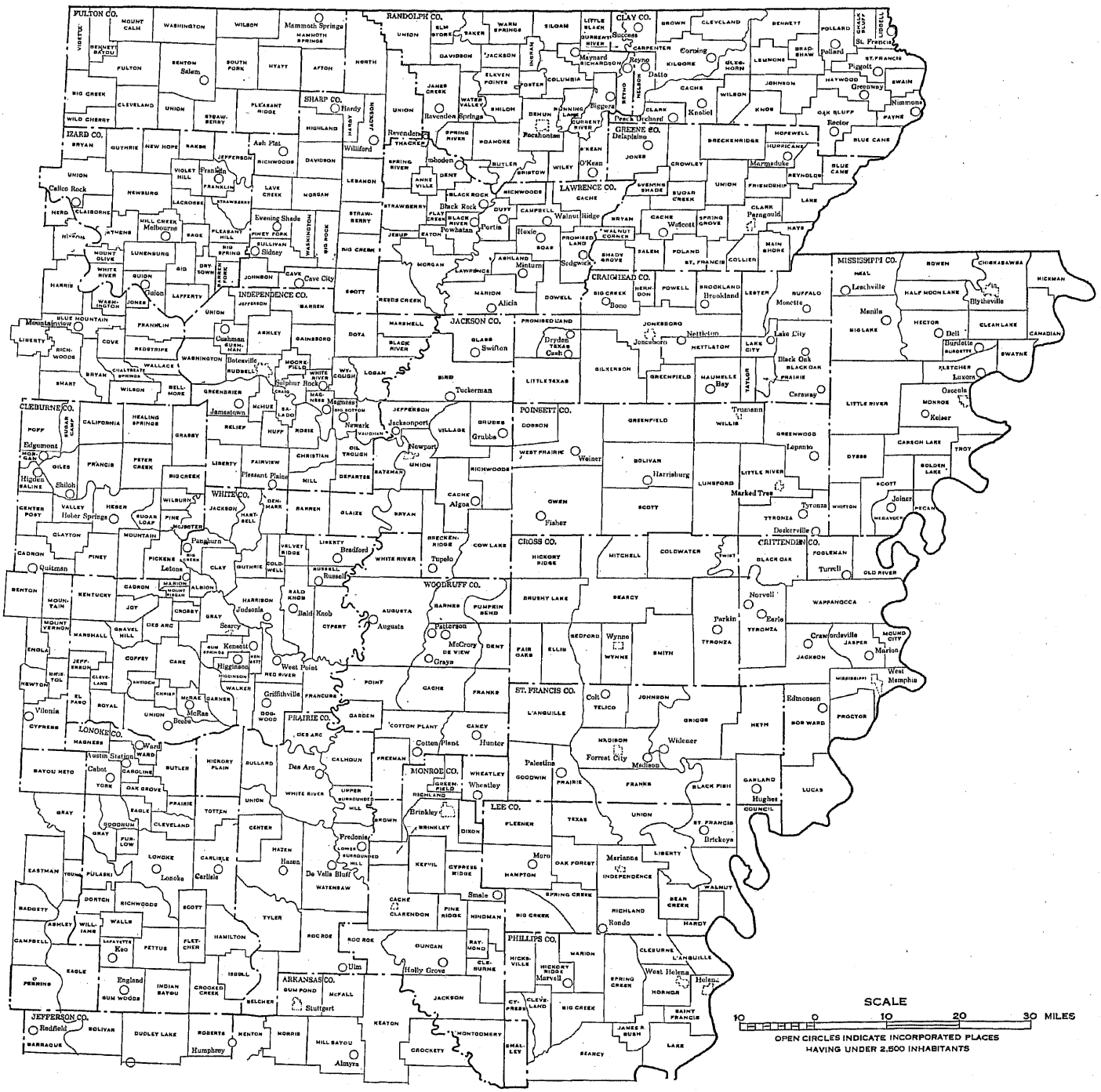

ARKANSAS—SOUTHWESTERN PART

MINOR CIVIL DIVISIONS—TOWNSHIPS

[The counties and townships appearing at the bottom of the northwestern section on page 94 are shown again at the top of this section for convenience in reference]

ARKANSAS—SOUTHEASTERN PART

MINOR CIVIL DIVISIONS—TOWNSHIPS

[The counties and townships appearing at the bottom of the northeastern section on page 95 are shown again at the top of this section for convenience in reference]

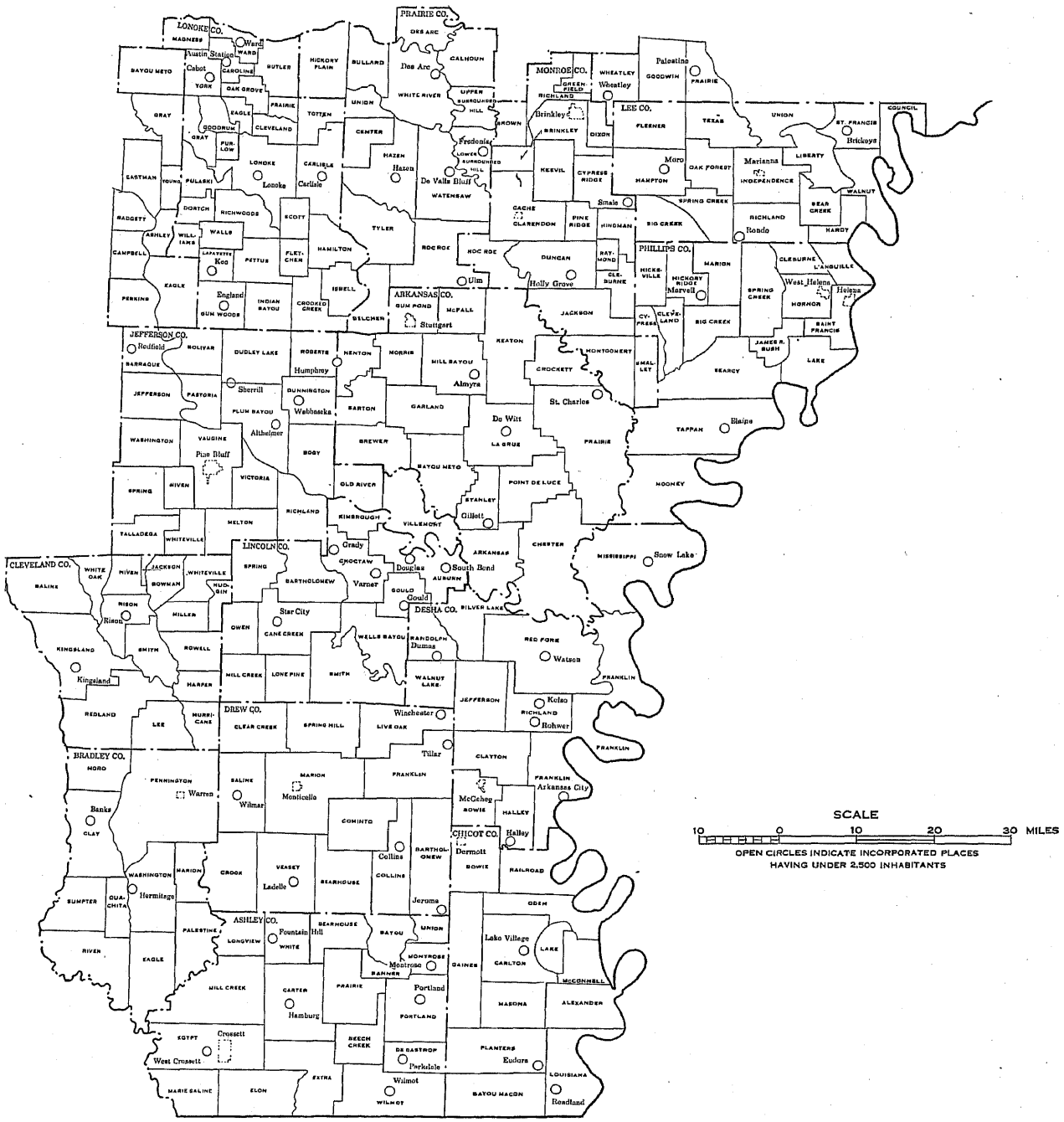

ARKANSAS

NUMBER OF INHABITANTS

Population of the State.—Arkansas was admitted to the Union as the twenty-fifth State in 1836 with boundaries substantially as at present. It was organized as a Territory in 1819, including then most of the present area of Oklahoma. Its population on April 1, 1940, according to the Sixteenth Census, was 1,949,387, which represents an increase of 94,905, or 5.1 percent, as compared with the population on April 1, 1930. The total land area of the State, as shown in table 3, is 52,725 square miles. The average number of inhabitants per square mile in 1940 was 37.0, as compared with 35.2 in 1930.

Table 1 shows the population of Arkansas from 1810, the year in which the area was first separately enumerated, to 1940, together with the increase during each decade. The urban and rural population of the State at each census is presented in this table and is also shown graphically in the accompanying chart. The urban population of Arkansas consists of all persons living in incorporated places of 2,500 or more, the remainder of the population being classified as rural. The urban and rural areas are not necessarily constant from one census to the next, since new places are added to the urban list from time to time as they attain a population of 2,500 or more. Places are likewise taken off the urban list when, through decline in population, they fall below this limit. For example, Clarendon qualified as urban in 1920 and 1940 but not in 1930.

TABLE 1.—POPULATION OF ARKANSAS, URBAN AND RURAL: 1810 TO 1940

[Percent not shown where base is less than 100]

CENSUS YEAR	THE STATE			URBAN PLACES				RURAL TERRITORY			PERCENT OF TOTAL	
	Population	Increase over preceding census		Number of places	Population	Increase over preceding census		Population	Increase over preceding census		Urban	Rural
		Number	Percent			Number	Percent		Number	Percent		
1940	1,949,387	94,905	5.1	53	431,910	49,032	12.8	1,517,477	45,873	3.1	22.2	77.8
1930	1,854,482	102,278	5.8	49	382,878	92,381	31.8	1,471,604	9,897	0.7	20.6	79.4
1920	1,752,204	177,755	11.3	41	290,497	87,816	43.3	1,461,707	89,939	6.6	16.6	83.4
1910	1,574,449	262,885	20.0	28	202,681	90,948	81.4	1,371,768	171,937	14.3	12.9	87.1
1900	1,311,564	183,353	16.3	15	111,733	38,574	52.7	1,199,831	144,779	13.7	8.5	91.5
1890	1,128,211	325,686	40.6	9	73,159	41,139	128.5	1,055,052	284,547	36.9	6.5	93.5
1880	802,525	318,054	65.6	7	32,020	19,640	158.6	770,505	298,414	63.2	4.0	96.0
1870	484,471	49,021	11.3	1	12,380	8,653	232.2	472,091	40,368	9.4	2.6	97.4
1860	435,450	225,553	107.5	1	3,727	3,727	----	431,723	221,826	105.7	0.9	99.1
1850	209,897	112,323	115.1	----	----	----	----	209,897	112,323	115.1	----	100.0
1840	97,574	67,186	221.1	----	----	----	----	97,574	67,186	221.1	----	100.0
1830	30,388	16,115	112.9	----	----	----	----	30,388	16,115	112.9	----	100.0
1820	[1] 14,273	13,211	1,244.0	----	----	----	----	14,273	13,211	1,244.0	----	100.0
1810	[1] 1,062	----	----	----	----	----	----	1,062	----	----	----	100.0

[1] Population of area organized in 1819 from part of Missouri Territory; then included greater part of present area of Oklahoma.

URBAN AND RURAL POPULATION OF ARKANSAS: 1810 TO 1940

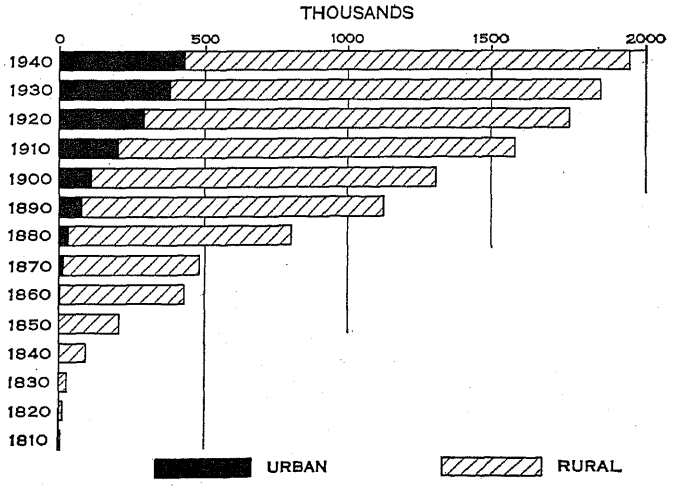

Geographic subdivisions.—In tables 2 to 5 the population of Arkansas is shown by counties, townships, cities, and towns, with some comparative figures from previous censuses. Table 6 gives the population of cities by wards, and table 7 presents data for the Little Rock metropolitan district.

Cities of 10,000 or more.—There are nine cities in the State that had a population of 10,000 or more in 1940. Table 2 shows the population of these cities at each census for which figures are available, together with the increase or decrease during each decade. Little Rock, the capital and largest city, had a population in 1940 of 88,039.

467750—42——8

TABLE 2.—POPULATION OF CITIES OF 10,000 OR MORE FROM EARLIEST CENSUS TO 1940

[A minus sign (−) denotes decrease]

CITY AND CENSUS YEAR	Population	INCREASE OVER PRECEDING CENSUS	
		Number	Percent
Blytheville:			
1940	10,652	554	5.5
1930	10,098	3,651	56.6
1920	6,447	2,598	67.5
1910	3,849	3,547	1,174.5
1900	302		
El Dorado:			
1940	15,858	−563	−3.4
1930	16,421	12,534	322.5
1920	3,887	−315	−7.5
1910	4,202	3,133	293.1
1900	1,069	614	134.9
1890	455	12	2.7
1880	443		
Fort Smith:			
1940	36,584	5,155	16.4
1930	31,429	2,559	8.9
1920	28,870	4,895	20.4
1910	23,975	12,388	106.9
1900	11,587	276	2.4
1890	11,311	8,212	165.0
1880	3,099	872	39.2
1870	2,227	695	45.4
1860	1,532	568	58.9
1850	964		
Hot Springs:			
1940	21,370	1,132	5.6
1930	20,238	8,543	73.0
Hot Springs—Con.			
1920	11,695	−2,739	−19.0
1910	14,434	4,461	44.7
1900	9,973	1,887	23.3
1890	8,086	4,532	127.5
1880	3,554	2,278	178.5
1870	1,276	1,075	534.8
1860	201		
Jonesboro:			
1940	11,729	1,403	13.6
1930	10,326	942	9.8
1920	9,384	2,261	31.7
1910	7,123	2,615	58.0
1900	4,508	2,443	118.3
1890	2,065		
1880	(1)		
1870	155		
Little Rock:			
1940	88,039	6,360	7.8
1930	81,679	16,537	25.4
1920	65,142	19,201	41.8
1910	45,941	7,634	19.9
1900	38,307	12,433	48.1
1890	25,874	12,736	96.9
1880	13,138	758	6.1
1870	12,380	8,653	232.2
1860	3,727	1,560	72.0
1850	2,167		
North Little Rock:			
1940	21,137	1,719	8.9
1930	19,418	5,370	38.2
1920	14,048	2,910	26.1
1910	11,138		
Pine Bluff:			
1940	21,290	530	2.6
1930	20,760	1,480	7.7
1920	19,280	4,178	27.7
1910	15,102	3,606	31.4
1900	11,496	1,544	15.5
1890	9,952	6,749	210.7
1880	3,203	1,122	53.9
1870	2,081	685	49.1
1860	1,396	936	203.5
1850	460		
Texarkana: [2]			
1940	11,821	1,057	9.8
1930	10,764	2,507	30.4
1920	8,257	2,602	46.0
1910	5,655	741	15.1
1900	4,914	1,386	39.3
1890	3,528	2,138	153.8
1880	1,390		

[1] Not returned separately.
[2] Population of Texarkana city, Bowie County, Tex.: 17,019 in 1940; 16,602 in 1930; 11,480 in 1920; 9,790 in 1910; 5,256 in 1900; 2,852 in 1890; and 1,833 in 1880.

Counties.—Table 3 shows the population of the 75 counties of Arkansas from 1920 to 1940, together with the land area of each county and its population per square mile in 1940. The land areas given here are the result of new measurements recently compiled and differ somewhat from those published in earlier census reports. Of the 73 counties whose boundaries remained unchanged since 1930, 47 increased in population between 1930 and 1940, and 26 decreased. Part of Desha County was annexed to Chicot County in 1931. This table also presents the urban and rural population of each county for 1940 and 1930.

TABLE 3.—AREA AND POPULATION OF COUNTIES, URBAN AND RURAL: 1920 TO 1940

[A minus sign (−) denotes decrease. Percent not shown where less than 0.1 or where base is less than 100]

COUNTY	Land area in square miles, 1940	TOTAL POPULATION						URBAN POPULATION			RURAL POPULATION			PERCENT URBAN	
		1940		1930	1920	Percent of increase		1940	1930	Percent of increase	1940	1930	Percent of increase	1940	1930
		Total	Per square mile			1930 to 1940	1920 to 1930								
Arkansas	52,725	1,949,387	37.0	1,854,482	1,752,204	5.1	5.8	431,910	382,878	12.8	1,517,477	1,471,604	3.1	22.2	20.6
Arkansas	1,035	24,437	23.6	22,300	21,483	9.6	3.8	5,628	4,927	14.2	18,809	17,373	8.3	23.0	22.1
Ashley	933	26,785	28.7	25,151	23,410	6.5	7.4	4,891	2,811	74.0	21,894	22,340	−2.0	18.3	11.2
Baxter	571	10,281	18.0	9,519	10,216	8.0	−6.8				10,281	9,519	8.0		
Benton	886	36,148	40.8	35,253	36,253	2.5	−2.8	6,314	3,554	77.7	29,834	31,699	−5.9	17.5	10.1
Boone	602	15,860	26.3	14,937	16,098	6.2	−7.2	4,238	3,626	16.9	11,622	11,311	2.7	26.7	24.3
Bradley	649	18,097	27.9	17,494	15,970	3.4	9.5	2,516	2,523	−0.3	15,581	14,971	4.1	13.9	14.4
Calhoun	628	9,636	15.3	9,752	11,807	−1.2	−17.4				9,636	9,752	−1.2		
Carroll	634	14,737	23.2	15,820	17,786	−6.8	−11.1				14,737	15,820	−6.8		
Chicot [1]	647	27,452	42.4	22,646	21,749	21.2	4.1	3,083	2,942	4.8	24,369	19,704	23.7	11.2	13.0
Clark	878	24,402	27.8	24,932	25,632	−2.1	−2.7	5,078	3,380	50.2	19,324	21,552	−10.3	20.8	13.6
Clay	650	28,386	43.7	27,278	27,276	4.1	(1)				28,386	27,278	4.1		
Cleburne	595	13,134	22.1	11,373	12,696	15.5	−10.4				13,134	11,373	15.5		
Cleveland	601	12,570	20.9	12,744	12,260	−1.4	3.9				12,570	12,744	−1.4		
Columbia	768	29,822	38.8	27,320	27,670	9.2	−1.3	4,326	3,008	43.8	25,496	24,312	4.9	14.5	11.0
Conway	560	21,536	38.5	21,949	22,578	−1.9	−2.8	4,608	4,043	14.0	16,928	17,906	−5.5	21.4	18.4
Craighead	717	47,200	65.8	44,740	37,541	5.5	19.2	11,729	10,326	13.6	35,471	34,414	3.1	24.8	23.1
Crawford	598	23,920	40.0	22,549	25,739	6.1	−12.4	5,422	5,182	4.6	18,498	17,367	6.5	22.7	23.0
Crittenden	623	42,473	68.2	39,717	29,309	6.9	35.5	3,369			39,104	39,717	−1.5	7.9	
Cross	626	26,046	41.6	25,723	18,579	1.3	38.5	3,633	3,505	3.7	22,413	22,218	0.9	13.9	13.6
Dallas	672	14,471	21.5	14,671	14,424	−1.4	1.7	3,429	3,206	7.0	11,042	11,465	−3.7	23.7	21.9
Desha [1]	776	27,160	35.0	21,814	20,297	24.5	7.5	3,663	3,488	5.0	23,497	18,326	28.2	13.5	16.0
Drew	836	19,831	23.7	19,928	21,822	−0.5	−8.7	3,650	3,076	18.7	16,181	16,852	−4.0	18.4	15.4
Faulkner	656	25,880	39.5	28,381	27,681	−8.8	2.5	5,782	5,534	4.5	20,098	22,847	−12.0	22.3	19.5
Franklin	615	15,683	25.5	15,762	19,364	−0.5	−18.6				15,683	15,762	−0.5		
Fulton	611	10,253	16.8	10,834	11,182	−5.4	−3.1				10,253	10,834	−5.4		

[1] Part of Desha annexed to Lincoln in 1925; and part annexed to Chicot in 1931.

TABLE 3.—AREA AND POPULATION OF COUNTIES, URBAN AND RURAL: 1920 TO 1940—Continued

[A minus sign (−) denotes decrease. Percent not shown where less than 0.1 or where base is less than 100]

COUNTY	Land area in square miles, 1940	TOTAL POPULATION						URBAN POPULATION			RURAL POPULATION			PERCENT URBAN	
		1940		1930	1920	Percent of increase		1940	1930	Percent of increase	1940	1930	Percent of increase	1940	1930
		Total	Per square mile			1930 to 1940	1920 to 1930								
Garland	721	41,664	57.8	36,031	25,785	15.6	39.7	21,370	20,238	5.6	20,294	15,793	28.5	51.3	56.2
Grant	631	10,477	16.6	9,834	10,710	6.5	−8.2				10,477	9,834	6.5		
Greene	579	30,204	52.2	26,127	26,105	15.6	0.1	7,079	5,966	18.7	23,125	20,161	14.7	23.4	22.8
Hempstead	735	32,770	44.6	30,847	31,602	6.2	−2.4	7,475	6,008	24.4	25,295	24,839	1.8	22.8	19.5
Hot Spring	621	18,916	30.5	18,105	17,784	4.5	1.8	5,290	5,115	3.4	13,626	12,990	4.9	28.0	28.3
Howard	600	16,621	27.7	17,489	18,565	−5.0	−5.8	2,782			13,839	17,489	−20.9	16.7	
Independence	755	25,643	34.0	24,225	23,976	5.9	1.0	5,267	4,484	17.5	20,376	19,741	3.2	20.5	18.5
Izard	574	12,834	22.4	12,872	13,871	−0.3	−7.2				12,834	12,872	−0.3		
Jackson	637	26,427	41.5	27,943	25,446	−5.4	9.8	4,321	4,547	−5.0	22,106	23,396	−5.5	16.4	16.3
Jefferson	890	65,101	73.1	64,154	60,330	1.5	6.3	21,290	20,760	2.6	43,811	43,394	1.0	32.7	32.4
Johnson	676	18,795	27.8	19,289	21,062	−2.6	−8.4	3,118	3,031	2.9	15,677	16,258	−3.6	16.6	15.7
Lafayette	537	16,851	31.4	16,934	15,522	−0.5	9.1		2,705		16,851	14,229	18.4		16.0
Lawrence	592	22,651	38.3	21,663	22,098	4.6	−2.0				22,651	21,663	4.6		
Lee	620	26,810	43.2	26,637	28,852	0.6	−7.7	4,449	4,314	3.1	22,361	22,323	0.2	16.6	16.2
Lincoln [1]	565	19,709	34.9	20,250	18,774	−2.7	7.9				19,709	20,250	−2.7		
Little River	544	15,932	29.3	15,515	16,301	2.7	−4.8				15,932	15,515	2.7		
Logan	727	25,967	35.7	24,110	25,866	7.7	−6.8	3,430	3,234	6.1	22,537	20,876	8.0	13.2	13.4
Lonoke	800	29,802	37.3	33,759	33,400	−11.7	1.1				29,802	33,759	−11.7		
Madison	832	14,531	17.5	13,334	14,918	9.0	−10.6				14,531	13,334	9.0		
Marion	628	9,464	15.1	8,876	10,154	6.6	−12.6				9,464	8,876	6.6		
Miller	627	31,874	50.8	30,586	24,021	4.2	27.3	11,821	10,764	9.8	20,053	19,822	1.2	37.1	35.2
Mississippi	919	80,217	87.3	69,289	47,320	15.8	46.4	13,878	12,671	9.5	66,339	56,618	17.2	17.3	18.3
Monroe	617	21,133	34.3	20,651	21,601	2.3	−4.4	5,960	3,046	95.7	15,173	17,605	−13.8	28.2	14.7
Montgomery [2]	801	8,876	11.1	10,768	11,112	−17.6	−3.1				8,876	10,768	−17.6		
Nevada	616	19,869	32.3	20,407	21,934	−2.6	−7.0	3,177	3,033	4.7	16,692	17,374	−3.9	16.0	14.9
Newton	822	10,881	13.2	10,564	11,199	3.0	−5.7				10,881	10,564	3.0		
Ouachita	738	31,151	42.2	29,890	20,636	4.2	44.8	8,975	7,273	23.4	22,176	22,617	−1.9	28.8	24.3
Perry	556	8,392	15.1	7,695	9,905	9.1	−22.3				8,392	7,695	9.1		
Phillips	704	45,970	65.3	40,683	44,530	13.0	−8.6	13,263	12,805	3.6	32,707	27,878	17.3	28.9	31.5
Pike	615	11,786	19.2	11,792	12,397	−0.1	−4.9				11,786	11,792	−0.1		
Poinsett	762	37,670	49.4	29,695	20,848	26.9	42.4	6,066	2,995	102.5	31,604	26,700	18.4	16.1	10.1
Polk	860	15,832	18.4	14,857	16,412	6.6	−9.5	3,510	3,118	12.6	12,322	11,739	5.0	22.2	21.0
Pope	816	25,682	31.5	26,547	27,153	−3.3	−2.2	5,927	5,628	5.3	19,755	20,919	−5.6	23.1	21.2
Prairie	674	15,304	22.7	15,187	17,447	0.8	−13.0				15,304	15,187	0.8		
Pulaski	781	156,085	199.9	137,727	109,464	13.3	25.8	109,176	101,097	8.0	46,909	36,630	28.1	69.9	73.4
Randolph	637	18,319	28.8	16,871	17,713	8.6	−4.8	3,028			15,291	16,871	−9.4	16.5	
St. Francis	636	36,043	56.7	33,394	28,385	7.9	17.6	5,699	4,594	24.1	30,344	28,800	5.4	15.8	13.8
Saline	726	19,163	26.4	15,660	16,781	22.4	−6.7	3,502	3,445	1.7	15,661	12,215	28.2	18.3	22.0
Scott [2]	898	13,300	14.8	11,803	13,232	12.7	−10.8				13,300	11,803	12.7		
Searcy	664	11,942	18.0	11,056	14,590	8.0	−24.2				11,942	11,056	8.0		
Sebastian	529	62,809	118.7	54,426	56,739	15.4	−4.1	36,584	31,429	16.4	26,225	22,997	14.0	58.2	57.7
Sevier	585	15,248	26.1	16,364	18,301	−6.8	−10.6	3,055	2,938	4.0	12,193	13,426	−9.2	20.0	18.0
Sharp	596	11,497	19.3	10,715	11,132	7.3	−3.7				11,497	10,715	7.3		
Stone	610	8,603	14.1	7,993	8,779	7.6	−9.0				8,603	7,993	7.6		
Union	1,052	50,461	48.0	55,800	29,691	−9.6	87.9	15,858	18,965	−16.4	34,603	36,835	−6.0	31.4	34.0
Van Buren	714	12,518	17.5	11,962	13,666	4.6	−12.5				12,518	11,962	4.6		
Washington	963	41,114	42.7	39,255	35,468	4.7	10.7	11,531	10,157	13.5	29,583	29,098	1.7	28.0	25.9
White	1,042	37,176	35.7	38,269	34,603	−2.9	10.6	3,670	3,387	8.4	33,506	34,882	−3.9	9.9	8.9
Woodruff	592	22,133	37.4	22,682	21,547	−2.4	5.3				22,133	22,682	−2.4		
Yell	942	20,970	22.3	21,313	25,655	−1.6	−16.9				20,970	21,313	−1.6		

[1] For footnote, see preceding page.

[2] Part of Montgomery annexed to Scott, and part of Scott annexed to Montgomery, in 1925.

Minor civil divisions.—To the primary political divisions into which the counties are subdivided the Census Bureau applies the general term "minor civil divisions." The primary divisions of the counties in Arkansas are the townships. The incorporated cities and towns form secondary subdivisions of the minor civil divisions in which they are located. There are 76 cities and 336 towns. Ordinarily, each of these secondary divisions, or incorporated places, forms a part of some township (or townships).

Table 4 shows the population of each county by townships, cities, and towns for the last three censuses. The population of the cities and towns is shown in *italics* under the population of the primary divisions in which the places are respectively located. Where an incorporated place is located in two or more townships in the same county, the total population of the place is given in connection with the presentation for the first township. Where the place is situated in two or more counties, the total population is given in connection with each county.

TABLE 4.—POPULATION OF COUNTIES BY MINOR CIVIL DIVISIONS: 1920 TO 1940

[For changes in boundaries, etc., between 1930 and 1940, see footnotes; for those between 1920 and 1930, see Reports of the Fifteenth Census (1930), vol. I, pp. 105-120]

MINOR CIVIL DIVISION	1940	1930	1920
Arkansas County	24,437	22,300	21,483
Arkansas township	632	535	332
Barton township	695	653	654
Bayou Meto township	838	753	658
Brewer township	453	403	232
Chester township	786	1,011	1,108
Crockett township	635	560	741
Garland township	550	538	545
Gum Pond township [1]	6,241	5,661	5,260
Stuttgart city [1]	*5,628*	*4,927*	*4,522*
Henton township	1,102	1,070	909
Humphrey town, total	*595*	*595*	*554*
In Arkansas Co.	*294*	*317*	*318*
In Jefferson Co.	*301*	*278*	*236*
Keaton township	2,142	1,901	2,189
La Grue township	4,095	3,028	2,573
De Witt city [1]	*2,498*	*1,853*	*1,422*
McFall township	406	442	414
Mill Bayou township	911	975	1,093
Almyra town	*233*	*287*	*323*
Morris township	594	587	623
Point de Luce township	694	654	716
Prairie township	2,533	2,350	2,038
St. Charles town	*412*	*245*	*200*
Stanley township	1,130	1,179	1,398
Gillett town	*781*	*870*	*1,155*
Ashley County	26,785	25,151	23,410
Banner township	686	698	792
Bayou township	315	304	616
Bearhouse township	175	174	274
Beech Creek township	457	361	360
Carter township	2,854	1,962	2,617
Hamburg town	*1,939*	*1,517*	*1,598*
De Bastrop township	2,185	2,381	1,776
Parkdale town	*278*	*371*	*284*
Egypt township	6,826	3,945	3,297
Crossett town	*4,891*	*2,811*	*2,707*
West Crossett town [2]	*127*		
Elon township	780	1,221	893
Extra township	383	399	212
Longview township	477	772	546
Marie Saline township	330	267	815
Mill Creek township	1,650	1,430	1,837
Montrose township	1,316	1,564	1,352
Montrose town	*343*	*431*	*404*
Portland township	2,574	2,961	1,704
Portland town	*518*	*543*	*618*
Prairie township	569	716	796
Union township	877	1,131	1,150
White township	1,100	1,095	1,051
Fountain Hill town	*267*	*215*	
Wilmot township	3,231	3,770	3,322
Wilmot town	*625*	*777*	*627*
Baxter County	10,281	9,519	10,216
Bayou township	513	525	528
Big Flat township	533	518	524
Bigflat town [3]	*210*		
Buckhorn township	310	209	284
Buford township	559	509	716
Greenwood township	356	372	426
Grover township	155	131	164
Independence township	427	484	530
Logan township	392	356	479
Lone Rock township	190	266	290
Matney township	175	186	314
Mill township	515	536	486
Mountain Home township	2,318	1,677	1,382
Mountain Home town	*927*	*585*	*492*
North Fork township	1,168	911	1,000
Norfork town	*304*	*247*	*224*
Pigeon township	438	374	654
Union township	437	418	654
Whiteville township	1,795	2,047	1,785
Cotter town	*903*	*1,064*	*884*
Gassville town	*228*	*227*	*191*
Benton County	36,148	35,253	36,253
Anderson township	709	715	643
Apple Glenn township	553	529	571
Ball township	333	500	433
Batie township	472	490	528
Big Spring township	639	726	587
Brightwater township	1,022	951	1,027
Cherokee township	314	292	301
Colville township	1,318	1,205	1,158
Cave Springs town	*285*	*192*	
Benton County—Continued.			
Decatur township	1,321	1,282	1,410
Decatur town	*358*	*413*	*424*
Dickson township	1,092	1,115	1,135
Eldorado township	396	315	388
Esculapia township	5,808	5,650	5,142
Rogers city	*3,550*	*3,554*	*3,318*
Felker township	262	293	277
Flint township	460	574	488
Springtown town	*104*	*97*	
Garfield township	841	820	922
Garfield town [4]	*104*		
Garland township	962	1,029	1,127
Centerton town	*219*	*206*	*212*
Gentry township	1,543	1,523	1,438
Gentry City town	*726*	*779*	*724*
Hico township	4,218	3,872	4,042
Lake Frances town [4]	*30*		
Siloam Springs city	*2,764*	*2,378*	*2,569*
Hoover township	435	419	494
Logan township	289	268	299
Mason Valley township	653	590	672
Mount Vernon township	905	1,007	1,152
Pea Ridge town [4]	*72*		
Osage township	4,549	4,160	4,386
Bentonville city	*2,359*	*2,203*	*2,313*
Pine Log township	278	182	386
Roller Ridge township	336	345	354
Gateway town [4]	*57*		
Round Prairie township	517	546	535
Sugar Creek township	454	443	571
Sulphur Springs township	940	890	1,017
Sulphur Springs town	*435*	*404*	*470*
Wager township	241	315	309
Wallace township	1,570	1,461	1,443
Gravette town	*865*	*812*	*754*
Walnut township	486	438	702
War Eagle township	417	409	568
Washington township	1,506	1,476	1,336
Lowell town	*271*	*262*	*227*
Yell township	309	423	412
Boone County	15,860	14,937	16,098
Batavia township [5]	312	288	270
Bear Creek township	456	421	589
Bellefonte township [5]	773	570	629
Blythe township	205	227	281
Bryan township	357	268	334
Carrollton township [5]	732	812	693
Alpena town	*313*	*361*	*250*
Crooked Creek township	102	96	167
Elixir township	679	675	691
Elmwood township	236	195	209
Ewing township	231	183	223
Gaither township	253	254	336
Harrison township [5]	5,680	4,836	4,608
Harrison city	*4,238*	*3,626*	*3,477*
Jackson township [5]	520	363	373
Jefferson township	524	441	502
Lee township	623	639	694
Long Creek township	460	460	544
Olvey township [5]	304	444	587
Omaha township	866	893	1,041
Omaha town [5]	*146*		
Prairie township	579	530	721
Everton town	*190*	*180*	
Sugarloaf township	833	1,077	1,239
Lead Hill town	*194*	*268*	*218*
Summit township	264	236	352
Washington township [5]	373	403	481
Young township	183	207	247
Zinc township	315	419	287
Zinc town	*119*	*188*	*144*
Bradley County	18,097	17,494	15,970
Clay township	1,641	1,573	1,539
Banks town	*248*	*199*	*247*
Eagle township	507	430	399
Marion township	422	512	544
Moro township	401	420	597
Ouachita township	472	470	368
Palestine township	899	760	856
Pennington township	11,202	10,732	8,432
Warren city	*2,516*	*2,523*	*2,145*
River township	471	533	1,039
Sumpter township	528	561	624
Washington township	1,554	1,503	1,572
Hermitage town	*344*	*419*	*285*
Calhoun County	9,636	9,752	11,807
Casewell township	1,338	1,409	2,492
Champagnolle township	631	680	822
Dallas township	559	650	739
Fayette township	107	190	180
Franklin township	1,648	1,627	1,107
Hampton town	*686*	*669*	*271*
Huey township	212	165	265
Jackson township	1,006	1,137	1,138
Harrell town [6]	*273*		
Jefferson township	711	539	896
Tinsman town	*258*	*177*	*248*
Locust Bayou township	472	488	535
Moro township	1,146	1,239	1,553
Polk township	690	752	948
River township	1,116	876	1,132
Carroll County	14,737	15,820	17,786
Beaver township	374	353	494
Cabanal township	285	292	347
Carrollton township	528	495	655
Cedar township	2,449	2,969	3,113
Eureka Springs city	*1,770*	*2,276*	*2,429*
Clifty township	189	256	281
Coin township	382	463	564
Cross township	165	163	202
Delmar township	204	262	324
Dry Fork township	334	262	324
Franklin township	83	90	103
Hickory township	2,062	2,229	2,439
Green Forest town	*755*	*745*	*868*
Kings River township	353	390	486
Liberty township	202	366	399
Long Creek township	818	974	1,186
Omega township	571	526	422
Osage township	343	454	615
Packard Spring township	158	133	118
Piney township	434	369	329
Polo township	721	857	909
Prairie township	2,916	2,766	3,130
Berryville town	*1,482*	*1,286*	*1,474*
Winona township	284	238	345
Yocum township	792	913	911
Chicot County [7]	27,452	22,646	21,749
Alexander township	911	1,283	1,710
Bayou Macon township	1,891	1,672	1,458
Bowie township	4,796	4,521	4,418
Dermott city	*3,083*	*2,942*	*2,350*
Carlton township	4,909	3,662	3,356
Lake Village town	*2,045*	*1,582*	*1,449*
Gaines township	1,729	619	656
Lake township	790	960	687
Louisiana township	2,688	2,452	2,793
Readland town	*150*	*140*	*172*
McConnell township	600	699	631
Masona township	1,913	1,051	1,132
Oden township	1,249	1,019	1,214
Planters township	4,342	3,564	3,093
Eudora town	*1,808*	*2,020*	*1,197*
Railroad township [7]	1,574	1,144	601
Clark County	24,402	24,932	25,632
Alpine township	596	682	808
Amity township	1,946	2,137	2,308
Amity town	*608*	*608*	*680*
Anderson township	615	657	739
Antoine township	1,218	1,303	1,607
Okolona town	*525*	*460*	*492*
Beech Creek township	1,447	1,715	1,776
Whelen Springs town	*214*	*194*	*137*
Beirne township	639	378	591
Caddo township [8]	9,348	8,857	8,520
Arkadelphia city [8]	*5,078*	*3,880*	*3,811*
Elkins township	339	307	348
Greenville township	657	552	746
Leard township	245	893	913
Graysonia town	*2*	*694*	*700*
Long Creek township	39	61	301
Manchester township	1,627	1,715	1,708
Missouri township	4,005	3,904	3,046
Gurdon city	*2,045*	*2,172*	*1,469*
South Fork township	1,142	1,226	1,513
Terre Noire township	539	545	708

[1] ARKANSAS.—Part of Gum Pond township annexed to Stuttgart city in 1939. De Witt town incorporated as a city in 1933.
[2] ASHLEY.—West Crossett town incorporated in 1937.
[3] BAXTER.—Bigflat town incorporated in 1939.
[4] BENTON.—Garfield town incorporated in 1937, Lake Frances and Pea Ridge towns in 1935, and Gateway town in 1934.
[5] BOONE.—Parts of Batavia and Carrollton townships annexed to Jackson in 1930; parts of Washington and Olvey townships annexed to Bellefonte in 1931 and 1932 respectively; and part of Washington township annexed to Harrison in 1933. Omaha town incorporated in 1936.
[6] CALHOUN.—Harrell town incorporated in 1934.
[7] CHICOT.—Part of Desha County annexed to Railroad township in 1931.
[8] CLARK.—Parts of Caddo township annexed to Arkadelphia city in 1938 and 1939.

TABLE 4.—POPULATION OF COUNTIES BY MINOR CIVIL DIVISIONS: 1920 TO 1940—Continued

MINOR CIVIL DIVISION	1940	1930	1920
Clay County	28,386	27,278	27,276
Bennett township [9]	1,092	1,215	903
Blue Cane township	1,467	1,267	940
Bradshaw township [9]	621	415	713
Brown township	854	755	940
Cache township	1,010	1,158	1,057
Knobel town	*375*	*486*	*390*
Carpenter township	969	985	1,126
Success town	*281*	*308*	*486*
Chalk Bluff township [9]	545	706	811
Clark township	970	1,116	1,251
Peach Orchard town	*374*	*361*	*484*
Cleveland township	906	1,014	923
Current River township	216	200	239
Gleghorn township	531	492	345
Haywood township	1,491	1,606	1,388
Greenway town	*303*	*367*	*362*
Johnson township [9]	882	871	968
Kilgore township	3,037	2,994	3,000
Corning city	*1,619*	*1,550*	*1,564*
Knob township	594	598	614
Lemmons township [9]	766	....	....
Liddell township [9]	556	415	605
St. Francis town	*266*	*294*	*501*
Nelson township	817	1,117	1,068
Datto town	*198*	*275*	*242*
Oak Bluff township	3,771	3,770	3,993
Rector city	*1,736*	*1,617*	*1,801*
Payne township [9]	1,165	1,207	934
Nimmons town	*217*	*193*	*297*
Pollard township	1,412	1,271	1,473
Pollard town	*169*	*173*	----
St. Francis township	3,377	3,148	3,141
Piggott city	*2,084*	*1,885*	*2,016*
Swain township [9]	702	632	844
Wilson township	635	326	----
Cleburne County	13,134	11,373	12,696
Big Creek township	250	155	305
Cadron township	1,210	1,219	1,258
Quitman town	*393*	*333*	*366*
California township	256	203	515
Center Post township	340	328	426
Clayton township	642	653	590
Francis township	436	425	497
Giles township	734	820	890
Shiloh town	*127*	*188*	*232*
Grassy township	788	533	678
Healing Springs township	772	597	658
Heber township	2,930	2,272	2,713
Heber Springs town	*1,656*	*1,401*	*1,675*
McJester township	140	149	----
Morgan township	198	178	261
Edgemont town	*83*	*96*	*134*
Mountain township	356	301	668
Peter Creek township	687	650	501
Pickens township	487	416	----
Pine township	228	164	604
Piney township	749	675	522
Poff township	162	162	321
Saline township	477	406	580
Higden town	*181*	*142*	*220*
Sugar Camp township	246	190	----
Sugar Loaf township	315	256	271
Valley township	419	373	438
Wilburn township	312	248	----
Cleveland County	12,570	12,744	12,260
Bowman township	740	676	824
Harper township [10]	739	926	775
Hudgin township [10]	225	300	365
Hurricane township	600	578	407
Jackson township	224	189	230
Kingsland township	1,831	1,663	2,004
Kingsland town	*473*	*328*	*397*
Lee township	796	857	861
Miller township [10]	637	1,017	1,111
Niven township	217	305	138
Redland township	1,609	1,853	1,924
Rison township	2,207	1,881	1,506
Rison town	*1,005*	*876*	*685*
Rowell township [10]	551	----	----
Saline township	489	500	619
Smith township	781	967	529
White Oak township	325	373	359
Whiteville township	599	659	608
Columbia County	29,822	27,320	27,670
Boone township	1,101	1,296	1,440
Brister township	954	983	----
Brown township	1,673	1,349	1,634
Buena Vista township	1,348	1,402	1,794
Calhoun township	1,456	1,156	1,415
Columbia County—Con.			
Clay township	896	879	994
Cleveland township	1,115	1,064	1,391
Cornie township	1,153	1,063	1,391
Dorcheat township	1,464	1,403	1,467
Taylor town	*335*	*263*	*275*
Georgia township	1,123	1,100	1,171
Harrison township	649	789	789
Lamartine township	3,156	2,938	2,559
Waldo town	*1,240*	*942*	*704*
McNeil township	1,321	1,334	1,471
McNeil town	*694*	*460*	*448*
Magnolia township	8,192	6,177	5,280
Magnolia city	*4,326*	*3,098*	*2,158*
Mississippi township	1,505	1,728	1,614
Moss township	1,690	1,531	2,134
Emerson town	*501*	*373*	*357*
Warren township	1,026	1,128	1,126
Conway County	21,536	21,949	22,578
Austin township	596	697	----
Bentley township	774	784	770
Bird township [11]	773	927	----
Catholic Point township [11]	427	----	----
Cedar Falls township	398	290	480
Gregory township	903	881	1,143
Griffin township	841	865	1,070
Higgins township	330	214	466
Howard township	2,350	2,471	2,836
Plummerville town	*541*	*613*	*702*
Lick Mountain township [11]	809	1,256	1,635
McLaren township	401	421	629
Martin township	287	376	227
Nichols township	1,181	1,223	1,509
Cleveland town	*99*	*152*	*159*
Petit Jean township	158	151	451
St. Vincent township	539	587	549
Steele township	677	736	851
Union township [11]	1,198	1,324	2,304
Washington township	1,025	1,264	1,332
Welborn township [11]	7,783	7,330	6,326
Morrilton city [11]	*4,608*	*4,048*	*3,010*
White Eagle township	86	152	----
Craighead County	47,200	44,740	37,541
Big Creek township	1,945	1,682	1,629
Bono town	*248*	*209*	----
Black Oak township	6,278	6,259	4,538
Black Oak town	*329*	*302*	----
Caraway town	*477*	*425*	----
Brookland township	1,593	1,346	1,565
Brookland town	*276*	*270*	*226*
Buffalo township	4,899	6,121	4,459
Monette town	*1,074*	*1,111*	*1,066*
Gilkerson township	1,614	1,089	990
Greenfield township	1,066	893	632
Herndon township	440	415	534
Jonesboro township [12]	16,025	14,317	12,487
Jonesboro city [12]	*11,729*	*10,326*	*9,384*
Lake City township	1,774	1,984	1,587
Lake City town	*786*	*760*	*685*
Lester township	2,077	1,862	1,473
Little Texas township	921	549	458
Maumelle township	2,625	2,489	1,884
Bay town	*357*	*300*	----
Nettleton township	2,456	2,062	2,124
Nettleton town	*909*	*748*	*888*
Powell township	649	678	684
Prairie township	553	565	472
Promised Land township	888	778	621
Taylor township	651	782	874
Texas township	746	869	530
Cash town [12]	*186*	----	----
Dryden town	*51*	*48*	*137*
Crawford County	23,920	22,549	25,739
Alma township	1,890	1,730	1,518
Alma town	*774*	*731*	*779*
Barker township	150	352	383
Cedar Creek township	386	315	273
Cedarville township	515	520	545
Cedarville town	*111*	*58*	----
Chester township	539	499	616
Chester town	*207*	*196*	*223*
Cove City township	261	327	495
Dora township	365	294	420
Dyer township	1,054	920	1,164
Dyer town	*513*	*425*	*609*
Jasper township	769	591	662
Lafayette township	610	630	644
Lancaster township	420	331	352
Lees Creek township	614	264	534
Maxey township	1,540	1,444	1,814
Mulberry town	*973*	*895*	*1,095*
Crawford County—Con.			
Mountain township	909	737	655
Mountainburg town	*185*	*213*	----
Oliver Springs township	630	580	675
Porter township	277	185	297
Richland township	889	1,087	1,831
Rudy township	519	561	531
Rudy town [13]	*89*	----	----
Sand Point township	273	228	252
Shepherd township	185	211	299
Union township	402	348	438
Upper township	147	209	289
Van Buren township	9,215	9,004	9,524
Van Buren city	*5,422*	*5,182*	*5,224*
Vine Prairie township	530	435	467
Whitley township	682	602	842
Winfrey township	149	145	219
Crittenden County	42,473	39,717	29,309
Black Oak township [14]	2,530	2,247	1,214
Bob Ward township [14]	4,148	2,798	1,880
Edmonson town [14]	*308*	*302*	*295*
Fogleman township	2,807	2,729	2,644
Turrell town	*515*	*456*	----
Jackson township [14]	4,798	5,008	4,219
Crawfordsville town	*656*	*612*	*605*
Jasper township [14]	3,230	3,568	2,587
Marion town [14]	*758*	----	----
Lucas township	3,223	3,565	2,480
Mississippi township [14]	5,286	2,116	136
West Memphis city [14]	*2,369*	*895*	----
Mound City township [14]	1,068	1,152	1,011
Old River township [14]	1,517	1,552	810
Proctor township [14]	2,521	3,286	3,561
Tyronza township [14]	6,386	7,297	5,854
Earle town	*1,872*	*2,062*	*2,091*
Norvell town	*381*	*336*	*522*
Wappanocca township	4,959	4,366	2,870
Cross County	26,046	25,723	18,579
Bedford township	858	735	652
Brushy Lake township	838	621	660
Coldwater township [15]	1,858	2,772	1,504
Ellis township	699	449	447
Fair Oaks township	366	336	285
Hickory Ridge township	932	932	784
Mitchell township	1,910	1,843	875
Searcy township	2,680	2,730	2,644
Smith township	3,481	3,052	2,499
Twist township [15]	854	----	----
Tyronza township	6,052	6,704	3,540
Parkin city	*1,412*	*1,676*	*1,378*
Wynne township	5,518	5,489	4,689
Wynne city	*3,633*	*3,505*	*2,933*
Dallas County	14,471	14,671	14,424
Bunn township	245	115	267
Chester township	1,318	1,179	1,286
Carthage town	*687*	*558*	*532*
Dry Run township	506	486	461
Fordyce township	4,682	4,039	3,950
Fordyce city	*3,429*	*3,206*	*2,996*
Holly Springs township	873	1,100	1,161
Jackson township	582	631	656
Liberty township	240	280	340
Manchester township	870	1,155	1,457
Dalark town	*152*	*167*	*264*
Nix township	452	497	682
Owen township	2,304	2,296	1,768
Sparkman town	*840*	*711*	*561*
Princeton township	881	911	658
Princeton town	*238*	*151*	*191*
Smith township	668	770	902
Southall township	395	525	380
Willow township	455	687	456
Desha County [16]	27,160	21,814	20,297
Bowie township	5,343	5,159	2,855
McGehee city	*3,663*	*3,488*	*2,368*
Clayton township	2,101	1,920	1,574
Franklin township	2,691	2,088	2,142
Arkansas City town	*1,446*	*1,452*	*1,482*
Halley township [16]	807	875	1,073
Halley town	*119*	*120*	*264*
Jefferson township	1,511	1,418	1,329
Mississippi township	1,083	491	1,952
Snow Lake town	*113*	*193*	*131*
Randolph township	4,350	3,814	3,154
Dumas town	*2,323*	*1,669*	*1,124*
Red Fork township	3,935	1,984	2,084
Watson town	*236*	*238*	*254*

[9] CLAY.—Lemmons township organized from parts of Bennett, Bradshaw, and Johnson, in 1932; part of Payne township annexed to Swain in 1932; and part of Chalk Bluff township annexed to Liddell in 1933.

[10] CLEVELAND.—Rowell township organized from parts of Harper, Hudgin, and Miller in 1934.

[11] CONWAY.—Catholic Point township organized from parts of Bird, Lick Mountain, and Union in 1938. Part of Morrilton city annexed to Welborn township in 1933.

[12] CRAIGHEAD.—Parts of Jonesboro township annexed to Jonesboro city in 1935 and 1937. Cash town incorporated in 1931.

[13] CRAWFORD.—Rudy town incorporated in 1937.

[14] CRITTENDEN.—County totals for 1930 and 1920 include population (33 in 1930; 43 in 1920) of Brandywine township, annexed to Old River in 1932. Part of Tyronza township annexed to Black Oak; part of Proctor township, including Edmonson town, and part of Jackson township annexed to Bob Ward; parts of Jackson, Jasper, Mound City, and Proctor townships annexed to Mississippi; and part of Mississippi township annexed to Proctor, in 1932. Marion town not returned separately in 1930 and 1920. West Memphis town incorporated as a city in 1935.

[15] CROSS.—Twist township organized from part of Coldwater in 1933.

[16] DESHA.—Part of Halley township annexed to Chicot County in 1931.

TABLE 4.—POPULATION OF COUNTIES BY MINOR CIVIL DIVISIONS: 1920 TO 1940—Continued

MINOR CIVIL DIVISION	1940	1930	1920
Desha County—Continued.			
Richland township	1,401	695	895
Kelso town	*27*	*134*	*231*
Rohwer town	*142*	*58*	*49*
Silver Lake township	1,644	1,143	1,393
Walnut Lake township	2,294	2,227	1,846
Drew County	**19,831**	[17]19,928	[17]21,822
Bartholomew township	2,142	2,660	3,258
Jerome town	*112*	*97*	*391*
Bearhouse township	338	309	600
Clear Creek township	751	856	1,025
Collins township	734	802	1,122
Collins town	*222*	*200*	*171*
Cominto township	531	501	662
Crook township	730	711	789
Franklin township [17]	2,292	2,065	2,218
Tillar town	*229*	*267*	*350*
Live Oak township	1,223	1,719	1,247
Winchester town	*171*	*221*	*217*
Marion township [17]	6,999	5,828	5,349
Monticello city [17]	*8,650*	*3,076*	*2,378*
Saline township	1,768	1,683	2,356
Wilmar town	*695*	*627*	*1,034*
Spring Hill township	982	980	1,092
Veasey township	1,341	1,470	1,618
Ladelle town	*48*	*76*	*135*
Faulkner County	**25,880**	**28,381**	**27,681**
Benedict township	1,054	*1,027	1,422
Benton township	777	839	828
Bristol township	299	398	472
Cadron township	9,340	9,284	8,143
Conway city	*5,782*	*5,534*	*4,664*
California township	1,128	1,395	1,257
Clifton township	818	899	818
Cypress township	1,311	1,706	1,536
Vilonia town [18]	*259*	-------	-------
Danley township	598	608	795
Mayflower town	*165*	*138*	-------
Eagle township	562	659	623
East Fork township	471	558	580
Enola township	729	880	891
Hardin township	1,102	1,321	1,278
Harve township	625	926	812
Matthews township	916	1,138	1,128
Mountain township	648	758	730
Mount Vernon township	599	748	832
Newton township	560	606	636
Palarm township	788	1,028	1,070
Pierce Creek township	510	525	615
Pine Mountain township	604	519	504
Union township	817	931	1,058
Walker township	974	824	901
Wilson township	650	804	752
Franklin County	**15,683**	**15,762**	**19,364**
Alix township	833	900	1,251
Barham township	247	233	253
Black Oak township	177	117	195
Boston township	259	307	583
Cobb township	44	61	121
Cravens township	327	288	489
Donald township	847	765	893
Branch town	*390*	*318*	*370*
Grover township	340	417	497
Hogan township	1,737	1,906	2,182
Altus town	*541*	*595*	*709*
Denning town	*541*	*384*	*608*
Hurricane township	381	491	491
Ivy township	500	516	712
Limestone township	157	108	169
McIlroy township	107	132	217
Middle township	682	687	781
Mill Creek township	351	345	526
Miller township	74	138	152
Morgan township	94	145	200
Mountain township	253	167	252
Mulberry township	417	354	750
Prairie township	2,232	2,207	2,182
Charleston town	*958*	*851*	*734*
Shores township	36	62	86
Six Mile township	169	199	284
Walker township	273	207	328
Wallace township	282	225	368
Watalula township	385	348	462
Weaver township	348	350	433
White Oak township	3,110	3,216	3,387
Ozark city [18a]	*1,402*	*1,564*	*1,262*
White Rock township	220	160	202
Wittich township	801	711	918
Fulton County	**10,253**	**10,834**	**11,182**
Afton township	370	465	559
Bennett Bayou township	282	340	686
Benton township	1,395	1,287	1,131
Salem town	*574*	*481*	-------
Big Creek township	581	585	626
Cleveland township	623	686	741
Fulton township	876	867	898
Mammoth Springs township	1,608	1,500	1,616
Mammoth Springs town	*666*	*600*	*700*
Mount Calm township	278	323	337
Myatt township	412	444	591
Pleasant Ridge township	802	958	916
South Fork township	652	647	577
Strawberry township	494	506	582
Union township	459	491	536
Vidette township	283	327	-------
Washington township	658	696	674
Wild Cherry township	213	368	425
Wilson township	267	344	287
Garland County	**41,664**	**36,031**	**25,785**
Antioch township	679	588	674
Bain township	668	493	463
Baxter township	173	224	539
Bear township	133	92	158
Buckville township	380	440	563
Cedar Glades township	466	768	396
Crystal township	145	138	89
Davis township	261	330	-------
Farmer township	145	171	199
Hale township	1,760	1,338	474
Hot Springs township	31,117	26,546	16,169
Hot Springs city	*21,970*	*20,238*	*11,695*
Lee township	155	180	460
Lincoln township	261	324	552
Marble township	201	223	464
Mazarn township	464	424	427
Mill township	798	602	673
Mooney township	427	300	320
Mountain township	262	322	699
Mountain Valley township	473	323	650
Ouachita township	224	255	353
Phillips township	325	307	445
Lonsdale town	*119*	*158*	*166*
Sulphur township	318	188	191
Union township	988	651	655
Valley township	304	347	-------
Whittington township	266	269	172
Wood township	271	188	-------
Grant County	**10,477**	**9,834**	**10,710**
Calvert township	775	862	961
Darysaw township	692	750	800
Davis township	402	446	369
Dekalb township	560	698	809
Fenter township	730	625	686
Franklin township	212	173	294
Madison township	957	989	1,449
Merry Green township	3,159	2,326	1,698
Sheridan town	*1,338*	*1,590*	*695*
River township	960	920	909
Simpson township	721	729	655
Tennessee township	979	1,031	1,465
Leola town	*412*	*379*	*482*
Washington township	330	285	615
Greene County	**30,204**	**26,127**	**26,105**
Blue Cane township	1,201	870	760
Breckenridge township	1,384	1,218	942
Bryan township	910	714	705
Cache township	1,018	909	771
Walcott town	*122*	*98*	*85*
Clark township [19]	9,338	7,530	7,612
Paragould city	*7,079*	*5,966*	*6,306*
Collier township	682	536	453
Crowley township	869	803	797
Evening Shade township	679	354	326
Friendship township [19]	996	980	975
Hays township	490	424	352
Hopewell township	667	797	891
Hurricane township	1,183	1,407	1,540
Marmaduke town	*677*	*894*	*861*
Jones township	1,464	1,006	1,228
Delaplaine town	*180*	*161*	*152*
Lake township	1,600	1,469	1,343
Main Shore township	1,151	1,081	1,021
Poland township	606	586	587
Reynolds township	1,252	1,135	1,069
St. Francis township	582	597	501
Greene County—Continued.			
Salem township	678	637	801
Shady Grove township	675	480	578
Spring Grove township	733	615	762
Sugar Creek township	904	944	1,089
Union township	886	838	1,002
Walnut Corner township	256	197	-------
Hempstead County	**32,770**	**30,847**	**31,602**
Bodcaw township	1,741	1,559	1,587
Bois d'Arc township	2,443	2,448	1,903
Fulton town	*485*	*502*	*543*
McNab town	*144*	*223*	*147*
De Roane township [20]	11,467	9,985	9,038
Hope city [20]	*7,475*	*6,008*	*4,790*
Garland township	847	974	1,202
Mine Creek township	2,521	2,630	2,744
Nowland township	1,029	936	1,157
Ozan township	4,245	4,163	4,793
Ozan town	*133*	*124*	*155*
Washington town	*432*	*457*	*556*
Redland township	2,056	1,619	1,832
McCaskill town	*236*	*170*	-------
Saline township	1,752	1,837	2,547
Spring Hill township	2,278	2,233	2,524
Wallaceburg township	1,854	1,888	1,739
Blevins town	*331*	*291*	-------
Water Creek township	537	575	536
Hot Spring County	**18,916**	**18,105**	**17,784**
Alford township	95	103	255
Antioch township	411	428	511
Big Creek township	279	422	662
Bismarck township	983	878	907
Brown Springs township	326	428	551
Butterfield township	295	280	331
Clear Creek township	408	514	556
De Roche township	603	514	758
Dover township	234	272	-------
Fenter township	8,094	7,674	6,094
Malvern city [21]	*5,290*	*5,115*	*3,864*
Gifford township	650	494	449
Harrison township	441	503	589
Henderson township	688	564	618
Lone Hill township	450	414	623
Magnet township	600	503	569
Midway township	629	527	757
Montgomery township	772	651	705
Ouachita township	687	855	540
Prairie township	1,033	910	991
Friendship town [21]	*272*	-------	-------
Saline township	526	492	584
Valley township	712	679	734
Howard County	**16,621**	**17,489**	**18,565**
Baker township	73	139	308
Blackland township	1,102	1,137	1,269
Blue Bayou township	262	263	316
Blue Ridge township	269	216	380
Brewer township	484	525	564
Buck Range township	652	636	604
Burg township	90	81	181
Center Point township	1,392	1,500	1,757
Center Point town	*244*	*277*	*276*
Clay township	268	281	420
County Line township	583	634	551
Dillard township	529	562	488
Mineral Springs town, total	*731*	*712*	*777*
In Dillard twp	*61*	*83*	*57*
In Mineral Springs twp	*670*	*629*	*720*
Duckett township	120	149	379
Franklin township	541	509	596
Holly Creek township	321	299	441
Madison township	2,188	2,207	2,317
Dierks city	*1,459*	*1,544*	*1,495*
Mineral Springs township	973	872	1,003
Mineral Springs town (part)	*670*	*629*	*720*
Mountain township	407	1,054	659
Athens town	*74*	*61*	*98*
Muddy Fork township	317	348	435
Nashville township	4,531	4,269	3,713
Nashville city	*2,782*	*2,469*	*2,144*
Saline township	398	521	556
Saratoga township	711	796	805
Saratoga town	*266*	*279*	-------
Sulphur Springs township	102	103	320
Umpire township	308	388	503
Umpire town	*74*	*91*	*128*

[17] DREW.—County totals for 1930 and 1920 include population (344 in 1930; 486 in 1920) of Prairie township, annexed to Franklin and Marion in 1932. Part of Marion township annexed to Monticello city in 1934.

[18] FAULKNER.—Vilonia town incorporated in 1938.

[18a] FRANKLIN.—Ozark town incorporated as a city in 1938.

[19] GREENE.—Part of Friendship township annexed to Clark in 1935.

[20] HEMPSTEAD.—Part of De Roane township annexed to Hope city in 1931.

[21] HOT SPRING.—Friendship town incorporated in 1938. Malvern town incorporated as a city in 1939.

TABLE 4.—POPULATION OF COUNTIES BY MINOR CIVIL DIVISIONS: 1920 TO 1940—Continued

MINOR CIVIL DIVISION	1940	1930	1920
Independence County	25,643	24,225	23,976
Ashley township	720	606	526
Barren township	685	783	735
Big Bottom township	1,184	1,247	1,651
Newark town	*802*	*897*	*906*
Black River township	419	441	1,119
Christian township	683	611	626
Craig township	256	309	353
Cushman township	1,024	849	756
Cushman town	*427*	*412*	*349*
Departee township	443	285	------
Dota township	893	1,008	1,036
Fairview township	827	814	732
Pleasant Plains town	*156*	*135*	*116*
Gainsboro township	596	627	980
Greenbrier township	1,246	1,249	1,406
Jamestown town	*76*	*66*	*126*
Hill township	365	387	332
Huff township	300	272	345
Jefferson township	406	436	438
Liberty township	687	564	680
Logan township	266	329	374
McHue township	717	425	------
Magness township	656	598	729
Magness town	*226*	*179*	*199*
Marshall township	437	399	------
Moorefield township	714	676	------
Oil Trough township	595	666	1,050
Relief township	316	342	451
Rosie township	643	602	638
Ruddell township [22]	6,760	5,878	5,443
Batesville city [22]	*5,267*	*4,484*	*4,299*
Salado township	534	393	549
Union township	612	598	624
Vaughan township	442	486	------
Washington township	1,176	1,245	1,063
White River township	546	575	678
Sulphur Rock town	*181*	*177*	*227*
Wycough township	495	525	662
Izard County	12,834	12,872	13,871
Athens township	386	369	443
Baker township	373	434	413
Barren Fork township	435	433	393
Big Spring township	296	337	349
Bryan township	396	445	550
Claiborne township	333	380	384
Drytown township	307	267	314
Franklin township	407	430	483
Franklin town [23]	*100*	------	------
Gid township	365	317	------
Guion township	437	465	572
Guion town	*250*	*288*	*260*
Guthrie township	386	406	561
Jefferson township	483	507	538
Lacrosse township	483	566	535
Lafferty township	257	250	596
Lunenburg township	336	356	624
Mill Creek township	1,296	955	786
Melbourne town	*567*	*380*	*295*
Mount Olive township	198	138	277
Newburg township	964	882	976
New Hope township	769	930	889
Pleasant Hill township	456	517	527
Sage township	519	457	533
Strawberry township	323	358	387
Union township	1,918	1,697	1,668
Calico Rock town	*738*	*659*	*479*
Violet Hill township	482	580	587
White River township	229	396	486
Jackson County	26,427	27,943	25,446
Barren township	700	700	632
Bateman township	683	559	706
Newport city, total [24]	*4,321*	*4,547*	*3,771*
In Bateman twp.	*20*	------	------
In Union twp.	*4,301*	*4,547*	*3,771*
Bird township	4,153	4,448	4,671
Tuckerman town	*875*	*938*	*778*
Breckenridge township	2,308	2,843	2,722
Tupelo town	*249*	*264*	*317*
Bryan township	664	690	583
Cache township	1,356	1,459	1,420
Algoa town	*134*	*110*	*304*
Cow Lake township	1,721	1,632	1,389
Glaize township	1,113	1,019	903
Glass township	2,553	2,588	2,534
Swifton town	*484*	*488*	*450*
Grubbs township	1,475	1,599	654
Grubbs town	*345*	*366*	*300*
Jefferson township	1,131	1,273	1,455
Jacksonport town	*215*	*196*	*318*
Richwoods township	1,004	1,196	987
Union township	6,357	6,456	5,431
Newport city (part)	*4,301*	*4,547*	*3,771*
Village township	1,209	1,481	1,359
Jefferson County	65,101	64,154	60,330
Barraque township	783	622	633
Redfield town	*339*	*350*	*296*
Bogy township	2,046	2,110	2,477
Bolivar township	1,878	2,670	2,272
Dudley Lake township	3,650	4,490	3,892
Sherrill town, total [25]	*258*	------	------
In Dudley Lake twp.	*13*	------	------
In Plum Bayou twp.	*245*	------	------
Dunnington township	1,995	2,504	2,737
Wabbaseka town	*258*	*333*	------
Jefferson township	635	677	717
Melton township	1,436	1,617	1,601
Niven township	2,904	1,919	1,131
Old River township	935	1,141	1,345
Pastoria township	1,919	2,228	2,396
Plum Bayou township	4,668	5,405	5,146
Altheimer town	*494*	*475*	*450*
Sherrill town (part)	*245*	------	------
Richland township	2,251	2,673	2,744
Roberts township	1,928	891	653
Humphrey town, total	*595*	*595*	*554*
In Jefferson Co.	*301*	*278*	*236*
In Arkansas Co.	*294*	*317*	*318*
Spring township	1,021	990	929
Talladega township	254	166	227
Vaugine township [25]	30,798	28,969	27,411
Pine Bluff city [25]	*21,290*	*20,760*	*19,280*
Victoria township	1,973	1,965	1,225
Villemont township	1,391	973	1,243
Washington township	2,033	1,472	722
Whiteville township	603	672	829
Johnson County	18,795	19,289	21,062
Batson township	310	298	294
Dickerson township	162	237	297
Grant township	1,643	1,822	1,803
Coal Hill town	*1,040*	*1,169*	*1,057*
Hickey township	464	489	685
Hill township	254	363	401
Horsehead township	711	770	1,199
Howell township	577	557	749
King township	762	598	825
Lee township	366	299	468
Low Gap township	172	205	307
McKennon township	231	219	278
Mulberry township	322	341	352
Perry township	953	1,090	1,303
Pilot Rock township	220	298	375
Piney township	386	551	482
Pittsburg township	1,730	1,639	1,967
Lamar town	*474*	*449*	*542*
Prairie township	1,271	1,348	1,963
Red Lick township	624	491	677
Sherman township	455	539	455
Spadra township	5,247	5,395	4,210
Clarksville city	*3,118*	*3,031*	*2,127*
Stonewall township	626	397	634
Ward township	1,309	1,343	1,338
Hartman town	*561*	*542*	------
Lafayette County	16,851	16,934	15,522
Baker township	3,013	3,557	3,764
Stamps city	*2,405*	*2,705*	*2,564*
French township	196	129	177
Hadley township	2,315	2,211	2,274
Buckner town	*450*	*264*	*360*
La Grange township	896	628	728
Mars Hill township	780	1,032	849
Roane township	4,471	4,700	3,410
Bradley town	*409*	*363*	*290*
Russell township	660	806	828
Steel township	3,474	3,117	2,751
Lewisville town	*1,814*	*1,061*	*1,067*
Walker Creek township	1,046	754	741
Lawrence County	22,651	21,663	22,098
Anneville township	258	306	------
Ashland township [26]	722	430	855
Minturn town	*133*	*189*	*273*
Black River township	661	706	828
Powhatan town	*137*	*110*	*134*
Black Rock township	1,487	1,429	1,693
Black Rock town	*769*	*751*	*835*
Boas township	2,187	1,852	2,181
Hoxie town	*1,466*	*1,448*	*1,711*
Cache township	1,247	1,208	900
Campbell township	3,589	3,577	3,744
Walnut Ridge city	*2,013*	*2,007*	*2,226*
Dent township	936	1,074	1,033
Imboden town	*525*	*564*	*630*
Dowell township	1,140	883	------
Duty township	1,095	1,214	1,424
Portia town	*393*	*416*	*519*
Eaton township [26]	474	------	------
Lawrence County—Con.			
Flat Creek township	274	295	327
Jesup township	204	335	356
Lawrence township [26]	1,130	1,474	1,484
Marion township	1,678	1,727	1,536
Alicia town	*333*	*342*	*297*
Morgan township	987	963	1,064
Promised Land township	1,219	808	779
Sedgwick town	*152*	*137*	*196*
Reeds Creek township	1,186	1,065	1,193
Richwoods township	707	772	942
Spring River township	514	495	671
Strawberry township	620	730	696
Thacker township	337	320	342
Ravenden town [26]	*240*	------	------
Lee County	26,810	26,637	28,852
Bear Creek township	481	470	923
Big Creek township	1,031	823	847
Council township	802	1,032	1,015
Fleener township	1,328	1,077	1,009
Hampton township	2,612	2,680	2,615
Moro town	*278*	*187*	*265*
Hardy township	191	92	312
Independence township [27]	7,190	6,815	7,711
Marianna city [27]	*4,449*	*4,314*	*5,074*
Liberty township	825	1,032	1,297
Oak Forest township	2,068	1,885	1,936
Richland township	2,265	2,458	2,528
Rondo town	*201*	*274*	------
St. Francis township	1,984	2,074	2,040
Brickeys town	*90*	*142*	------
Spring Creek township	2,129	1,886	1,858
Texas township	1,397	2,024	2,159
Union township	1,956	1,800	2,092
Walnut township	551	489	510
Lincoln County	19,709	20,250	18,774
Auburn township	2,089	1,404	1,918
Douglas town	*4*	*5*	*151*
South Bend town	*1*	*3*	*76*
Bartholomew township	2,086	2,908	2,708
Cane Creek township	3,002	2,674	2,412
Star City town	*1,050*	*932*	*616*
Choctaw township	2,524	3,260	2,705
Grady town	*472*	*496*	*598*
Varner town	*5*	*85*	*194*
Gould township	2,588	2,336	845
Gould town	*908*	*827*	*318*
Kimbrough township	785	1,190	1,265
Lone Pine township	558	631	664
Mill Creek township	671	705	749
Owen township	748	721	769
Smith township	1,016	1,162	1,453
Spring township	996	1,068	1,224
Wells Bayou township	2,646	2,191	2,062
Little River County	15,932	15,515	16,301
Arden township	988	696	782
Arkinda township [28]	234	477	638
Arkinda town	*126*	*98*	*148*
Burke township	718	537	634
Caney township [28]	456	455	467
Cleveland township	925	807	1,119
Wilton town	*319*	*213*	*285*
Franklin township	530	704	341
Jackson township	2,168	2,261	2,853
New Rocky Comfort town (Foreman P. O.)	*1,007*	*1,056*	*1,408*
Jeff Davis township	520	442	708
Jefferson township	3,262	2,697	3,054
Ashdown city [28]	*2,332*	*1,607*	*2,052*
Jewell township [28]	408	------	------
Johnson township	1,353	1,173	1,045
Ogden town	*225*	*205*	------
Lick Creek township	477	515	702
Little River township [28]	689	696	1,016
Winthrop town	*336*	*331*	*250*
Red River township	1,197	1,476	1,663
Richland township	1,350	1,827	1,279
Wallace township	657	662	------
Logan County	25,967	24,110	25,866
Barber township	392	371	494
Bear Wallow township	250	301	556
Blue Mountain township	326	306	416
Blue Mountain town	*171*	*145*	------
Boone township	4,318	3,781	3,419
Booneville city	*2,324*	*2,099*	*2,199*
Cane Creek township	756	688	1,093
Cauthron township	754	843	910
Clark township	1,622	1,455	1,339
Subiaco town	*202*	*195*	*181*
Delaware township	853	896	938
Driggs township	519	439	748

[22] INDEPENDENCE.—Part of Ruddell township annexed to Batesville city in 1940.
[23] IZARD.—Franklin town incorporated in 1939.
[24] JACKSON.—Newport city returned in 1930 as a town, in Union township only.
[25] JEFFERSON.—Parts of Vaugine township annexed to Pine Bluff city in 1931, 1938, and 1939. Sherrill town incorporated in 1935.
[26] LAWRENCE.—Part of Lawrence township annexed to Ashland in 1932. Eaton township organized between 1920 and 1930; not returned separately in 1930. Ravenden town not returned separately in 1930 and 1920.
[27] LEE.—Part of Independence township annexed to Marianna city since 1930.
[28] LITTLE RIVER.—Jewell township organized from parts of Arkinda, Caney, and Little River in 1930. Ashdown town incorporated as a city in 1937.

TABLE 4.—POPULATION OF COUNTIES BY MINOR CIVIL DIVISIONS: 1920 TO 1940—Continued

MINOR CIVIL DIVISION	1940	1930	1920
Logan County—Continued.			
Ellsworth township	676	600	669
Johnson township	470	350	442
Logan township	653	665	750
Mountain township	159	165	419
Petit Jean township	764	684	986
Revilee township	931	1,226	1,865
Magazine town	*585*	*560*	*772*
River township	894	911	1,011
Scranton town	*322*	*332*	*400*
Roseville township	384	370	406
Shoal Creek township	827	915	1,376
Short Mountain township	6,635	5,616	3,567
Paris city	*3,490*	*3,234*	*1,740*
Six Mile township	1,163	823	997
Ratcliff town	*337*	*231*	*257*
Sugar Creek township	764	781	942
Titsworth township	645	628	620
Tomlinson township	566	660	876
Washburn township	646	636	1,027
Lonoke County	29,802	33,759	33,400
Butler township	835	853	1,014
Carlisle township	2,002	1,820	2,200
Carlisle town	*1,080*	*907*	*602*
Caroline township	712	707	890
Austin Station town	*145*	*128*	*163*
Cleveland township	274	323	400
Crooked Creek township	1,821	1,553	1,523
Dortch township	891	867	-------
Eagle township	283	350	399
Fletcher township	693	499	630
Furlow township	327	431	439
Goodrum township	414	518	530
Gray township	384	376	403
Gum Woods township	3,586	4,838	4,423
England city	*2,027*	*2,150*	*2,408*
Hamilton township	593	415	591
Indian Bayou township	2,057	3,124	2,342
Isbell township	718	771	525
Lafayette township	1,189	1,513	1,581
Keo town	*253*	*207*	*325*
Lonoke township	3,156	3,116	3,717
Lonoke city [29]	*1,715*	*1,674*	*1,711*
Magness township	582	541	557
Oak Grove township	408	612	743
Pettus township	1,586	2,107	1,751
Prairie township	354	366	406
Pulaski township	949	1,138	1,143
Richwoods township	1,451	2,059	1,997
Scott township	242	222	383
Totten township	430	530	700
Walls township	575	806	573
Ward township	816	771	766
Ward town	*283*	*275*	-------
Williams township	990	1,044	1,320
York township	1,424	1,489	1,454
Cabot town	*741*	*684*	*477*
Madison County [30]	14,531	13,334	14,918
Alabam township	804	-------	-------
Boston township	481	-------	-------
Bowen township	832	-------	-------
California township	1,098	-------	-------
Hilburn township	562	-------	-------
St. Paul town	*211*	*198*	*284*
Japton township	1,103	-------	-------
Kentucky township	462	-------	-------
Kings River township	1,557	-------	-------
Lamar township	632	736	737
Lincoln township	400	-------	-------
Marble township	706	-------	-------
Mill Creek township	754	-------	-------
Piney township	161	254	261
Prairie township	1,094	-------	-------
Richland township	954	-------	-------
Valley township	936	-------	-------
War Eagle township	1,995	-------	-------
Huntsville town	*776*	*602*	-------
Marion County	9,464	8,876	10,154
Bearden township	142	137	122
Big Creek township	119	116	168
Big Springs township	204	231	306
Blythe township	842	853	659
Pyatt town	*224*	*254*	-------
Buffalo township	69	92	169
Cedar Creek township	183	215	261
Crockett township	151	107	81
Crooked Creek township	263	252	340
De Soto township	298	107	265
Dodd City township	200	196	181
Franklin township	288	283	340
Hampton township	405	412	416
Marion County—Con.			
Independence township	278	281	281
James Creek township	464	412	567
Jefferson township	185	103	344
Joe Burleson township	301	208	388
Keesee township	101	89	168
Keeter township	231	168	221
Liberty township	255	217	257
North Fork township	538	511	734
Prairie township	585	540	706
Sugarloaf township	304	260	346
Summit township	689	458	435
Summit town	*198*	*122*	-------
Union township	1,028	983	1,126
Yellville town	*546*	*478*	*615*
Water Creek township	329	313	376
White River township	1,012	1,152	897
Flippin town	*332*	*325*	-------
Miller County	31,874	30,586	24,021
Beech township	2,676	2,774	2,297
Fouke town	*368*	*363*	*319*
Cleveland township	1,348	1,127	1,077
Cut Off township	1,501	1,605	712
Days Creek township	667	418	337
Garland township	18,005	15,696	12,749
Texarkana city [31]	*11,821*	*10,764*	*8,257*
Homan township	1,090	1,593	1,398
Lost Prairie township	1,719	2,224	800
Red River township	1,324	1,536	1,327
Garland town	*325*	*425*	*370*
Sulphur township	3,454	3,613	3,324
Mississippi County	80,217	69,289	47,320
Big Lake township	7,338	4,042	2,941
Manila town	*1,248*	*1,226*	*971*
Bowen township	2,084	1,265	1,901
Burdette township	1,799	1,601	904
Burdette town	*110*	*155*	*100*
Canadian township	1,160	1,339	1,001
Carson Lake township [32]	2,353	2,899	870
Chickasawba township [32]	16,709	17,035	11,158
Blytheville city [32]	*10,652*	*10,098*	*6,447*
Clear Lake township	2,670	1,951	1,709
Dyess township [32]	2,615	-------	-------
Fletcher township	3,067	3,288	3,435
Luxora town	*1,258*	*1,074*	*1,179*
Golden Lake township	2,659	2,622	1,989
Half Moon Lake township	1,733	1,163	-------
Hector township	4,065	3,010	2,184
Dell town	*323*	*267*	*233*
Hickman township	2,188	2,413	1,636
Little River township	7,263	2,300	1,108
McGavock township	1,905	1,912	1,358
Joiner town	*388*	*306*	-------
Monroe township	8,373	7,854	4,106
Keiser town [32]	*452*	-------	-------
Osceola city	*3,226*	*2,573*	*1,755*
Neal township	4,353	5,888	3,572
Leachville town	*1,076*	*1,157*	-------
Pecan township	719	708	897
Scott township [32]	2,845	3,503	2,827
Swayne township	902	743	610
Troy township	1,758	1,481	1,376
Whitton township	1,659	2,182	1,738
Monroe County	21,133	20,651	21,601
Brinkley township [33]	4,458	4,020	4,264
Brinkley city [33]	*3,409*	*3,046*	*2,714*
Brown township	154	118	-------
Cache township	4,082	3,715	4,336
Clarendon city	*2,551*	*2,149*	*2,638*
Cleburne township	781	751	666
Cypress Ridge township	1,178	1,180	1,138
Smale town [33]	*22*	-------	-------
Dixon township	895	791	195
Duncan township	2,740	2,857	2,701
Holly Grove town	*755*	*741*	*977*
Greenfield township	625	558	551
Hindman township	796	898	718
Jackson township	949	925	1,288
Keevil township	702	800	752
Montgomery township	735	737	1,316
Pine Ridge township	600	772	847
Raymond township	385	514	551
Richland township	1,003	1,305	1,173
Roc Roe township	779	485	830
Smalley township	271	225	275
Montgomery County	8,876	10,768	11,112
Big Fork township	210	271	372
Caddo township	334	381	613
Black Springs town [34]	*97*	-------	-------
Montgomery County—Con.			
Caney township	583	643	770
Center township	352	365	391
Fir township	176	407	459
Gap township	756	912	1,018
Gaston township	101	103	264
Hazel township	141	119	217
Lawrence township	264	264	-------
Leverney township	381	539	539
Mazarn township	400	368	654
Missouri township	116	112	139
Ouachita township [34]	478	560	686
Parks township	266	304	352
Polk township	895	962	1,012
Oden town [34]	*102*	-------	-------
Rock Springs township	14	33	105
Scott township	113	137	237
Smith township	287	301	567
South Fork township	1,031	1,834	743
Mauldin town [34]	-------	*896*	-------
Mount Ida town	*490*	*512*	*298*
Sulphur Springs township	549	704	640
Walnut township	345	475	511
Womble township	1,084	974	773
Norman town	*512*	*478*	*420*
Nevada County	19,869	20,407	21,934
Alabama township	948	1,125	1,116
Albany township	1,467	1,752	2,194
Boughton township	903	1,046	1,224
Caney township	1,390	1,145	1,277
Emmet township	1,020	1,007	1,182
Emmet town	*465*	*387*	*420*
Georgia township	651	675	785
Jackson township	644	867	1,173
Leake township	834	897	742
Missouri township	6,188	5,814	5,636
Prescott city	*3,177*	*3,083*	*2,691*
Parker township	1,484	1,615	1,900
Redland township	1,129	1,126	1,545
Taylor township	2,211	2,188	1,934
Union township	1,000	1,150	1,227
Newton County	10,881	10,564	11,199
Big Creek township	720	786	526
Boston township	243	420	421
Grant township [35]	294	205	293
Grove township	420	403	452
Hasty township	455	247	391
Hickory Grove township	246	280	-------
Hudson township	609	460	478
Jackson township	1,260	1,053	984
Jasper town	*412*	*385*	*258*
Jefferson township	436	550	531
Jones township	121	194	217
Kentucky township	186	304	355
Lincoln township	264	248	339
Low Gap township	348	269	280
Marble City township [35]	264	182	206
Mill Creek township [35]	165	156	191
Murray township	333	282	266
New Hope township	130	165	327
Osage township	284	231	372
Pleasant Hill township	456	455	559
Plumlee township	353	476	491
Polk township	588	552	645
Ponca township	286	279	-------
Prairie township	220	260	350
Richland township	407	519	343
Union township	387	332	420
Van Buren township	356	411	735
Walnut township	187	245	271
White township	854	600	747
Ouachita County	31,151	29,890	20,636
Behestian township	801	739	599
Bradley township	787	444	321
Bragg township	635	550	594
Bridge Creek township	873	1,142	1,052
Carroll township	952	562	565
Cleveland township	318	337	893
Ecore Fabre township	10,618	8,486	3,841
Camden city	*8,975*	*7,273*	*3,258*
Freeo township	603	621	528
Jefferson township	750	776	910
Lafayette township	3,309	1,751	1,235
Liberty township	627	694	719
Marion township	1,024	1,103	1,162
Red Hill township	1,985	1,910	1,719
Chidester town	*508*	*399*	*280*
Reader town	*145*	*251*	-------
River township	363	339	277
Smackover township	2,434	3,171	2,345
Stephens town	*998*	*1,045*	*769*

[29] LONOKE.—Lonoke town incorporated as a city in 1937.

[30] MADISON.—County partially redistricted in 1936; comparative figures shown wherever possible.

[31] MILLER.—For population of Texarkana city in Texas, see footnote on table 5.

[32] MISSISSIPPI.—Dyess township organized from parts of Carson Lake and Scott in 1938. Part of Chickasawba township annexed to Blytheville city in 1936. Keiser town incorporated in 1933.

[33] MONROE.—Part of Brinkley township annexed to Brinkley city in 1939. Smale town incorporated in 1937.

[34] MONTGOMERY.—Black Springs town incorporated in 1936. Mauldin town, now inactive, geographically located in Ouachita and South Fork townships; no population reported for 1940 in either township; returned in 1930 as in South Fork township only. Oden town not returned separately in 1930.

[35] NEWTON.—Part of Grant township annexed to Marble City, and part of Marble City township annexed to Mill Creek, in 1936.

TABLE 4.—POPULATION OF COUNTIES BY MINOR CIVIL DIVISIONS: 1920 TO 1940—Continued

MINOR CIVIL DIVISION	1940	1930	1920
Ouachita County—Con.			
Union township	1,530	2,154	1,512
Bearden town	*961*	*1,147*	*687*
Valley township	1,104	947	1,620
Washington township	2,438	4,164	744
Louann town	*492*	*910*	-------
Perry County	8,392	[36] 7,695	[36] 9,905
Aplin township	271	297	606
Belleview township	179	162	-------
Casa township	591	538	699
Casa town	*245*	*269*	*300*
Cherry Hill township	240	192	260
Dry Fork township	30	58	79
Fourche Lafave township	888	560	747
Perryville town	*577*	*341*	*665*
Houston township	825	758	966
Houston town	*287*	*345*	*408*
Howell township	134	110	121
Kenney township	209	106	166
Lake township	605	597	794
Perry town	*377*	*387*	*540*
Ledwidge township	49	106	84
McCool township	203	218	264
Maumelle township [36]	292	172	298
Mountain township	81	98	146
New Tennessee township	258	229	357
Perry township	828	666	1,209
Bigelow town	*377*	*338*	*589*
Fourche town	*88*	*94*	*164*
Petit Jean township	382	396	611
Adona town	*218*	*200*	*241*
Pleasant Grove township	216	216	-------
Rankin township	304	233	316
Rose Creek township	199	200	254
South View township	149	158	202
Sweet Home township	129	88	110
Tyler township	200	204	198
Union township	632	622	717
Union Valley township [36]	176	155	-------
Walnut Grove township [36]	183	215	169
Wye township	79	97	-------
Phillips County	45,970	40,683	44,530
Big Creek township	1,900	1,848	1,994
Cleburne township	1,091	901	1,177
Cleveland township	1,190	1,166	1,415
Cypress township	671	846	764
Hickory Ridge township	2,909	2,444	2,435
Marvell town	*830*	*624*	*781*
Hicksville township	1,288	715	1,551
Hornor township	7,076	6,563	8,094
West Helena city	*4,717*	*4,489*	*6,226*
James R. Bush township	1,315	1,648	874
Lake township	1,390	2,294	1,948
L'Anguille township	37	58	209
Marion township	2,109	2,183	2,480
Mooney township	2,082	1,015	1,316
St. Francis township	13,033	12,068	11,700
Helena city	*8,546*	*8,316*	*9,112*
Searcy township	3,053	2,042	2,110
Spring Creek township	3,347	2,499	3,851
Tappan township	3,479	2,393	2,612
Elaine town	*634*	*511*	*577*
Pike County	11,786	11,792	12,397
Antoine township	636	689	982
Brewer township	523	499	700
Caney Fork township	82	144	98
Clark township	1,908	2,944	2,414
Glenwood town	*864*	*1,810*	*891*
Rosboro town	*131*	*581*	*412*
Eagle township	368	319	425
Missouri township	1,217	956	972
Delight town	*481*	*408*	*391*
Mountain township	462	493	711
Muddy Fork township	426	450	319
Pike City township	485	678	561
Pike City town	*113*	*124*	*229*
Saline township	918	743	795
Self Creek township	578	439	648
Daisy town	*82*	*100*	*130*
Thompson township	2,441	1,860	2,054
Kimberley town	*54*	*56*	*121*
Murfreesboro town	*835*	*733*	*730*
White township	716	592	629
Wolf Creek township	1,026	986	1,089
Antoine town	*233*	*210*	-------
Poinsett County	37,670	29,695	20,848
Bolivar township	3,948	3,162	3,957
Harrisburg town	*1,193*	*1,111*	*1,315*
Dobson township	670	580	484
Poinsett County—Con.			
Greenfield township	2,036	1,262	927
Greenwood township	5,757	4,357	1,783
Lepanto town	*1,198*	*1,195*	*986*
Little River township	5,748	4,128	3,223
Marked Tree city	*2,685*	*2,276*	*1,318*
Lunsford township	3,785	1,887	-------
Owen township	884	1,170	757
Fisher town	*205*	*259*	*350*
Scott township	2,231	1,614	1,822
Tyronza township	4,580	4,155	3,059
Deckerville town	*30*	*42*	*63*
Tyronza town	*639*	*573*	-------
West Prairie township	1,212	1,239	965
Weiner town	*447*	*537*	*412*
Willis township	6,819	6,141	3,871
Trumann city	*3,281*	*2,995*	*2,598*
Polk County	15,832	14,857	16,412
Acorn township	569	545	368
Big Fork township	341	449	396
Cedar township	200	210	361
Center township	4,300	3,793	4,196
Mena city	*3,510*	*3,118*	*3,441*
Cove township	1,285	1,141	1,265
Hatfield town	*437*	*382*	*335*
Eagle township	525	444	486
Faulkner township	111	138	205
Freedom township	527	470	653
Fulton township	622	627	731
Gap Springs township	195	137	235
Mill Creek township	329	392	473
Mountain township	838	850	1,061
Ouachita township	436	546	691
Ozark township	2,328	1,724	2,474
Grannis town [37]	*225*	-------	-------
Wickes town	*121*	*182*	-------
Potter township	696	624	595
Rich Mountain township	402	380	233
White township	2,128	2,387	1,989
Cove town	*381*	*432*	-------
Pope County	25,682	26,547	27,153
Allen township	155	154	192
Bayliss township	570	624	666
Burnett township	456	424	600
Center township	278	349	578
Clark township	1,687	1,561	1,733
London town	*418*	*355*	*386*
Convenience township	445	422	512
Dover township	1,715	1,867	1,798
Dover town	*493*	*510*	*388*
Freeman township	192	152	191
Galla Creek township	868	937	1,016
Pottsville town	*308*	*293*	*275*
Griffin township	775	742	1,034
Gum Log township	596	689	609
Hill township	106	74	-------
Hogan township	61	180	294
Holla Bend township	773	875	937
Illinois township	8,622	8,263	6,697
Russellville city	*5,927*	*5,628*	*4,505*
Independence township	78	156	515
Jackson township	915	1,063	1,219
Lee township	775	996	1,092
Liberty township	572	639	648
Martin township	1,135	1,167	1,041
Moreland township	392	439	496
North Fork township	86	117	180
Phoenix township	211	250	-------
Sand Spring township	155	184	230
Smyrna township	257	250	402
Sulphur township	141	110	271
Valley township	699	687	955
Wilson township	2,967	3,176	3,247
Atkins town	*1,322*	*1,364*	*1,529*
Prairie County	15,304	15,187	17,447
Belcher township	331	480	634
Bullard township	516	370	529
Calhoun township	1,215	1,209	1,583
Center township	651	681	855
Des Arc township	614	398	397
Hazen township	2,153	2,317	2,655
Hazen town	*819*	*787*	*783*
Hickory Plain township	1,085	1,024	990
Lower Surrounded Hill township	1,470	1,723	1,458
Fredonia town (Biscoe P. O.)	*395*	*402*	*310*
Roc Roe township	1,049	852	1,076
Ulm town	*146*	*152*	*194*
Tyler township	618	642	734
Prairie County—Con.			
Union township	377	365	486
Upper Surrounded Hill township	541	449	594
Watensaw township	1,908	2,100	2,451
De Valls Bluff town	*686*	*672*	*885*
White River township	2,776	2,577	3,005
Des Arc town	*1,410*	*1,348*	*1,307*
Pulaski County	156,086	137,727	109,464
Ashley township	847	1,196	971
Badgett township	3,242	2,821	2,680
Bayou Meto township	1,510	1,442	1,610
Big Rock township [38]	94,537	85,831	66,963
Little Rock city [38]	*88,039*	*81,679*	*65,142*
Brodie township	2,047	1,248	486
Campbell township	1,506	1,343	1,357
Eagle township	2,874	3,901	2,926
Eastman township	4,311	3,552	2,662
Ellis township	937	506	488
Fourche township	1,844	1,275	961
Alexander town, total [38]	*134*	*141*	*111*
In Pulaski Co.	*123*	*141*	*111*
In Saline Co.	*11*	-------	-------
Gray township	2,003	1,835	1,582
Hill township	28,945	24,485	18,811
Levy town	*1,306*	*1,197*	*673*
North Little Rock city	*21,137*	*19,418*	*14,048*
Maumelle township	725	626	584
Mineral township	1,406	989	620
Owen township	2,001	1,233	1,120
Perkins township	1,578	1,167	1,372
Pyeatte township	520	179	606
Roland township	1,025	919	1,048
Union township	1,992	1,258	1,317
Worthen township	1,420	872	483
Young township	815	1,049	808
Randolph County	18,319	16,871	17,713
Baker township	174	208	286
Bristow township	632	642	741
Butler township	132	179	207
Columbia township	630	618	972
Current River township	1,262	1,299	1,216
Biggers town	*456*	*466*	*447*
Davidson township	462	375	447
Demun township	4,539	3,232	3,018
Pocahontas city	*3,028*	*1,896*	*1,806*
Eleven Points township	286	253	298
Elm Store township	265	207	256
Foster township	318	302	343
Ingram township	347	373	327
Jackson township	334	293	295
Janes Creek township	791	746	901
Ravenden Springs town	*200*	*175*	*191*
Little Black township	640	681	732
O'Kean township	965	1,058	1,102
O'Kean town	*138*	*184*	*205*
Reyno township	1,109	1,037	1,043
Reyno town	*346*	*314*	*392*
Richardson township	678	717	808
Maynard town	*266*	*259*	*210*
Roanoke township	912	811	938
Running Lake township	308	316	-------
Shiloh township	415	383	361
Siloam township	594	681	623
Spring River township	250	257	216
Union township	518	468	525
Warm Springs township	440	354	466
Water Valley township	296	294	292
Wiley township	1,022	1,087	1,300
St. Francis County	36,043	33,394	28,385
Black Fish township	1,388	1,624	1,107
Franks township	3,213	3,635	4,111
Garland township	3,707	3,365	1,257
Hughes town	*1,004*	*815*	*451*
Goodwin township	1,193	1,047	948
Griggs township	6,457	6,745	6,033
Widener town	*225*	*235*	*449*
Heth township	3,475	2,578	-------
Johnson township	1,830	1,629	2,259
L'Anguille township	1,226	1,110	1,105
Madison township [39]	9,207	7,590	6,797
Forrest City [39]	*5,699*	*4,594*	*3,377*
Madison town	*838*	*634*	*670*
Prairie township	1,420	1,248	1,587
Palestine town	*345*	*209*	*297*
Telico township	1,908	1,868	1,967
Colt town	*259*	*267*	*265*
Wheatley township	959	955	1,214
Wheatley town	*362*	*305*	*477*

[36] PERRY.—County totals for 1930 and 1920 include population (35 in 1930; 116 in 1920) of Forest township, and population (126 in 1930; 160 in 1920) of Rowland township, annexed to Maumelle, and population (83 in 1930; 159 in 1920) of Rose township, annexed to Union Valley and Walnut Grove, in 1930; total for 1920 also includes population (37) of Omega township, annexed to Tyler in 1924.

[37] POLK.—Grannis town not returned separately in 1930.

[38] PULASKI.—Part of Big Rock township annexed to Little Rock city in 1933. Alexander town returned in 1930 and 1920 as in Pulaski County only.

[39] ST. FRANCIS.—Parts of Madison township annexed to Forrest City in 1933 and 1938.

TABLE 4.—POPULATION OF COUNTIES BY MINOR CIVIL DIVISIONS: 1920 TO 1940—Continued

MINOR CIVIL DIVISION	1940	1930	1920
Saline County	19,163	15,660	16,781
Banner township	674	512	518
Bauxite township	2,063	2,207	2,586
Beaver township	453	418	374
Bryant township	704	725	576
Bryant town	*173*	*162*	*132*
Dyer township	532	538	597
Fairplay township	518	425	617
Haskell township	2,663	545	649
Haskell town	*171*	*180*	-------
Holland township	520	371	467
Hurricane township	502	429	517
Jefferson township	341	323	507
Kentucky township	344	373	394
Liberty township	287	263	463
Marble township	124	172	267
Newcomb township	326	246	362
Otter township	525	446	546
Owen township	773	562	583
Alexander town, total [40]	*134*	*141*	*111*
In Saline Co.	*11*	-------	-------
In Pulaski Co.	*123*	*141*	*111*
Salem township	678	605	589
Saline township	5,693	4,987	4,231
Benton city	*3,502*	*3,445*	*2,933*
Shaw township	412	436	446
Smith township	284	234	307
Traskwood township	522	541	572
Traskwood town	*226*	*225*	*256*
Union township	203	216	465
Walnut Bottom township	22	86	148
Scott County	13,300	11,803	13,232
Black Fork township	224	308	500
Blansett township	332	378	633
Brawley township	217	242	339
Brushy township	11	36	112
Cauthron township	333	303	430
Cedar township	1,596	551	405
Forester town [41]	*1,306*	-------	-------
Coal township	434	394	524
Bates town	*148*	*173*	*224*
Denton township	319	343	471
Hickman township	3,452	2,914	2,447
Waldron town	*1,293*	*1,077*	*918*
Hon township	496	484	526
Hunt township	347	326	430
James township	209	144	255
Johnson township	109	144	133
Jones township	205	242	290
La Fave township	235	240	292
Lafayette township	345	289	471
Lamb township	293	244	356
Lewis township	1,316	1,464	1,526
Mansfield town, total	*1,002*	*919*	*923*
In Scott Co.	*364*	*316*	*310*
In Sebastian Co.	*638*	*603*	*613*
Little Texas township	82	113	134
Mill Creek township	312	155	88
Mountain township	585	563	509
Mount Pleasant township	435	380	522
Oliver township	131	132	270
Park township	746	753	850
Tate township	137	257	303
Tomlinson township	394	404	416
Searcy County	11,942	11,056	14,590
Bear Creek township	2,060	1,633	1,921
Marshall city	*822*	*638*	*749*
Beaver township	259	225	275
Big Creek township	781	751	729
Calf Creek township	1,183	1,074	1,193
Campbell township [42]	397	537	687
Clark township [42]	188	-------	-------
Long Creek township [42]	310	332	394
Maumee township	127	146	219
Mount Pleasant township	495	551	669
Mount Vernon township	164	159	392
Prairie township	653	541	797
Red River township	328	341	483
Richland township	496	628	543
Rock Creek township	403	361	610
St. Joe township	743	657	848
St. Joe town	*213*	*255*	*151*
Shady Grove township	145	107	249
Spring township	891	745	898
Sulphur Springs township	262	300	307
Tomahawk township	550	536	771
Gilbert town	*106*	*116*	-------
Wileys Cove township	1,507	1,432	2,605
Leslie town	*779*	*657*	*1,472*
Sebastian County	62,809	54,426	56,739
Bass Little township	852	637	746
Bates township	384	348	506
Beverly township	411	506	613
Big Creek township	1,024	1,039	1,037
Lavaca town	*340*	*319*	-------
Bill Johnson township	585	664	1,009
Bloomer township	661	609	671
Center township	2,165	1,770	2,527
Greenwood town	*1,219*	*591*	*1,374*
Cole township	1,329	1,101	1,318
Hackett city	*436*	*316*	*398*
Dayton township	753	752	847
Diamond township	1,377	1,374	2,570
Huntington town	*868*	*813*	*1,463*
Eagle township	319	299	466
Hartford township	1,921	1,876	3,253
Hartford city	*1,189*	*1,210*	*2,067*
Island township	751	604	667
Jim Fork township	1,170	944	1,616
Midland town	*560*	*373*	*737*
Lon Norris township	751	448	-------
Marion township	1,332	1,563	2,038
Bonanza town	*436*	*406*	*516*
Mississippi township	423	340	436
Mont Sandals township	1,307	885	830
Nat Osborn township	363	311	338
Prairie township	494	491	488
Rogers township	1,012	1,131	1,053
Sugarloaf township	1,232	1,049	1,267
Mansfield town, total	*1,002*	*919*	*923*
In Sebastian Co.	*638*	*603*	*613*
In Scott Co.	*364*	*316*	*310*
Sulphur township	542	534	429
Upper township	40,912	34,517	31,142
Fort Smith city	*36,534*	*31,429*	*28,370*
Washburn township	475	397	561
White Oak township	264	237	311
Sevier County	15,248	16,364	18,301
Bear Creek township	4,681	4,419	4,175
De Queen city	*3,055*	*2,938*	*2,517*
Ben Lomond township	646	587	799
Ben Lomond town [43]	*406*	-------	-------
Buckhorn township	206	211	441
Clear Creek township	3,424	4,141	4,028
Horatio town	*809*	*1,028*	*1,038*
Jefferson township [43]	299	248	519
Mill Creek township	252	258	421
Mineral township	1,105	1,178	1,570
Gillham town	*238*	*248*	*317*
Monroe township	788	910	977
Paraclifta township	361	360	404
Red Colony township	1,932	2,054	2,428
Lockesburg town	*764*	*747*	*794*
Saline township [43]	546	720	996
Washington township	1,008	1,278	1,543
Paraloma town	*143*	*384*	*499*
Sharp County	11,497	10,715	11,132
Big Creek township	504	409	538
Big Rock township	564	585	624
Cave township	862	685	637
Cave City town	*427*	*296*	*243*
Davidson township	436	459	376
Hardy township	1,291	951	794
Hardy town	*721*	*508*	*399*
Highland township	332	267	317
Jackson township	731	659	800
Williford town	*272*	*279*	*357*
Johnson township	191	189	222
Lave Creek township	358	303	269
Lebanon township	400	442	506
Morgan township	369	455	399
North township	621	604	627
Piney Fork township	907	793	854
Evening Shade town	*347*	*325*	*290*
Richwoods township	968	948	906
Ash Flat town [44]	*315*	-------	-------
Scott township	792	809	826
Strawberry township	440	359	411
Sullivan township	842	985	978
Sidney town [44]	*158*	-------	-------
Union township	622	562	682
Washington township	267	251	366
Stone County	8,603	7,993	8,779
Bellmore township	195	147	149
Blue Mountain township	1,481	1,203	1,001
Mountainview town	*745*	*458*	*542*
Stone County—Continued.			
Bryan township	170	133	283
Chalybeate Springs township	90	192	284
Cove township	201	165	218
Farris township	449	386	257
Flag township	217	157	299
Franklin township	395	359	735
Harris township	501	426	632
Herd township	173	212	-------
Hixson township	133	175	414
Jones township	71	105	155
Liberty township	200	201	282
Locust Grove township	417	342	350
Northwest township	355	297	268
Red River township	241	282	448
Redstripe township	389	267	-------
Richwoods township	356	364	346
Roasting Ear township	144	220	-------
Rorie township	22	91	40
Smart township	210	189	237
Sylamore township	477	374	446
Timbo township	404	437	470
Turkey Creek township	345	345	426
Union township	380	328	516
Wallace township	206	277	246
Washington township	166	162	277
Wilson township	155	157	-------
Union County	50,461	55,800	29,691
Boone township	1,015	1,209	1,079
Cornie township	1,052	1,128	1,308
El Dorado township	23,776	24,515	7,724
El Dorado city	*15,858*	*16,421*	*3,387*
Franklin township	2,115	2,881	1,332
Calion town	*712*	*924*	-------
Garner township	1,184	938	931
Harrison township	1,610	1,558	1,441
Henderson township	1,517	1,608	1,539
Junction City [45]	*797*	*814*	*653*
Jackson township	1,152	1,570	1,488
Upland town [45]	-------	*4*	*33*
Johnson township	1,997	1,966	2,162
Lapile township	4,390	4,534	4,057
Felsenthal town	*203*	*208*	*167*
Huttig town	*1,379*	*1,386*	*1,261*
Strong town	*762*	*740*	*507*
Norphlet township [45]	3,027	-------	-------
Norphlet town [45]	*695*	*1,063*	-------
Smackover township [45]	3,979	9,635	1,878
Smackover city	*2,256*	*2,544*	-------
Tubal township	798	574	596
Van Buren township	1,306	1,670	1,811
Wesson township	748	771	1,490
Wesson town	*245*	*263*	*716*
Wilmington township	795	1,243	855
Van Buren County	12,518	11,962	13,666
Archey Valley township	369	293	361
Barnett township	776	749	804
Bradley township	1,085	1,100	1,099
Bee Branch town	*151*	*141*	*88*
Cadron township	363	410	550
Cargile township	389	420	349
Choctaw township	539	670	632
Cleveland township	287	248	270
Craig township	971	971	1,051
Culpepper township	556	672	709
Davis township	409	493	479
Griggs township	1,924	1,446	1,288
Clinton city [46]	*915*	-------	-------
Grove township	83	91	260
Hartsugg township	320	245	391
Holly township	250	291	378
Liberty township	350	511	621
Linn Creek township	320	284	451
Mountain township	269	185	263
Red River township	407	363	627
Sulphur Springs township	291	402	391
Union township	1,314	980	1,184
Shirley town	*365*	*292*	*349*
Washington township	508	399	497
Wheeler township	585	476	668
White Oak township	153	263	343
Washington County	41,114	[47]39,255	[47]35,468
Boston township	432	436	584
Brush Creek township	1,029	953	851
Cane Hill township	898	890	1,268
Center township	1,310	1,557	1,311
Cove Creek township	755	656	714
Crawford township	504	479	550

[40] SALINE.—Alexander town returned in 1930 and 1920 as in Pulaski County only.
[41] SCOTT.—Forester town incorporated in 1932.
[42] SEARCY.—Clark township organized from parts of Campbell and Long Creek in 1938.
[43] SEVIER.—Part of Saline township annexed to Jefferson in 1932. Ben Lomond town not returned separately in 1930 and 1920.
[44] SHARP.—Sidney town incorporated in 1935. Ash Flat town not returned separately in 1930 and 1920.
[45] UNION.—Norphlet township organized from part of Smackover township, including Norphlet town, in 1938. No population reported in 1940 for Upland town; no longer functioning, but not disincorporated. For population of Junction City in Louisiana, see footnote on table 5.
[46] VAN BUREN.—Clinton town incorporated as a city in 1938; not returned separately in 1930 and 1920.
[47] WASHINGTON.—County totals for 1930 and 1920 include population (488 in 1930; 383 in 1920) of Wheeler township, annexed to Litteral and Wedington in 1938; total for 1930 also includes population (460) of Tontitown township, part, including Tontitown town, annexed to Elm Springs, and parts annexed to Harmon and Springdale, in 1938. Part of Elm Springs township annexed to Springdale in 1938, and parts of Prairie township annexed to Fayetteville city in 1934 and 1940.

TABLE 4.—POPULATION OF COUNTIES BY MINOR CIVIL DIVISIONS: 1920 TO 1940—Continued

MINOR CIVIL DIVISION	1940	1930	1920
Washington County—Con.			
Durham township	531	528	622
Dutch Mills township	382	336	600
Elm Springs township [47]	1,357	1,026	1,550
Elm Springs town	*166*	*182*	-------
Tontitown town [47]	*189*	*188*	*235*
Goshen township	616	690	740
Greenland township	847	690	-------
Greenland town	*114*	*127*	*147*
Harmon township [47]	627	734	625
Illinois township	668	782	883
Johnson township	895	953	-------
Lees Creek township	413	398	640
Litteral township [47]	794	431	484
Marrs Hill township	557	578	465
Morrow township	399	409	-------
Prairie township [47]	13,124	11,777	9,079
Fayetteville city [47]	*8,212*	*7,394*	*5,362*
Prairie Grove township	1,595	1,351	1,533
Prairie Grove town	*887*	*743*	*861*
Price township	407	506	450
Reed township	550	638	788
Rheas Mill township	366	329	397
Richland township	814	750	861
Springdale township [47]	5,133	4,129	3,844
Springdale city	*3,319*	*2,763*	*2,263*
Starr Hill township	1,613	1,552	1,359
Lincoln town	*780*	*687*	*534*
Valley township	667	695	709
Vineyard township	469	442	477
Wedington township [47]	288	309	389
West Fork township	928	987	1,050
West Fork town	*359*	*392*	*343*
White River township	639	576	677
Winslow township	1,226	1,456	1,210
Winslow town	*248*	*363*	*264*
Wyman township	281	275	375
White County	**37,176**	**38,269**	**34,603**
Albion township	230	201	234
Antioch township	435	495	555
Bald Knob township	3,028	2,684	2,053
Bald Knob town	*1,445*	*1,273*	*958*
Big Creek township	1,263	1,412	1,287
Pangburn town	*595*	*634*	*706*
Cadron township	369	436	914
Cane township	530	600	613
Chrisp township	363	379	439
Clay township	444	591	662
Cleveland township	115	176	239
Coffey township	592	750	701
Coldwell township	528	423	864
White County—Continued.			
Crosby township [48]	327	327	327
Cypert township	492	474	417
Denmark township	454	433	417
Des Arc township	626	734	520
Dogwood township	947	916	674
Griffithville town	*244*	*238*	*219*
El Paso township	451	588	630
Francure township	581	459	536
Garner township	513	633	528
Gravel Hill township	234	330	321
Gray township [48]	5,085	5,016	4,197
Searcy city [48]	*3,670*	*3,387*	*2,836*
Gum Springs township	594	676	559
Guthrie township	853	655	-------
Harrison township	3,411	3,279	2,786
Judsonia town	*1,011*	*1,123*	*899*
Hartsell township	602	590	547
Higginson township	606	614	603
Higginson town	*166*	*195*	*239*
Jackson township	308	271	476
Jefferson township	307	510	447
Joy township	416	462	-------
Kensett township	1,495	1,850	1,607
Kensett town	*827*	*889*	*480*
Kentucky township	983	1,268	1,162
Liberty township	1,519	1,484	1,131
Bradford town	*681*	*675*	*342*
McRae township	1,338	1,390	1,281
McRae town	*420*	*458*	*467*
Marion township	329	349	728
Letona town	*186*	*185*	*252*
Marshall township	598	681	563
Mount Pisgah township [48]	233	174	-------
Red River township	909	982	1,072
West Point town	*145*	*166*	*162*
Royal township	473	669	684
Russell township	1,002	931	921
Russell town	*206*	*174*	*172*
Union township	2,521	2,466	2,144
Beebe town	*1,189*	*1,108*	*995*
Velvet Ridge township	500	345	246
Walker township	482	566	518
Woodruff County	**22,133**	**22,682**	**21,547**
Augusta township	5,833	6,160	4,976
Augusta city [49]	*2,235*	*2,243*	*1,731*
Barnes township	1,269	1,232	1,035
Cache township	1,464	1,639	1,861
Caney township	1,134	1,029	1,321
Hunter town	*335*	*293*	*343*
Cotton Plant township	3,007	3,076	3,117
Cotton Plant town	*1,778*	*1,689*	*1,661*
Woodruff County—Con.			
Dent township	472	310	221
De View township	3,087	3,143	2,498
Grays town	*47*	*80*	-------
McCrory town	*1,010*	*924*	*687*
Patterson town	*284*	*276*	*261*
Franks township	525	523	512
Freeman township	1,031	1,096	1,388
Garden township	957	1,102	1,333
Point township	1,618	1,463	1,390
Pumpkin Bend township	516	474	352
White River township	1,220	1,435	1,543
Yell County	**20,970**	**21,313**	**25,655**
Bluffton township	532	696	789
Briggsville township	438	551	570
Centerville township	1,105	1,039	1,040
Chickalah township	17	171	254
Compton township	104	246	338
Crawford township	505	387	328
Danville township	1,665	1,170	1,519
Danville town	*1,010*	*761*	*838*
Dardanelle township	2,911	3,164	3,322
Dardanelle city	*1,807*	*1,832*	*1,835*
Dawson township	192	189	283
Delaware township	239	230	264
Dutch Creek township	356	423	571
Ferguson township	1,159	1,323	1,614
Belleville town	*411*	*401*	*410*
Galla Rock township	601	726	767
Gilkey township	411	389	441
Gravelly Hill township	676	722	882
Herring township	352	388	543
Ions Creek township	261	67	336
Lamar township	1,144	1,098	1,397
Plainview town	*704*	*654*	*990*
Lower Lafave township	285	505	669
Magazine township	1,062	843	1,267
Mason township	352	379	485
Birta town	*58*	*80*	-------
Mountain township	243	423	582
Prairie township	517	493	532
Reed Keathly township	297	228	377
Richland township	577	619	841
Riley township	1,177	946	1,132
Havana town	*449*	*370*	*449*
Rose Creek township	93	89	167
Rover township	354	509	711
Sulphur Springs township	285	253	343
Ward township	1,360	1,094	1,041
Ola town	*839*	*648*	*656*
Waveland township	585	582	664
Wilson township	1,115	1,371	1,587

[47] WASHINGTON.—For footnote, see preceding page.
[48] WHITE.—Part of Crosby township annexed to Mount Pisgah in 1933; part of Gray township annexed to Searcy city in 1936.
[49] WOODRUFF.—Augusta town incorporated as a city in 1931.

Incorporated places.—Table 5 shows the population in 1940 and 1930 of the incorporated places (cities and towns) in Arkansas. In this table the places are arranged in alphabetical order, each followed by the name of the county in which it is located. In table 6, the population of the cities of 5,000 or more is shown by wards.

TABLE 5.—POPULATION OF INCORPORATED PLACES: 1940 AND 1930

[The population of these places in 1920 is given in table 4. Places marked with an asterisk (*) were classified as urban in 1940]

CITY OR TOWN	County	1940	1930
Adona	Perry	218	200
Alexander	Pulaski / Saline	134	141
Algoa	Jackson	134	110
Alicia	Lawrence	333	342
Alma	Crawford	774	731
Almyra	Arkansas	233	287
Alpena	Boone	313	361
Altheimer	Jefferson	494	475
Altus	Franklin	541	595
Amity	Clark	608	608
Antoine	Pike	233	210
Arkadelphia*	Clark	5,078	3,380
Arkansas City	Desha	1,446	1,432
Arkinda	Little River	126	98
Ash Flat	Sharp	315	(1)
Ashdown	Little River	2,332	1,607
Athens	Howard	74	61
Atkins	Pope	1,322	1,364
Augusta	Woodruff	2,235	2,243
Austin Station	Lonoke	145	123
Bald Knob	White	1,445	1,273
Banks	Bradley	248	199
Bates	Scott	148	173
Batesville*	Independence	5,267	4,484
Bay	Craighead	357	300
Bearden	Ouachita	961	1,147
Bee Branch	Van Buren	151	141
Beebe	White	1,189	1,108
Belleville	Yell	411	401
Ben Lomond	Sevier	406	(1)
Benton*	Saline	3,502	3,445
Bentonville	Benton	2,359	2,203
Berryville	Carroll	1,482	1,286
Bigelow	Perry	377	338
Bigflat	Baxter	210	-------
Biggers	Randolph	456	466
Birta	Yell	58	30
Black Oak	Craighead	329	302
Black Rock	Lawrence	769	751
Black Springs	Montgomery	97	-------
Blevins	Hempstead	331	291
Blue Mountain	Logan	171	145
Blytheville*	Mississippi	10,652	10,098
Bonanza	Sebastian	486	406
Bono	Craighead	248	209
Booneville	Logan	2,324	2,099
Bradford	White	681	675
Bradley	Lafayette	409	363
Branch	Franklin	390	318
Brickeys	Lee	90	142
Brinkley*	Monroe	3,409	3,046
Brookland	Craighead	276	270
Bryant	Saline	173	162
Buckner	Lafayette	450	264
Burdette	Mississippi	110	155
Cabot	Lonoke	741	684
Calico Rock	Izard	738	659
Calion	Union	712	924
Camden*	Ouachita	8,975	7,273
Caraway	Craighead	477	425
Carlisle	Lonoke	1,080	907
Carthage	Dallas	687	558
Casa	Perry	245	269
Cash	Craighead	186	-------
Cave City	Sharp	427	296
Cave Springs	Benton	285	192
Cedarville	Crawford	111	58
Center Point	Howard	244	277
Centerton	Benton	219	206
Charleston	Franklin	958	851
Chester	Crawford	207	196
Chidester	Ouachita	508	399
Clarendon*	Monroe	2,551	2,149
Clarksville*	Johnson	3,118	3,031
Cleveland	Conway	99	132

[1] Not returned separately.

TABLE 5.—POPULATION OF INCORPORATED PLACES: 1940 AND 1930—Continued

[The population of these places in 1920 is given in table 4. Places marked with an asterisk (*) were classified as urban in 1940]

CITY OR TOWN	County	1940	1930
Clinton	Van Buren	915	(1)
Coal Hill	Johnson	1,040	1,169
Collins	Drew	222	200
Colt	St. Francis	259	267
Conway*	Faulkner	5,782	5,534
Corning	Clay	1,619	1,550
Cotter	Baxter	903	1,064
Cotton Plant	Woodruff	1,778	1,689
Cove	Polk	381	482
Crawfordsville	Crittenden	656	612
Crossett*	Ashley	4,891	2,811
Cushman	Independence	427	412
Daisy	Pike	82	100
Dalark	Dallas	152	157
Danville	Yell	1,010	761
Dardanelle	Yell	1,807	1,832
Datto	Clay	198	275
De Queen*	Sevier	3,055	2,938
De Valls Bluff	Prairie	686	672
De Witt	Arkansas	2,498	1,853
Decatur	Benton	358	413
Deckerville	Poinsett	30	42
Delaplaine	Greene	180	161
Delight	Pike	481	408
Dell	Mississippi	323	267
Denning	Franklin	341	384
Dermott*	Chicot	3,083	2,942
Des Arc	Prairie	1,410	1,348
Dierks	Howard	1,459	1,544
Douglas	Lincoln	4	5
Dover	Pope	493	510
Dryden	Craighead	51	48
Dumas	Desha	2,323	1,669
Dyer	Crawford	513	425
Earle	Crittenden	1,872	2,062
Edgemont	Cleburne	83	96
Edmonson	Crittenden	308	302
El Dorado*	Union	15,858	16,421
Elaine	Phillips	634	511
Elm Springs	Washington	156	182
Emerson	Columbia	501	373
Emmet	Nevada	465	387
England	Lonoke	2,027	2,130
Eudora	Chicot	1,808	2,020
Eureka Springs	Carroll	1,770	2,276
Evening Shade	Sharp	347	325
Everton	Boone	190	180
Fayetteville*	Washington	8,212	7,394
Felsenthal	Union	203	208
Fisher	Poinsett	205	259
Flippin	Marion	332	325
Fordyce*	Dallas	3,429	3,206
Forester	Scott	1,306	------
Forrest City*	St. Francis	5,699	4,594
Fort Smith*	Sebastian	36,584	31,429
Fouke	Miller	368	363
Fountain Hill	Ashley	267	215
Fourche	Perry	88	94
Franklin	Izard	100	------
Fredonia (Biscoe P. O.)	Prairie	395	402
Friendship	Hot Spring	272	------
Fulton	Hempstead	485	593
Garfield	Benton	104	------
Garland	Miller	325	425
Gassville	Baxter	228	227
Gateway	Benton	57	------
Gentry City	Benton	726	779
Gilbert	Searcy	106	116
Gillett	Arkansas	781	870
Gillham	Sevier	238	242
Glenwood	Pike	854	1,310
Gould	Lincoln	908	827
Grady	Lincoln	472	496
Grannis	Polk	225	(1)
Gravette	Benton	865	812
Grays	Woodruff	47	80
Graysonia	Clark	2	694
Green Forest	Carroll	755	745
Greenland	Washington	114	127
Greenway	Clay	303	367
Greenwood	Sebastian	1,219	591
Griffithville	White	244	238
Grubbs	Jackson	345	366
Guion	Izard	250	288
Gurdon	Clark	2,045	2,172
Hackett	Sebastian	436	316
Halley	Desha	119	120
Hamburg	Ashley	1,939	1,517
Hampton	Calhoun	686	669
Hardy	Sharp	721	508
Harrell	Calhoun	273	------
Harrisburg	Poinsett	1,193	1,111
Harrison*	Boone	4,238	3,626
Hartford	Sebastian	1,189	1,210
Hartman	Johnson	561	542
Haskell	Saline	171	180
Hatfield	Polk	437	382
Havana	Yell	449	370
Hazen	Prairie	819	787
Heber Springs	Cleburne	1,656	1,401
Helena*	Phillips	8,546	8,316
Hermitage	Bradley	344	419
Higden	Cleburne	181	142
Higginson	White	166	195
Holly Grove	Monroe	755	741
Hope*	Hempstead	7,475	6,008
Horatio	Sevier	809	1,028
Hot Springs*	Garland	21,370	20,238
Houston	Perry	287	345
Hoxie	Lawrence	1,466	1,448
Hughes	St. Francis	1,004	815
Humphrey	Arkansas / Jefferson	595	595
Hunter	Woodruff	335	293
Huntington	Sebastian	863	813
Huntsville	Madison	776	602
Huttig	Union	1,379	1,386
Imboden	Lawrence	525	564
Jacksonport	Jackson	215	196
Jamestown	Independence	76	66
Jasper	Newton	412	385
Jerome	Drew	112	97
Joiner	Mississippi	388	306
Jonesboro*	Craighead	11,729	10,326
Judsonia	White	1,011	1,123
Junction City [2]	Union	797	814
Keiser	Mississippi	452	------
Kelso	Desha	27	134
Kensett	White	827	889
Keo	Lonoke	253	267
Kimberley	Pike	54	56
Kingsland	Cleveland	473	328
Knobel	Clay	375	486
Ladelle	Drew	48	76
Lake City	Craighead	786	760
Lake Frances	Benton	30	------
Lake Village	Chicot	2,045	1,582
Lamar	Johnson	474	449
Lavaca	Sebastian	340	319
Leachville	Mississippi	1,076	1,157
Lead Hill	Boone	194	268
Leola	Grant	412	379
Lepanto	Poinsett	1,198	1,195
Leslie	Searcy	779	657
Letona	White	186	185
Levy	Pulaski	1,306	1,197
Lewisville	Lafayette	1,314	1,061
Lincoln	Washington	720	687
Little Rock*	Pulaski	88,039	81,679
Lockesburg	Sevier	764	747
London	Pope	418	355
Lonoke	Lonoke	1,715	1,674
Lonsdale	Garland	119	153
Louann	Ouachita	492	910
Lowell	Benton	271	262
Luxora	Mississippi	1,258	1,074
McCaskill	Hempstead	236	170
McCrory	Woodruff	1,010	924
McGehee*	Desha	3,663	3,488
McNab	Hempstead	144	223
McNeil	Columbia	694	460
McRae	White	420	458
Madison	St. Francis	838	634
Magazine	Logan	385	560
Magness	Independence	226	179
Magnolia*	Columbia	4,326	3,008
Malvern*	Hot Spring	5,290	5,115
Mammoth Springs	Fulton	666	600
Manila	Mississippi	1,248	1,226
Mansfield	Scott / Sebastian	1,002	919
Marianna*	Lee	4,449	4,314
Marion	Crittenden	758	(1)
Marked Tree*	Poinsett	2,685	2,276
Marmaduke	Greene	677	894
Marshall	Searcy	822	638
Marvell	Phillips	830	624
Mauldin	Montgomery	(3)	896
Mayflower	Faulkner	165	188
Maynard	Randolph	266	259
Melbourne	Izard	567	380
Mena*	Polk	3,510	3,118
Midland	Sebastian	560	373
Mineral Springs	Howard	731	712
Minturn	Lawrence	133	189
Monette	Craighead	1,074	1,111
Monticello*	Drew	3,650	3,076
Montrose	Ashley	343	431
Moro	Lee	278	187
Morrilton*	Conway	4,608	4,043
Mount Ida	Montgomery	490	512
Mountain Home	Baxter	927	585
Mountainburg	Crawford	185	213
Mountainview	Stone	745	458
Mulberry	Crawford	973	895
Murfreesboro	Pike	835	733
Nashville*	Howard	2,782	2,469
Nettleton	Craighead	969	748
Newark	Independence	802	897
Newport*	Jackson	4,321	4,547
New Rocky Comfort (Foreman P. O.)	Little River	1,007	1,056
Nimmons	Clay	217	193
Norfork	Baxter	304	247
Norman	Montgomery	512	478
Norphlet	Union	695	1,063
North Little Rock*	Pulaski	21,137	19,418
Norvell	Crittenden	381	236
Oden	Montgomery	102	(1)
Ogden	Little River	225	305
O'Kean	Randolph	138	184
Okolona	Clark	525	460
Ola	Yell	839	648
Omaha	Boone	146	------
Osceola*	Mississippi	3,226	2,573
Ozan	Hempstead	133	124
Ozark	Franklin	1,402	1,564
Palestine	St. Francis	345	209
Pangburn	White	595	634
Paragould*	Greene	7,079	5,906
Paraloma	Sevier	143	384
Paris*	Logan	3,430	3,234
Parkdale	Ashley	278	371
Parkin	Cross	1,412	1,676
Patterson	Woodruff	284	276
Pea Ridge	Benton	72	------
Peach Orchard	Clay	374	361
Perry	Perry	377	387
Perryville	Perry	577	341
Piggott	Clay	2,034	1,885
Pike City	Pike	113	124
Pine Bluff*	Jefferson	21,290	20,760
Plainview	Yell	704	654
Pleasant Plains	Independence	156	135
Plummerville	Conway	541	613
Pocahontas*	Randolph	3,028	1,896
Pollard	Clay	169	173
Portia	Lawrence	393	416
Portland	Ashley	518	543
Pottsville	Pope	308	293
Powhatan	Lawrence	137	110
Prairie Grove	Washington	887	743
Prescott*	Nevada	3,177	3,033
Princeton	Dallas	238	151
Pyatt	Marion	224	254
Quitman	Cleburne	393	333
Ratcliff	Logan	337	231
Ravenden	Lawrence	240	(1)
Ravenden Springs	Randolph	200	175
Reader	Ouachita	145	251
Readland	Chicot	150	140
Rector	Clay	1,736	1,617
Redfield	Jefferson	339	350
Reyno	Randolph	346	314
Rison	Cleveland	1,005	876
Rogers*	Benton	3,550	3,554
Rohwer	Desha	142	58

[1] Not returned separately.
[2] Population of Junction City, Claiborne and Union Parishes, La.: 355 in 1940; 388 in 1930.
[3] No population reported in 1940.

TABLE 5.—POPULATION OF INCORPORATED PLACES: 1940 AND 1930—Continued

[The population of these places in 1920 is given in table 4. Places marked with an asterisk (*) were classified as urban in 1940

CITY OR TOWN	County	1940	1930	CITY OR TOWN	County	1940	1930	CITY OR TOWN	County	1940	1930
Rondo	Lee	201	274	Strong	Union	762	740	Ward	Lonoke	283	275
Rosboro	Pike	131	581	Stuttgart*	Arkansas	5,628	4,927	Warren*	Bradley	2,516	2,523
Rudy	Crawford	89		Subiaco	Logan	202	195	Washington	Hempstead	432	457
Russell	White	206	174	Success	Clay	281	308	Watson	Desha	236	282
Russellville*	Pope	5,927	5,628	Sulphur Rock	Independence	181	177	Weiner	Poinsett	447	537
St. Charles	Arkansas	412	245	Sulphur Springs	Benton	435	404	Wesson	Union	245	263
St. Francis	Clay	266	294	Summit	Marion	198	122	West Crossett	Ashley	127	
St. Joe	Searcy	213	255	Swifton	Jackson	484	488	West Fork	Washington	359	392
St. Paul	Madison	211	198	Taylor	Columbia	335	263	West Helena*	Phillips	4,717	4,489
Salem	Fulton	574	481	Texarkana* [4]	Miller	11,821	10,764	West Memphis*	Crittenden	3,369	895
Saratoga	Howard	266	279	Tillar	Drew	229	267	West Point	White	145	166
Scranton	Logan	322	332	Tinsman	Calhoun	258	177	Wheatley	St. Francis	362	305
Searcy*	White	3,670	3,387	Tontitown	Washington	189	188	Whelen Springs	Clark	214	194
Sedgwick	Lawrence	152	137	Traskwood	Saline	226	225	Wickes	Polk	121	182
Sheridan	Grant	1,338	1,590	Trumann*	Poinsett	3,381	2,995	Widener	St. Francis	225	235
Sherrill	Jefferson	258		Tuckerman	Jackson	875	938	Williford	Sharp	272	279
Shiloh	Cleburne	127	188	Tupelo	Jackson	249	264	Wilmar	Drew	695	627
Shirley	Van Buren	365	292	Turrell	Crittenden	515	456	Wilmot	Ashley	625	777
Sidney	Sharp	153		Tyronza	Poinsett	639	573	Wilton	Little River	319	313
Siloam Springs*	Benton	2,764	2,378	Ulm	Prairie	146	152	Winchester	Drew	171	221
Smackover	Union	2,235	2,544	Umpire	Howard	74	91	Winslow	Washington	248	363
Smale	Monroe	22		Upland	Union	(3)	4	Winthrop	Little River	336	331
Snow Lake	Desha	113	193	Van Buren*	Crawford	5,422	5,182	Wynne*	Cross	3,633	3,505
South Bend	Lincoln	1	3	Varner	Lincoln	5	85	Yellville	Marion	546	478
Sparkman	Dallas	840	711	Vilonia	Faulkner	259		Zinc	Boone	119	188
Springdale*	Washington	3,319	2,763	Wabbaseka	Jefferson	258	333				
Springtown	Benton	104	97	Walcott	Greene	122	98				
Stamps	Lafayette	2,405	2,705	Waldo	Columbia	1,240	942				
Star City	Lincoln	1,090	932	Waldron	Scott	1,298	1,077				
Stephens	Ouachita	998	1,045	Walnut Ridge	Lawrence	2,013	2,007				

[3] No population reported in 1940.

[4] Population of Texarkana city, Bowie County, Tex.: 17,019 in 1940; 16,602 in 1930.

TABLE 6.—POPULATION OF CITIES OF 5,000 OR MORE BY WARDS: 1940

CITY AND WARD	Population	CITY AND WARD	Population	CITY AND WARD	Population	CITY AND WARD	Population
Arkadelphia	5,078	**Fayetteville**	8,212	**Hot Springs—Continued.**		**Paragould**	7,079
Ward 1	1,206	Ward 1	2,006	Ward 4	1,723	Ward 1	2,266
Ward 2	1,835	Ward 2	2,333	Ward 5	1,602	Ward 2	2,133
Ward 3	2,037	Ward 3	2,456	Ward 6	2,378	Ward 3	2,680
Batesville	5,267	Ward 4	1,417	Ward 7	2,911	**Pine Bluff**	21,290
Ward 1	1,333	**Forrest City**	5,699	Ward 8	1,486	Ward 1	4,481
Ward 2	1,208	Ward 1	1,281	**Jonesboro**	11,729	Ward 2	4,755
Ward 3	1,189	Ward 2	2,875	Ward 1	2,487	Ward 3	6,761
Ward 4	1,537	Ward 3	1,543	Ward 2	1,845	Ward 4	5,293
Blytheville	10,652	**Fort Smith**	36,584	Ward 3	3,314	**Russellville**	5,927
Ward 1	4,790	Ward 1	9,586	Ward 4	2,366	Ward 1	2,545
Ward 2	3,375	Ward 2	8,590	Ward 5	1,717	Ward 2	1,650
Ward 3	2,487	Ward 3	9,512	**Little Rock**	88,039	Ward 3	1,732
Camden	8,975	Ward 4	8,896	Ward 1	[1] 13,220	**Stuttgart**	5,628
Ward 1	2,009	**Helena**	8,546	Ward 2	9,950	Ward 1	2,722
Ward 2	1,841	Ward 1	2,849	Ward 3	[1] 11,282	Ward 2	1,593
Ward 3	3,518	Ward 2	1,404	Ward 4	7,103	Ward 3	1,313
Ward 4	1,607	Ward 3	2,486	Ward 5	[1] 5,942	**Texarkana**	11,821
Conway	5,782	Ward 4	1,807	Ward 6	4,525	Ward 1	4,473
Ward 1	2,265	**Hope**	7,475	Ward 7	7,810	Ward 2	612
Ward 2	899	Ward 1	2,705	Ward 8	19,867	Ward 3	3,707
Ward 3	1,832	Ward 2	1,549	Ward 9	8,340	Ward 4	3,029
Ward 4	786	Ward 3	764	**Malvern**	5,290	**Van Buren**	5,422
El Dorado	15,858	Ward 4	2,457	Ward 1	1,358	Ward 1	1,368
Ward 1	3,339	**Hot Springs**	21,370	Ward 2	1,419	Ward 2	1,969
Ward 2	3,925	Ward 1	2,326	Ward 3	1,606	Ward 3	2,085
Ward 3	4,660	Ward 2	5,318	Ward 4	907		
Ward 4	3,934	Ward 3	3,626	**North Little Rock**	21,137		
				Ward 1	3,190		
				Ward 2	5,305		
				Ward 3	4,097		
				Ward 4	6,778		
				Ward 5	1,767		

[1] Subsequent to the tabulations, information was received that an institution located in ward 5 was erroneously accredited to wards 1 and 3. The corrected figures are as follows: Ward 1, 13,216; ward 3, 11,238; ward 5, 5,990.

Metropolitan districts.—Metropolitan districts have been set up for use in the 1940 Census of Population in connection with each city of 50,000 or more, two or more such cities sometimes being in one district. The general plan is to include in the district, in addition to the central city or cities, all adjacent and contiguous minor civil divisions having a population of 150 or more per square mile. In some metropolitan districts a few less densely populated contiguous divisions are included on the basis of special qualifications. A metropolitan district is thus not a political unit but rather an area including all the thickly settled territory in and around a city or group of cities. It tends to be a more or less integrated area with common economic, social, and, often, administrative interests.

Table 7 shows the population of the Little Rock metropolitan district and its constituent political units in 1940 and 1930, together with the increase during the decade. In 1940 the Little Rock metropolitan district had 126,724 inhabitants, whereas in 1930 the district had a population of 113,137. The metropolitan district in 1940 consisted of exactly the same political units as in 1930.

Part of the Memphis metropolitan district is situated in Arkansas. Data for this metropolitan district are presented in the bulletin for Tennessee.

TABLE 7.—POPULATION OF THE LITTLE ROCK METROPOLITAN DISTRICT: 1940 AND 1930

AREA	POPULATION		INCREASE	
	1940	1930	Number	Percent
The metropolitan district	**126,724**	**113,137**	**13,587**	**12.0**
Little Rock city [1]	88,039	81,679	6,360	7.8
Outside city	38,685	31,458	7,227	23.0
Incorporated places	22,443	20,615	1,828	8.9
Levy town	1,306	1,197	109	9.1
North Little Rock city	21,137	19,418	1,719	8.9
Unincorporated areas	16,242	10,843	5,399	49.8
District includes following minor civil divisions (townships):				
In Pulaski County	126,724	113,137	13,587	12.0
Badgett township	3,242	2,821	421	14.9
Big Rock township [1] (including Little Rock city)	94,537	85,831	8,706	10.1
Hill township (including Levy town and North Little Rock city)	28,945	24,485	4,460	18.2

[1] Part of Big Rock township annexed to Little Rock city in 1933.

LITTLE ROCK METROPOLITAN DISTRICT

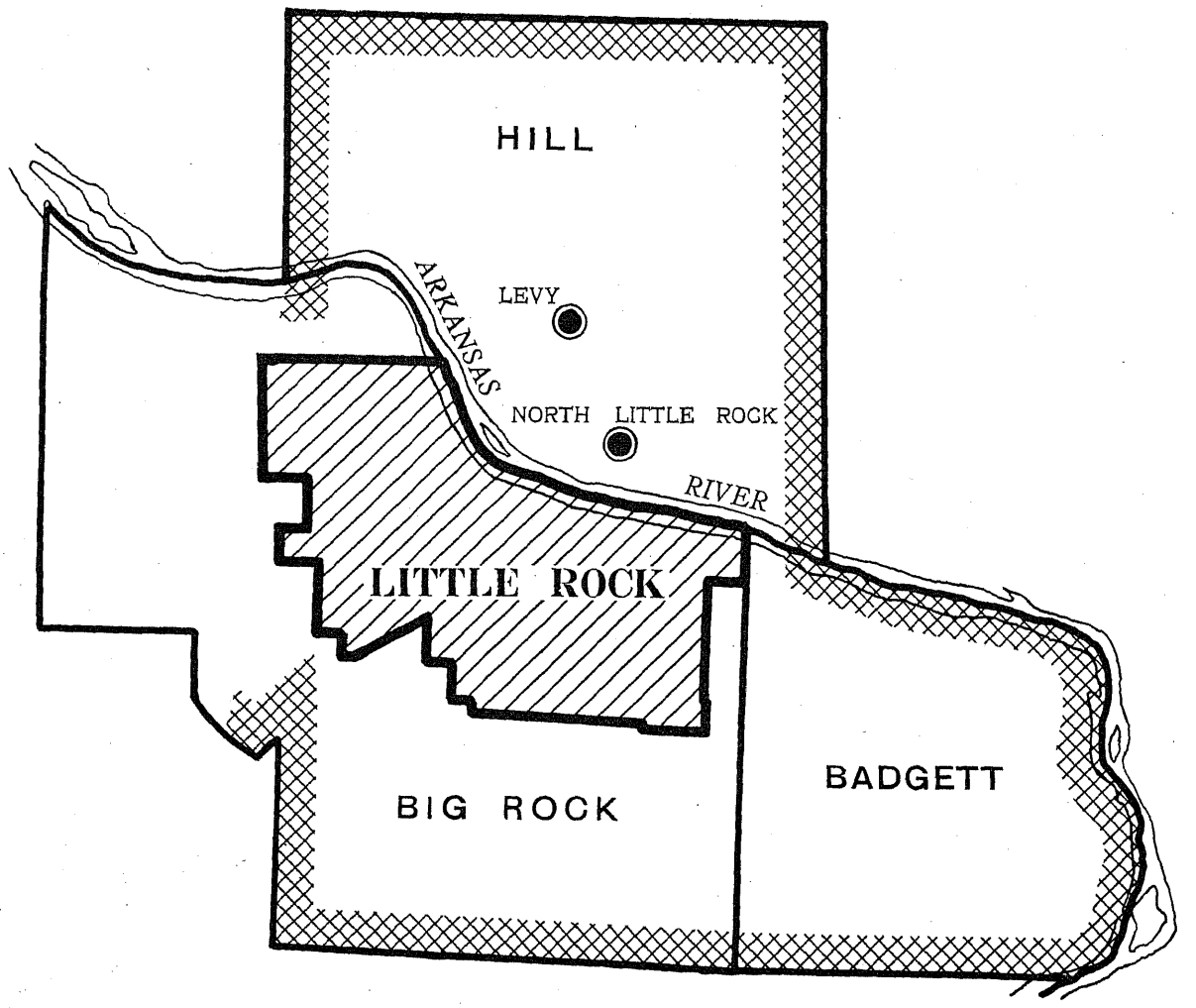

CALIFORNIA

CONTENTS

	Page
MAP.—California by minor civil divisions (4 sections)	114
DIAGRAM.—Urban and rural population of California: 1850 to 1940	119

TABLES

TABLE 1.—Population of California, urban and rural: 1850 to 1940	119
TABLE 2.—Population of cities of 10,000 or more from earliest census to 1940	120
TABLE 3.—Area and population of counties, urban and rural: 1920 to 1940	122
TABLE 4.—Population of counties by minor civil divisions: 1920 to 1940	123
TABLE 5.—Population of incorporated and urban places: 1940 and 1930	127
TABLE 6.—Population of cities of 5,000 or more by wards: 1940	128
TABLE 7.—Population of the Fresno metropolitan district: 1940 and 1930	129
TABLE 7-A.—Population of the Los Angeles metropolitan district: 1940 and 1930	129
TABLE 7-B.—Population of the Sacramento metropolitan district: 1940 and 1930	130
TABLE 7-C.—Population of the San Diego metropolitan district: 1940 and 1930	130
TABLE 7-D.—Population of the San Francisco-Oakland metropolitan district: 1940 and 1930	131
TABLE 7-E.—Population of the San Jose metropolitan district: 1940 and 1930	132
TABLE 7-F.—Population of the Stockton metropolitan district: 1940 and 1930	132
TABLE 8.—Population of Los Angeles, Long Beach, and adjacent areas, by census tracts: 1940	133
TABLE 8-A.—Population of Oakland, Berkeley, and adjacent areas, by census tracts: 1940	134
TABLE 8-B.—Population of San Francisco by census tracts: 1940	135

MAPS FOR CENSUS TRACTS AND METROPOLITAN DISTRICTS

CENSUS TRACTS

	Page
Los Angeles, Long Beach, and adjacent areas	136
Oakland, Berkeley, and adjacent areas	144
San Francisco	145

METROPOLITAN DISTRICTS

	Page
Fresno	146
Los Angeles	147
Sacramento	148
San Diego	149
San Francisco-Oakland	150
San Jose	151
Stockton	151

CALIFORNIA—NORTHERN AND CENTRAL PARTS

MINOR CIVIL DIVISIONS—JUDICIAL TOWNSHIPS

[For detail of San Francisco area, see page 117]

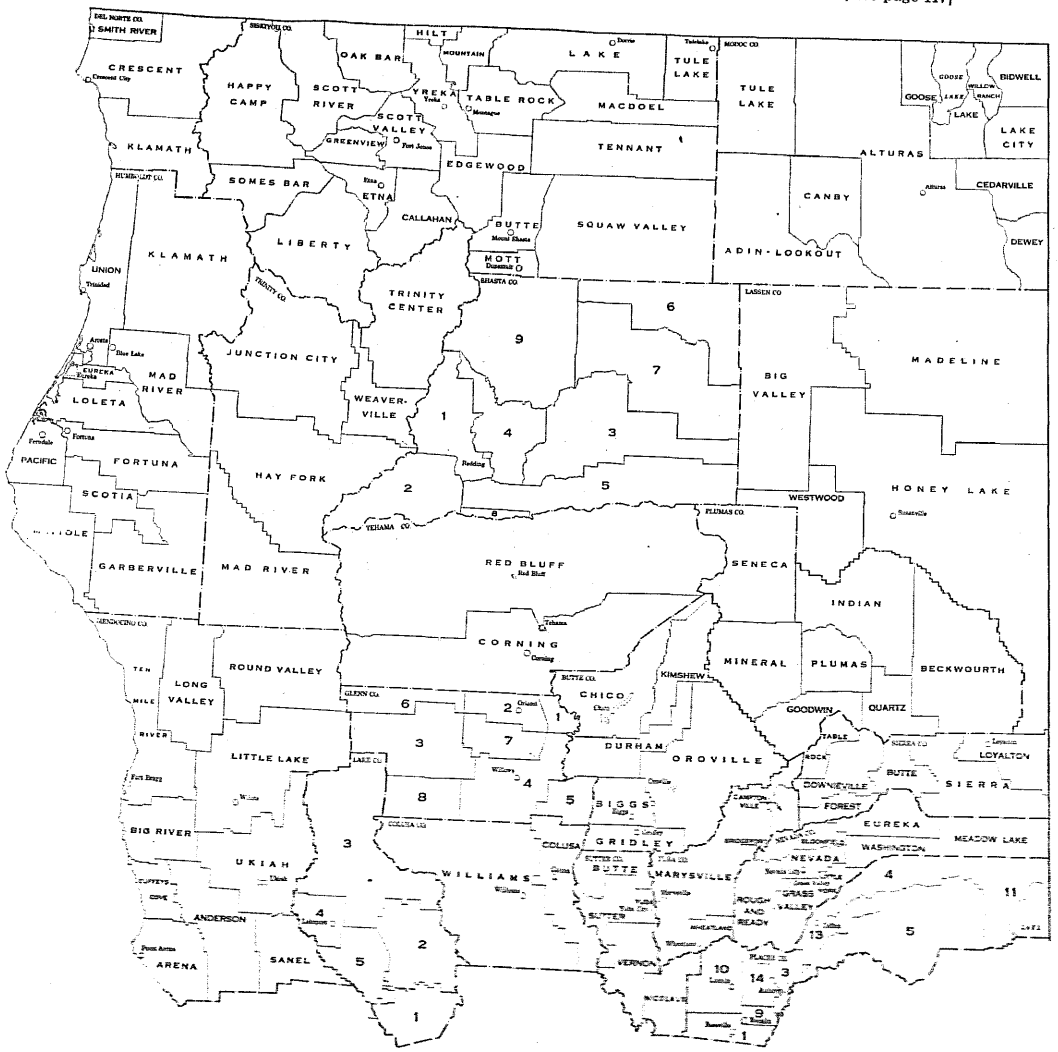

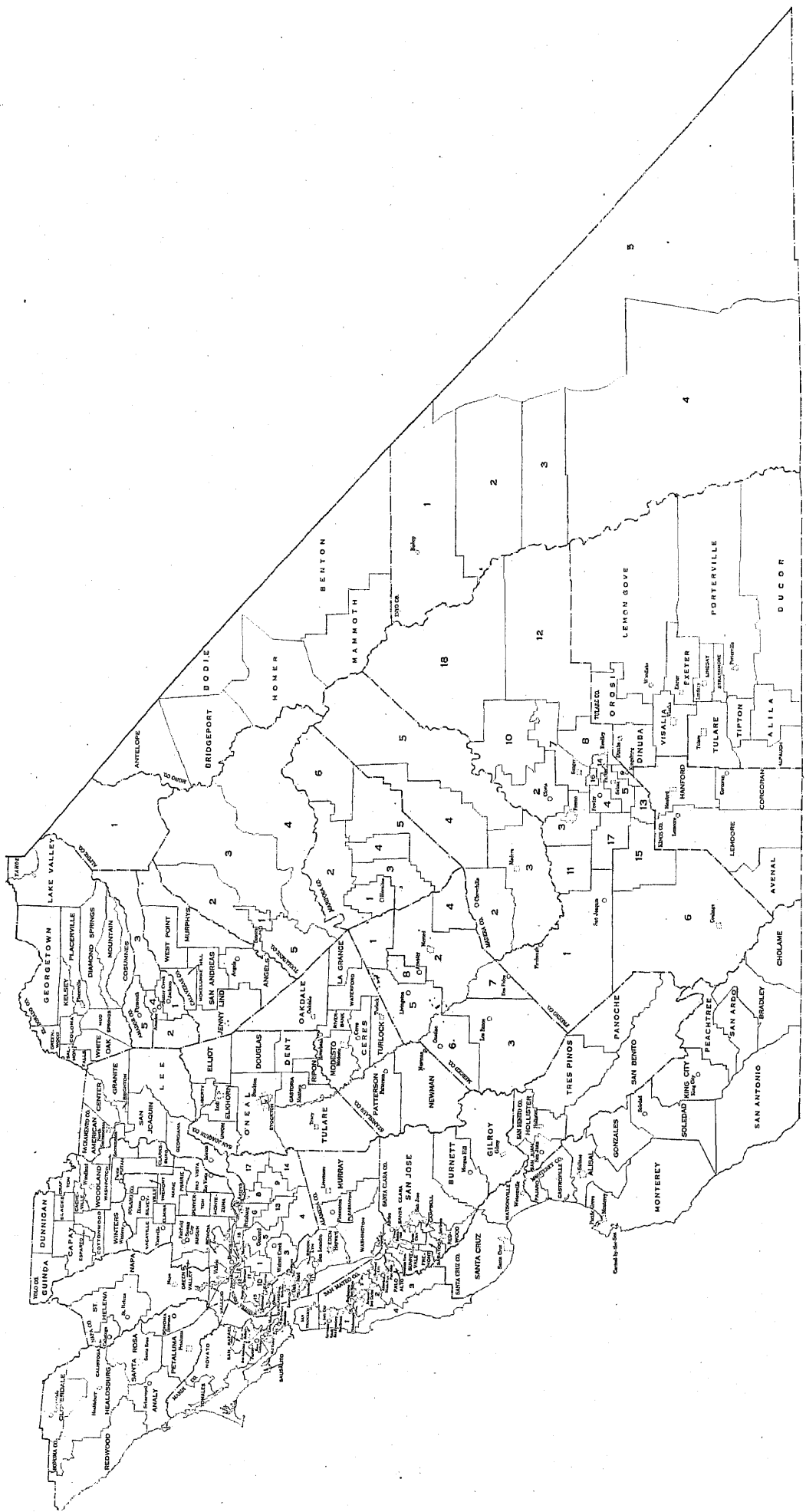
BENTON
MAMMOTH
HOMER
BODIE
BRIDGEPORT
ANTELOPE
LEMON GOVE
PORTERVILLE
DUCOR
OROSI
EXETER
VISALIA
DINUBA
TULARE
TIPTON
ALILA
HANFORD
CORCORAN
LEMOORE
AVENAL
CHOLAME
LAKE VALLEY
GEORGETOWN
PLACERVILLE
DIAMOND SPRINGS
MOUNTAIN
COSUMNES
WEST POINT
MURPHYS
SAN ANDREAS
ANGELS
LA GRANGE
OAKDALE
JENNY LIND
WHITE OAK
ELLIOT
DOUGLAS
DENT
RIPON
MODESTO
CERES
TURLOCK
PATTERSON
NEWMAN
LEE
GRANITE
CENTER
SAN JOAQUIN
O'NEAL
TULARE
MURRAY
SAN JOSE
BURNETT
GILROY
HOLLISTER
TRES PINOS
PANOCHE
SAN BENITO
PEACHTREE
SAN ARDO
BRADLEY
KING CITY
SOLEDAD
SAN ANTONIO
GONZALES
ALISAL
MONTEREY
SANTA CRUZ
DUNNIGAN
CAPAY
WOODLAND
WINTERS
NAPA
GUINDA
ST. HELENA
SANTA ROSA
PETALUMA
NOVATO
ANALY
HEALDSBURG
REDWOOD
CLOVERDALE

CALIFORNIA—SOUTHERN PART

MINOR CIVIL DIVISIONS—JUDICIAL TOWNSHIPS

[For detail of Los Angeles area, see page 117]

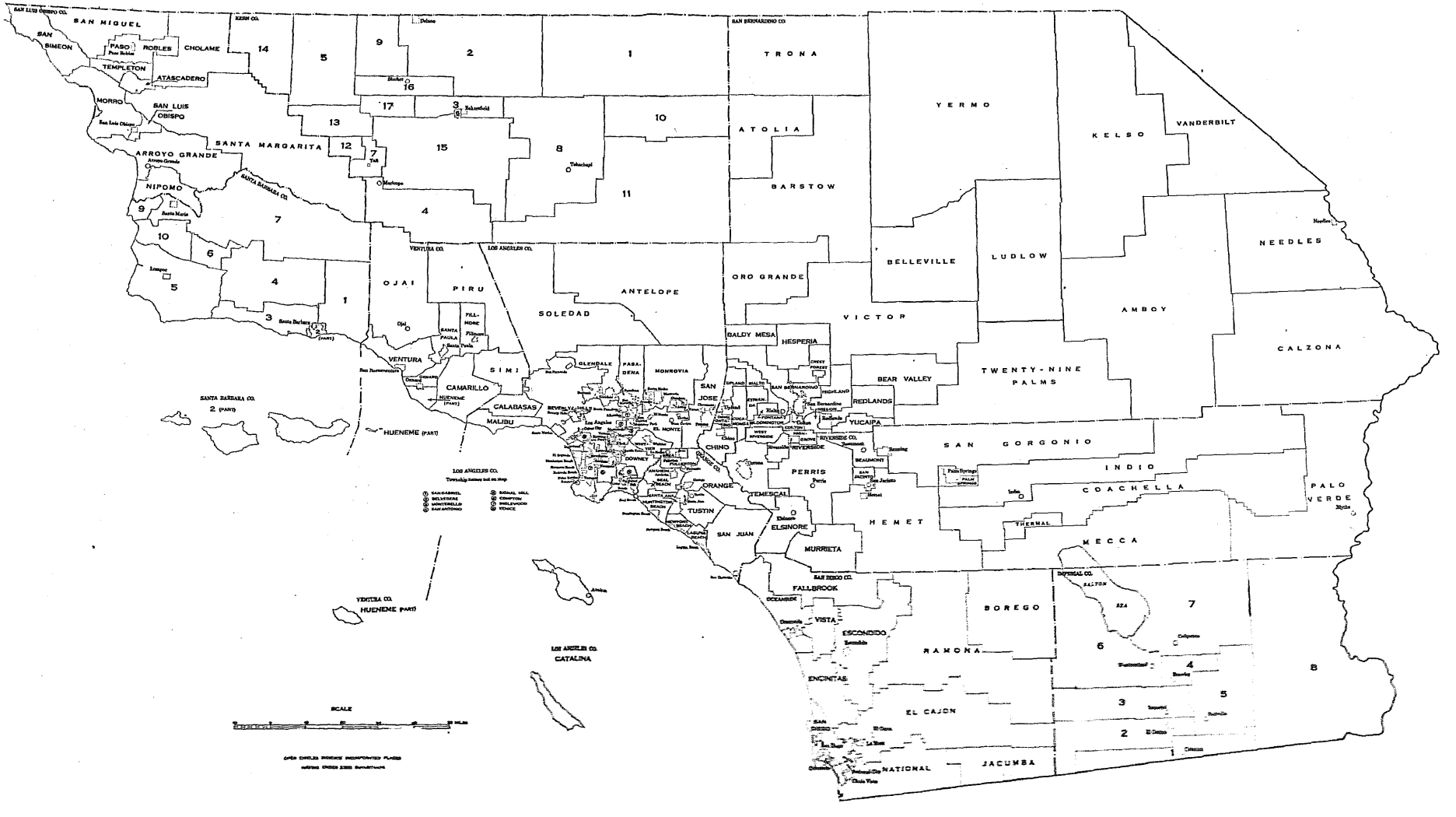

CALIFORNIA—SAN FRANCISCO AND LOS ANGELES AREAS

MINOR CIVIL DIVISIONS—JUDICIAL TOWNSHIPS

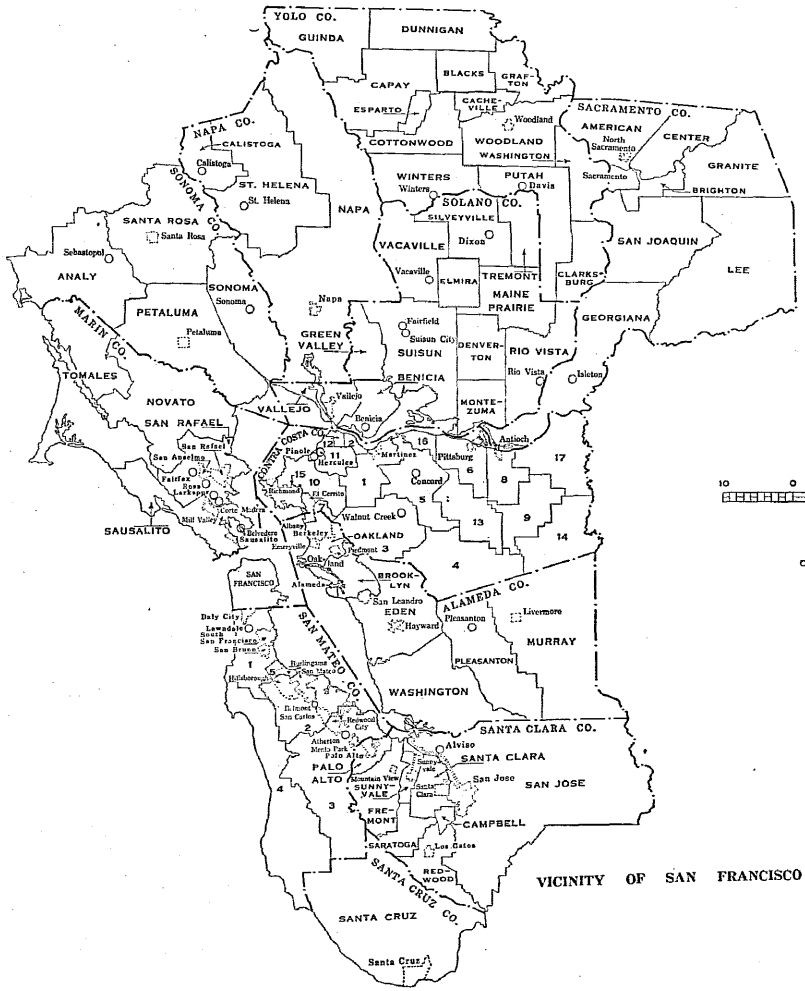

VICINITY OF SAN FRANCISCO

SCALE

10 0 10 20 30 40 50 MILES

OPEN CIRCLES INDICATE INCORPORATED PLACES
HAVING UNDER 2500 INHABITANTS

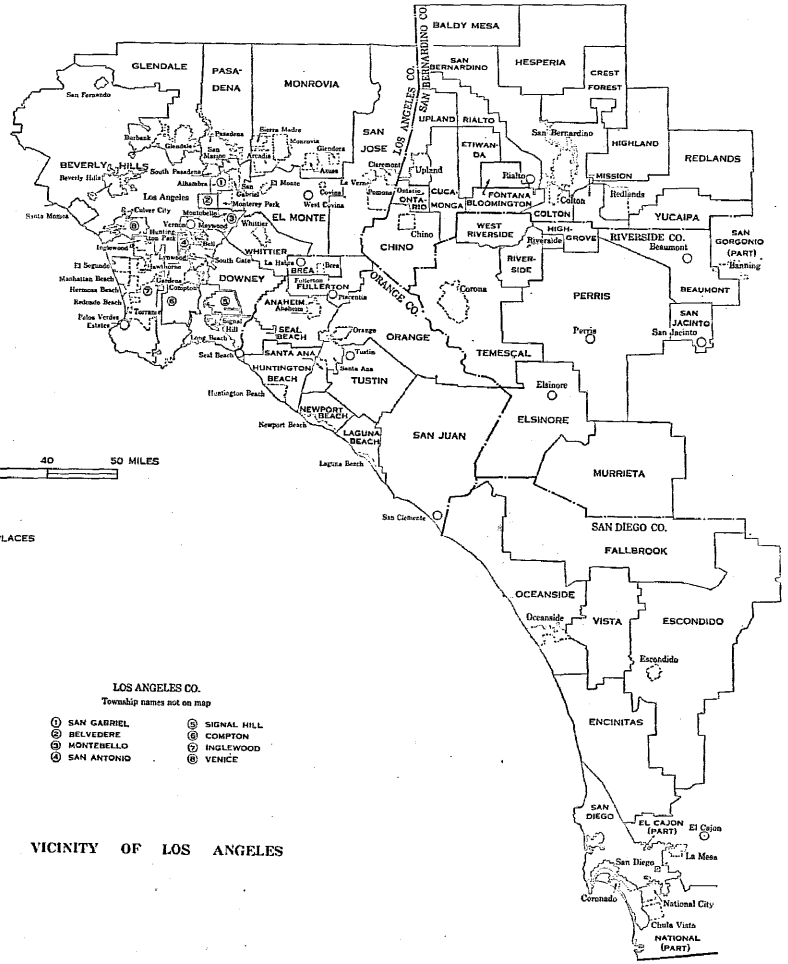

LOS ANGELES CO.
Township names not on map

1. SAN GABRIEL
2. BELVEDERE
3. MONTEBELLO
4. SAN ANTONIO
5. SIGNAL HILL
6. COMPTON
7. INGLEWOOD
8. VENICE

VICINITY OF LOS ANGELES

CALIFORNIA

NUMBER OF INHABITANTS

Population of the State.—California was organized as a State from a part of the area acquired from Mexico in 1848, and was admitted to the Union as the thirty-first State in 1850, with boundaries as at present. Its population on April 1, 1940, according to the Sixteenth Census, was 6,907,387, which represents an increase of 1,230,136, or 21.7 percent, as compared with the population on April 1, 1930. The total land area of the State, as shown in table 3, is 156,803 square miles. The average number of inhabitants per square mile in 1940 was 44.1, as compared with 36.2 in 1930.

Table 1 shows the population of California from 1850, the year in which its area was first enumerated, to 1940, together with the increase during each decade. The urban and rural population of the State at each census is presented in this table and is also shown graphically in the accompanying chart. The urban population of California, as defined by the Census Bureau, consists mainly of those persons living in incorporated places of 2,500 or more. It also includes the population of one township (not incorporated as a municipality nor containing any areas so incorporated) [1] that had a total population of more than 10,000 and a population density of more than 1,000 per square mile. The remainder of the population is classified as rural. The urban and rural areas are not necessarily constant from one census to the next, since new places are added to the urban list from time to time as they meet the requirements. Places are likewise taken off the urban list when, through decline in population, they no longer meet the requirements. For example, Benicia qualified as urban in 1920 and 1930, but not in 1910 or 1940.

[1] Belvedere, in Los Angeles County.

TABLE 1.—POPULATION OF CALIFORNIA, URBAN AND RURAL: 1850 TO 1940

[Urban-rural classification in accordance with 1940 definitions]

CENSUS YEAR	THE STATE			URBAN PLACES				RURAL TERRITORY			PERCENT OF TOTAL	
	Population	Increase over preceding census		Number of places	Population	Increase over preceding census		Population	Increase over preceding census		Urban	Rural
		Number	Percent			Number	Percent		Number	Percent		
1940	6,907,387	1,230,136	21.7	167	4,902,265	741,669	17.8	2,005,122	488,467	32.2	71.0	29.0
1930	5,677,251	2,250,390	65.7	155	[1] 4,160,596	1,833,637	78.8	[1] 1,516,655	416,753	37.9	73.3	26.7
1920	3,426,861	1,049,312	44.1	107	[1] 2,326,959	858,540	58.5	[1] 1,099,902	190,772	21.0	67.9	32.1
1910	2,377,549	892,496	60.1	70	1,468,419	691,599	89.0	909,130	200,897	28.4	61.8	38.2
1900	1,485,053	271,655	22.4	40	776,820	187,356	31.8	708,233	84,299	13.5	52.3	47.7
1890	1,213,398	348,704	40.3	33	589,464	218,853	59.1	623,934	129,851	26.3	48.6	51.4
1880	864,694	304,447	54.3	18	370,611	162,173	77.8	494,083	142,274	40.4	42.9	57.1
1870	560,247	180,253	47.4	8	208,438	129,787	165.0	351,809	50,466	16.7	37.2	62.8
1860	379,994	[2] 287,397	310.4	4	78,651	71,831	1,053.2	301,343	215,566	251.3	20.7	79.3
1850	[2] 92,597			1	6,820			85,777			7.4	92.6

[1] Urban and rural figures for 1930 and 1920 do not take account of correction made in the population of Vallejo city for these dates; see explanatory note on Solano County, table 4.

[2] Returns for 1850 incomplete, those for Contra Costa and Santa Clara Counties having been lost and those for San Francisco having been destroyed by fire.

URBAN AND RURAL POPULATION OF CALIFORNIA: 1850 TO 1940

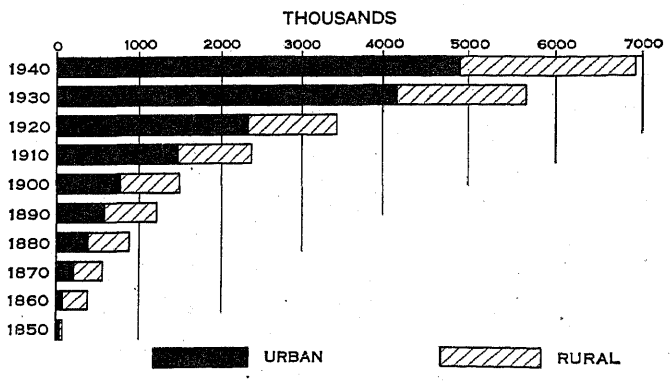

Geographic subdivisions.—In tables 2 to 5 the population of California is shown by counties, judicial townships, cities, and towns, with some comparative figures from previous censuses. Table 6 gives the population of cities by wards or assembly districts. Data for the metropolitan districts are presented in tables 7 to 7–F and for the census tracts of the tracted cities and adjacent areas in tables 8, 8–A, and 8–B.

Cities of 10,000 or more.—There are 59 cities in the State that had a population of 10,000 or more in 1940. Table 2 shows the population of these cities at each census for which figures are available, together with the increase or decrease during each decade. Los Angeles, the largest city, had a population in 1940 of 1,504,277; and Sacramento, the capital of the State, had a population of 105,958.

TABLE 2.—POPULATION OF CITIES OF 10,000 OR MORE FROM EARLIEST CENSUS TO 1940

[A minus sign (−) denotes decrease. Percent not shown where less than 0.1]

CITY AND CENSUS YEAR	Population	INCREASE OVER PRECEDING CENSUS	
		Number	Percent
Alameda:			
1940	36,256	1,223	3.5
1930	35,033	6,227	21.6
1920	28,806	5,423	23.2
1910	23,383	6,919	42.0
1900	16,464	5,299	47.5
1890	11,165	5,457	95.6
1880	5,708	4,151	266.6
1870	1,557	1,097	238.5
1860	460		
Albany:			
1940	11,493	2,924	34.1
1930	8,569	6,107	248.1
1920	2,462	1,654	204.7
1910	808		
Alhambra:			
1940	38,935	9,463	32.1
1930	29,472	20,376	224.0
1920	9,096	4,075	81.2
1910	5,021		
Anaheim:			
1940	11,031	36	0.3
1930	10,995	5,469	99.0
1920	5,526	2,898	110.3
1910	2,628	1,172	80.5
1900	1,456	183	14.4
1890	1,273	440	52.8
1880	833	−48	−5.4
1870	881		
Bakersfield:			
1940	29,252	3,237	12.4
1930	26,015	7,377	39.6
1920	18,638	5,911	46.4
1910	12,727	7,891	163.2
1900	4,836	2,210	84.2
1890	2,626		
Bell:			
1940	11,264	3,380	42.9
1930	7,884		
Berkeley:			
1940	85,547	3,438	4.2
1930	82,109	26,073	46.5
1920	56,036	15,602	38.6
1910	40,434	27,220	206.0
1900	13,214	8,113	159.0
1890	5,101		
Beverly Hills:			
1940	26,823	9,394	53.9
1930	17,429	16,755	2,485.9
1920	674		
Brawley:			
1940	11,718	1,279	12.3
1930	10,439	5,050	93.7
1920	5,389	4,508	511.7
1910	881		
Burbank:			
1940	34,337	17,675	106.1
1930	16,662	13,749	472.0
1920	2,913		
Burlingame:			
1940	15,940	2,670	20.1
1930	13,270	9,163	223.1
1920	4,107	2,542	162.4
1910	1,565		
Compton:			
1940	16,198	3,682	29.4
1930	12,516	11,038	746.8
1920	1,478	556	60.3
1910	922		
El Centro:			
1940	10,017	1,583	18.8
1930	8,434	2,970	54.4
1920	5,464	3,854	239.4
1910	1,610		
Eureka:			
1940	17,055	1,303	8.3
1930	15,752	2,829	21.9
1920	12,923	1,078	9.1
1910	11,845	4,518	61.7
1900	7,327	2,469	50.8
1890	4,858	2,219	84.1
1880	2,639		
Fresno:			
1940	60,685	8,172	15.6
1930	52,513	7,427	16.5
1920	45,086	20,194	81.1
1910	24,892	12,422	99.6
1900	12,470	1,652	15.3
1890	10,818	9,706	872.8
1880	1,112		
Fullerton:			
1940	10,442	−418	−3.8
1930	10,860	6,445	146.0
1920	4,415	2,690	155.9
1910	1,725		
Glendale:			
1940	82,582	19,846	31.6
1930	62,736	49,200	363.5
1920	13,536	10,790	392.9
1910	2,746		
Huntington Park:			
1940	28,648	4,057	16.5
1930	24,591	20,078	444.9
1920	4,513	3,214	247.4
1910	1,299		
Inglewood:			
1940	30,114	10,634	54.6
1930	19,480	16,194	492.8
1920	3,286	1,750	113.9
1910	1,536		
Lodi:			
1940	11,079	4,291	63.2
1930	6,788	1,938	40.0
1920	4,850	2,153	79.8
1910	2,697		
Long Beach:			
1940	164,271	22,239	15.7
1930	142,032	86,439	155.5
1920	55,593	37,784	212.2
1910	17,809	15,557	690.8
1900	2,252	1,688	299.3
1890	564		
Los Angeles:			
1940	1,504,277	266,229	21.5
1930	1,238,048	661,375	114.7
1920	576,673	257,475	80.7
1910	319,198	216,719	211.5
1900	102,479	52,084	103.4
1890	50,395	39,212	350.6
1880	11,183	5,455	95.2
1870	5,728	1,343	30.6
1860	4,385	2,775	172.4
1850	1,610		
Lynwood:			
1940	10,982	3,659	50.0
1930	7,323		
Maywood:			
1940	10,731	3,937	57.9
1930	6,794		
Merced:			
1940	10,135	3,069	43.4
1930	7,066	3,092	77.8
1920	3,974	872	28.1
1910	3,102	1,133	57.5
1900	1,969	−40	−2.0
1890	2,009		
Modesto:			
1940	16,379	2,537	18.3
1930	13,842	4,601	49.8
1920	9,241	5,207	129.1
1910	4,034	2,010	99.3
1900	2,024	−378	−15.7
1890	2,402		
Monrovia:			
1940	12,807	1,917	17.6
1930	10,890	5,410	98.7
1920	5,480	1,904	53.2
1910	3,576	2,371	196.8
1900	1,205	298	32.9
1890	907		
Monterey:			
1940	10,084	943	10.3
1930	9,141	3,662	66.8
1920	5,479	556	11.3
1910	4,923	3,175	181.6
1900	1,748	86	5.2
1890	1,662	266	19.1
1880	1,396	284	25.5
1870	1,112		
1860	(1)		
1850	1,092		
National City:			
1940	10,344	3,043	41.7
1930	7,301	4,185	134.3
1920	3,116	1,383	79.8
1910	1,733	647	59.6
1900	1,086	−267	−19.7
1890	1,353		
Oakland:			
1940	302,163	18,100	6.4
1930	284,063	67,802	31.4
1920	216,261	66,087	44.0
1910	150,174	83,214	124.3
1900	66,960	18,278	37.5
1890	48,682	14,127	40.9
1880	34,555	24,055	229.1
1870	10,500	8,957	580.5
1860	1,543		
Ontario:			
1940	14,197	614	4.5
1930	13,583	6,303	86.6
1920	7,280	3,006	70.3
1910	4,274	3,552	492.0
1900	722	39	5.7
1890	683		
Palo Alto:			
1940	16,774	3,122	22.9
1930	13,652	7,752	131.4
1920	5,900	1,414	31.5
1910	4,486	2,828	170.6
1900	1,658		
Pasadena:			
1940	81,864	5,778	7.6
1930	76,086	30,732	67.8
1920	45,354	15,063	49.7
1910	30,291	21,174	232.2
1900	9,117	4,235	86.7
1890	4,882		
Pomona:			
1940	23,539	2,735	13.1
1930	20,804	7,299	54.0
1920	13,505	3,298	32.3
1910	10,207	4,681	84.7
1900	5,526	1,892	52.1
1890	3,634		
Redlands:			
1940	14,324	147	1.0
1930	14,177	4,606	48.1
1920	9,571	−878	−8.4
1910	10,449	5,652	117.8
1900	4,797	2,893	151.9
1890	1,904		
Redondo Beach:			
1940	13,092	3,745	40.1
1930	9,347	4,434	90.3
1920	4,913	1,978	67.4
1910	2,935	2,080	243.3
1900	855	252	41.8
1890	603		
Redwood City:			
1940	12,453	3,491	39.0
1930	8,962	4,942	122.9
1920	4,020	1,578	64.6
1910	2,442	789	47.7
1900	1,653	81	5.2
1890	1,572	189	13.7
1880	1,383	656	90.2
1870	727		
Richmond:			
1940	23,642	3,549	17.7
1930	20,093	3,250	19.3
1920	16,843	10,041	147.6
1910	6,802		
Riverside:			
1940	34,696	5,000	16.8
1930	29,696	10,355	53.5
1920	19,341	4,129	27.1
1910	15,212	7,239	90.8
1900	7,973	3,290	70.3
1890	4,683		
Sacramento:			
1940	105,958	12,208	13.0
1930	93,750	27,842	42.2
1920	65,908	21,212	47.5
1910	44,696	15,414	52.6
1900	29,282	2,896	11.0
1890	26,386	4,966	23.2
1880	21,420	5,137	31.5
1870	16,283	2,498	18.1
1860	13,785	6,965	102.1
1850	6,820		
Salinas:			
1940	11,586	1,323	12.9
1930	10,263	5,955	138.2
1920	4,308	572	15.3
1910	3,736	432	13.1
1900	3,304	965	41.3
1890	2,339		

See footnotes at end of table.

TABLE 2.—POPULATION OF CITIES OF 10,000 OR MORE FROM EARLIEST CENSUS TO 1940—Continued

[A minus sign (—) denotes decrease. Percent not shown where less than 0.1]

CITY AND CENSUS YEAR	Population	INCREASE OVER PRECEDING CENSUS	
		Number	Percent
San Bernardino:			
1940	43,646	6,165	16.4
1930	37,481	18,760	100.2
1920	18,721	5,942	46.5
1910	12,779	6,629	107.8
1900	6,150	2,138	53.3
1890	4,012	2,339	139.8
1880	1,673		
San Buenaventura (Ventura):			
1940	13,264	1,661	14.3
1930	11,603	7,447	179.2
1920	4,156	1,255	43.3
1910	2,901	431	17.4
1900	2,470	150	6.5
1890	2,320	950	69.3
1880	1,370		
San Diego:			
1940	203,341	55,346	37.4
1930	147,995	73,634	99.0
1920	74,361	34,783	87.9
1910	39,578	21,878	123.6
1900	17,700	1,541	9.5
1890	16,159	13,522	512.8
1880	2,637	337	14.7
1870	2,300	1,569	214.6
1860	731		
San Francisco: [2]			
1940	634,536	142	
1930	634,394	127,718	25.2
1920	506,676	89,764	21.5
1910	416,912	74,130	21.6
1900	342,782	43,785	14.6
1890	298,997	65,038	27.8
1880	233,959	84,486	56.5
1870	149,473	92,671	163.1
1860	56,802		
San Gabriel:			
1940	11,867	4,643	64.3
1930	7,224	4,584	173.6
1920	2,640		
San Jose:			
1940	68,457	10,806	18.7
1930	57,651	18,009	45.4
1920	39,642	10,696	37.0
1910	28,946	7,446	34.6
1900	21,500	3,440	19.0
1890	18,060	5,493	43.7
1880	12,567	3,478	38.3
1870	9,089		
San Leandro:			
1940	14,601	3,146	27.5
1930	11,455	5,752	100.9
1920	5,703	2,232	64.3
1910	3,471	1,218	54.1
1900	2,253		
1890	(1)		
1880	1,369	943	221.4
1870	426		
San Mateo:			
1940	19,403	5,959	44.3
1930	13,444	7,465	124.9
1920	5,979	1,595	36.4
1910	4,384	2,552	139.3
1900	1,832		
Santa Ana:			
1940	31,921	1,599	5.3
1930	30,322	14,837	95.8
1920	15,485	7,056	83.7
1910	8,429	3,496	70.9
1900	4,933	1,305	36.0
1890	3,628		
Santa Barbara:			
1940	34,958	1,345	4.0
1930	33,613	14,172	72.9
1920	19,441	7,782	66.7
1910	11,659	5,072	77.0
1900	6,587	723	12.3
1890	5,864	2,404	69.5
1880	3,460		
Santa Cruz:			
1940	16,896	2,501	17.4
1930	14,395	3,478	31.9
1920	10,917	—229	—2.1
1910	11,146	5,487	97.0
1900	5,659	63	1.1
1890	5,596	1,698	43.6
1880	3,898	1,337	52.2
1870	2,561	1,611	169.6
1860	950		
Santa Monica:			
1940	53,500	16,354	44.0
1930	37,146	21,894	143.5
1920	15,252	7,405	94.4
1910	7,847	4,790	156.7
1900	3,057	1,477	93.5
1890	1,580		
Santa Rosa:			
1940	12,605	1,969	18.5
1930	10,636	1,878	21.4
1920	8,758	941	12.0
1910	7,817	1,144	17.1
1900	6,673	1,453	27.8
1890	5,220	1,604	44.4
1880	3,616		
1870	(1)		
1860	425		
South Gate:			
1940	26,945	7,313	37.3
1930	19,632		
South Pasadena:			
1940	14,356	626	4.6
1930	13,730	6,078	79.4
1920	7,652	3,003	64.6
1910	4,649	3,648	364.4
1900	1,001	378	60.7
1890	623		
Stockton:			
1940	54,714	6,751	14.1
1930	47,963	7,667	19.0
1920	40,296	17,043	73.3
1910	23,253	5,747	32.8
1900	17,506	3,082	21.4
1890	14,424	4,142	40.3
1880	10,282	216	2.1
1870	10,066	6,387	173.6
1860	3,679		
Vallejo: [3]			
1940	20,072	4,000	24.9
1930	16,072	—5,035	—23.9
1920	21,107	9,767	86.1
1910	11,340	3,375	42.4
1900	7,965	1,622	25.6
1890	6,343	356	5.9
1880	5,987		
Whittier:			
1940	16,115	1,293	8.7
1930	14,822	6,825	85.3
1920	7,997	3,447	75.8
1910	4,550	2,960	186.2
1900	1,590	1,005	171.8
1890	585		

[1] Not returned separately.
[2] Returns for San Francisco for 1850 destroyed by fire; population in 1852, according to State census of that year, 34,776.
[3] Figures for 1900 to 1930 corrected since publication of vol. I, 1930, by the addition of the population (879 in 1900; 1,276 in 1910; 4,262 in 1920; 1,596 in 1930) of Mare Island Naval Reservation.

Counties.—Table 3 shows the population of the 58 counties of California from 1920 to 1940, together with the land area of each county and its population per square mile in 1940. The land areas given here are the result of new measurements recently compiled and differ somewhat from those published in earlier census reports. Fifty-six of these counties increased in population between 1930 and 1940, and two decreased. No new counties have been organized, and there have been no changes in county boundaries since the census of 1930. This table also presents the urban and rural population of each county for 1940 and 1930.

TABLE 3.—AREA AND POPULATION OF COUNTIES, URBAN AND RURAL: 1920 TO 1940

[A minus sign (−) denotes decrease. Percent not shown where less than 0.1 or where base is less than 100]

COUNTY	Land area in square miles, 1940	TOTAL POPULATION						URBAN POPULATION			RURAL POPULATION			PERCENT URBAN	
		1940		1930	1920	Percent of increase		1940	1930	Percent of increase	1940	1930	Percent of increase	1940	1930
		Total	Per square mile			1930 to 1940	1920 to 1930								
California	156,803	6,907,387	44.1	5,677,251	3,426,861	21.7	65.7	4,902,265	[1] 4,160,596	17.8	2,005,122	[1] 1,516,655	32.2	71.0	73.3
Alameda	733	513,011	699.9	474,883	344,177	8.0	38.0	472,068	439,211	7.5	40,943	35,672	14.8	92.0	92.5
Alpine	723	323	0.4	241	243	34.0	−0.8	----------	----------	----------	323	241	34.0	----------	----------
Amador	594	8,973	15.1	8,494	7,793	5.6	9.0	----------	----------	----------	8,973	8,494	5.6	----------	----------
Butte	1,665	42,840	25.7	34,093	30,030	25.7	13.5	13,708	11,659	17.6	29,132	22,434	29.9	32.0	34.2
Calaveras	1,028	8,221	8.0	6,008	6,183	36.8	−2.8	----------	----------	----------	8,221	6,008	36.8	----------	----------
Colusa	1,153	9,788	8.5	10,258	9,290	−4.6	10.4	----------	----------	----------	9,788	10,258	−4.6	----------	----------
Contra Costa	734	100,450	136.9	78,608	53,889	27.8	45.9	51,786	43,705	18.5	48,664	34,903	39.4	51.6	55.6
Del Norte	1,003	4,745	4.7	4,739	2,759	0.1	71.8	----------	----------	----------	4,745	4,739	0.1	----------	----------
El Dorado	1,725	13,229	7.7	8,325	6,426	58.9	29.6	3,064	----------	----------	10,165	8,325	22.1	23.2	----------
Fresno	5,985	178,565	29.8	144,379	128,779	23.7	12.1	76,565	63,967	19.7	102,000	80,412	26.8	42.9	44.3
Glenn	1,317	12,195	9.3	10,935	11,853	11.5	−7.7	----------	----------	----------	12,195	10,935	11.5	----------	----------
Humboldt	3,573	45,812	12.8	43,233	37,413	6.0	15.6	17,055	15,752	8.3	28,757	27,481	4.6	37.2	36.4
Imperial	4,284	59,740	13.9	60,903	43,453	−1.9	40.2	27,150	25,172	7.9	32,590	35,731	−8.8	45.4	41.3
Inyo	10,091	7,625	0.8	6,555	7,031	16.3	−6.8	----------	----------	----------	7,625	6,555	16.3	----------	----------
Kern	8,170	135,124	16.5	82,570	54,843	63.6	50.6	37,030	32,089	15.4	98,094	50,481	94.3	27.4	38.9
Kings	1,395	35,168	25.2	25,385	22,031	38.5	15.2	8,234	7,028	17.2	26,934	18,357	46.7	23.4	27.7
Lake	1,256	8,069	6.4	7,166	5,402	12.6	32.7	----------	----------	----------	8,069	7,166	12.6	----------	----------
Lassen	4,548	14,479	3.2	12,589	8,507	15.0	48.0	----------	----------	----------	14,479	12,589	15.0	----------	----------
Los Angeles	4,071	2,785,643	684.3	2,208,492	936,455	26.1	135.8	2,373,548	1,925,775	23.3	412,095	282,717	45.8	85.2	87.2
Madera	2,148	23,314	10.9	17,164	12,203	35.8	40.7	6,457	4,665	38.4	16,857	12,499	34.9	27.7	27.2
Marin	521	52,907	101.5	41,648	27,342	27.0	52.3	22,750	20,503	11.0	30,157	21,145	42.6	43.0	49.2
Mariposa	1,455	5,605	3.9	3,233	2,775	73.4	16.5	----------	----------	----------	5,605	3,233	73.4	----------	----------
Mendocino	3,510	27,864	7.9	23,505	24,116	18.5	−2.5	6,966	6,146	13.3	20,898	17,359	20.4	25.0	26.1
Merced	1,983	46,988	23.7	36,748	24,579	27.9	49.5	10,135	7,066	43.4	36,853	29,682	24.2	21.6	19.2
Modoc	4,094	8,713	2.1	8,038	5,425	8.4	48.2	----------	----------	----------	8,713	8,038	8.4	----------	----------
Mono	3,045	2,299	0.8	1,360	960	69.0	41.7	----------	----------	----------	2,299	1,360	69.0	----------	----------
Monterey	3,324	73,032	22.0	53,705	27,980	36.0	91.9	30,756	24,962	23.2	42,276	28,743	47.1	42.1	46.5
Napa	790	28,503	36.1	22,897	20,678	24.5	10.7	7,740	6,437	20.2	20,763	16,460	26.1	27.2	28.1
Nevada	979	19,283	19.7	10,596	10,850	82.0	−2.3	5,701	3,817	49.4	13,582	6,779	100.4	29.6	36.0
Orange	782	130,760	167.2	118,674	61,375	10.2	93.4	76,498	63,933	19.7	54,262	54,741	−0.9	58.5	53.9
Placer	1,431	28,108	19.6	24,468	18,584	14.9	31.7	10,666	9,086	17.4	17,442	15,382	13.4	37.9	37.1
Plumas	2,570	11,548	4.5	7,913	5,681	45.9	39.3	----------	----------	----------	11,548	7,913	45.9	----------	----------
Riverside	7,179	105,524	14.7	81,024	50,297	30.2	61.1	53,363	39,466	35.2	52,161	41,558	25.5	50.6	48.7
Sacramento	985	170,333	172.9	141,999	91,029	20.0	56.0	109,011	93,750	16.3	61,322	48,249	27.1	64.0	66.0
San Benito	1,396	11,392	8.2	11,311	8,995	0.7	25.7	3,881	3,757	3.3	7,511	7,554	−0.6	34.1	33.2
San Bernardino	20,131	161,108	8.0	133,900	73,401	20.3	82.4	95,997	84,230	14.0	65,111	49,670	31.1	59.6	62.9
San Diego	4,258	289,348	68.0	209,659	112,248	38.0	86.8	238,891	174,032	37.3	50,457	35,627	41.6	82.6	83.0
San Francisco	45	634,536	14,100.8	634,394	506,676	----------	25.2	634,536	634,394	----------	----------	----------	----------	100.0	100.0
San Joaquin	1,410	134,207	95.2	102,940	79,905	30.4	28.8	69,849	58,580	19.2	64,358	44,360	45.1	52.0	56.9
San Luis Obispo	3,326	33,246	10.0	29,613	21,893	12.3	35.3	11,926	10,849	9.9	21,320	18,764	13.6	35.9	36.6
San Mateo	454	111,782	246.2	77,405	36,781	44.4	110.4	80,094	53,317	50.2	31,688	24,088	31.6	71.7	68.9
Santa Barbara	2,745	70,555	25.7	65,167	41,097	8.3	58.6	46,959	43,515	7.7	23,596	21,652	9.4	66.4	66.8
Santa Clara	1,305	174,949	134.1	145,118	100,676	20.6	44.1	107,412	94,844	13.3	67,537	50,274	34.3	61.4	65.4
Santa Cruz	439	45,057	102.6	37,433	26,269	20.4	42.5	25,833	22,739	13.6	19,224	14,694	30.8	57.3	60.7
Shasta	3,846	28,800	7.5	13,927	13,361	106.8	4.2	8,109	4,188	93.6	20,691	9,739	112.5	28.2	30.1
Sierra	958	3,025	3.2	2,422	1,783	24.9	35.8	----------	----------	----------	3,025	2,422	24.9	----------	----------
Siskiyou	6,313	28,598	4.5	25,480	18,545	12.2	37.4	----------	2,610	----------	28,598	22,870	25.0	----------	10.2
Solano	827	49,118	59.4	40,834	40,602	20.3	0.6	20,072	[1] 17,389	15.4	29,046	[1] 23,445	23.9	40.9	42.6
Sonoma	1,579	69,052	43.7	62,222	52,090	11.0	19.5	23,146	18,881	22.6	45,906	43,341	5.9	33.5	30.3
Stanislaus	1,506	74,866	49.7	56,041	43,557	32.2	30.0	23,810	18,118	31.4	51,056	38,523	32.5	31.8	32.0
Sutter	607	18,680	30.8	14,618	10,115	27.8	44.5	4,968	3,605	37.8	13,712	11,013	24.5	26.6	24.7
Tehama	2,974	14,316	4.8	13,366	12,882	3.2	7.6	3,824	3,517	8.7	10,492	10,349	1.4	26.7	25.4
Trinity	3,191	3,970	1.2	2,809	2,551	41.3	10.1	----------	----------	----------	3,970	2,809	41.3	----------	----------
Tulare	4,845	107,152	22.1	77,442	59,031	38.4	31.2	35,503	28,304	25.4	71,649	49,138	45.8	33.1	36.5
Tuolumne	2,275	10,887	4.8	9,271	7,768	17.4	19.3	----------	----------	----------	10,887	9,271	17.4	----------	----------
Ventura	1,857	69,685	37.5	54,976	28,724	26.8	91.4	34,021	28,233	20.5	35,664	26,743	33.4	48.8	51.4
Yolo	1,034	27,243	26.3	23,644	17,105	15.2	38.2	6,637	5,542	19.8	20,606	18,102	13.8	24.4	23.4
Yuba	638	17,034	26.7	11,331	10,375	50.3	9.2	6,646	5,763	15.3	10,388	5,568	86.6	39.0	50.9

[1] 1930 urban and rural figures for State total and Solano County do not take account of correction made in the population of Vallejo city for this date; see explanatory note on Solano County, table 4.

Minor civil divisions.—To the primary political divisions into which the counties are subdivided the Census Bureau applies the general term "minor civil divisions." The primary divisions of the counties in California are called judicial townships. San Francisco is in a class by itself, being incorporated as the "City and County of San Francisco." The incorporated cities (except San Francisco) and towns form secondary subdivisions of the minor civil divisions in which they are located. There are 235 cities (including San Francisco) and 50 towns. Ordinarily, each of the secondary divisions forms a part of some judicial township (or townships).

Table 4 shows the population of each county by judicial townships, cities, and towns for the last three censuses. The population of the cities and towns is shown in *italics* under the population of the primary divisions in which the places are respectively located. Where an incorporated place is located in two or more judicial townships, the total population of the place is given in connection with the presentation for the first township.

TABLE 4.—POPULATION OF COUNTIES BY MINOR CIVIL DIVISIONS: 1920 TO 1940

[The "townships" shown in the table are judicial townships. Where no comparative figures for townships are shown, the counties have been redistricted at some time between censuses. For changes in boundaries, etc., between 1930 and 1940, see footnotes; for those between 1920 and 1930, see Reports of the Fifteenth Census (1930), vol. I, pp. 132–140]

MINOR CIVIL DIVISION	1940	1930	1920
Alameda County	513,011	474,883	344,177
Alameda township	36,256	35,033	28,806
Alameda city	*36,256*	*35,033*	*28,806*
Brooklyn township	146,533	146,938	76,174
Oakland city, total [1]	*302,163*	*284,063*	*216,261*
Brooklyn twp., entire	*146,533*	*146,938*	*76,148*
In Oakland twp	*155,630*	*137,125*	*140,113*
Eden township [1]	43,691	31,897	17,983
Hayward city [1]	*6,736*	*5,530*	*3,487*
San Leandro city [1]	*14,601*	*11,455*	*5,703*
Murray township [1]	5,502	6,082	3,908
Livermore city [1]	*2,885*	*3,119*	*1,916*
Oakland township	265,057	239,472	206,516
Albany city	*11,498*	*8,569*	*2,462*
Berkeley city	*85,547*	*82,109*	*56,036*
Emeryville town	*2,521*	*2,536*	*2,390*
Oakland city (part)	*155,630*	*137,125*	*140,113*
Piedmont city	*9,366*	*9,333*	*4,282*
Pleasanton township	2,921	2,750	2,296
Pleasanton town	*1,278*	*1,237*	*991*
Washington township	13,051	12,711	8,494
Alpine County	323	241	243
Township 1	323	241	243
Amador County	8,973	8,494	7,793
Township 1	3,071	2,905	2,601
Jackson city	*2,024*	*2,005*	*1,601*
Township 2	2,205	1,849	1,583
Township 3	644	1,180	483
Township 4	1,676	1,509	1,621
Amador city	*249*	*171*	*377*
Sutter Creek city	*1,134*	*1,013*	*920*
Township 5	1,377	1,051	1,505
Plymouth city	*460*	*343*	*657*
Butte County	42,840	34,093	30,030
Biggs township	1,964	1,697	------
Biggs city	*547*	*463*	*683*
Chico township [2]	16,970	14,013	14,090
Chico city [2]	*9,287*	*7,961*	*9,339*
Durham township	2,042	2,021	1,776
Gridley township	5,543	4,450	5,837
Gridley city	*2,338*	*1,941*	*1,636*
Kimshew township	3,596	1,987	1,386
Oroville township [2]	12,725	9,925	6,941
Oroville city [2]	*4,421*	*3,698*	*3,340*
Calaveras County [3]	8,221	6,003	6,183
Angels township	2,284	1,894	2,224
Angels city	*1,163*	*915*	*941*
Jenny Lind township	1,449	1,198	1,306
Mokelumne Hill township	624	595	1,037
Murphys township	1,686	768	657
San Andreas township	1,513	1,082	869
West Point township	665	471	90
Colusa County	9,788	10,258	[4] 9,290
Colusa township	5,085	5,480	3,102
Colusa city	*2,285*	*2,116*	*1,346*
Williams township	4,703	4,778	1,333
Williams town	*814*	*851*	------
Contra Costa County	100,450	78,608	53,889
Township 1 [5]	10,419	9,092	4,963
Martinez city [5]	*7,331*	*6,569*	*3,858*
Township 2	454	593	790
Township 3	7,100	4,174	2,422
Walnut Creek town	*1,578*	*1,014*	*538*
Township 4	1,775	1,454	1,285
Township 5	6,990	4,736	3,607
Concord town	*1,373*	*1,125*	*912*
Township 6	11,713	10,692	5,355
Pittsburg city	*9,520*	*9,610*	*4,715*
Township 7 [5]	9,492	5,293	1,731
El Cerrito city	*6,137*	*3,870*	*1,505*
Township 8 [5]	6,569	4,886	2,566
Antioch town [5]	*5,106*	*3,563*	*1,936*
Township 9	3,237	1,678	739
Township 10 [5]	4,643	2,944	2,059
Contra Costa County—Continued.			
Township 11	3,401	2,768	2,374
Hercules town	*343*	*392*	*373*
Pinole town	*934*	*781*	*967*
Township 12	4,470	4,315	4,184
Township 13	431	320	340
Township 14	1,486	1,092	994
Township 15 [5]	23,642	20,093	16,843
Richmond city	*23,642*	*20,093*	*16,843*
Township 16	1,683	1,570	1,730
Township 17	2,945	2,908	1,907
Del Norte County	4,745	4,739	2,759
Crescent township	3,537	3,526	1,937
Crescent City	*1,368*	*1,720*	*955*
Klamath township	757	663	445
Smith River township	451	550	377
El Dorado County	13,229	8,325	6,426
Coloma township	561	375	339
Cosumnes township	401	227	280
Diamond Springs township	865	860	590
Georgetown township	1,362	679	502
Greenwood township	584	385	397
Kelsey township	406	173	165
Lake Valley township	354	167	33
Mountain township	282	154	147
Mud Springs township	1,409	696	678
Placerville township	6,255	4,028	2,746
Placerville city	*3,064*	*2,322*	*1,650*
Salmon Falls township	226	233	272
White Oak township	524	348	277
Fresno County	178,565	144,379	128,779
Township 1	8,382	4,965	3,257
Firebaugh city	*704*	*506*	------
San Joaquin city	*240*	*153*	------
Township 2	8,813	6,323	8,396
Clovis city	*1,026*	*1,316*	*1,157*
Township 3 [6]	97,504	78,118	63,924
Fresno city [6]	*60,685*	*52,513*	*45,086*
Township 4	5,868	5,151	6,099
Fowler town	*1,531*	*1,171*	*1,528*
Township 5	8,261	6,869	6,988
Selma town	*3,667*	*3,047*	*3,158*
Township 6	6,706	4,974	7,128
Coalinga city	*5,026*	*2,851*	*2,934*
Township 7	8,674	7,389	6,716
Sanger city	*4,017*	*2,967*	*2,578*
Township 8	9,716	8,026	7,339
Reedley city	*3,170*	*2,589*	*2,447*
Township 9	3,223	2,788	3,345
Kingsburg city	*1,504*	*1,322*	*1,316*
Township 10	1,381	1,404	1,999
Township 11	6,445	5,942	4,977
Township 12	830	804	465
Township 13	2,091	1,716	1,497
Township 14	2,512	2,152	1,163
Parlier city	*776*	*564*	------
Township 15	2,365	2,554	2,753
Township 16	1,363	1,336	2,733
Township 17	3,873	3,340	------
Township 18	553	528	------
Glenn County	12,195	10,935	11,853
Township 1	1,203	905	873
Township 2	4,302	3,525	3,739
Orland town	*1,366*	*1,195*	*1,582*
Township 3	425	437	494
Township 4	4,902	4,522	4,602
Willows city [6a]	*2,215*	*2,024*	*2,190*
Township 5	792	875	1,202
Township 6	72	56	139
Township 7	392	483	637
Township 8	107	132	167
Humboldt County [7]	45,812	43,233	37,413
Eureka township	20,580	18,607	13,364
Eureka city	*17,055*	*15,762*	*12,923*
Fortuna township	4,266	------	------
Fortuna town	*1,413*	*1,239*	*986*
Humboldt County—Continued.			
Garberville township	1,844	------	------
Klamath township	1,933	------	------
Loleta township	2,397	------	------
Mad River township	1,076	1,601	1,471
Blue Lake city	*503*	*555*	*441*
Mattole township	367	384	523
Pacific township	2,758	2,927	2,665
Ferndale town	*901*	*889*	*919*
Scotia township	3,655	3,734	3,950
Union township	6,936	------	------
Arcata city	*1,855*	*1,709*	*1,486*
Trinidad town	*94*	*107*	------
Imperial County [8]	59,740	60,903	43,453
Township 1	9,619	------	------
Calexico city	*5,415*	*6,299*	*6,223*
Township 2	15,967	------	------
El Centro city	*10,017*	*8,434*	*5,464*
Township 3	3,753	------	------
Imperial city	*1,493*	*1,943*	*1,885*
Township 4	14,262	------	------
Brawley city	*11,718*	*10,459*	*5,589*
Township 5	6,170	------	------
Holtville city	*1,772*	*1,758*	*1,347*
Township 6	2,506	------	------
Westmorland city [8]	*1,010*	------	------
Township 7	4,713	------	------
Calipatria city	*1,799*	*1,554*	*785*
Township 8	2,660	------	------
Inyo County	7,625	6,555	[9] 7,031
Township 1	3,424	2,519	3,256
Bishop town	*1,490*	*1,159*	*1,304*
Township 2	756	849	998
Township 3	714	647	850
Township 4 [9]	2,206	2,215	907
Township 5 [9]	525	325	565
Kern County	135,124	82,570	54,843
Township 1	1,914	1,206	------
Township 2 [10]	9,341	5,724	------
Delano city	*4,578*	*2,632*	*805*
Township 3 [10]	40,468	19,101	------
Bakersfield city, total	*29,252*	*26,015*	*18,638*
In Twp. 3	*9,911*	*8,652*	------
Twp. 6, entire	*16,432*	*15,107*	------
In Twp. 15	*2,859*	*2,256*	------
Township 4	1,467	2,407	------
Maricopa city	*670*	*1,071*	*1,121*
Township 5 [10]	1,268	731	------
Township 6	16,482	15,107	------
Bakersfield city (part)	*16,432*	*15,107*	------
Township 7	11,924	11,285	------
Taft city	*8,205*	*8,442*	*8,317*
Township 8 [10]	3,140	2,070	------
Tehachapi town	*1,264*	*736*	*458*
Township 9 [10]	6,788	8,338	------
Township 10	781	756	------
Township 11 [10]	3,190	1,668	------
Township 12	1,490	1,747	------
Township 13 [10]	436	687	------
Township 14	133	167	------
Township 15 [10]	24,981	11,486	------
Bakersfield city (part)	*2,859*	*2,256*	------
Township 16 [10]	8,884	------	------
Shafter city [10]	*1,258*	------	------
Township 17 [10]	2,437	------	------
Kings County	35,168	[11] 25,385	[11] 22,031
Avenal township [11]	4,098	------	------
Corcoran township [11]	4,870	3,342	2,204
Corcoran city	*2,092*	*1,768*	*1,101*
Hanford township [11]	19,340	12,883	11,404
Hanford city	*8,234*	*7,028*	*5,888*
Lemoore township [11]	6,860	6,275	5,127
Lemoore city	*1,711*	*1,399*	*1,355*
Lake County [12]	8,069	7,166	5,402
Township 1	965	------	------
Township 2	1,379	------	------
Township 3	1,722	------	------

[1] ALAMEDA.—Parts of Eden township annexed to Hayward city in 1930, 1934, and 1940, and parts annexed to Oakland and San Leandro cities in 1938 and 1939, respectively. Livermore town incorporated as a city in 1930. Oakland city, geographically located in Brooklyn, Eden, and Oakland townships, had no population in 1940 for that part in Eden township.

[2] BUTTE.—Part of Chico township annexed to Chico city, and part of Oroville township to Oroville city, in 1939.

[3] CALAVERAS.—Townships returned in 1930 and 1920 by number and name.

[4] COLUSA.—County total for 1920 includes population (1,867) of Grand Island and Princeton townships, annexed to Colusa township, and population (2,988) of Arbuckle, Maxwell, and Stony Ford townships, annexed to Williams township, in 1922.

[5] CONTRA COSTA.—Parts of townships 7 and 10 annexed to 15 in 1937 and 1939, respectively; parts of township 1 annexed to Martinez city in 1932, 1937, and 1938; and parts of township 8 annexed to Antioch town in 1930 and 1938.

[6] FRESNO.—Parts of township 3 annexed to Fresno city at various dates since 1930.

[6a] GLENN.—Willows town incorporated as a city in 1935.

[7] HUMBOLDT.—County redistricted in 1933; comparative figures shown wherever possible.

[8] IMPERIAL.—County redistricted in 1935; comparative figures shown wherever possible. Westmorland city incorporated in 1932.

[9] INYO.—County total for 1920 includes population (455) of township 6, annexed to 4 in 1929. Part of township 5 annexed to 4 in 1931.

[10] KERN.—Part of township 9 annexed to 2; parts of township 8 to 11 and 15, and parts of township 15 to 3, 11, and 13, in 1934. Part of township 5 annexed to 13 in 1935. Township 16 organized from part of 9 in 1936, and township 17 from part of 3 in 1937. Shafter city incorporated, and part of township 16 annexed to Shafter city, in 1938.

[11] KINGS.—County totals for 1930 and 1920 include population (2,885 in 1930; 2,226 in 1920) of Armona township, annexed to Hanford township in 1935; total for 1920 also includes population (248) of Craighill township, annexed to Lemoore township in 1923, and population (822) of Hardwick township, annexed to Armona in 1925. Parts of Corcoran township annexed to Armona and Hanford townships in 1933. Avenal township organized from part of Lemoore township in 1937.

[12] LAKE.—County redistricted in 1933; comparative figures shown wherever possible.

TABLE 4.—POPULATION OF COUNTIES BY MINOR CIVIL DIVISIONS: 1920 TO 1940—Continued

MINOR CIVIL DIVISION	1940	1930	1920
Lake County—Con.			
Township 4	2,364		
Lakeport town	*1,490*	*1,318*	*1,024*
Township 5	1,639		
Lassen County	14,479	12,589	8,507
Big Valley township	1,242	676	777
Honey Lake township	7,485	6,345	3,952
Susanville town	*1,575*	*1,358*	*918*
Madeline township	298	968	478
Westwood township	5,454	4,600	3,300
Los Angeles County [13]	2,785,643	2,208,492	936,455
Antelope township	7,729		
Belvedere township [13]	37,192	33,023	
Beverly Hills township	51,948		
Beverly Hills city	*26,823*	*17,429*	*674*
Calabasas township	2,041		
Catalina township	1,933	1,986	
Avalon city	*1,637*	*1,897*	*586*
Compton township	54,166		
Compton city	*16,198*	*12,516*	*1,478*
Lynwood city	*10,982*	*7,323*	
Downey township	45,913		
El Monte township	51,433		
Covina city	*3,049*	*2,774*	*1,999*
El Monte city	*4,746*	*3,479*	*1,283*
West Covina city	*1,072*	*769*	
Glendale township	129,766		
Burbank city	*34,337*	*16,662*	*2,913*
Glendale city	*82,582*	*62,736*	*13,536*
Inglewood township	125,628		
El Segundo city	*3,738*	*3,503*	*1,563*
Gardena city [13]	*5,909*		
Hawthorne city	*8,263*	*6,596*	
Hermosa Beach city	*7,197*	*4,796*	*2,327*
Inglewood city	*30,114*	*19,480*	*3,286*
Manhattan Beach city	*6,398*	*1,891*	*859*
Palos Verdes Estates city [13]	*987*		
Redondo Beach city	*13,092*	*9,347*	*4,913*
Torrance city	*9,950*	*7,271*	
Long Beach township	164,271	142,032	
Long Beach city	*164,271*	*142,032*	*55,593*
Los Angeles township [13]	1,504,277	[13]1,238,048	
Los Angeles city [13]	*1,504,277*	*1,238,048*	*576,673*
Malibu township	929		
Monrovia township	43,724		
Arcadia city	*9,122*	*5,216*	*2,239*
Azusa city	*5,209*	*4,808*	*2,460*
Glendora city	*2,822*	*2,761*	*2,028*
Monrovia city	*12,807*	*10,890*	*5,480*
Sierra Madre city	*4,581*	*3,550*	*2,026*
Montebello township	50,345	38,641	
Montebello city	*3,016*	*5,498*	
Pasadena township	128,812		
Pasadena city	*81,864*	*76,086*	*45,354*
South Pasadena city	*14,356*	*13,730*	*7,652*
San Antonio township	140,037		
Bell city	*11,264*	*7,884*	
Huntington Park city	*23,648*	*24,591*	*4,513*
Maywood city	*10,781*	*6,794*	
South Gate city	*26,945*	*19,632*	
Vernon city	*850*	*1,269*	*1,005*
San Fernando township	9,094	7,567	3,204
San Fernando city	*9,094*	*7,567*	*3,204*
San Gabriel township	86,092		
Alhambra city	*33,955*	*29,472*	*9,096*
Monterey Park city	*8,581*	*6,406*	*4,108*
San Gabriel city	*11,867*	*7,224*	*2,640*
San Marino city	*8,175*	*3,730*	*584*
San Jose township	36,920		
Claremont city	*3,057*	*2,719*	*1,728*
La Verne city	*3,092*	*2,860*	*1,698*
Pomona city	*23,539*	*20,804*	*13,505*
Santa Monica township	53,500	37,146	15,252
Santa Monica city	*53,500*	*37,146*	*15,252*
Signal Hill township	5,242		
Signal Hill city	*3,184*	*2,932*	
Soledad township	5,638		
Venice township	16,286		
Culver City	*8,976*	*5,669*	*503*
Whittier township	32,727	27,102	
Whittier city	*16,115*	*14,822*	*7,997*

MINOR CIVIL DIVISION	1940	1930	1920
Madera County	23,314	17,164	12,203
Township 2	7,270	4,259	3,057
Chowchilla city	*1,957*	*847*	
Township 3 [14]	13,964	10,103	6,517
Madera city [14]	*6,457*	*4,665*	*3,444*
Township 4	1,087	1,812	1,758
Township 5	993	990	871
Marin County	52,907	[15]41,648	[15]27,342
Novato township [15]	5,127	1,543	1,193
San Rafael township	30,111	24,925	14,170
Corte Madera town	*1,098*	*1,027*	*607*
Fairfax town [15]	*2,198*		
Larkspur town	*1,558*	*1,241*	*612*
Ross town	*1,751*	*1,365*	*727*
San Anselmo town	*5,790*	*4,650*	*2,475*
San Rafael city	*8,573*	*8,022*	*5,512*
Sausalito township [15]	16,013	11,762	9,005
Belvedere town	*457*	*500*	*616*
Mill Valley town	*4,847*	*4,164*	*2,554*
Sausalito city [15]	*8,540*	*3,667*	*2,790*
Tomales township [15]	1,656	1,051	957
Mariposa County	5,605	3,233	2,775
Township 1	493	193	292
Hornitos town	*159*	*62*	*100*
Township 2	884	651	596
Township 3	683	315	292
Township 4	1,510	682	671
Township 5	763	549	924
Township 6	1,272	843	
Mendocino County	27,864	23,505	[16]24,116
Anderson township	1,010	960	1,071
Arena township	1,153	1,047	1,203
Point Arena city	*374*	*385*	*394*
Big River township	2,066	1,989	3,130
Cuffeys Cove township	279	434	925
Little Lake township	2,883	2,361	2,889
Willits town	*1,625*	*1,424*	*1,468*
Long Valley township	883	521	914
Round Valley township	1,571	1,562	968
Sanel township	1,042	849	955
Ten Mile River township	6,416	5,413	4,590
Fort Bragg city	*3,235*	*3,022*	*2,616*
Ukiah township	10,561	8,369	6,022
Ukiah city	*3,781*	*3,124*	*2,305*
Merced County	46,988	36,748	24,579
Township 1	1,591	1,368	885
Township 2	17,465	12,481	6,796
Merced city	*10,135*	*7,066*	*3,974*
Township 3	5,081	4,367	3,487
Los Banos city	*2,214*	*1,875*	*1,276*
Township 4	2,707	1,746	1,065
Township 5	8,466	7,636	5,804
Livingston city	*895*	*803*	
Township 6	3,492	3,127	2,769
Gustine city	*1,255*	*1,016*	*716*
Township 7	3,757	2,527	1,639
Dos Palos city [17]	*978*		
Township 8	4,429	3,496	2,134
Atwater city	*1,235*	*917*	
Modoc County	8,713	8,038	5,425
Adin-Lookout township	1,059	862	648
Alturas township	3,099	3,579	1,759
Alturas city	*2,090*	*2,388*	*979*
Bidwell township	386	627	490
Canby township	435	266	122
Cedarville township	648	719	844
Dewey township	355	395	390
Goose Lake township	269	326	299
Lake City township	319	314	350
Tule Lake township	1,462	313	195
Willow Ranch township	681	637	328
Mono County	2,299	1,360	[18]960
Antelope township	328	248	209
Benton township [18]	418	300	349

MINOR CIVIL DIVISION	1940	1930	1920
Mono County—Con.			
Bodie township	113	228	110
Bridgeport township	230	242	125
Homer township	821	342	155
Mammoth township [18]	389		
Monterey County	73,032	53,705	27,980
Alisal township [19]	24,523	15,764	6,663
Salinas city [19]	*11,586*	*10,263*	*4,308*
Bradley township	316	321	381
Castroville township	4,370	3,106	2,213
Cholame township	306	306	464
Gonzales township	3,988	3,760	1,417
King City township	4,659	2,885	1,652
King City	*1,768*	*1,488*	*1,048*
Monterey township	20,604	15,273	7,217
Carmel-by-the-Sea city	*2,837*	*2,260*	*653*
Monterey city	*10,084*	*9,141*	*5,479*
Pacific Grove township	6,249	5,558	2,974
Pacific Grove city	*6,249*	*5,558*	*2,974*
Pajaro township	3,460	2,869	1,474
Peachtree township	529	415	498
San Antonio township	789	660	715
San Ardo township	330	427	377
Soledad township	2,909	2,361	1,935
Soledad city	*861*	*594*	
Napa County	28,503	[20]22,897	[20]20,678
Calistoga township [20]	1,863	1,729	1,453
Calistoga city [20]	*1,124*	*1,000*	*850*
Napa township [20]	21,605	14,056	13,629
Napa city	*7,740*	*6,437*	*6,757*
St. Helena township [20]	5,035	3,424	2,772
St. Helena city	*1,758*	*1,582*	*1,346*
Nevada County	19,283	10,596	10,850
Bloomfield township	189	97	171
Bridgeport township	514	280	284
Eureka township	112	90	50
Grass Valley township	10,900	5,141	5,521
Grass Valley city	*5,701*	*3,817*	*4,006*
Little York township	148	54	61
Meadow Lake township	1,006	1,613	1,381
Nevada township	5,084	2,551	2,607
Nevada City	*2,445*	*1,701*	*1,782*
Rough and Ready township	1,033	637	673
Washington township	297	133	102
Orange County	130,760	118,674	61,375
Anaheim township [21]	26,097	23,309	
Anaheim city [21]	*11,031*	*10,995*	*5,526*
Brea township	7,461	7,289	
Brea city	*2,567*	*2,435*	*1,037*
La Habra city	*2,499*	*2,273*	
Fullerton township	14,983	16,701	
Fullerton city	*10,442*	*10,860*	*4,415*
Placentia city	*1,472*	*1,606*	
Huntington Beach township [21]	12,561	11,148	
Huntington Beach city	*3,738*	*3,690*	*1,687*
Laguna Beach township	5,349	2,172	
Laguna Beach city	*4,460*	*1,981*	
Newport Beach township [21]	9,428	5,244	
Newport Beach city [21]	*4,438*	*2,203*	*894*
Orange township [21]	13,587	12,682	
Orange city [21]	*7,901*	*8,066*	*4,884*
San Juan township	2,432	2,930	
San Clemente city	*479*	*667*	
Santa Ana township	33,000	31,112	
Santa Ana city	*31,921*	*30,322*	*15,485*
Seal Beach township	2,574	2,011	
Seal Beach city	*1,553*	*1,156*	*669*
Tustin township	3,288	4,076	
Tustin city	*953*	*926*	
Placer County	28,108	24,468	[22]18,584
Township 1	8,047	7,589	5,378
Roseville city	*6,653*	*6,425*	*4,477*

[13] LOS ANGELES.—County redistricted at various dates since 1930; comparative figures shown wherever possible. Belvedere township classified as urban under special rule in 1940 and 1930; population comparison affected but little by minor changes in connection with redistricting of the county. The 1930 figure for Los Angeles township, coextensive with Los Angeles city, is exclusive of population (2,311) of Tujunga city, formerly in La Crescenta township, annexed to Los Angeles city in 1932. Gardena and Palos Verdes Estates cities incorporated in 1930 and 1939, respectively.

[14] MADERA.—Part of Madera city reverted to township 3 in 1930.

[15] MARIN.—County totals for 1930 and 1920 include population (478 in 1930; 362 in 1920) of Bolinas township, annexed to Sausalito township, population (901 in 1930; 693 in 1920) of Nicasio township, and population (334 in 1930; 334 in 1920) of San Antonio township, annexed to Novato, and population (654 in 1930; 628 in 1920) of Point Reyes township, annexed to Tomales, in 1937. Fairfax town incorporated in 1931, and Sausalito town incorporated as a city in 1935.

[16] MENDOCINO.—County total for 1920 includes population (517) of Westport township, annexed to Ten Mile River, and population (512) of Potter Valley township, annexed to Ukiah township, in 1930; and population (420) of Round Valley Indian Reservation, returned independently in 1920.

[17] MERCED.—Dos Palos city incorporated in 1935.

[18] MONO.—County total for 1920 includes population (12) of Masonic township, annexed to Bodie between 1920 and 1930. Mammoth township organized from part of Benton in 1935.

[19] MONTEREY.—Part of Alisal township annexed to Salinas city in 1933.

[20] NAPA.—County totals for 1930 and 1920 include population (751 in 1930; 462 in 1920) of Knox township, annexed to Napa township, and population (2,937 in 1930; 2,362 in 1920) of Yount township, annexed to Napa and St. Helena townships, in 1931. Name of Calistoga township changed from Hot Springs in 1931. Calistoga town incorporated as a city in 1937.

[21] ORANGE.—Part of Huntington Beach township annexed to Anaheim township in 1933. Part of Newport Beach township annexed to Newport Beach city, part of Anaheim township to Anaheim city, and part of Orange township to Orange city, in 1930, 1931, and 1934, respectively.

[22] PLACER.—County total for 1920 includes population (394) of township 15, annexed to 4, population (129) of townships 6 and 8, annexed to 5, and population (1,375) of township 2, annexed to 14, in 1920; and population (294) of township 12, annexed to 10, and population (106) of township 7, annexed to 13, in 1923.

TABLE 4.—POPULATION OF COUNTIES BY MINOR CIVIL DIVISIONS: 1920 TO 1940—Continued

MINOR CIVIL DIVISION	1940	1930	1920
Placer County—Con.			
Township 3	6,531	4,268	3,502
Auburn city	*4,013*	*2,661*	*2,289*
Township 4	690	882	457
Township 5	729	371	360
Township 9	2,697	2,464	1,759
Rocklin town	*795*	*784*	*643*
Township 10	2,916	3,225	1,791
Lincoln city	*2,044*	*2,094*	*1,325*
Township 11	626	263	80
Township 13	2,576	2,120	1,277
Colfax city	*794*	*912*	*573*
Township 14	3,296	3,286	1,682
Plumas County	11,548	7,913	5,681
Beckwourth township	2,741	2,088	1,048
Goodwin township	82	206	108
Indian township	3,146	2,008	1,300
Mineral township	1,320	599	506
Plumas township	2,248	1,311	1,134
Quartz township	1,155	827	477
Seneca township	856	874	1,108
Riverside County	105,524	[23] 81,024	[23] 50,297
Beaumont township	3,400	2,272	1,284
Banning city, total [23]	*3,874*	*2,752*	*1,810*
In Beaumont twp.	*72*		
In San Gorgonio twp.	*3,802*	*2,752*	*1,810*
Beaumont city	*2,208*	*1,332*	*867*
Coachella township	2,376	2,372	1,016
Elsinore township	3,260	2,955	1,496
Elsinore city	*1,552*	*1,350*	*653*
Hemet township [23]	6,781	4,335	3,275
Hemet city [23]	*2,695*	*2,235*	*1,480*
Highgrove township	1,255	1,246	800
Indio township	4,897	3,484	1,187
Indio city [23]	*2,296*		
Mecca township	1,899	1,625	583
Murrieta township	1,041	969	886
Palm Springs township [23]	3,670		
Palm Springs city [23]	*3,434*		
Palo Verde township	5,542	3,026	5,084
Blythe city	*2,355*	*1,020*	*1,622*
Perris township [23]	8,110	3,851	2,182
Perris city	*1,011*	*768*	*499*
Riverside township	34,972	29,921	19,539
Riverside city	*34,696*	*29,696*	*19,341*
San Gorgonio township [23]	4,630	4,685	2,507
Banning city (part)	*3,802*	*2,752*	*1,810*
San Jacinto township [23]	2,454	2,057	1,367
San Jacinto city	*1,356*	*1,346*	*945*
Temescal township	14,921	10,783	5,590
Corona city	*8,764*	*7,018*	*4,129*
Thermal township	1,251	1,567	888
West Riverside township	5,065	3,817	1,400
Sacramento County	170,333	141,999	91,029
American township [24]	17,227	9,822	
North Sacramento city [24]	*3,053*	*2,097*	
Brighton township	10,187	6,488	
Center township	10,505	5,183	
Georgiana township [24]	7,721	11,789	3,631
Isleton city [24]	*1,337*	*2,090*	
Granite township	5,572	4,529	
Lee township	3,226	2,823	
Sacramento township	105,958	93,750	65,908
Sacramento city	*105,958*	*93,750*	*65,908*
San Joaquin township	9,937	7,615	
San Benito County	11,392	11,311	8,995
Hollister township	7,339	7,172	4,402
Hollister city	*3,881*	*3,757*	*2,781*
Panoche township	434	426	604
San Benito township	619	689	715
San Juan township	2,227	2,348	2,501
San Juan town	*678*	*772*	*501*
Tres Pinos township	773	676	773
San Bernardino County [25]	161,108	133,900	73,401
Amboy township	474		
Atolia township	444	262	150
Baldy Mesa township	125	95	
San Bernardino County—Continued.			
Barstow township	2,747		
Bear Valley township	991		
Belleville township	522		
Bloomington township	4,135	3,439	
Calzona township	821	154	105
Chino township	7,362	6,124	3,975
Chino city	*4,204*	*3,118*	*2,132*
Colton township	12,123	9,932	5,341
Colton city	*9,686*	*8,014*	*4,282*
Crest Forest township	927		
Cucamonga township	5,483	4,812	2,796
Etiwanda township	1,259		
Fontana township	4,115	3,196	
Hesperia township	447	391	590
Highland township	7,337		
Kelso township	316		
Ludlow township	225		
Mission township	3,812		
Needles township	3,916	3,432	2,930
Needles city	*3,624*	*3,144*	*2,807*
Ontario township	16,044		
Ontario city	*14,197*	*13,588*	*7,280*
Oro Grande township	935		
Redlands township	16,137		
Redlands city	*14,324*	*14,177*	*9,571*
Rialto township	2,200		
Rialto city	*1,770*	*1,642*	*961*
San Bernardino township	52,048		
San Bernardino city	*43,646*	*37,481*	*18,721*
Trona township	2,014	1,110	724
Twenty-nine Palms township	1,000		
Upland township	7,118		
Upland city	*6,316*	*4,718*	*2,912*
Vanderbilt township	146		
Victor township	2,615		
Yermo township	570		
Yucaipa township	2,700		
San Diego County [26]	289,348	209,659	112,248
Borego township	90		
El Cajon township	20,160		
El Cajon city	*1,471*	*1,050*	*469*
La Mesa city	*3,925*	*2,513*	*1,004*
Encinitas township	4,473		
Escondido township	9,487		
Escondido city	*4,560*	*3,421*	*1,789*
Fallbrook township	2,308		
Jacumba township	1,214	1,157	
National township	32,213		
Chula Vista city	*6,138*	*3,869*	*1,718*
Coronado city	*6,952*	*5,425*	*3,289*
National City	*10,344*	*7,501*	*3,116*
Oceanside township	8,191		
Oceanside city	*4,651*	*3,508*	*1,161*
Ramona township	3,384		
San Diego township	203,737		
San Diego city	*203,341*	*147,995*	*74,361*
Vista township	4,091		
San Francisco County	634,536	634,394	506,676
San Francisco city	634,536	634,394	506,676
San Joaquin County	184,207	102,940	79,905
Castoria township	8,864	6,502	4,064
Manteca city	*1,981*	*1,614*	*1,286*
Dent township	3,946	2,940	5,198
Douglas township	2,453	1,754	1,599
Elkhorn township [27]	16,164	11,309	9,302
Lodi city [27]	*11,079*	*6,788*	*4,860*
Elliot township	2,526	2,089	1,755
Liberty township	2,527	1,964	1,813
O'Neal township [27]	42,332	29,412	17,362
Stockton city, total [27]	*54,714*	*47,963*	*40,296*
In O'Neal twp.	*18,209*	*15,495*	*8,019*
Stockton twp., entire	*36,505*	*32,468*	*32,277*
Ripon township	3,464	2,773	
Stockton township	36,505	32,468	32,277
Stockton city (part)	*36,505*	*32,468*	*32,277*
Tulare township	11,846	8,053	4,847
Tracy city	*4,065*	*3,329*	*2,460*
Union township	3,080	3,676	1,688
San Luis Obispo County	33,246	29,613	[28] 21,893
Arroyo Grande township	6,250	5,004	3,423
Arroyo Grande city	*1,090*	*892*	*760*
Atascadero township	2,099	2,042	
Cholame township	884	571	847
Morro township	3,658	2,903	1,795
Nipomo township	2,168	1,790	1,120
Paso Robles township	4,360	3,886	3,066
Paso Robles city	*3,045*	*2,573*	*1,919*
San Luis Obispo township	9,692	9,162	6,254
San Luis Obispo city	*8,881*	*8,276*	*5,895*
San Miguel township	801	706	652
San Simeon township	950	1,098	739
Santa Margarita township	1,453	1,232	1,927
Templeton township	931	1,219	1,516
San Mateo County [29]	111,782	77,405	36,781
Township 1	30,981		
Daly City	*9,625*	*7,838*	*3,779*
Lawndale town	*554*	*369*	
San Bruno city	*6,519*	*3,610*	*1,562*
South San Francisco city	*6,629*	*6,193*	*4,411*
Township 2	28,437		
Belmont city	*1,229*	*984*	
Hillsborough town	*2,747*	*1,891*	*931*
San Carlos city	*3,520*	*1,732*	
San Mateo city	*19,405*	*13,444*	*5,979*
Township 3	29,816	20,412	7,606
Atherton town	*1,908*	[29] *1,242*	
Menlo Park city	*3,258*	*2,254*	
Redwood City	*12,453*	*8,962*	*4,020*
Township 4	3,937		
Township 5	18,611		
Burlingame city	*15,940*	*13,270*	*4,107*
Santa Barbara County	70,555	[30] 65,167	[30] 41,097
Township 1	5,793	5,515	3,619
Township 2	36,020	34,783	20,110
Santa Barbara city	*34,958*	*33,613*	*19,441*
Township 3 [30]	4,605	3,313	1,610
Township 4 [30]	1,832	1,617	1,469
Township 5 [30]	5,717	5,685	4,353
Lompoc city	*3,379*	*2,845*	*1,876*
Township 6	468	[30] 555	1,565
Township 7 [30]	11,470	9,638	5,601
Santa Maria city	*8,522*	*7,057*	*3,943*
Township 9 [30]	2,863	2,418	913
Township 10 [30]	1,787	[30] 1,462	1,580
Santa Clara County	174,949	145,118	[31] 100,676
Burnett township	3,229	3,072	2,438
Morgan Hill town	*1,014*	*908*	*646*
Campbell township	4,337	2,791	1,426
Fremont township [31]	12,501	8,611	3,974
Mountain View city	*3,946*	*2,808*	*1,888*
Gilroy township	8,233	7,439	5,566
Gilroy city	*3,615*	*3,502*	*2,862*
Palo Alto township [31]	19,383	15,838	5,900
Palo Alto city [31]	*16,774*	*13,652*	*5,900*
Redwood township	7,822	6,547	4,670
Los Gatos town	*3,597*	*3,168*	*2,317*
San Jose township [31]	90,002	78,967	56,850
Alviso town	*677*	*381*	*517*
San Jose city [31]	*68,457*	*57,651*	*39,642*
Santa Clara township [31]	18,361	14,839	10,462
Santa Clara city [31]	*6,650*	*6,202*	*5,220*
Saratoga township	2,645	2,524	2,093
Sunnyvale township	8,436	4,490	3,390
Sunnyvale city	*4,373*	*3,094*	*1,675*
Santa Cruz County	45,057	37,433	26,269
Santa Cruz township	27,433	22,057	16,564
Santa Cruz city	*16,396*	*14,395*	*10,917*
Watsonville township [32]	17,624	15,376	9,705
Watsonville city [32]	*8,937*	*8,344*	*5,015*

[23] RIVERSIDE.—County totals for 1930 and 1920 include population (841 in 1930; 772 in 1920) of Bergman and Diamond townships, annexed to Hemet, and population (718 in 1930; 441 in 1920) of Moreno township, annexed to Perris township, in 1939. Part of San Jacinto township annexed to Perris township in 1939. Banning city returned in 1930 and 1920 as in San Gorgonio township only. Part of San Gorgonio township annexed to Banning city in 1936, and part taken to form Palm Springs township in 1939. Part of Hemet township annexed to Hemet city in 1936. Indio and Palm Springs cities incorporated in 1930 and 1938, respectively.

[24] SACRAMENTO.—Part of American township annexed to North Sacramento city in 1939, and part of Georgiana township annexed to Isleton city in 1931.

[25] SAN BERNARDINO.—County redistricted at various dates since 1930; comparative figures shown wherever possible.

[26] SAN DIEGO.—County redistricted in 1930, 1931, 1936, and 1937; comparative figures shown wherever possible.

[27] SAN JOAQUIN.—Parts of Elkhorn township annexed to Lodi city in 1935, 1937, 1939, and 1940; parts of O'Neal township annexed to Stockton city in 1931 and 1934.

[28] SAN LUIS OBISPO.—County total for 1920 includes population (554) of Pozo township, annexed to Santa Margarita in 1921.

[29] SAN MATEO.—County redistricted in 1932; comparative figures shown wherever possible. The 1930 figure for Atherton town has been corrected by exclusion of population (82) of 2 institutions, erroneously returned as in the town in that year.

[30] SANTA BARBARA.—County totals for 1930 and 1920 include population (181 in 1930; 277 in 1920) of township 8, annexed to 10 in 1929, but returned separately in 1930. Parts of townships 4 and 5 annexed to 3, and part of township 7 annexed to 9, in 1937; 1930 figures for townships 6 and 10 have been corrected by transfer of population (466) of Careaga precinct, erroneously reported as part of township 6.

[31] SANTA CLARA.—County total for 1920 includes population (1,502) of Mayfield township, including Mayfield town, annexed to Palo Alto township in 1925, and population (2,405) of Almaden, Alviso, and Milpitas townships, annexed to San Jose township in 1922. Part of Fremont township annexed to Palo Alto township in 1931; parts of Palo Alto township annexed to Palo Alto city in 1936 and 1939; parts of San Jose township annexed to San Jose city in 1930 and 1939, and part, comprising Willow Glen city (population 4,167 in 1930), in 1936. Part of Santa Clara township annexed to Santa Clara city in 1936.

[32] SANTA CRUZ.—Part of Watsonville township annexed to Watsonville city in 1930.

TABLE 4.—POPULATION OF COUNTIES BY MINOR CIVIL DIVISIONS: 1920 TO 1940—Continued

MINOR CIVIL DIVISION	1940	1930	1920
Shasta County	28,800	13,927	13,361
Township 1	11,391	5,573	-------
Redding city	*8,109*	*4,188*	*2,962*
Township 2	518	422	-------
Township 3	1,094	1,079	-------
Township 4 [33]	7,849	2,459	-------
Township 5	2,535	1,988	-------
Township 6	1,200	968	-------
Township 7	1,510	751	-------
Township 8	870	687	-------
Township 9 [33]	1,833	-------	-------
Sierra County	3,025	2,422	[34] 1,783
Butte township	207	156	240
Downieville township	736	433	374
Forest township	626	343	332
Loyalton township [34]	1,145	909	464
Loyalton town [34]	*926*	*857*	*442*
Sierra township	247	497	259
Table Rock township	64	84	61
Siskiyou County	28,598	25,480	18,545
Butte township	2,429	1,653	1,003
Mount Shasta town	*1,618*	*1,009*	*542*
Callahan township	439	277	319
Edgewood township	4,683	4,572	2,808
Etna township	817	758	821
Etna town	*456*	*379*	*495*
Greenview township	442	364	383
Happy Camp township	717	566	585
Hilt township	594	712	417
Lake township [35]	1,311	1,980	915
Dorris town	*863*	*762*	*424*
Liberty township	657	369	341
Macdoel township	312	400	747
Mott township	3,555	3,707	2,680
Dunsmuir city [35]	*2,359*	*2,610*	*2,528*
Mountain township	536	647	612
Oak Bar township	505	285	282
Scott River township	346	346	319
Scott Valley township	852	852	827
Fort Jones town	*360*	*302*	*331*
Somes Bar township	268	197	162
Squaw Valley township	2,832	2,670	1,715
Table Rock township	946	1,059	1,285
Montague town	*463*	*507*	*453*
Tennant township	547	725	-------
Tule Lake township [35]	1,819	-------	-------
Tulelake city [35]	*785*	-------	-------
Yreka township	3,991	3,341	2,324
Yreka City town	*2,485*	*2,126*	*1,277*
Solano County	49,118	40,834	40,602
Benicia township	3,178	3,257	3,116
Benicia city	*2,419*	*2,918*	*2,698*
Denverton township	101	134	144
Elmira township	633	628	452
Green Valley township	607	702	618
Maine Prairie township	333	591	221
Montezuma township	316	386	466
Rio Vista township	3,748	4,479	1,925
Rio Vista town	*1,666*	*1,309*	*1,104*
Silveyville township	2,793	2,747	2,444
Dixon town	*1,108*	*1,000*	*926*
Suisun township	4,117	3,945	3,754
Fairfield city [36]	*1,312*	*1,131*	*1,008*
Suisun City town	*706*	*905*	*769*
Tremont township	256	237	275
Solano County—Con.			
Vacaville township [36]	2,968	3,575	3,158
Vacaville town [36]	*1,614*	*1,556*	*1,254*
Vallejo township [36]	30,063	20,153	24,029
Vallejo city [36]	*20,072*	[36] *16,072*	[36] *21,107*
Sonoma County [37]	69,052	62,222	52,090
Analy township	9,455	-------	-------
Sebastopol city	*1,856*	*1,762*	*1,493*
Cloverdale township	2,831	-------	-------
Cloverdale city	*809*	*759*	*718*
Healdsburg township	7,474	-------	-------
Healdsburg city	*2,507*	*2,296*	*2,412*
Petaluma township	15,414	-------	-------
Petaluma city	*8,034*	*8,245*	*6,226*
Redwood township	2,495	-------	-------
Santa Rosa township	23,094	19,019	15,063
Santa Rosa city	*12,605*	*10,636*	*8,758*
Sonoma township	8,289	-------	-------
Sonoma city	*1,158*	*980*	*801*
Stanislaus County	74,866	56,641	43,557
Ceres township	9,818	7,188	5,571
Ceres city	*1,332*	*981*	*637*
La Grange township	424	305	374
Modesto township [38]	31,268	22,924	15,439
Modesto city [38]	*16,379*	*15,842*	*9,241*
Newman township	3,181	3,098	3,196
Newman city	*1,214*	*1,269*	*1,251*
Oakdale township	5,464	4,428	3,906
Oakdale city	*2,592*	*2,112*	*1,745*
Patterson township	5,404	3,317	2,476
Patterson city	*1,109*	*905*	*694*
Riverbank township [38]	4,492	1,378	969
Riverbank city	*1,180*	*803*	-------
Turlock township	12,360	10,825	9,453
Turlock city	*4,899*	*4,276*	*3,394*
Waterford township [38]	2,455	3,178	2,173
Sutter County	18,680	14,618	10,115
Butte township	3,078	2,297	2,096
Nicolaus township	1,838	1,585	1,196
Sutter township	2,445	2,579	1,973
Vernon township	2,804	2,619	1,956
Yuba township	8,515	5,538	2,894
Yuba City town	*4,968*	*3,605*	*1,708*
Tehama County [39]	14,316	13,866	12,882
Corning township	5,838	-------	-------
Corning city	*1,472*	*1,377*	*1,449*
Red Bluff township	8,478	-------	-------
Red Bluff city	*3,824*	*3,517*	*3,104*
Tehama town	*175*	*190*	*196*
Trinity County	3,970	2,809	2,551
Hay Fork township	739	540	491
Junction City township	1,079	665	513
Mad River township	328	437	507
Trinity Center township	422	289	346
Weaverville township	1,402	878	694
Tulare County	107,152	[40] 77,442	[40] 59,031
Alila township	5,507	3,889	2,079
Alpaugh township [40]	1,162	532	594
Dinuba township	10,515	8,177	8,982
Dinuba city	*3,790*	*2,968*	*3,400*
Tulare County—Con.			
Ducor township	3,061	2,334	2,827
Exeter township	7,266	5,067	3,448
Exeter city	*3,883*	*2,685*	*1,852*
Lemon Cove township	4,580	3,328	2,514
Woodlake city [40]	*1,146*	-------	-------
Lindsay township	6,971	5,944	4,204
Lindsay city	*4,397*	*3,878*	*2,676*
Orosi township	4,755	3,299	3,735
Porterville township [40]	16,460	11,153	8,123
Porterville city	*6,270*	*5,308*	*4,097*
Strathmore township [40]	2,219	1,963	1,253
Tipton township [40]	3,531	2,598	1,591
Tulare township	16,854	12,508	8,052
Tulare city	*8,259*	*6,207*	*5,539*
Visalia township	24,271	15,601	10,384
Visalia city	*8,904*	*7,263*	*5,753*
Tuolumne County [41]	10,887	9,271	7,768
Township 1	3,619	-------	-------
Sonora city	*2,257*	*2,278*	*1,684*
Township 2	1,888	-------	-------
Township 3	2,837	-------	-------
Township 4	804	-------	-------
Township 5	1,739	-------	-------
Ventura County [42]	69,685	54,976	28,724
Camarillo township	6,324	-------	-------
Fillmore township	5,704	-------	-------
Fillmore city	*3,252*	*2,893*	*1,597*
Hueneme township	2,727	-------	-------
Oxnard city, total	*8,519*	*6,285*	*4,417*
In Hueneme twp	*48*	-------	-------
In Oxnard twp	*8,471*	*6,285*	*4,417*
Ojai township	5,596	-------	-------
Ojai city	*1,622*	*1,468*	-------
Oxnard township	10,783	-------	-------
Oxnard city (part)	*8,471*	*6,285*	*4,417*
Piru township	1,229	-------	-------
Santa Paula township	11,099	-------	-------
Santa Paula city	*8,986*	*7,452*	*5,967*
Simi township	3,406	-------	-------
Ventura township	22,817	-------	-------
San Buenaventura city (Ventura)	*18,264*	*11,603*	*4,158*
Yolo County	27,243	23,644	17,105
Blacks township	387	399	378
Cacheville township	1,012	729	667
Capay township [43]	449	580	611
Clarksburg township	2,868	3,021	1,088
Cottonwood township [43]	693	742	611
Dunnigan township	318	255	386
Esparto township [43]	651	575	612
Grafton township	1,366	1,428	770
Guinda township	328	466	525
Putah township	2,688	2,097	1,535
Davis city	*1,672*	*1,243*	*939*
Washington township	5,185	4,137	2,638
Winters township	2,291	1,561	1,533
Winters town	*1,133*	*896*	*903*
Woodland township [43]	9,007	7,654	5,751
Woodland city [43]	*6,637*	*5,542*	*4,147*
Yuba County	17,034	11,331	10,375
Camptonville township	236	188	-------
Marysville township	15,889	10,119	-------
Marysville city	*6,646*	*5,765*	*5,461*
Wheatland township	909	1,024	-------
Wheatland town	*496*	*479*	*456*

[33] SHASTA.—Township 9 organized from part of 4 in 1930.

[34] SIERRA.—County total for 1920 includes population (53) of Plum Valley township, annexed to Forest in 1922. Part of Loyalton town reverted to Loyalton township in 1936.

[35] SISKIYOU.—Tule Lake township organized from part of Lake in 1929, but not returned separately in 1930. Tulelake city incorporated in 1937. Dunsmuir town incorporated as a city in 1935.

[36] SOLANO.—Part of Vacaville township annexed to Vacaville town in 1939, and part of Vallejo township annexed to Vallejo city in 1936. The figures for 1930 and 1920 for Vallejo city have been corrected to include population (1,596 in 1930; 4,262 in 1920) of Mare Island Naval Reservation, erroneously returned as in Vallejo township, outside Vallejo city, in those years. No change has been made in the urban figures because of the correction in the population of Vallejo city, as here indicated. Fairfield town incorporated as a city in 1938.

[37] SONOMA.—County redistricted in 1933, 1934, and 1938; comparative figures shown wherever possible.

[38] STANISLAUS.—Parts of Modesto township annexed to Modesto city in 1934, 1938, and 1939. Part of Waterford township annexed to Riverbank township in 1939.

[39] TEHAMA.—County redistricted in 1935; comparative figures shown wherever possible.

[40] TULARE.—County totals for 1930 and 1920 include population (85 in 1930; 156 in 1920) of Allensworth township, and population (299 in 1930; 317 in 1920) of Angiola township, annexed to Alpaugh in 1930, but returned separately in 1930; and population (665 in 1930; 608 in 1920) of Springville township, annexed to Porterville township in 1927, but returned separately in 1930. Total for 1920 also includes population (164) of Tule River Indian Reservation, returned independently in 1920. Parts of Strathmore and Tipton townships annexed to Porterville township in 1937. Woodlake city incorporated in 1939.

[41] TUOLUMNE.—County redistricted in 1939; comparative figures shown wherever possible.

[42] VENTURA.—County redistricted in 1934; comparative figures shown wherever possible.

[43] YOLO.—Parts of Capay and Cottonwood townships annexed to Esparto in 1930; part of Woodland township annexed to Woodland city in 1934.

Incorporated and urban places.—Table 5 shows the population in 1940 and 1930 of the incorporated places (cities and towns) and of the one urban township in California. In this table the places are arranged in alphabetical order, each followed by the name of the county in which it is located. In table 6 the population of the cities of 5,000 or more that are subdivided into wards is shown by wards.

TABLE 5.—POPULATION OF INCORPORATED AND URBAN PLACES: 1940 AND 1930

[The population of these places in 1920 is given in table 4. Places marked with an asterisk (*) were classified as urban in 1940; Belvedere township, which has two asterisks (**), was classified as urban under special rule]

CITY OR TOWN	County	1940	1930
Alameda*	Alameda	36,256	35,033
Albany*	Alameda	11,493	8,569
Alhambra*	Los Angeles	38,935	29,472
Alturas	Modoc	2,090	2,338
Alviso	Santa Clara	677	381
Amador	Amador	249	171
Anaheim*	Orange	11,031	10,995
Angels	Calaveras	1,163	915
Antioch*	Contra Costa	5,106	3,563
Arcadia*	Los Angeles	9,122	5,216
Arcata	Humboldt	1,855	1,709
Arroyo Grande	San Luis Obispo.	1,090	892
Atherton	San Mateo	1,908	[1] 1,242
Atwater	Merced	1,235	917
Auburn*	Placer	4,013	2,661
Avalon	Los Angeles	1,637	1,897
Azusa*	Los Angeles	5,209	4,808
Bakersfield*	Kern	29,252	26,015
Banning*	Riverside	3,874	2,752
Beaumont	Riverside	2,208	1,332
Bell*	Los Angeles	11,264	7,884
Belmont	San Mateo	1,229	984
Belvedere	Marin	457	500
Belvedere township.**	Los Angeles	37,192	33,023
Benicia	Solano	2,419	2,913
Berkeley*	Alameda	85,547	82,109
Beverly Hills*	Los Angeles	26,823	17,429
Biggs	Butte	547	463
Bishop	Inyo	1,490	1,159
Blue Lake	Humboldt	503	555
Blythe	Riverside	2,355	1,020
Brawley*	Imperial	11,718	10,439
Brea*	Orange	2,567	2,435
Burbank*	Los Angeles	34,337	16,662
Burlingame*	San Mateo	15,940	13,270
Calexico*	Imperial	5,415	6,299
Calipatria	Imperial	1,799	1,554
Calistoga	Napa	1,124	1,000
Carmel-by-the-Sea.*	Monterey	2,837	2,260
Ceres	Stanislaus	1,332	981
Chico*	Butte	9,287	7,961
Chino*	San Bernardino.	4,204	3,118
Chowchilla	Madera	1,957	847
Chula Vista*	San Diego	5,138	3,869
Claremont*	Los Angeles	3,057	2,719
Cloverdale	Sonoma	809	759
Clovis	Fresno	1,626	1,316
Coalinga*	Fresno	5,026	2,851
Colfax	Placer	794	912
Colton*	San Bernardino.	9,686	8,014
Colusa	Colusa	2,285	2,116
Compton*	Los Angeles	16,198	12,516
Concord	Contra Costa	1,373	1,125
Corcoran	Kings	2,092	1,768
Corning	Tehama	1,472	1,377
Corona*	Riverside	8,764	7,018
Coronado*	San Diego	6,932	5,425
Corte Madera	Marin	1,098	1,027
Covina*	Los Angeles	3,049	2,774
Crescent City	Del Norte	1,363	1,720
Culver City*	Los Angeles	8,976	5,669
Daly City*	San Mateo	9,625	7,838
Davis	Yolo	1,672	1,243
Delano*	Kern	4,573	2,632
Dinuba*	Tulare	3,790	2,968
Dixon	Solano	1,108	1,000
Dorris	Siskiyou	863	762
Dos Palos	Merced	978	----------
Dunsmuir	Siskiyou	2,359	2,610
El Cajon	San Diego	1,471	1,050
El Centro*	Imperial	10,017	8,434
El Cerrito*	Contra Costa	6,137	3,870
El Monte*	Los Angeles	4,746	3,479
El Segundo*	Los Angeles	3,738	3,503
Elsinore	Riverside	1,552	1,350
Emeryville*	Alameda	2,521	2,336
Escondido*	San Diego	4,560	3,421
Etna	Siskiyou	456	379
Eureka*	Humboldt	17,055	15,752
Exeter*	Tulare	3,883	2,685
Fairfax	Marin	2,198	----------
Fairfield	Solano	1,312	1,131
Ferndale	Humboldt	901	889
Fillmore*	Ventura	3,252	2,893
Firebaugh	Fresno	704	506
Fort Bragg*	Mendocino	3,235	3,022
Fort Jones	Siskiyou	360	302
Fortuna	Humboldt	1,413	1,239
Fowler	Fresno	1,531	1,171
Fresno*	Fresno	60,685	52,513
Fullerton*	Orange	10,442	10,860
Gardena*	Los Angeles	5,909	----------
Gilroy*	Santa Clara	3,615	3,502
Glendale*	Los Angeles	82,582	62,736
Glendora*	Los Angeles	2,822	2,761
Grass Valley*	Nevada	5,701	3,817
Gridley	Butte	2,338	1,941
Gustine	Merced	1,355	1,016
Hanford*	Kings	8,234	7,028
Hawthorne*	Los Angeles	8,263	6,596
Hayward*	Alameda	6,736	5,530
Healdsburg*	Sonoma	2,507	2,206
Hemet*	Riverside	2,595	2,235
Hercules	Contra Costa	343	392
Hermosa Beach*	Los Angeles	7,197	4,796
Hillsborough*	San Mateo	2,747	1,891
Hollister*	San Benito	3,881	3,757
Holtville	Imperial	1,772	1,758
Hornitos	Mariposa	159	62
Huntington Beach.*	Orange	3,738	3,690
Huntington Park.*	Los Angeles	28,648	24,591
Imperial	Imperial	1,493	1,943
Indio	Riverside	2,296	----------
Inglewood*	Los Angeles	30,114	19,480
Isleton	Sacramento	1,837	2,090
Jackson	Amador	2,024	2,005
King City	Monterey	1,768	1,483
Kingsburg	Fresno	1,504	1,322
Laguna Beach*	Orange	4,460	1,981
La Habra	Orange	2,499	2,273
Lakeport	Lake	1,490	1,318
La Mesa*	San Diego	3,925	2,513
Larkspur	Marin	1,558	1,241
La Verne*	Los Angeles	3,092	2,860
Lawndale	San Mateo	354	369
Lemoore	Kings	1,711	1,399
Lincoln	Placer	2,044	2,094
Lindsay*	Tulare	4,397	3,878
Livermore*	Alameda	2,885	3,119
Livingston	Merced	895	803
Lodi*	San Joaquin	11,079	6,788
Lompoc*	Santa Barbara	3,379	2,845
Long Beach*	Los Angeles	164,271	142,032
Los Angeles*	Los Angeles	1,504,277	1,238,048
Los Banos	Merced	2,214	1,875
Los Gatos*	Santa Clara	3,597	3,168
Loyalton	Sierra	925	837
Lynwood*	Los Angeles	10,982	7,323
Madera*	Madera	6,457	4,665
Manhattan Beach.*	Los Angeles	6,398	1,891
Manteca	San Joaquin	1,981	1,614
Maricopa	Kern	670	1,071
Martinez*	Contra Costa	7,381	6,569
Marysville*	Yuba	6,646	5,763
Maywood*	Los Angeles	10,731	6,794
Menlo Park*	San Mateo	3,258	2,254
Merced*	Merced	10,135	7,066
Mill Valley*	Marin	4,847	4,164
Modesto*	Stanislaus	16,379	13,842
Monrovia*	Los Angeles	12,807	10,890
Montague	Siskiyou	463	507
Montebello*	Los Angeles	8,016	5,498
Monterey*	Monterey	10,084	9,141
Monterey Park*	Los Angeles	8,531	6,406
Morgan Hill	Santa Clara	1,014	908
Mountain View*	Santa Clara	3,946	3,308
Mount Shasta	Siskiyou	1,618	1,009
Napa*	Napa	7,740	6,437
National City*	San Diego	10,344	7,301
Needles*	San Bernardino.	3,624	3,144
Nevada City	Nevada	2,445	1,701
Newman	Stanislaus	1,214	1,269
Newport Beach*	Orange	4,438	2,203
North Sacramento.*	Sacramento	3,053	2,097
Oakdale*	Stanislaus	2,592	2,112
Oakland*	Alameda	302,163	284,063
Oceanside*	San Diego	4,651	3,508
Ojai	Ventura	1,622	1,468
Ontario*	San Bernardino.	14,197	13,583
Orange*	Orange	7,901	8,066
Orland	Glenn	1,366	1,195
Oroville*	Butte	4,421	3,698
Oxnard*	Ventura	8,519	6,285
Pacific Grove*	Monterey	6,249	5,558
Palm Springs*	Riverside	3,434	----------
Palo Alto*	Santa Clara	16,774	13,652
Palos Verdes Estates.	Los Angeles	987	----------
Parlier	Fresno	776	564
Pasadena*	Los Angeles	81,864	76,086
Paso Robles*	San Luis Obispo.	3,045	2,573
Patterson	Stanislaus	1,109	905
Perris	Riverside	1,011	763
Petaluma*	Sonoma	8,034	8,245
Piedmont*	Alameda	9,866	9,333
Pinole	Contra Costa	934	781
Pittsburg*	Contra Costa	9,520	9,610
Placentia	Orange	1,472	1,606
Placerville*	El Dorado	3,064	2,322
Pleasanton	Alameda	1,278	1,237
Plymouth	Amador	460	343
Point Arena	Mendocino	374	385
Pomona*	Los Angeles	23,539	20,804
Porterville*	Tulare	6,270	5,303
Red Bluff*	Tehama	3,824	3,517
Redding*	Shasta	8,109	4,188
Redlands*	San Bernardino.	14,324	14,177
Redondo Beach*	Los Angeles	13,092	9,347
Redwood City*	San Mateo	12,453	8,962
Reedley*	Fresno	3,170	2,589
Rialto	San Bernardino.	1,770	1,642
Richmond*	Contra Costa	23,642	20,093
Rio Vista	Solano	1,666	1,309
Riverbank	Stanislaus	1,130	803
Riverside*	Riverside	34,696	29,696
Rocklin	Placer	795	724
Roseville*	Placer	6,653	6,425
Ross	Marin	1,751	1,355
Sacramento*	Sacramento	105,958	93,750
St. Helena	Napa	1,758	1,582
Salinas*	Monterey	11,586	10,263
San Anselmo*	Marin	5,790	4,650
San Bernardino*	San Bernardino.	43,646	37,481
San Bruno*	San Mateo	6,519	3,610
San Buenaventura*	Ventura	13,264	11,603
San Carlos*	San Mateo	3,520	1,132
San Clemente	Orange	479	667
San Diego*	San Diego	203,341	147,995
San Fernando*	Los Angeles	9,094	7,567
San Francisco*	San Francisco	634,536	634,394
San Gabriel*	Los Angeles	11,867	7,224
Sanger*	Fresno	4,017	2,967
San Jacinto	Riverside	1,356	1,346
San Joaquin	Fresno	240	163
San Jose*	Santa Clara	68,457	57,651
San Juan	San Benito	678	772
San Leandro*	Alameda	14,601	11,455
San Luis Obispo.*	San Luis Obispo.	8,881	8,276
San Marino*	Los Angeles	8,175	3,730
San Mateo*	San Mateo	19,403	13,444
San Rafael*	Marin	8,573	8,022
Santa Ana*	Orange	31,921	30,322
Santa Barbara*	Santa Barbara	34,958	33,613
Santa Clara*	Santa Clara	6,650	6,302
Santa Cruz*	Santa Cruz	16,896	14,395
Santa Maria*	Santa Barbara	8,522	7,057

[1] Corrected figure; see footnote on San Mateo County, table 4.

TABLE 5.—POPULATION OF INCORPORATED AND URBAN PLACES: 1940 AND 1930—Continued

[The population of these places in 1920 is given in table 4. Places marked with an asterisk (*) were classified as urban in 1940; Belvedere township, which has two asterisks (**), was classified as urban under special rule]

CITY OR TOWN	County	1940	1930	CITY OR TOWN	County	1940	1930	CITY OR TOWN	County	1940	1930
Santa Monica*	Los Angeles	53,500	37,146	Stockton*	San Joaquin	54,714	47,963	Vacaville	Solano	1,614	1,556
Santa Paula*	Ventura	8,986	7,452	Suisun City	Solano	706	905	Vallejo*	Solano	20,072	[2] 16,072
Santa Rosa*	Sonoma	12,605	10,636	Sunnyvale*	Santa Clara	4,373	3,94	Vernon	Los Angeles	850	1,269
Sausalito*	Marin	3,540	3,667	Susanville	Lassen	1,575	1,358				
								Visalia*	Tulare	8,904	7,263
Seal Beach	Orange	1,553	1,156	Sutter Creek	Amador	1,134	1,013	Walnut Creek	Contra Costa	1,578	1,014
Sebastopol	Sonoma	1,856	1,762	Taft*	Kern	3,205	3,442	Watsonville*	Santa Cruz	8,937	8,344
Selma*	Fresno	3,667	3,047	Tehachapi	Kern	1,264	736	West Covina	Los Angeles	1,072	769
Shafter	Kern	1,258		Tehama	Tehama	175	190	Westmorland	Imperial	1,010	
				Torrance*	Los Angeles	9,950	7,271				
Sierra Madre*	Los Angeles	4,581	3,550					Wheatland	Yuba	496	479
Signal Hill*	Los Angeles	3,184	2,932	Tracy*	San Joaquin	4,056	3,829	Whittier*	Los Angeles	16,115	14,822
Soledad	Monterey	861	594	Trinidad	Humboldt	94	107	Williams	Colusa	814	851
Sonoma	Sonoma	1,158	980	Tulare*	Tulare	8,259	6,207	Willits	Mendocino	1,625	1,424
				Tulelake	Siskiyou	785		Willows	Glenn	2,215	2,024
Sonora	Tuolumne	2,257	2,278	Turlock*	Stanislaus	4,839	4,276	Winters	Yolo	1,133	896
South Gate*	Los Angeles	26,945	19,632					Woodlake	Tulare	1,146	
South Pasadena*	Los Angeles	14,356	13,730	Tustin	Orange	953	926	Woodland*	Yolo	6,637	5,542
South San Francisco.*	San Mateo	6,629	6,193	Ukiah*	Mendocino	3,731	3,124	Yreka City	Siskiyou	2,485	2,126
				Upland*	San Bernardino	6,316	4,713	Yuba City*	Sutter	4,968	3,605

[2] Corrected figure; see footnote on Solano County, table 4.

TABLE 6.—POPULATION OF CITIES OF 5,000 OR MORE BY WARDS: 1940

CITY AND WARD	Population	CITY AND WARD	Population	CITY AND WARD	Population	CITY AND WARD	Population
Bakersfield	29,252	**Pomona**	23,539	**San Francisco**	634,536	**Santa Rosa**	12,605
Ward 1	5,320	Ward 1	6,396	Assembly dist. 20	66,200	Ward 1	1,496
Ward 2	4,591	Ward 2	5,322	Assembly dist. 21	58,888	Ward 2	1,571
Ward 3	4,189	Ward 3	5,151	Assembly dist. 22	113,484	Ward 3	1,436
Ward 4	3,252	Ward 4	6,670	Assembly dist. 23	61,217	Ward 4	1,727
Ward 5	4,266			Assembly dist. 24	63,022	Ward 5	1,408
Ward 6	3,571	**Riverside**	34,696	Assembly dist. 25	77,595	Ward 6	1,471
Ward 7	4,063			Assembly dist. 26	60,624	Ward 7	1,347
		Ward 1	3,848	Assembly dist. 27	65,587	Ward 8	1,306
Eureka	17,055	Ward 2	3,930	Assembly dist. 28	67,919	Ward 9	843
		Ward 3	4,020	**Santa Ana**	31,921		
Ward 1	1,118	Ward 4	6,394	Ward 1	6,339	**Stockton**	54,714
Ward 2	1,911	Ward 5	4,452	Ward 2	5,905	Ward 1	8,538
Ward 3	5,642	Ward 6	7,763	Ward 3	6,713	Ward 2	10,785
Ward 4	2,215	Ward 7	4,289	Ward 4	7,336	Ward 3	6,337
Ward 5	6,169			Ward 5	5,628	Ward 4	10,875
		San Bernardino	43,646			Ward 5	6,752
Inglewood	30,114			**Santa Barbara**	34,958	Ward 6	11,430
		Ward 1	4,945	Ward 1	7,517		
Ward 1	8,789	Ward 2	5,939	Ward 2	5,433	**Watsonville**	8,937
Ward 2	7,313	Ward 3	5,943	Ward 3	5,166	Ward 1	1,972
Ward 3	6,093	Ward 4	13,991	Ward 4	5,834	Ward 2	3,746
Ward 4	7,919	Ward 5	12,828	Ward 5	4,369	Ward 3	1,697
				Ward 6	6,639	Ward 4	1,522

NOTE.—Other places of more than 5,000 (Alameda, Albany, Alhambra, Anaheim, Arcadia, Azusa, Bell, Berkeley, Beverly Hills, Brawley, Burbank, Burlingame, Calexico, Chico, Chula Vista, Coalinga, Colton, Compton, Corona, Coronado, Culver City, Daly City, El Centro, El Cerrito, Fresno, Fullerton, Gardena, Glendale, Grass Valley, Hanford, Hawthorne, Hayward, Hermosa Beach, Huntington Park, Lodi, Long Beach, Los Angeles, Lynwood, Madera, Manhattan Beach, Martinez, Marysville, Maywood, Merced, Modesto, Monrovia, Montebello, Monterey, Monterey Park, Napa, National City, Oakland, Ontario, Orange, Oxnard, Pacific Grove, Palo Alto, Pasadena, Petaluma, Piedmont, Pittsburg, Porterville, Redding, Redlands, Redondo Beach, Redwood City, Richmond, Roseville, Sacramento, Salinas, San Bruno, San Buenaventura, San Diego, San Fernando, San Gabriel, San Jose, San Leandro, San Luis Obispo, San Marino, San Mateo, San Rafael, Santa Clara, Santa Cruz, Santa Maria, Santa Monica, Santa Paula, South Gate, South Pasadena, South San Francisco, Torrance, Tulare, Upland, Vallejo, Visalia, Whittier, and Woodland cities, and Antioch and San Anselmo towns) have no wards.

Metropolitan districts.—Metropolitan districts have been set up for use in the 1940 Census of Population in connection with each city of 50,000 or more, two or more such cities sometimes being in one district. The general plan is to include in the district, in addition to the central city or cities, all adjacent and contiguous minor civil divisions or incorporated places having a population of 150 or more per square mile. In some metropolitan districts a few less densely populated contiguous divisions are included on the basis of special qualifications. Only a portion of a minor civil division is included if the minor civil division has a large area and the principal concentration of population is in a small section near the central city with the more remote sections being sparsely settled. In such cases, the unit considered is not the minor civil division but component enumeration districts. (For example, not all of the enumeration districts in National township of San Diego County are included in the San Diego metropolitan district.) A metropolitan district is thus not a political unit but rather an area including all the thickly settled territory in and around a city or group of cities. It tends to be a more or less integrated area with common economic, social, and, often, administrative interests.

Table 7 shows the population of the Fresno metropolitan district and its constituent political units in 1940. This district was defined for the first time in 1940. For comparison the 1930 population of the units comprising the present district is also shown, together

with the increase between 1930 and 1940. In 1940 the Fresno metropolitan district had 97,504 inhabitants, while in 1930 the same area had a population of 78,118.

TABLE 7.—POPULATION OF THE FRESNO METROPOLITAN DISTRICT: 1940 AND 1930

[This area was not defined as a metropolitan district in 1930; the figures shown in the second column represent the 1930 population of the specified places as defined in 1930]

AREA	POPULATION		INCREASE	
	1940	1930	Number	Percent
The metropolitan district	97,504	78,118	19,386	24.8
Fresno city [1]	60,685	52,513	8,172	15.6
Outside city	36,819	25,605	11,214	43.8
Unincorporated areas	36,819	25,605	11,214	43.8
District includes the following minor civil divisions (judicial townships):				
In Fresno County	97,504	78,118	19,386	24.8
Township 3 [1] (incl. Fresno city)	97,504	78,118	19,386	24.8

[1] Parts of township 3 annexed to Fresno city in 1931, 1937, 1938, 1939, and 1940.

Table 7–A shows the population of the Los Angeles metropolitan district and its constituent political units in 1940 and 1930, together with the increase or decrease during the decade. In 1940 the Los Angeles metropolitan district had 2,904,596 inhabitants, while in 1930 the district as then constituted had a population of 2,318,526. Catalina township, in Los Angeles County, which was in the metropolitan district in 1930, was not included in the metropolitan district in 1940. The redistricting of Los Angeles County between 1930 and 1940 necessitated an additional redefinition of the boundaries of the metropolitan district, resulting in a slight increase in the area included in the district. The net effect of these changes was to alter the area of the metropolitan district only slightly; the net effect upon the population increase in the district is not ascertainable.

TABLE 7–A.—POPULATION OF THE LOS ANGELES METROPOLITAN DISTRICT: 1940 AND 1930

[A minus sign (−) denotes decrease]

AREA	POPULATION		INCREASE	
	1940	1930	Number	Percent
The metropolitan district	2,904,596	[1] 2,318,526	586,070	25.3
Los Angeles city [2]	1,504,277	1,238,048	266,229	21.5
Outside city	1,400,319	[1] 1,080,478	319,841	29.6
Incorporated places	933,063	[3] 738,774	194,289	26.3
Alhambra city	38,935	29,472	9,463	32.1
Anaheim city [4]	11,031	10,995	36	0.3
Arcadia city	9,122	5,216	3,906	74.9
Azusa city	5,209	4,808	401	8.3
Bell city	11,264	7,884	3,380	42.9
Beverly Hills city	26,823	17,429	9,394	53.9
Brea city	2,567	2,435	132	5.4
Burbank city	34,337	16,662	17,675	106.1
Claremont city	3,057	2,719	338	12.4
Compton city	16,198	12,516	3,682	29.4
Covina city	3,049	2,774	275	9.9
Culver City	8,976	5,669	3,307	58.3
El Monte city	4,746	3,479	1,267	36.4
El Segundo city	3,738	3,503	235	6.7
Fullerton city	10,442	10,860	−418	−3.8
Gardena city	5,909	[5]		
Glendale city	82,582	62,736	19,846	31.6
Glendora city	2,822	2,761	61	2.2
Hawthorne city	8,263	6,596	1,667	25.3
Hermosa Beach city	7,197	4,796	2,401	50.1
Huntington Beach city	3,738	3,690	48	1.3
Huntington Park city	28,648	24,591	4,057	16.5
Inglewood city	30,114	19,480	10,634	54.6
La Habra city	2,499	2,273	226	9.9
La Verne city	3,092	2,860	232	8.1
Long Beach city	164,271	142,032	22,239	15.7
Lynwood city	10,982	7,323	3,659	50.0
Manhattan Beach city	6,398	1,891	4,507	238.3
Maywood city	10,731	6,794	3,937	57.9
Monrovia city	12,807	10,890	1,917	17.6
Montebello city	8,016	5,498	2,518	45.8
Monterey Park city	8,531	6,406	2,125	33.2
Newport Beach city [6]	4,438	2,203	2,235	101.5
Ontario city [7]	14,197	13,583	614	4.5
Orange city [8]	7,901	8,066	−165	−2.0
Palos Verdes Estates city	987	[5]		
Pasadena city	81,864	76,086	5,778	7.6
Placentia city	1,472	1,606	−134	−8.3
Pomona city	23,539	20,804	2,735	13.1
Redondo Beach city	13,092	9,347	3,745	40.1
San Fernando city	9,094	7,567	1,527	20.2
San Gabriel city	11,867	7,224	4,643	64.3
San Marino city	8,175	3,730	4,445	119.2
Santa Ana city	31,921	30,322	1,599	5.3
Santa Monica city	53,500	37,146	16,354	44.0
Seal Beach city	1,553	1,156	397	34.3
Sierra Madre city	4,581	3,550	1,031	29.0
Signal Hill city	3,184	2,932	252	8.6
South Gate city	26,945	19,632	7,313	37.3
South Pasadena city	14,356	13,730	626	4.6
Torrance city	9,950	7,271	2,679	36.8
Upland city [7]	6,316	4,713	1,603	34.0
Vernon city	850	1,269	−419	−33.0
West Covina city	1,072	769	303	39.4
Whittier city	16,115	14,822	1,293	8.7
Unincorporated areas	467,256	[1] 341,704	125,552	36.7
District includes the following minor civil divisions (judicial townships):				
In Los Angeles County [1]	2,765,569	2,190,738	574,831	26.2
Belvedere township [9]	37,192	[9] 33,023	4,169	12.6
Beverly Hills township (incl. Beverly Hills city)	51,048			
Compton township (incl. Compton and Lynwood cities)	54,166			
Downey township	45,913			
El Monte township (incl. Covina, El Monte, and West Covina cities)	51,433			
Glendale township (part,[10] incl. Burbank and Glendale cities)	128,789			
Inglewood township (incl. El Segundo, Gardena, Hawthorne, Hermosa Beach, Inglewood, Manhattan Beach, Palos Verdes Estates, Redondo Beach, and Torrance cities)	125,628			
Long Beach township (comprising Long Beach city)	164,271	142,032	22,239	15.7
Los Angeles township [2] (comprising Los Angeles city)	1,504,277	1,238,048	266,229	21.5
Monrovia township (part,[10] incl. Arcadia, Azusa, Glendora, Monrovia, and Sierra Madre cities)	43,440			
Montebello township (incl. Montebello city)	50,345	38,641	11,704	30.3
Pasadena township (part,[10] incl. Pasadena and South Pasadena cities)	128,639			
San Antonio township (incl. Bell, Huntington Park, Maywood, South Gate, and Vernon cities)	140,037			
San Fernando township (comprising San Fernando city)	9,094	7,567	1,527	20.2

[1] Catalina township, Los Angeles County (population 1,933 in 1940 and 1,986 in 1930), was in the metropolitan district in 1930, but is not included in the district as defined in 1940. Redistricting of Los Angeles County in 1931, 1932, 1935, and 1939 necessitated a redefinition of boundaries of the metropolitan district, resulting in a slight increase in the area included in the district. (Comparative figures for the judicial townships in Los Angeles County shown wherever possible.) Boundaries of that part of Orange township (Orange Co.) included in the metropolitan district slightly changed since 1930 to conform with selected 1940 census enumeration districts, but area included in 1940 and 1930 is approximately the same. The net effect of these 3 changes was to change the area of the metropolitan district only slightly; the net effect upon the population increase in the district is not ascertainable.

[2] Tujunga city, formerly in La Crescenta township (Los Angeles Co.), annexed to Los Angeles city (coextensive with Los Angeles township) in 1932.

[3] Includes population (2,311) of Tujunga city, annexed to Los Angeles city in 1932, and population (1,897) of Avalon city, not included in the metropolitan district as defined in 1940. (The 1940 population of Avalon city is 1,637.)

[4] Part of Anaheim township (Orange Co.) annexed to Anaheim city in 1931.

[5] Gardena and Palos Verdes Estates cities, in Inglewood township (Los Angeles Co.), incorporated in 1930 and 1939, respectively.

[6] Part of Newport Beach township (Orange Co.) annexed to Newport Beach city in 1930.

[7] Parts of Ontario city in Ontario township annexed to Upland city in Upland township (San Bernardino Co.) in 1931 and 1935.

[8] Part of Orange township (Orange Co.) annexed to Orange city in 1934.

[9] Belvedere township classified as urban in 1940 and 1930 under special rule; figure for 1930 shown, although there have been minor changes in boundaries since 1930.

[10] Those parts of Glendale, Monrovia, Pasadena, and San Jose townships in the metropolitan district are exclusive of that part of Angeles National Forest in each.

TABLE 7–A.—POPULATION OF THE LOS ANGELES METROPOLITAN DISTRICT: 1940 AND 1930—Continued

[A minus sign (–) denotes decrease]

AREA	POPULATION		INCREASE	
	1940	1930	Number	Percent
In Los Angeles County—Continued.				
San Gabriel township (incl. Alhambra, Monterey Park, San Gabriel, and San Marino cities)	86,092			
San Jose township (part,[10] incl. Claremont, La Verne, and Pomona cities)	36,550			
Santa Monica township (comprising Santa Monica city)	53,500	37,146	16,354	44.0
Signal Hill township (incl. Signal Hill city)	5,242			
Venice township (incl. Culver City)	16,286			
Whittier township (incl. Whittier city)	32,727	27,102	5,625	20.8
In Orange County	116,667	108,092	8,575	7.9
Anaheim township [11] (incl. Anaheim city)	26,097	23,309	2,788	12.0
Brea township (incl. Brea and La Habra cities)	7,461	7,289	172	2.4
Fullerton township (incl. Fullerton and Placentia cities)	14,983	16,701	−1,718	−10.3
Huntington Beach township [12] (incl. Huntington Beach city)	12,561	11,148	1,413	12.7
Newport Beach township [6] (incl. Newport Beach city)	9,428	5,244	4,184	79.8
Orange township [1] (part,[13] incl. Orange city)	10,563	11,278	−715	−6.3
Santa Ana township (incl. Santa Ana city)	33,000	31,112	1,888	6.1
Seal Beach township (incl. Seal Beach city)	2,574	2,011	563	28.0
In San Bernardino County	22,360	19,696	2,664	13.5
Ontario township [7] (incl. Ontario city)	16,044	14,983	1,061	7.1
Upland township [7] (part, comprising Upland city)	6,316	4,713	1,603	34.0

For notes 1, 6, 7, and 10, see preceding page.

[11] Part annexed to Anaheim city in 1931, and part of Huntington Beach township annexed in 1933.

[12] Part annexed to Anaheim township in 1933.

[13] Comprises that part of Orange township south and west of the line formed by Highway 181, Highway 43, Orange city limits, Highway 182, and El Modeno-Lemon Heights Road. Part annexed to Orange city in 1934.

Table 7–B shows the population of the Sacramento metropolitan district and its constituent political units in 1940 and 1930, together with the increase during the decade. The Sacramento metropolitan district had 158,999 inhabitants in 1940 as compared with 126,995 in 1930. The metropolitan district in 1940 had exactly the same area as in 1930.

TABLE 7–B.—POPULATION OF THE SACRAMENTO METROPOLITAN DISTRICT: 1940 AND 1930

AREA	POPULATION		INCREASE	
	1940	1930	Number	Percent
The metropolitan district	158,999	126,995	32,004	25.2
Sacramento city	105,958	93,750	12,208	13.0
Outside city	53,041	33,245	19,796	59.5
Incorporated places	3,053	2,097	956	45.6
North Sacramento city [1]	3,053	2,097	956	45.6
Unincorporated areas	49,988	31,148	18,840	60.5
District includes the following minor civil divisions (judicial townships):				
In Sacramento County	153,814	122,858	30,956	25.2
American township [1] (incl. North Sacramento city)	17,227	9,822	7,405	75.4
Brighton township	10,187	6,488	3,699	57.0
Center township	10,505	5,183	5,322	102.7
Sacramento township (comprising Sacramento city)	105,958	93,750	12,208	13.0
San Joaquin township	9,937	7,615	2,322	30.5
In Yolo County	5,185	4,137	1,048	25.3
Washington township	5,185	4,137	1,048	25.3

[1] Part of American township annexed to North Sacramento city in 1939.

Table 7–C shows the population of the San Diego metropolitan district and its constituent political units in 1940 and some comparative figures for 1930, together with the increase during the decade. In 1940 the San Diego metropolitan district had 256,368 inhabitants, while in 1930 the district as then constituted had a population of 181,020. The redistricting of San Diego County between 1930 and 1940 necessitated a redefinition of the boundaries of the metropolitan district, resulting in a slight net increase in the area included in the district; the effect upon the population increase in the district is not ascertainable.

TABLE 7–C.—POPULATION OF THE SAN DIEGO METROPOLITAN DISTRICT: 1940 AND 1930

AREA	POPULATION		INCREASE	
	1940	1930	Number	Percent
The metropolitan district	256,368	181,020	75,348	41.6
San Diego city	203,341	147,995	55,346	37.4
Outside city	53,027	33,025	20,002	60.6
Incorporated places	27,810	19,108	8,702	45.5
Chula Vista city	5,138	3,869	1,269	32.8
Coronado city	6,932	5,425	1,507	27.8
El Cajon city	1,471	(1)		
La Mesa city	3,925	2,513	1,412	56.2
National City	10,344	7,301	3,043	41.7
Unincorporated areas	25,217	13,917	11,300	81.2
District includes the following minor civil divisions (judicial townships):				
In San Diego County [2]	256,368	181,020	75,348	41.6
El Cajon township (part,[3] incl. El Cajon and La Mesa cities)	18,132			
Encinitas township	4,473			
National township (part,[4] incl. National City, Chula Vista, and Coronado cities)	30,026			
San Diego township (incl. San Diego city)	203,737			

[1] Not included in the metropolitan district in 1930 (population 1,050 in 1930).

[2] Redistricting of San Diego County in 1930, 1931, 1936, and 1937 necessitated redefinition of boundaries of metropolitan district, resulting in a slight net increase in the area included in the district; effect upon population increase in district not ascertainable. Comparative figures for the judicial townships cannot be shown.

[3] Comprises that part of El Cajon township south of San Diego River and west of El Capitan Reservoir, Chocolate Creek, U. S. Highway 80, road from U. S. Highway 80 to Oak Glen, Oak Glen-Harbison Canyon Road, Harbison Canyon, Sweetwater River, and Highway 200.

[4] Comprises that part of National township west of unnamed river to Otay Reservoir, north of Chula Vista-Otay Reservoir Road and Chula Vista city limits, and west of U. S. Highway 101.

Table 7–D shows the population of the San Francisco-Oakland metropolitan district and its constituent political units in 1940 and 1930, together with the increase or decrease during the decade. In 1940 the San Francisco-Oakland metropolitan district had 1,428,525 inhabitants, while in 1930 the district as then constituted had a population of 1,290,094. Townships 6, 8, and 16, and part of township 5, all in Contra Costa County, were included in the metropolitan district in 1940 for the first time. Bolinas township, Marin County, which was not included in the district in 1930, was annexed to Sausalito township and is now included; similarly, part of Fremont township, Santa Clara County, not previously included, was annexed to Palo Alto township between 1930 and 1940. The redistricting of San Mateo County necessitated an additional redefinition of the boundaries of the metropolitan district, resulting in a slight increase in the

area included in the district. Finally, the part of Washington township, Alameda County, included in the metropolitan district was increased between 1930 and 1940. The combined effect of all these changes was to increase the area of the metropolitan district considerably, but the effect upon the population increase in the district is not ascertainable.

TABLE 7–D.—POPULATION OF THE SAN FRANCISCO-OAKLAND METROPOLITAN DISTRICT: 1940 AND 1930

[A minus sign (−) denotes decrease. Percent not shown where less than 0.1]

AREA	POPULATION		INCREASE	
	1940	1930	Number	Percent
The metropolitan district	1,428,625	[1]1,290,094	138,431	10.7
In central cities	936,699	918,457	18,242	2.0
San Francisco city	634,536	634,394	142	
Oakland city [2]	302,163	284,063	18,100	6.4
Outside central cities	491,826	371,637	120,189	32.3
Incorporated places	375,696	[3] 305,536	70,160	23.0
Alameda city	36,256	35,033	1,223	3.5
Albany city	11,493	8,569	2,924	34.1
Antioch town [4]	5,106	([5])		
Atherton town	1,908	[3] 1,242	666	53.6
Belmont city	1,229	984	245	24.9
Belvedere town	457	500	−43	−8.6
Benicia city	2,419	2,913	−494	−17.0
Berkeley city	85,547	82,109	3,438	4.2
Burlingame city	15,940	13,270	2,670	20.1
Concord town	1,373	([6])		
Corte Madera town	1,098	1,027	71	6.9
Daly City	9,625	7,838	1,787	22.8
El Cerrito city	6,137	3,870	2,267	58.6
Emeryville town	2,521	2,336	185	7.9
Fairfax town	2,198	([7])		
Hayward city [2]	6,736	5,530	1,206	21.8
Hercules town	343	392	−49	−12.5
Hillsborough town	2,747	1,891	856	45.3
Larkspur town	1,558	1,241	317	25.5
Lawndale town	354	369	−15	−4.1
Martinez city [8]	7,381	6,569	812	12.4
Menlo Park city	3,258	2,254	1,004	44.5
Mill Valley town	4,847	4,164	683	16.4
Palo Alto city [9]	16,774	13,652	3,122	22.9
Piedmont city	9,866	9,333	533	5.7
Pinole town	934	781	153	19.6
Pittsburg city	9,520	([10])		
Redwood City	12,453	8,962	3,491	39.0
Richmond city	23,642	20,093	3,549	17.7
Ross town	1,751	1,355	396	29.2
San Anselmo town	5,790	4,650	1,140	24.5
San Bruno city	6,519	3,610	2,909	80.6
San Carlos city	3,520	1,132	2,388	211.0
San Leandro city [2]	14,601	11,455	3,146	27.5
San Mateo city	19,403	13,444	5,959	44.3
San Rafael city	8,573	8,022	551	6.9
Sausalito city	3,540	3,667	−127	−3.5
South San Francisco city	6,629	6,193	436	7.0
Vallejo city [11]	20,072	[3] 16,072	4,000	24.9
Walnut Creek town	1,578	1,014	564	55.6
Unincorporated areas	116,130	[3] 66,101	50,029	75.7
District includes following minor civil divisions (judicial townships and cities):				
San Francisco County	634,536	634,394	142	
San Francisco city	634,536	634,394	142	
In Alameda County	500,441	458,001	42,440	9.3
Alameda township (comprising Alameda city)	36,256	35,033	1,223	3.5
Brooklyn township (comprising part of Oakland city)	146,533	146,938	−405	−0.3
Eden township [2] (incl. Hayward and San Leandro cities, and part of Oakland city)	43,691	31,897	11,794	37.0
Oakland township (comprising Albany, Berkeley, and Piedmont cities, Emeryville town, and part of Oakland city)	265,057	239,472	25,585	10.7
Washington township (part) [12]	8,904	[1] 4,661	4,243	91.0
In Contra Costa County	88,984	49,272	39,712	80.6
Township 1 [8] (incl. Martinez city)	10,419	9,092	1,327	14.6
Township 2	454	593	−139	−23.4
Township 3 (incl. Walnut Creek town)	7,100	4,174	2,926	70.1
Township 5 (part,[13] incl. Concord town)	5,398	([14])		
Township 6 (incl. Pittsburg city)	11,713	([15])		
Township 7 [16] (incl. El Cerrito city)	9,492	5,293	4,199	79.3
Township 8 [4] (incl. Antioch town)	6,569	([17])		
Township 10 [16]	4,643	2,944	1,699	57.7
Township 11 (incl. Hercules and Pinole towns)	3,401	2,768	633	22.9
Township 12	4,470	4,315	155	3.6
Township 15 [16] (comprising Richmond city)	23,642	20,093	3,549	17.7
Township 16	1,683	([18])		
In Marin County	46,124	36,687	9,437	25.7
San Rafael township (incl. Corte Madera, Fairfax, Larkspur, Ross, and San Anselmo towns, and San Rafael city)	30,111	24,925	5,186	20.8
Sausalito township (incl. Belvedere and Mill Valley towns, and Sausalito city)	16,013	[1] 11,762	4,251	36.1
In San Mateo County	106,575	([1])		
Township 1 (incl. Daly City, San Bruno, and South San Francisco cities, and Lawndale town)	30,981			
Township 2 (incl. Belmont, San Carlos, and San Mateo cities, and Hillsborough town)	28,437			
Township 3 (part,[19] incl. Redwood City and Menlo Park cities, and Atherton town)	28,546	[1] 19,281	9,265	48.1
Township 5 (incl. Burlingame city)	18,611			
In Santa Clara County	19,383	15,838	3,545	22.4
Palo Alto township [9] (incl. Palo Alto city)	19,383	[1] 15,838	3,545	22.4
In Solano County	32,482	23,066	9,416	40.8
Benicia twp. (part, comprising Benicia city)	2,419	2,913	−494	−17.0
Vallejo township [11] (incl. Vallejo city)	30,063	20,153	9,910	49.2

[1] Total population in the 1930 metropolitan district includes 72,836 in San Mateo County, which was redistricted in 1932. This redistricting necessitated a redefinition of metropolitan district boundaries, resulting in a slight increase in the area included in the district; the effect upon the population increase in the district is not ascertainable. (Boundaries of that part of township 3, San Mateo Co., included in the district, changed slightly since 1930 to conform with selected 1940 census enumeration districts, but area included in 1940 and 1930 is approximately the same.) The abolition of voting precincts in Washington township (Alameda Co.) necessitated an approximation to the part of the township included in the metropolitan district, the net result being another extension of area of the metropolitan district; effect upon the population increase in the district again not ascertainable. Bolinas township (Marin Co.), not included in the metropolitan district in 1930, was annexed to Sausalito township in 1937; the 1930 population of the new inclusion in the district was 478, the 1940 population not obtainable separately. Part of Fremont township (1940 and 1930 population not obtainable), which was outside the district in 1930, annexed to Palo Alto township (Santa Clara Co.) in 1931, and is included in the district in 1940. Finally, townships 6, 8, and 16 (1930 population 10,692, 4,886, and 1,570, respectively) and part of township 5 (1930 population not obtainable), all in Contra Costa County, were included in the metropolitan district in 1940 for the first time. The combined effect of all these changes was to increase the area of the metropolitan district considerably, but the effect upon the population increase in the district is not ascertainable.

[2] Part of Eden township (Alameda Co.) annexed to Hayward city in 1930, 1934, and 1940; and parts annexed to Oakland and San Leandro cities in 1938 and 1939, repectively.

[3] Includes correction due to inclusion of population (1,596) of Mare Island Naval Reservation, in Vallejo city, erroneously returned in 1930 as in Vallejo township (Solano Co.) outside the city; further corrected by the exclusion of population (82) of two institutions in township 3 (San Mateo Co.), outside Atherton town, erroneously returned in 1930 as in the town. Total for unincorporated areas adjusted in accordance with these changes; figures for Vallejo city and Atherton town also corrected.

[4] Parts of township 8 (Contra Costa Co.) annexed to Antioch town in 1930 and 1938.

[5] Not included in the metropolitan district in 1930 (population 3,563 in 1930).

[6] Not included in the metropolitan district in 1930 (population 1,125 in 1930).

[7] Incorporated in 1931.

[8] Parts of township 1 (Contra Costa Co.) annexed to Martinez city in 1932, 1937, and 1938.

[9] Parts of Palo Alto township (Santa Clara Co.) annexed to Palo Alto city in 1936 and 1939.

[10] Not included in the metropolitan district in 1930 (population 9,610 in 1930).

[11] Part of Vallejo township (Solano Co.) annexed to Vallejo city in 1936.

[12] Comprises that part of Washington township bounded on the north by township line, on the northeast by Highway 5, and on the southwest by Highway 69, Mowry Road, Cherry Road, Highway 107, Sanjen De Los Alisos Creek, and Highway 69.

[13] Comprises that part of township 5 west and north of Highway 75, Concord city limits, and Concord-Clayton Road.

[14] Not included in the metropolitan district in 1930 (population for 1930 not obtainable).

[15] Not included in the metropolitan district in 1930 (population 10,692 in 1930).

[16] Parts of townships 7 and 10 (Contra Costa Co.) annexed to township 15 in 1937 and 1939, respectively.

[17] Not included in the metropolitan district in 1930 (population 4,886 in 1930).

[18] Not included in the metropolitan district in 1930 (population 1,570 in 1930).

[19] Comprises that part of township 3 east of Canada Road and Woodside Road, and north of San Francisquito Creek.

Table 7–E shows the population of the San Jose metropolitan district and its constituent political units in 1940 and 1930, together with the increase or decrease during the decade. In 1940 the San Jose metropolitan district had 129,367 inhabitants, while in 1930 the district as then constituted had a population of 103,428. That part of Fremont township south of the San Francisco-San Jose Highway was included in the metropolitan district in 1940 for the first time; a part of that part of Fremont township which was in the metropolitan district in 1930 was annexed between 1930 and 1940 to Palo Alto township, outside the metropolitan district, and was not included in the district in 1940. The net effect of these changes was to increase the area of the metropolitan district; the net effect upon the population increase in the district is not ascertainable.

TABLE 7–E.—POPULATION OF THE SAN JOSE METROPOLITAN DISTRICT: 1940 AND 1930

[A minus sign (−) denotes decrease]

AREA	POPULATION		INCREASE	
	1940	1930	Number	Percent
The metropolitan district	129,367	[1] 103,428	25,939	25.1
San Jose city [2]	68,457	57,651	10,806	18.7
Outside city	60,910	45,777	15,133	33.1
Incorporated places	15,646	[3] 17,252	−1,606	−9.3
Alviso town	677	381	296	77.7
Mountain View city	3,946	3,308	638	19.3
Santa Clara city [4]	6,650	6,302	348	5.5
Sunnyvale city	4,373	3,094	1,279	41.3
Unincorporated areas	45,264	28,525	16,739	58.7
District includes the following minor civil divisions (judicial townships):				
In Santa Clara County	129,367	103,428	25,939	25.1
Campbell township	4,337	2,791	1,546	55.4
Fremont township [1] (incl. Mountain View city)	12,501	5,444	[5] 7,057	
San Jose township [2] (part,[6] incl. Alviso town and San Jose city)	85,732	75,864	9,868	13.0
Santa Clara township [4] (incl. Santa Clara city)	18,361	14,839	3,522	23.7
Sunnyvale township (incl. Sunnyvale city)	8,436	4,490	3,946	87.9

[1] Part of Fremont township (population for 1940 and 1930 not obtainable) which was in the metropolitan district in 1930, annexed in 1931 to Palo Alto township, outside the metropolitan district, and is not included in the district in 1940. That part of Fremont township south of San Francisco-San Jose Highway was included in the metropolitan district in 1940 for the first time; the 1930 population of this part of the township was 3,167 (1940 population not available). The abolition of voting districts in San Jose township necessitated a redefinition of boundaries of that part of the township included in the metropolitan district to conform with selected 1940 census enumeration districts, but area included in 1940 and 1930 is approximately the same. Net effect of these three changes was to increase area of the metropolitan district; net effect upon population increase in the district is not ascertainable.

[2] Parts of San Jose township annexed to San Jose city in 1930 and 1939, and Willow Glen city annexed to San Jose city in 1936.

[3] Includes population (4,167) of Willow Glen city, annexed to San Jose city in 1936.

[4] Part of Santa Clara township annexed to Santa Clara city in 1936.

[5] Increase shown is due mainly to extension of territory included in the metropolitan district.

[6] That part outside San Jose city is bounded by State Highway 5, Capital Ave., Penitencia Road, Toyon Ave., State Highway 115, Clayton Road, Story Road, White Road, Aborn Road, Loup Ave., Singleton Road, Senter Road, U. S. Highway 101, township line, McKean Road, Harry Road, Almaden Road, Kooser Road, and Blossom Hill Road.

Table 7–F shows the population of the Stockton metropolitan district and its constituent political units in 1940. This district was defined for the first time in 1940. For comparison the 1930 population of the units comprising the present district is also shown, together with the increase between 1930 and 1940. In 1940 the Stockton metropolitan district had 79,337 inhabitants, while in 1930 the same area had a population of 61,880.

TABLE 7–F.—POPULATION OF THE STOCKTON METROPOLITAN DISTRICT: 1940 AND 1930

[This area was not defined as a metropolitan district in 1930; the figures shown in the second column represent the 1930 population of the specified places as defined in 1930]

AREA	POPULATION		INCREASE	
	1940	1930	Number	Percent
The metropolitan district	79,337	61,880	17,457	28.2
Stockton city [1]	54,714	47,963	6,751	14.1
Outside city	24,623	13,917	10,706	76.9
Unincorporated areas	24,623	13,917	10,706	76.9
District includes the following minor civil divisions (judicial townships):				
In San Joaquin County	79,337	61,880	17,457	28.2
O'Neal township [1] (incl. part of Stockton city)	42,832	29,412	13,420	45.6
Stockton township (comprising part of Stockton city)	36,505	32,468	4,037	12.4

[1] Parts of O'Neal township annexed to Stockton city in 1931 and 1934.

Census tracts.—Census tracts are small areas into which certain large cities (and sometimes their adjacent areas) have been subdivided for statistical and local administrative purposes, through cooperation with a local committee in each case. Through the use of census tract data, comparisons may be made from census to census. Tracts are laid out with a view to approximate uniformity in population and with some regard for uniformity in area, and each is designed to include an area fairly homogeneous in population characteristics. In table 8 the 1940 population of Los Angeles, Long Beach, and adjacent areas is shown by census tracts. Comparative figures for 1930 are not shown because of extensive revision of tract boundaries since 1930. The tracted area adjacent to Los Angeles and Long Beach comprises the remainder of Los Angeles County. In table 8–A the 1940 population of Oakland, Berkeley, and adjacent areas is shown by census tracts. Since the tracts for Oakland and the adjacent areas were not established until after 1930, there are no comparative figures for earlier censuses. In 1930 there were six tracts (health districts) in Berkeley. The 26 tracts in 1940 represent subdivisions of the original 6, as explained in the footnote on table 8–A. In table 8–B the 1940 population of San Francisco is shown by census tracts. Since these tracts were not established until after 1930, there are no comparative figures for earlier censuses. All the tracted areas are shown on the accompanying maps.

TABLE 8.—POPULATION OF LOS ANGELES, LONG BEACH, AND ADJACENT AREAS, BY CENSUS TRACTS: 1940

AREA	Population
Los Angeles city	**1,504,277**
Tract 1	4,304
Tract 2	2,091
Tract 3	1,240
Tract 4	7,248
Tract 5	1,536
Tract 6	864
Tract 7	2,925
Tract 8	1,106
Tract 9	2,502
Tract 10	4,586
Tract 11	734
Tract 12	607
Tract 13	732
Tract 14	1,784
Tract 15	1,992
Tract 16	4,147
Tract 17	10,298
Tract 18	10,000
Tract 19	2,692
Tract 20	2,077
Tract 21	7,925
Tract 22	3,596
Tract 23	5,762
Tract 24	5,089
Tract 25	11,441
Tract 26	889
Tract 27	1,744
Tract 28	1,548
Tract 29	5,967
Tract 30	2,847
Tract 31	8,502
Tract 32	7,377
Tract 33	5,280
Tract 34	5,861
Tract 35	5,576
Tract 36	6,001
Tract 37	2,778
Tract 38	5,502
Tract 39	5,613
Tract 40	3,420
Tract 41	5,724
Tract 42	6,127
Tract 43	4,151
Tract 44	5,323
Tract 45	4,277
Tract 46	3,204
Tract 47	3,716
Tract 48	7,737
Tract 49	688
Tract 50	1,133
Tract 51	5,703
Tract 52	7,769
Tract 53	6,281
Tract 54	5,791
Tract 55	6,622
Tract 56	6,583
Tract 57	5,933
Tract 58	8,956
Tract 59	2,691
Tract 60	5,431
Tract 61	6,468
Tract 62	4,295
Tract 63	6,954
Tract 64	6,142
Tract 65	4,046
Tract 66	3,143
Tract 67	4,656
Tract 68	5,099
Tract 69	5,780
Tract 70	2,623
Tract 71	7,666
Tract 72	6,569
Tract 73	3,120
Tract 74	4,649
Tract 75	1,506
Tract 76	7,880
Tract 77	4,759
Tract 78	7,132
Tract 79	11,203
Tract 80	7,361
Tract 81	6,861
Tract 82	6,836
Tract 83	4,562
Tract 84	6,545
Tract 85	4,789
Tract 86	6,235
Tract 87	4,196
Tract 88	4,678
Tract 89	5,210
Tract 90	4,622
Tract 91	2,730
Tract 92	4,182
Tract 93	2,200
Tract 94	5,408
Tract 95	3,765
Tract 96	4,362
Tract 97	2,522
Tract 98	2,635
Tract 99	7,918
Tract 100	6,884
Tract 101	11,670
Los Angeles city—Continued.	
Tract 102	3,289
Tract 103	5,280
Tract 104	5,832
Tract 105	5,911
Tract 106	3,573
Tract 107	5,062
Tract 108	4,826
Tract 109	2,666
Tract 110	8,859
Tract 111	6,568
Tract 112	7,866
Tract 113	7,186
Tract 114	3,938
Tract 115	7,659
Tract 116	5,514
Tract 117	6,769
Tract 118	4,035
Tract 119	3,074
Tract 120	5,792
Tract 121	3,766
Tract 122	7,051
Tract 123	3,250
Tract 124	5,173
Tract 125	5,392
Tract 126	5,567
Tract 127	9,041
Tract 128	5,378
Tract 129	7,556
Tract 130	7,592
Tract 131	4,076
Tract 132	5,876
Tract 133	6,251
Tract 134	4,233
Tract 135	2,387
Tract 136	1,844
Tract 137	8,373
Tract 138	11,831
Tract 139	10,166
Tract 140	6,444
Tract 141	3,545
Tract 142	4,468
Tract 143	6,578
Tract 144	11,393
Tract 145	7,099
Tract 146	6,554
Tract 147	5,007
Tract 148	4,824
Tract 149	4,445
Tract 150	3,135
Tract 151	7,455
Tract 152	4,705
Tract 153	4,270
Tract 154	3,370
Tract 155	8,044
Tract 156	2,757
Tract 157	4,993
Tract 158	6,732
Tract 159	4,219
Tract 160	4,194
Tract 161	6,093
Tract 162	5,606
Tract 163	1,908
Tract 164	5,810
Tract 165	8,452
Tract 166	5,814
Tract 167	5,209
Tract 168	4,589
Tract 169	5,345
Tract 170	8,683
Tract 171	4,045
Tract 172	5,802
Tract 173	5,592
Tract 174	4,359
Tract 175	5,561
Tract 176	3,487
Tract 177	3,624
Tract 178	3,611
Tract 179	5,930
Tract 180	3,780
Tract 181	5,350
Tract 182	4,752
Tract 183	4,226
Tract 184	3,686
Tract 185	5,177
Tract 186	5,031
Tract 187	6,479
Tract 188	4,548
Tract 189	3,492
Tract 190	2,468
Tract 191	7,741
Tract 192	7,963
Tract 193	4,364
Tract 194	727
Tract 195	593
Tract 196	2,999
Tract 197	5,518
Tract 198	2,650
Tract 199	5,678
Tract 200	3,152
Tract 201	8,737
Tract 202	6,167
Los Angeles city—Continued.	
Tract 203	2,644
Tract 204	2,866
Tract 205	3,414
Tract 206	3,950
Tract 207	9,345
Tract 208	3,399
Tract 209	4,829
Tract 210	4,446
Tract 211	2,896
Tract 212	3,670
Tract 213	5,920
Tract 214	3,724
Tract 215	3,904
Tract 216	2,828
Tract 217	4,237
Tract 218	5,799
Tract 219	7,527
Tract 220	4,806
Tract 221	4,292
Tract 222	5,183
Tract 223	7,032
Tract 224	4,042
Tract 225	5,895
Tract 226	6,429
Tract 227	4,938
Tract 228	4,965
Tract 229	6,603
Tract 230	353
Tract 231	5,316
Tract 232	5,991
Tract 233	4,755
Tract 234	4,319
Tract 235	5,467
Tract 236	5,428
Tract 237	5,916
Tract 238	6,113
Tract 239	4,910
Tract 240	3,845
Tract 241	4,796
Tract 242	3,782
Tract 243	3,838
Tract 244	4,884
Tract 245	5,221
Tract 246	4,037
Tract 247	6,097
Tract 248	5,218
Tract 249	6,403
Tract 250	5,898
Tract 251	5,339
Tract 252	4,759
Tract 253	4,934
Tract 254	5,531
Tract 255	3,636
Tract 256	5,090
Tract 257	4,803
Tract 258	6,166
Tract 259	5,156
Tract 260	6,357
Tract 261	7,053
Tract 262	3,490
Tract 263	3,517
Tract 264	4,931
Tract 265	3,722
Tract 266	4,286
Tract 267	5,468
Tract 268	2,828
Tract 269	1,505
Tract 270	4,508
Tract 271	2,328
Tract 272	3,639
Tract 273	4,261
Tract 274	3,698
Tract 275	4,747
Tract 276	5,390
Tract 277	6,221
Tract 278	4,072
Tract 279	4,544
Tract 280	8,162
Tract 281	4,130
Tract 282	5,566
Tract 283	4,425
Tract 284	4,330
Tract 285	5,685
Tract 286	5,618
Tract 287	5,652
Tract 288	2,103
Tract 289	2,614
Tract 290	5,393
Tract 291	5,051
Tract 292	5,214
Tract 293	1,968
Tract 294	3,831
Tract 295	5,293
Tract 296	4,510
Tract 297	3,941
Tract 298	7,985
Tract 299	5,255
Tract 300	5,388
Tract 301	5,693
Tract 342-B	331
Tract 555	4,575
Long Beach city	**164,271**
Tract 303	2,282
Tract 304	3,040
Tract 305	3,712
Tract 306	5,798
Tract 307	5,906
Tract 308	6,664
Tract 309	4,191
Tract 310	4,673
Tract 311	2,931
Tract 312	5,314
Tract 313	6,839
Tract 314	6,469
Tract 315	6,456
Tract 316	5,504
Tract 317	2,923
Tract 318	3,680
Tract 319	9,027
Tract 320	5,957
Tract 321	6,926
Tract 322	2,181
Tract 323	5,847
Tract 324	6,040
Tract 325	3,534
Tract 326	6,730
Tract 327	13,303
Tract 328	4,347
Tract 329	11,677
Tract 330	10,958
Tract 332-B	----------
Tract 332-C	1,292
Tract 332-D	70
Signal Hill city	**3,184**
Tract 334	3,184
Torrance city	**9,950**
Tract 336-B	764
Tract 338	1,718
Tract 339	6,343
Tract 340-A	962
Tract 354-C	163
Gardena city	**5,909**
Tract 340-B	3,707
Tract 341-B	2,202
Inglewood city	**30,114**
Tract 345	5,855
Tract 346	9,284
Tract 347	4,208
Tract 348	9,274
Tract 350-B	1,493
Hawthorne city	**8,263**
Tract 351-B	1
Tract 352	8,262
Redondo Beach city	**13,092**
Tract 357	9,180
Tract 358	3,912
Hermosa Beach city	**7,197**
Tract 359	7,197
Manhattan Beach city	**6,398**
Tract 360	6,398
El Segundo city	**3,738**
Tract 362	3,738
Culver City	**8,976**
Tract 368	8,976
Santa Monica city	**53,500**
Tract 372	5,450
Tract 373	4,041
Tract 374	11,033
Tract 375	4,511
Tract 376	4,614
Tract 377	3,811
Tract 378	9,415
Tract 379	10,625
Beverly Hills city	**26,823**
Tract 381	7,260
Tract 382	13,671
Tract 383	5,892
Burbank city	**34,337**
Tract 390	7,798
Tract 391	5,121
Tract 392	9,550
Tract 393	5,612
Tract 394	6,256
Glendale city	**82,582**
Tract 397	7,095
Tract 398-A	4,369
Tract 399	9,747
Tract 400	5,104
Tract 401	4,620
Tract 402	5,630
Tract 403	4,518
Tract 404	6,300
Tract 405	6,647
Tract 406	4,893
Tract 407	4,499
Tract 408	4,568
Tract 409	5,803
Tract 410	3,782
Tract 411	5,007
Tract 554-B	----------
Pasadena city	**81,864**
Tract 412	2,617
Tract 413	5,927
Tract 414	4,154
Tract 415	975
Tract 416	1,000
Tract 417	4,514
Tract 418	6,650
Tract 419	3,702
Tract 420	2,663
Tract 421	2,732
Tract 422-B	5,025
Tract 423	4,589
Tract 424	7,542
Tract 425	3,849
Tract 426	1,659
Tract 427	3,793
Tract 428	5,156
Tract 429	3,461
Tract 430	3,386
Tract 431	1,435
Tract 432	4,673
Tract 433	2,352
Tract 434-B	10
Arcadia city	**9,122**
Tract 438-B	71
Tract 442	9,051
Sierra Madre city	**4,581**
Tract 443	4,581
Monrovia city	**12,807**
Tract 444	8,525
Tract 445	4,282
Azusa city	**5,209**
Tract 448	5,209
Glendora city	**2,822**
Tract 450	2,822
Claremont city	**3,057**
Tract 453	3,057
Pomona city	**23,539**
Tract 454	6,670
Tract 455	5,151
Tract 456	5,322
Tract 457	6,396
La Verne city	**3,092**
Tract 458	3,092
Covina city	**3,049**
Tract 461	3,049
El Monte city	**4,746**
Tract 466	4,746
San Gabriel city	**11,867**
Tract 471	11,867

TABLE 8.—POPULATION OF LOS ANGELES, LONG BEACH, AND ADJACENT AREAS, BY CENSUS TRACTS: 1940—Continued

AREA	Population
San Marino city	8,175
Tract 472	8,175
South Pasadena city	14,356
Tract 473	3,333
Tract 474	5,663
Tract 475	5,360
Alhambra city	38,935
Tract 476	8,610
Tract 477	12,467
Tract 478	5,207
Tract 479	4,966
Tract 480	7,685
Monterey Park city	8,531
Tract 481	4,667
Tract 482	2,291
Tract 483	1,573
Belvedere township [1]	37,192
Tract 484	11,076
Tract 485	5,341
Tract 486	6,626
Tract 490	6,865
Tract 491	7,284
Montebello city	8,016
Tract 496	3,901
Tract 497	4,115
Maywood city	10,731
Tract 503	1,634
Tract 504	9,097
Bell city	11,264
Tract 505	11,264
Huntington Park city	28,648
Tract 507	2,875
Tract 508	7,388
Tract 509	7,718
Tract 510	3,246
Tract 511	7,421
South Gate city	28,945
Tract 521	10,221
Tract 522	10,595
Tract 523	5,674
Tract 524	455
Lynwood city	10,982
Tract 526	10,982
Compton city	16,198
Tract 530	8,529
Tract 531	7,669
Whittier city	16,115
Tract 544	4,611
Tract 545	7,606
Tract 546	3,898
San Fernando city	9,094
Tract 556	9,094
Other tracted area in Los Angeles County:	
Tract 331	1,109
Tract 332-A	1,820
Tract 333	238
Tract 335	5,487
Tract 336-A	4,794
Tract 337-A	1,685
Tract 337-B	987
Tract 340-C	96
Other tracted area in Los Angeles Co.—Con.	
Tract 341-A	789
Tract 342-A	9,163
Tract 343	3,208
Tract 344	5
Tract 349	288
Tract 350-A	7,635
Tract 351-A	3,342
Tract 353	4,490
Tract 354-A	2,005
Tract 354-B	285
Tract 355	337
Tract 356	309
Tract 361	440
Tract 363	540
Tract 364	304
Tract 365	5,517
Tract 366	2
Tract 367	893
Tract 369	----
Tract 370	17
Tract 371	37
Tract 380	5,017
Tract 384	18
Tract 385	5,419
Tract 386	5,355
Tract 387	9,304
Tract 388	12
Tract 389	11
Tract 395	315
Tract 396	8
Tract 398-B	4
Tract 422-A	2,493
Tract 434-A	6,517
Tract 435	4,683
Tract 436	5,241
Tract 437	6,918
Tract 438-A	407
Tract 438-C	7
Tract 439	2,054
Other tracted area in Los Angeles Co.—Con.	
Tract 440	4,106
Tract 441	4,099
Tract 446	2,197
Tract 447	1,226
Tract 449	1,370
Tract 451	915
Tract 452	448
Tract 459	3,588
Tract 460	1,148
Tract 462-A	304
Tract 462-B	248
Tract 463	824
Tract 464	6,275
Tract 465	16,242
Tract 467	11,443
Tract 468	6,507
Tract 469	5,083
Tract 470	6,994
Tract 487	6,648
Tract 488	5,866
Tract 489	2,004
Tract 492	6,579
Tract 493	5,685
Tract 494	7,567
Tract 495	4,260
Tract 498	3,720
Tract 499	1,457
Tract 500	35
Tract 501	850
Tract 502	345
Tract 506	13,397
Tract 512	2,705
Tract 513	3,422
Tract 514	8,298
Tract 515	8,677
Tract 516	5,320
Tract 517	4,649
Tract 518	4,012
Tract 519	6,495
Other tracted area in Los Angeles Co.—Con.	
Tract 520	2,787
Tract 525	2
Tract 527	9,448
Tract 528	1,596
Tract 529	1,092
Tract 532	418
Tract 533	5
Tract 534	2,826
Tract 535	6,112
Tract 536	7,019
Tract 537	11,072
Tract 538	5,837
Tract 539	757
Tract 540	8,090
Tract 541	12,538
Tract 542	6,389
Tract 543	5,033
Tract 547	5,190
Tract 548	7,154
Tract 549	1,911
Tract 550	370
Tract 551	284
Tract 552	173
Tract 553	3,334
Tract 554-A	8,187
Tract 554-C	11
Tract 557	977
Tract 558	805
Tract 559	777
Tract 560	986
Tract 561	3,463
Tract 562	1,419
Tract 563-A	1,084
Tract 563-B	426
Tract 564	4,407
Tract 565	2,041
Tract 566	929
Tract 567	1,637
Tract 568	296

[1] Classified as urban under special rule.

TABLE 8-A.—POPULATION OF OAKLAND, BERKELEY, AND ADJACENT AREAS, BY CENSUS TRACTS: 1940

AREA	Population
Oakland city	302,163
Tract 1	527
Tract 2	3,873
Tract 3	4,766
Tract 4	4,829
Tract 5	5,666
Tract 6	4,784
Tract 7	5,271
Tract 8	5,882
Tract 9	4,239
Tract 10	5,000
Tract 11	5,880
Tract 12	4,478
Tract 13	3,282
Tract 14	5,458
Tract 15	4,377
Tract 16	4,658
Tract 17	5,966
Tract 18	6,756
Tract 19	3,120
Tract 20	2,246
Tract 21	5,640
Tract 22	1,582
Tract 23	1,604
Tract 24	3,652
Tract 25	4,038
Tract 26	4,633
Tract 27	3,660
Tract 28	2,818
Tract 29	2,166
Tract 30	4,360
Oakland city—Con.	
Tract 31	4,429
Tract 32	4,070
Tract 33	5,262
Tract 34	4,544
Tract 35	4,936
Tract 36	3,663
Tract 37	4,215
Tract 38	4,438
Tract 39	4,655
Tract 40	2,264
Tract 41	1,466
Tract 42	1,717
Tract 43	4,771
Tract 44	3,738
Tract 45	5,797
Tract 46	6,441
Tract 47	5,066
Tract 48	5,319
Tract 49	4,437
Tract 50	5,465
Tract 51	3,622
Tract 52	5,049
Tract 53	4,735
Tract 54	4,615
Tract 55	5,449
Tract 56	2,241
Tract 57	5,067
Tract 58	4,547
Tract 59	5,293
Tract 60	3,419
Tract 61	638
Oakland city—Con.	
Tract 62	5,459
Tract 63	5,967
Tract 64	4,486
Tract 65	5,357
Tract 66	4,136
Tract 67	686
Tract 68	5,383
Tract 69	6,277
Tract 70	5,127
Tract 71	2,072
Tract 72	634
Berkeley city [1]	85,547
Tract 1-A	2,582
Tract 1-B	3,545
Tract 2-A	1,941
Tract 2-B	3,563
Tract 2-C	2,920
Tract 2-D	2,665
Tract 3-A	4,829
Tract 3-B	3,304
Tract 3-C	4,407
Tract 3-D	4,601
Tract 3-E	2,013
Tract 4-A	3,028
Tract 4-B	4,266
Tract 4-C	5,443
Tract 4-D	2,598
Tract 4-E	3,297
Berkeley city—Con.	
Tract 5-A	1,887
Tract 5-B	6,535
Tract 5-C	2,409
Tract 5-D	2,666
Tract 5-E	2,836
Tract 6-A	1,966
Tract 6-B	2,061
Tract 6-C	1,491
Tract 6-D	3,885
Tract 6-E	4,809
Albany city	11,493
Tract AC-1	3,503
Tract AC-2	2,591
Tract AC-3	2,054
Tract AC-4	1,991
Tract AC-5	1,354
Emeryville town	2,521
Tract AC-6	2,521
Piedmont city	9,866
Tract AC-7	4,967
Tract AC-8	4,899
Alameda city	36,256
Tract AC-9	3,396
Tract AC-10	6,746
Tract AC-11	3,598
Alameda city—Con.	
Tract AC-12	4,476
Tract AC-13	4,421
Tract AC-14	4,850
Tract AC-15	3,878
Tract AC-16	4,891
San Leandro city	14,601
Tract AC-17	4,027
Tract AC-18	6,248
Tract AC-19	4,326
Richmond city	23,642
Tract CCC-1	2,378
Tract CCC-2	1,580
Tract CCC-3	3,065
Tract CCC-4	4,298
Tract CCC-5	3,729
Tract CCC-6	2,683
Tract CCC-7	4,057
Tract CCC-8	1,852
El Cerrito city	6,137
Tract CCC-9	1,118
Tract CCC-10	1,358
Tract CCC-11	2,112
Tract CCC-12	1,549
Other tracted area in Contra Costa County:	
Tract CCC-13	502

[1] In 1930 there were 6 tracts (health districts) in Berkeley. The 26 tracts in 1940 represent subdivisions of the original 6, as the letters following the tract numbers indicate. The 1930 population of the 6 tracts was as follows: Tract 1, 5,914; tract 2, 10,794; tract 3, 18,656; tract 4, 17,650; tract 5, 16,617; and tract 6, 12,478.

TABLE 8-B.—POPULATION OF SAN FRANCISCO BY CENSUS TRACTS: 1940

TRACT	Population	TRACT	Population	TRACT	Population	TRACT	Population	TRACT	Population
The city	**634, 536**	Tract B-1	6, 623	Tract J-1	2, 493	Tract K-5	45	Tract N-7	6, 047
		Tract B-2	5, 015	Tract J-2	5, 106	Tract K-6	2, 742	Tract N-8	5, 375
Tract A-1	2, 123	Tract B-3	6, 129	Tract J-3	3, 386	Tract L-1	9, 035	Tract N-9	4, 403
Tract A-2	4, 409	Tract B-4	7, 312	Tract J-4	5, 542	Tract L-2	10, 898	Tract N-10	4, 988
Tract A-3	4, 949	Tract B-5	5, 264	Tract J-5	6, 791	Tract L-3	7, 945	Tract N-11	4, 858
Tract A-4	5, 609	Tract B-6	5, 845	Tract J-6	5, 650	Tract L-4	5, 812	Tract N-12	6, 837
Tract A-5	3, 465	Tract B-7	5, 179	Tract J-7	9, 392	Tract L-5	8, 199	Tract N-13	1, 395
Tract A-6	4, 401	Tract B-8	6, 263	Tract J-8	6, 473	Tract M-1	2, 258	Tract N-14	6, 151
Tract A-7	5, 466	Tract B-9	4, 623	Tract J-9	3, 201	Tract M-2	5, 041	Tract N-15	5, 912
Tract A-8	5, 152	Tract B-10	3, 603	Tract J-10	5, 534	Tract M-3	4, 573	Tract O-1	7, 986
Tract A-9	5, 052	Tract C-1	6, 021	Tract J-11	3, 636	Tract M-4	7, 070	Tract O-2	6, 968
Tract A-10	4, 902	Tract D-1	4, 783	Tract J-12	5, 157	Tract M-5	6, 698	Tract O-3	9, 253
Tract A-11	4, 005	Tract D-2	5, 697	Tract J-13	4, 359	Tract M-6	10, 632	Tract O-4	7, 848
Tract A-12	5, 853	Tract E-1	2, 997	Tract J-14	5, 909	Tract M-7	6, 524	Tract O-5	6, 980
Tract A-13	4, 601	Tract E-2	4, 069	Tract J-15	6, 808	Tract M-8	6, 942	Tract O-6	3, 329
Tract A-14	6, 427	Tract E-3	7, 473	Tract J-16	6, 016	Tract M-9	6, 223	Tract O-7	6, 078
Tract A-15	3, 095	Tract F-1	234	Tract J-17	7, 680	Tract M-10	638	Tract O-8	4, 600
Tract A-16	2, 658	Tract G-1	6, 053	Tract J-18	4, 356	Tract M-11	4, 086	Tract O-9	5, 329
Tract A-17	3, 350	Tract G-2	7, 627	Tract J-19	3, 487	Tract N-1	4, 549	Tract P-1	10, 534
Tract A-18	4, 725	Tract G-3	5, 776	Tract J-20	9, 058	Tract N-2	5, 273	Tract P-2	8, 171
Tract A-19	3, 720	Tract G-4	6, 884	Tract K-1	4, 626	Tract N-3	3, 692	Tract P-3	6, 505
Tract A-20	5, 499	Tract H-1	4, 650	Tract K-2	8, 070	Tract N-4	4, 288	Tract Q-1	6, 259
Tract A-21	6, 855	Tract H-2	7, 058	Tract K-3	6, 216	Tract N-5	6, 654	Tract R-1	176
Tract A-22	4, 381	Tract I-1	186	Tract K-4	1, 683	Tract N-6	5, 922	Tract S-1 [1]	1, 169
Tract A-23	4, 956								

[1] Crews of vessels and hence not shown on the accompanying map.

LOS ANGELES AND ADJACENT AREAS BY CENSUS TRACTS

Tracts in Los Angeles city—Part 1

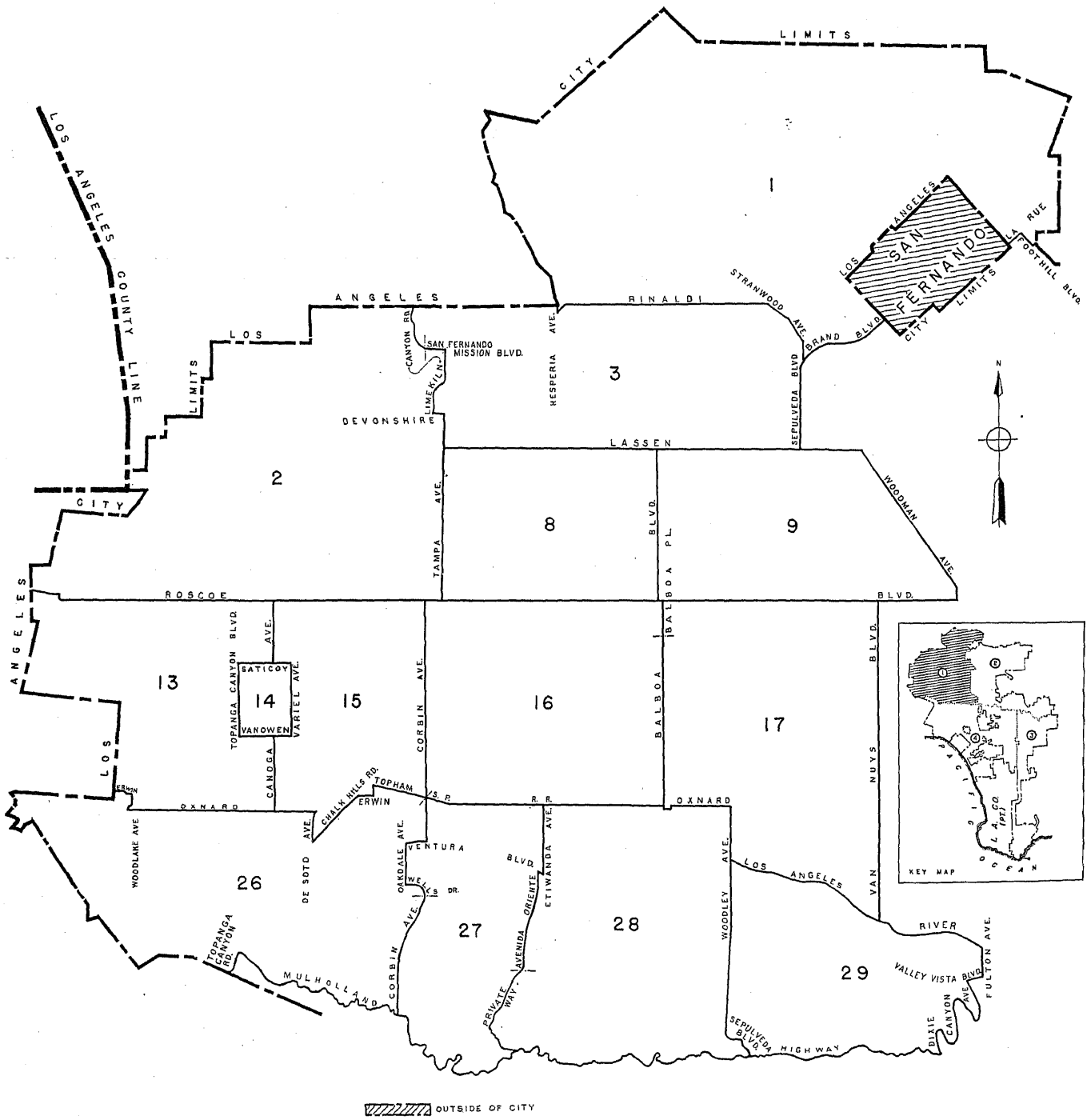

LOS ANGELES AND ADJACENT AREAS BY CENSUS TRACTS

Tracts in Los Angeles city—Part 2

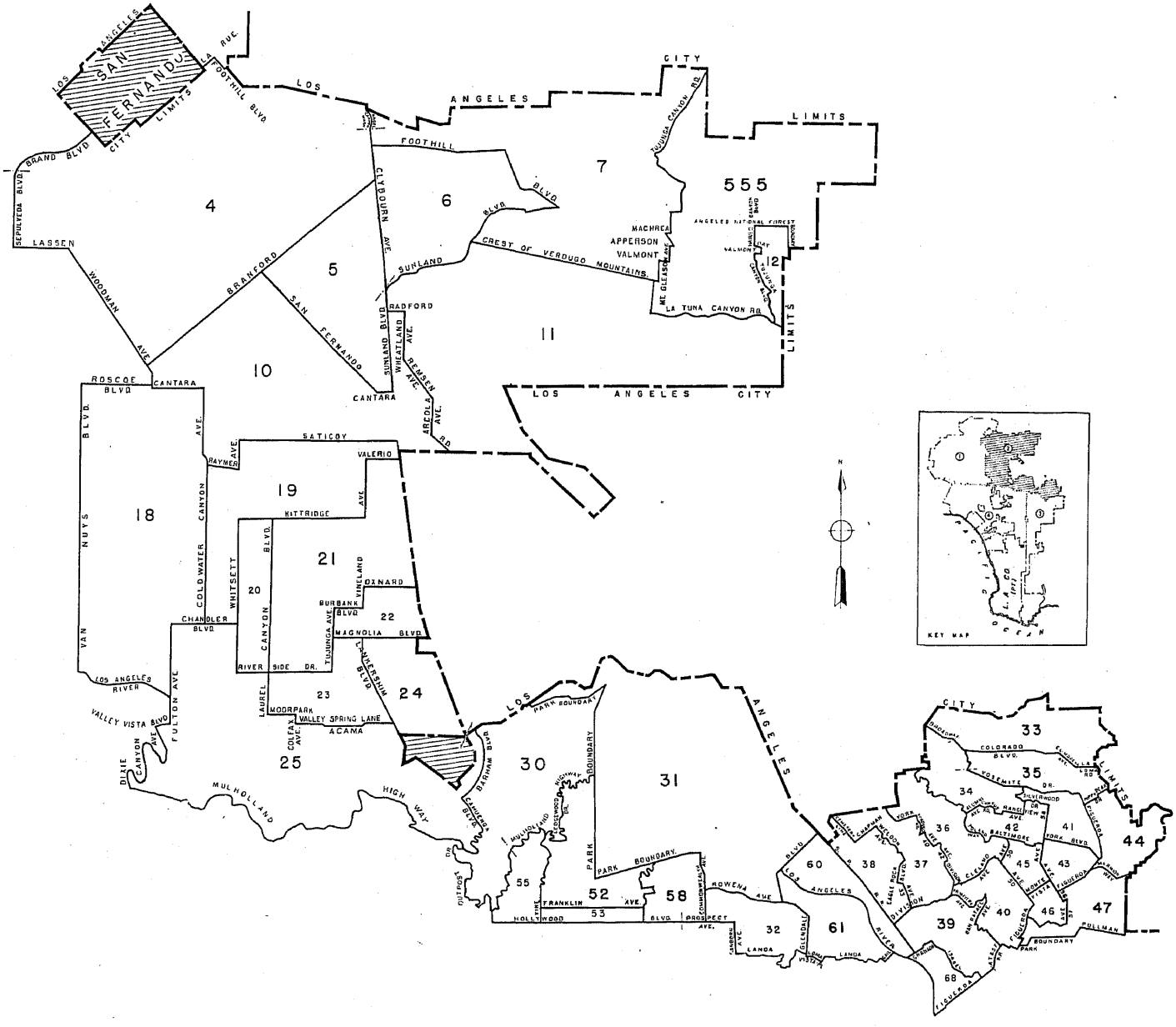

LOS ANGELES AND ADJACENT AREAS BY CENSUS TRACTS

Tracts in Los Angeles city—Part 3

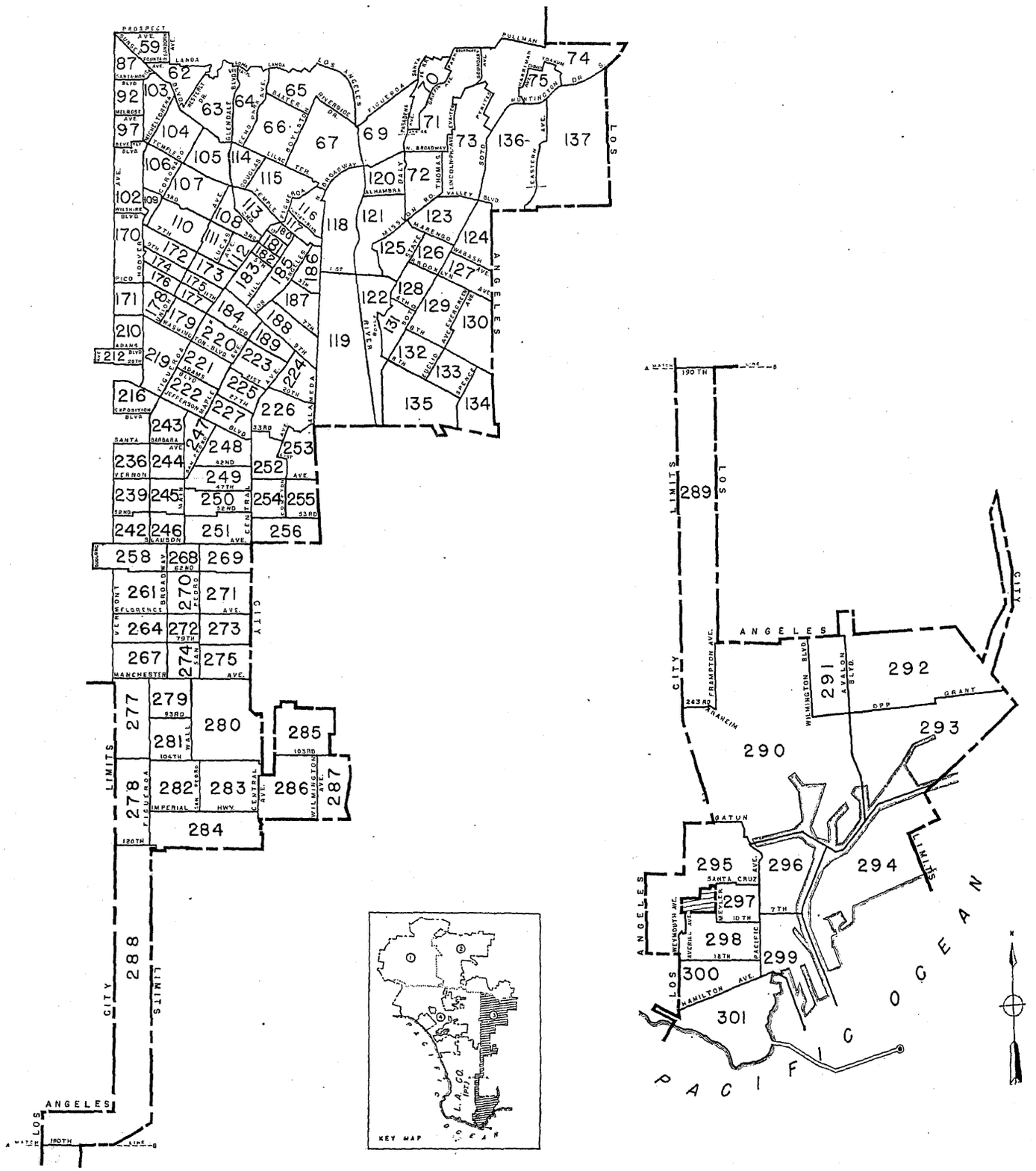

LOS ANGELES AND ADJACENT AREAS BY CENSUS TRACTS

Tracts in Los Angeles city—Part 4

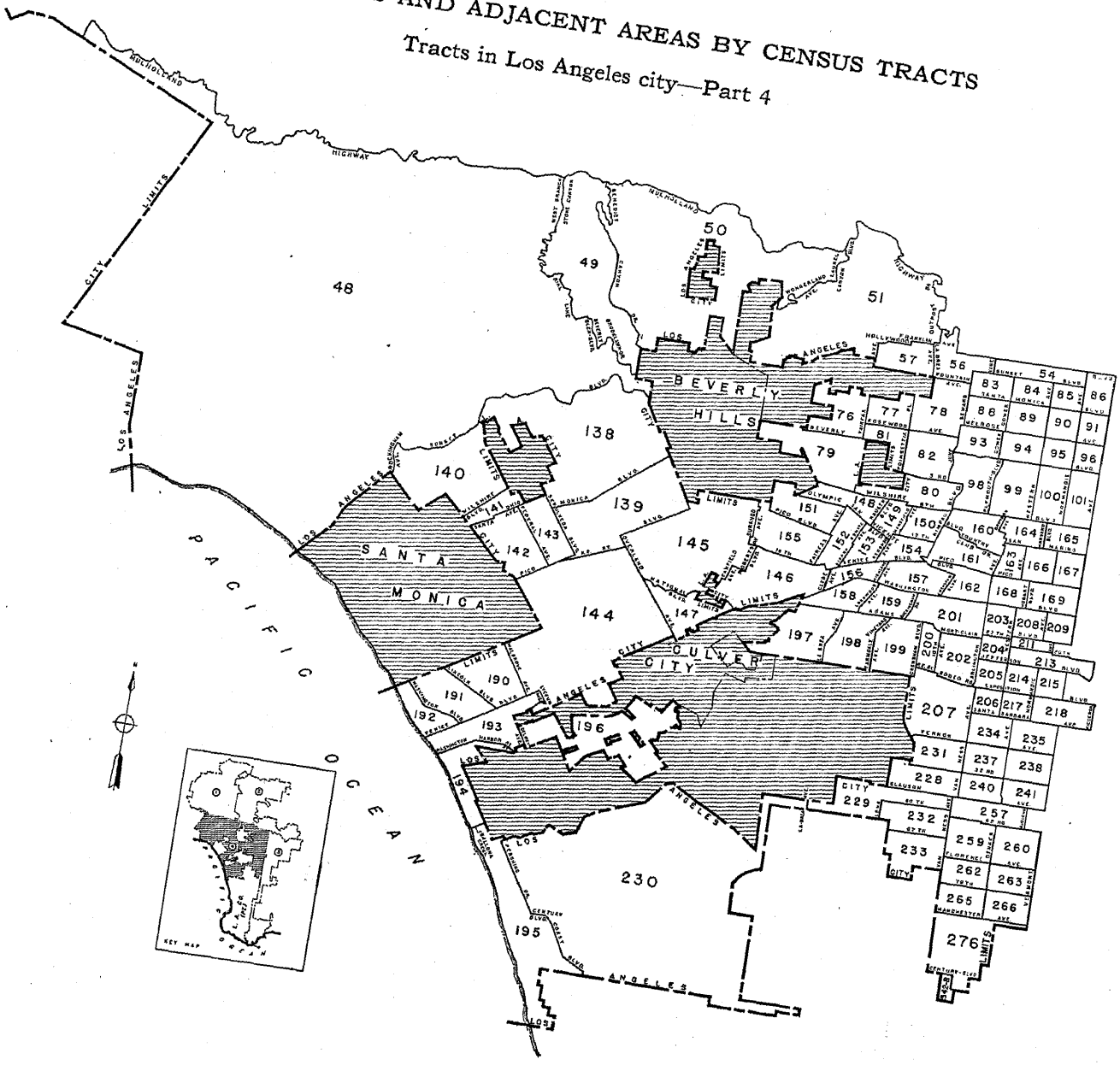

LOS ANGELES AND ADJACENT AREAS BY CENSUS TRACTS

Tracts in Long Beach city

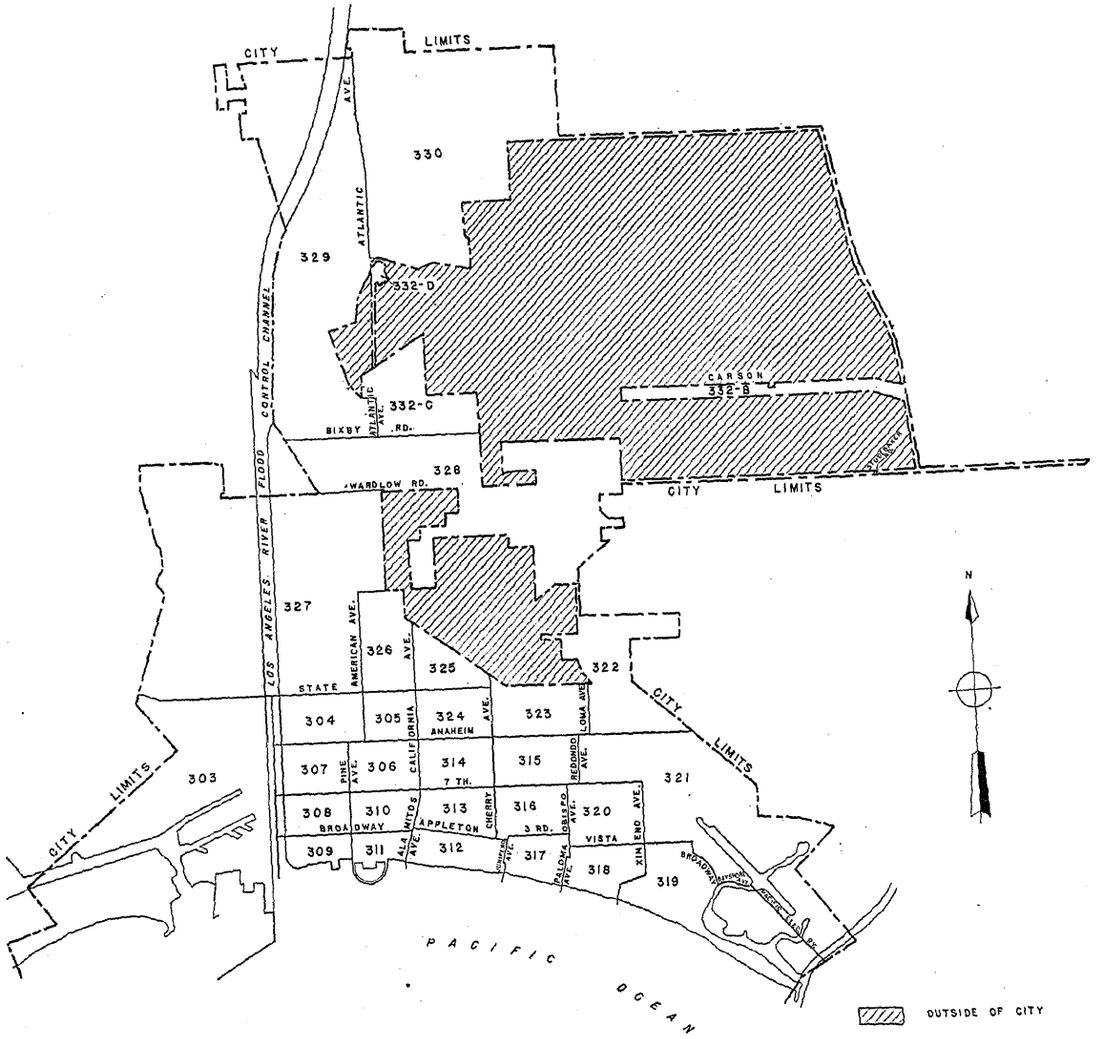

LOS ANGELES AND ADJACENT AREAS, BY CENSUS TRACTS

Tracts in Los Angeles County—Part 1

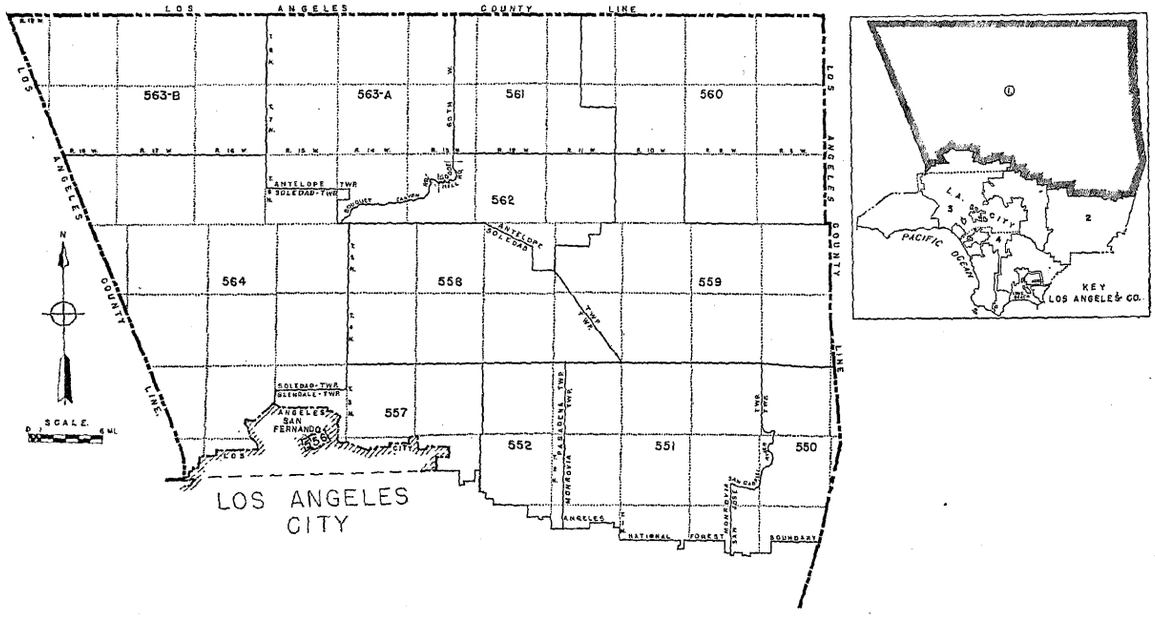

LOS ANGELES AND ADJACENT AREAS BY CENSUS TRACTS

Tracts in Los Angeles County—Part 2

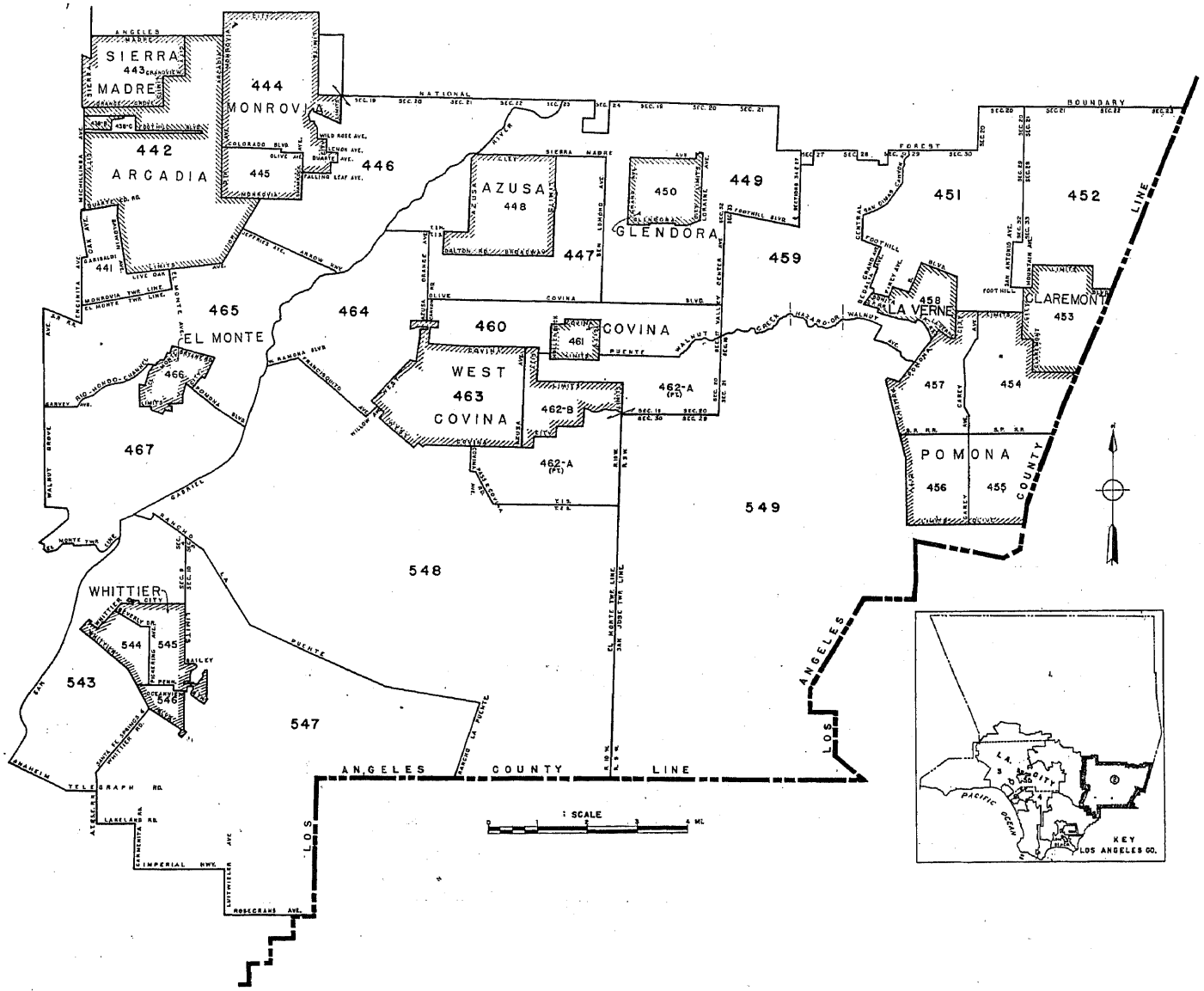

LOS ANGELES AND ADJACENT AREAS BY CENSUS TRACTS

Tracts in Los Angeles County—Part 3

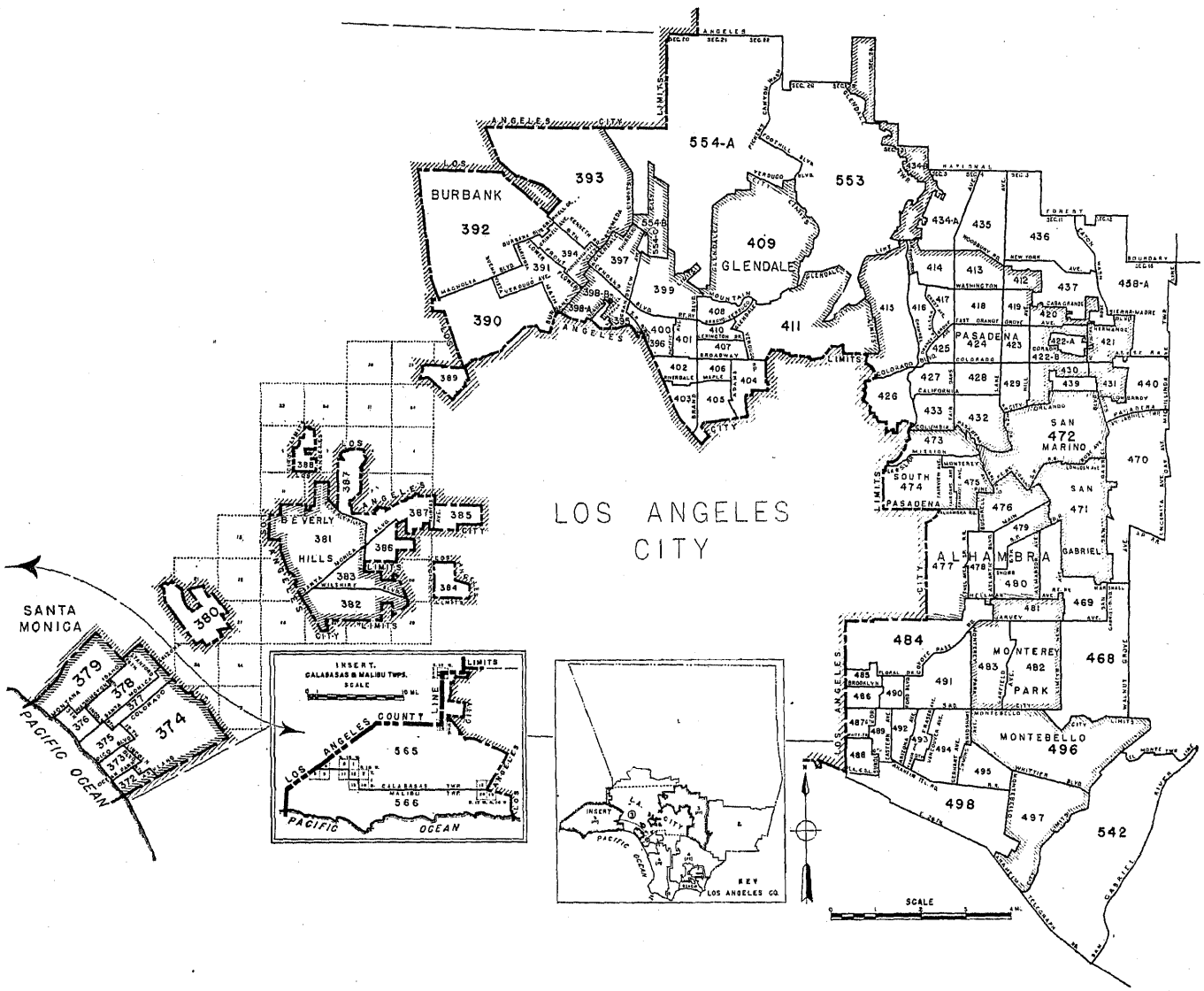

LOS ANGELES AND ADJACENT AREAS BY CENSUS TRACTS

Tracts in Los Angeles County—Part 4

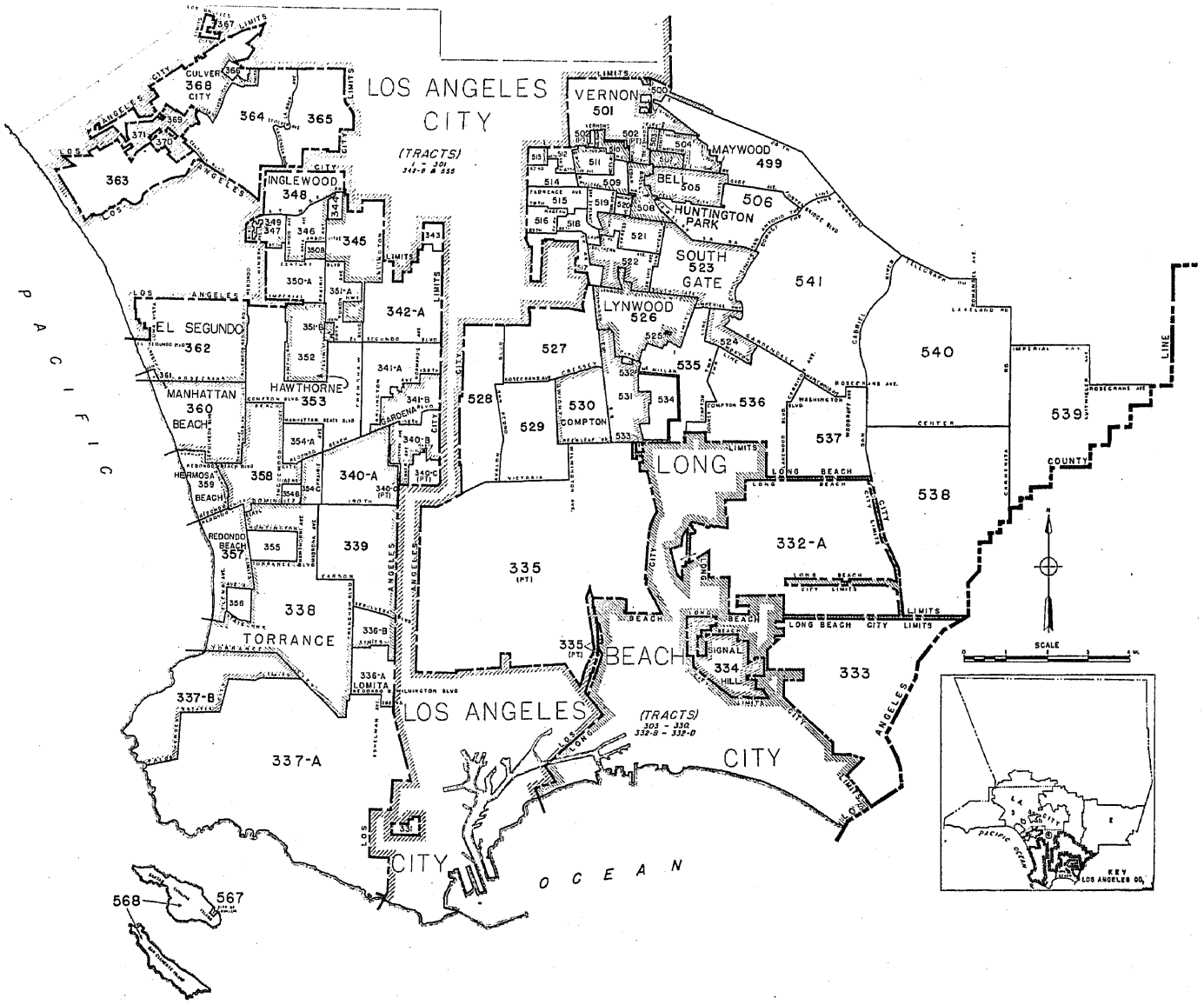

OAKLAND, BERKELEY, AND ADJACENT AREAS, BY CENSUS TRACTS

Tracts in Alameda County

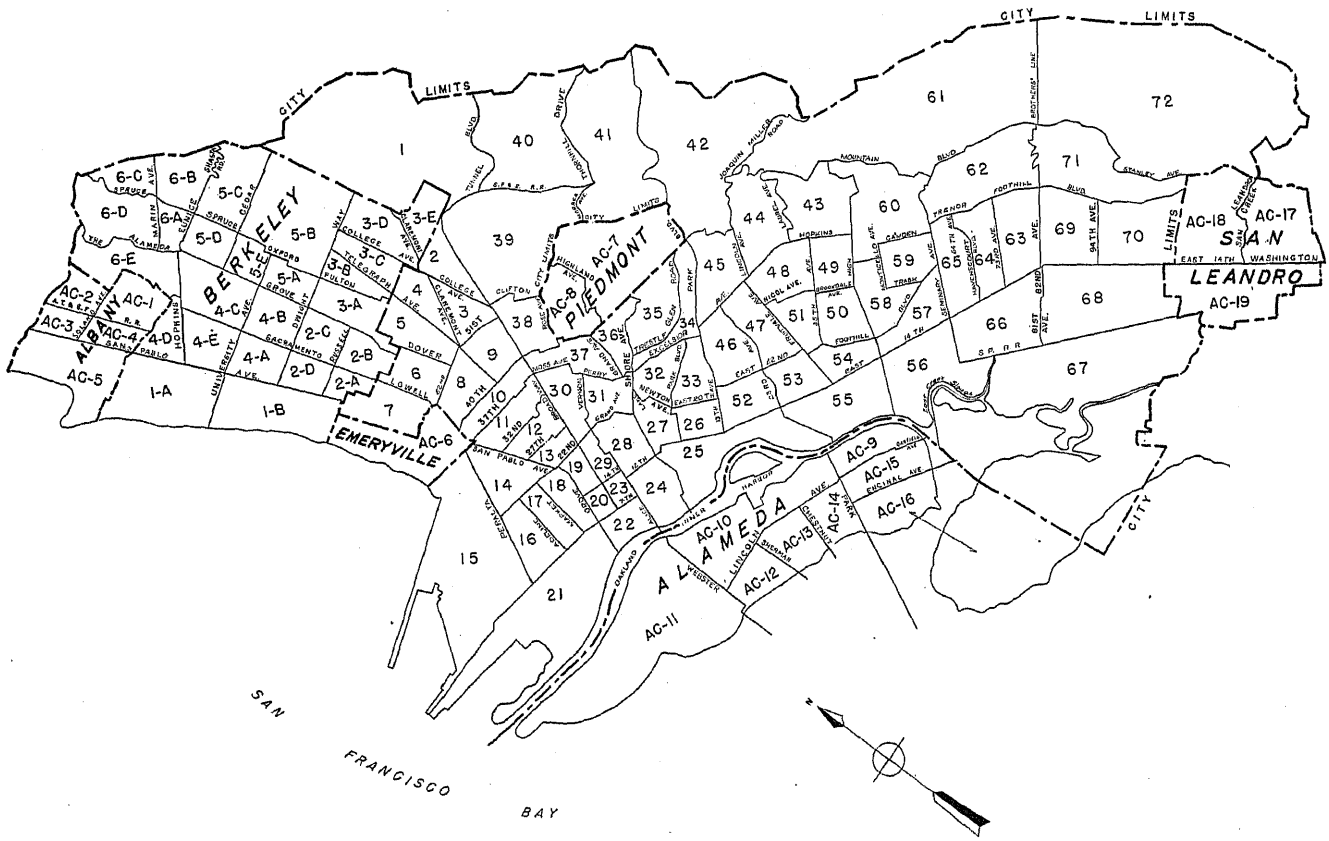

OAKLAND, BERKELEY, AND ADJACENT AREAS, BY CENSUS TRACTS

Tracts in Contra Costa County

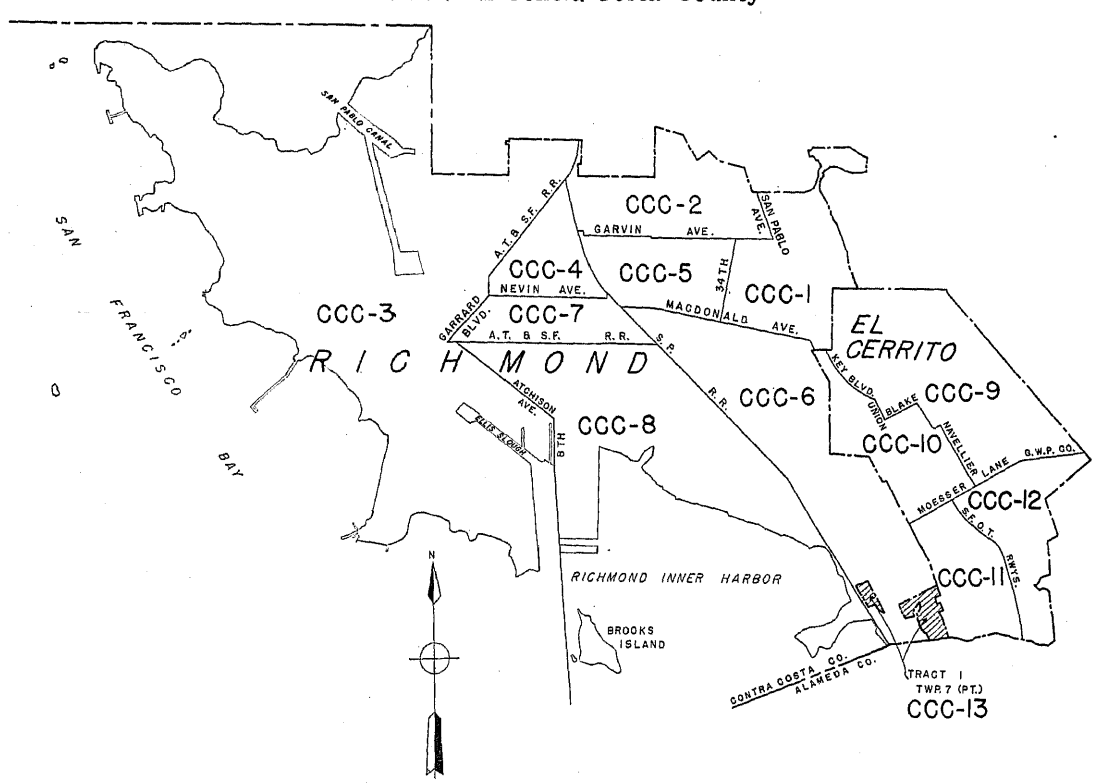

SAN FRANCISCO BY CENSUS TRACTS

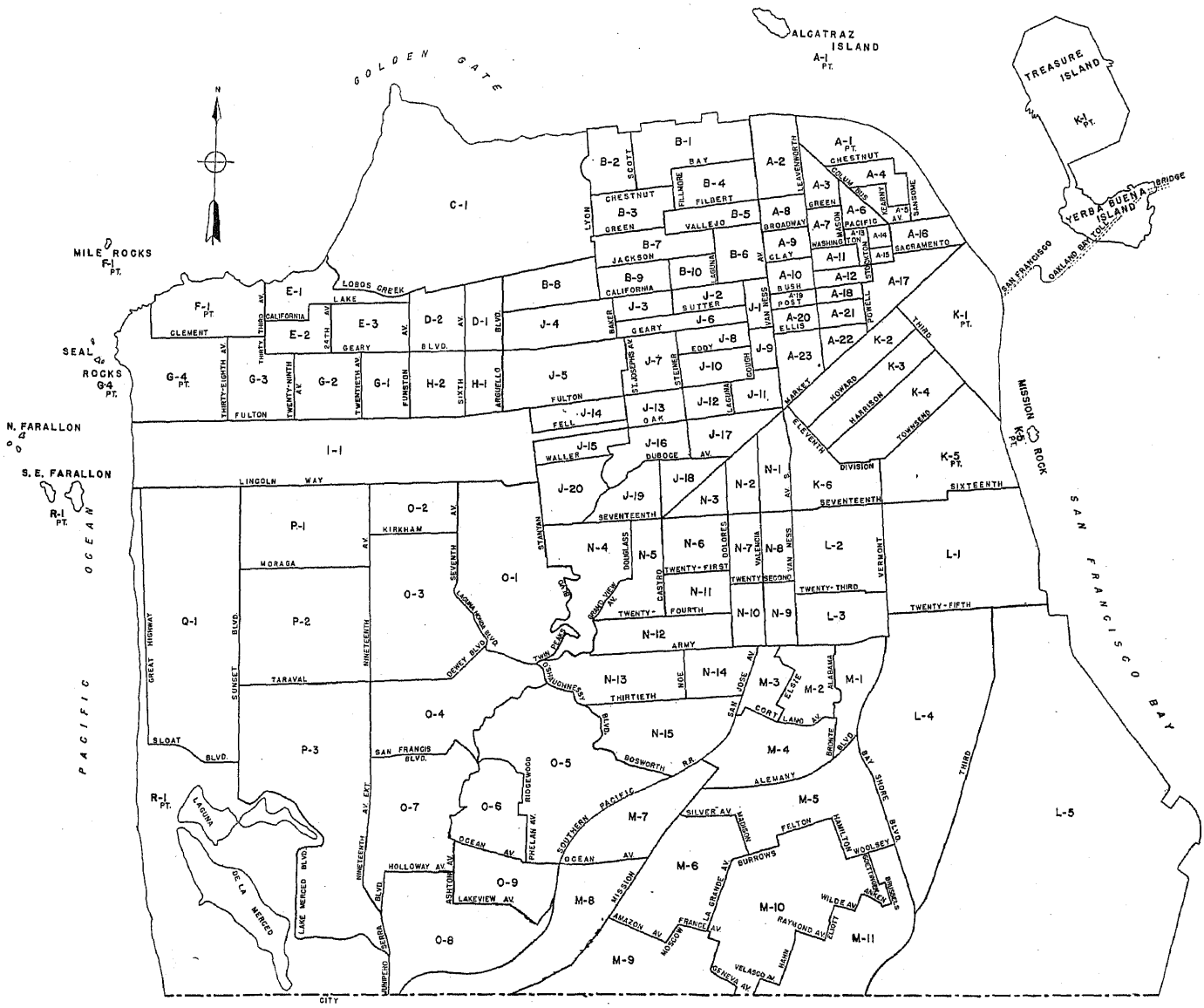

FRESNO METROPOLITAN DISTRICT

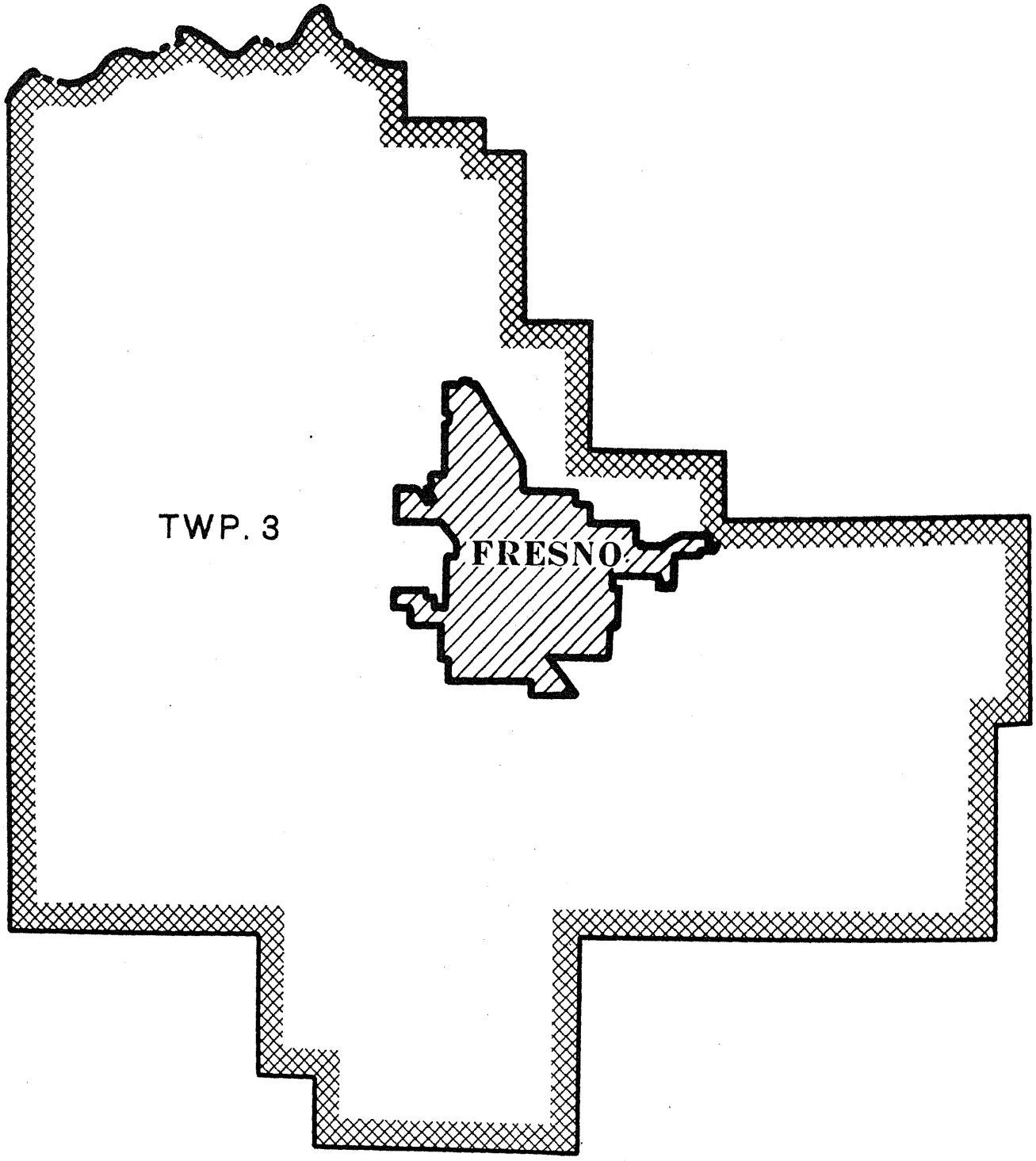

LOS ANGELES METROPOLITAN DISTRICT

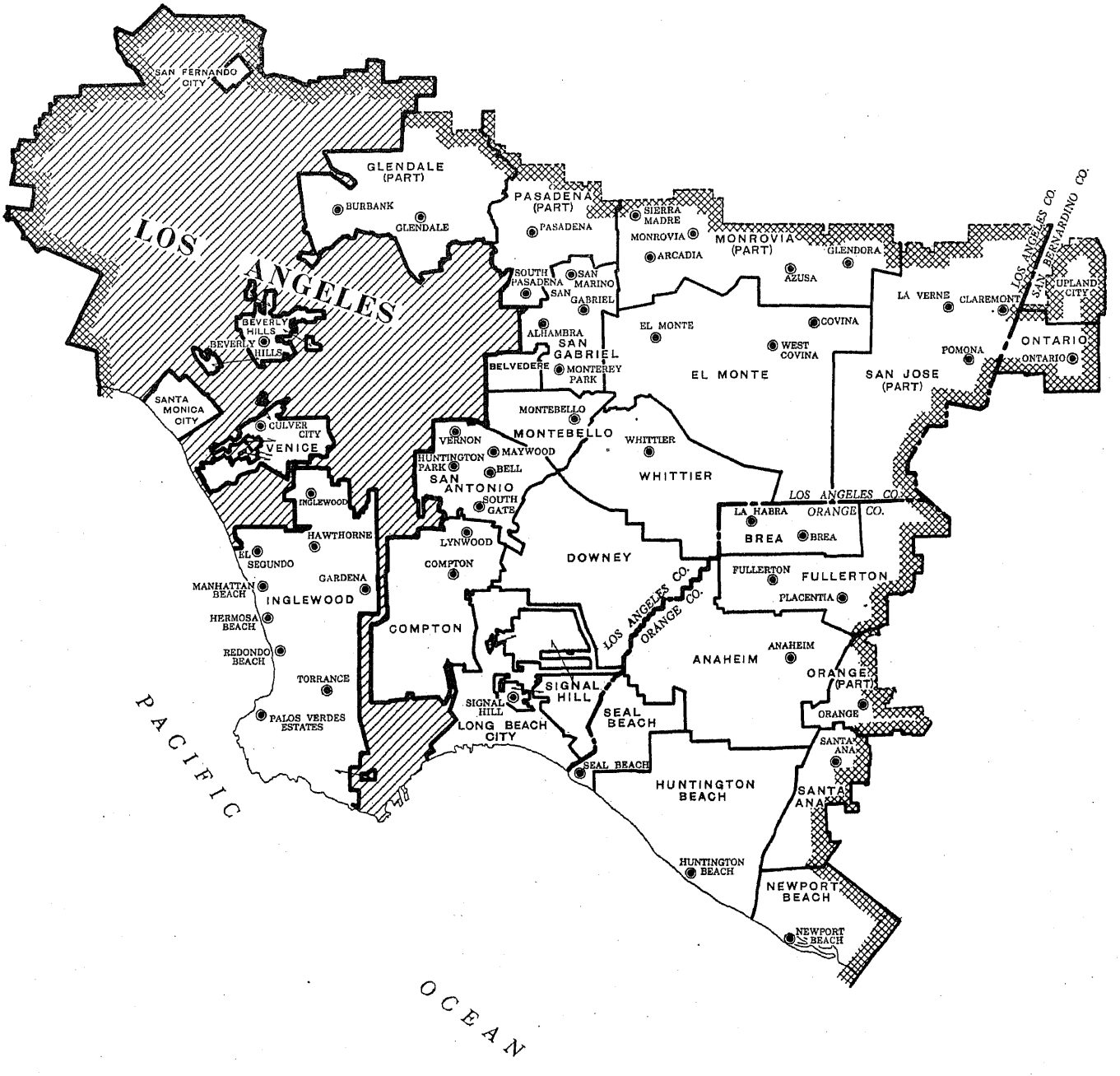

SACRAMENTO METROPOLITAN DISTRICT

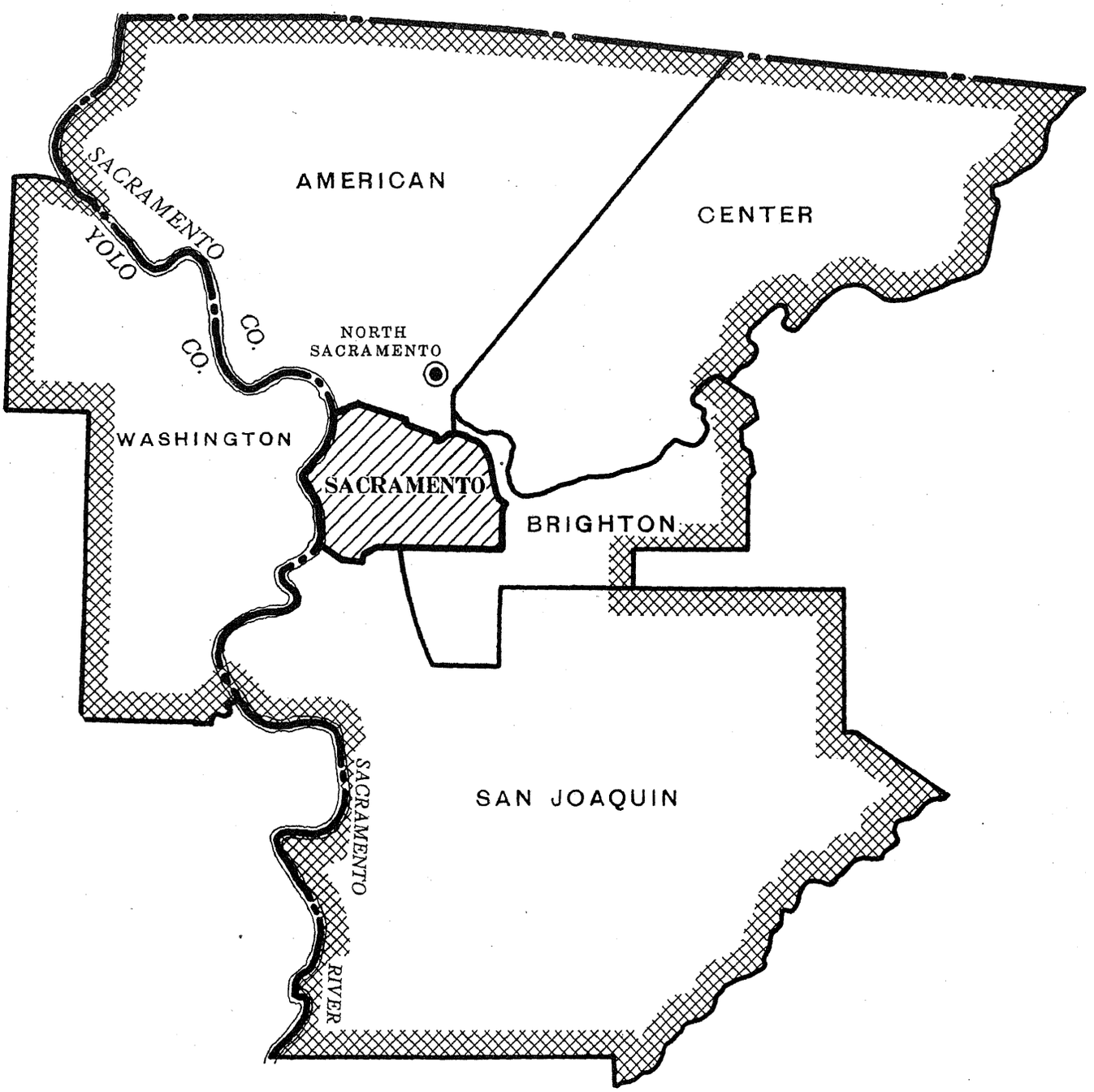

SAN DIEGO METROPOLITAN DISTRICT

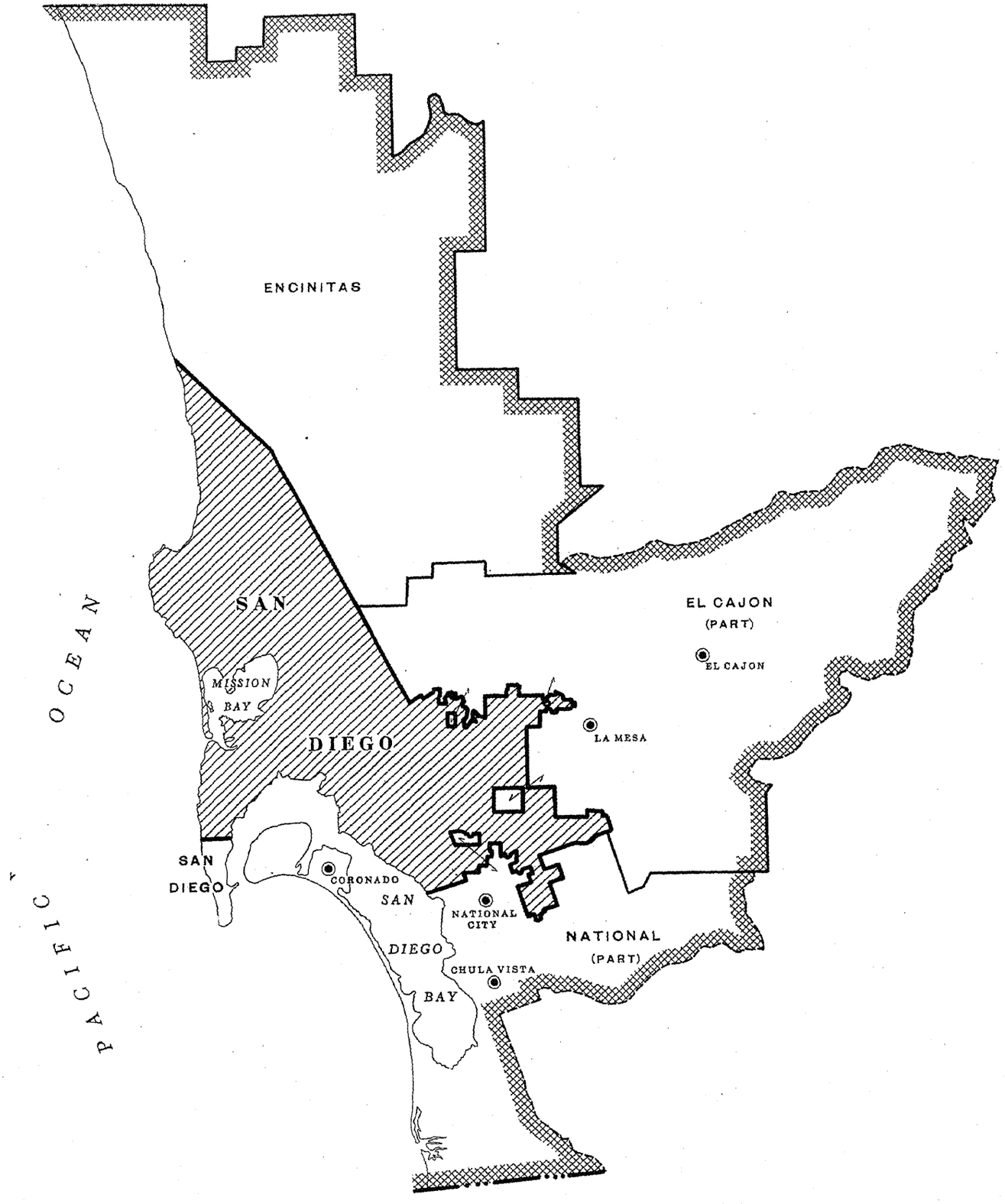

SAN FRANCISCO-OAKLAND METROPOLITAN DISTRICT

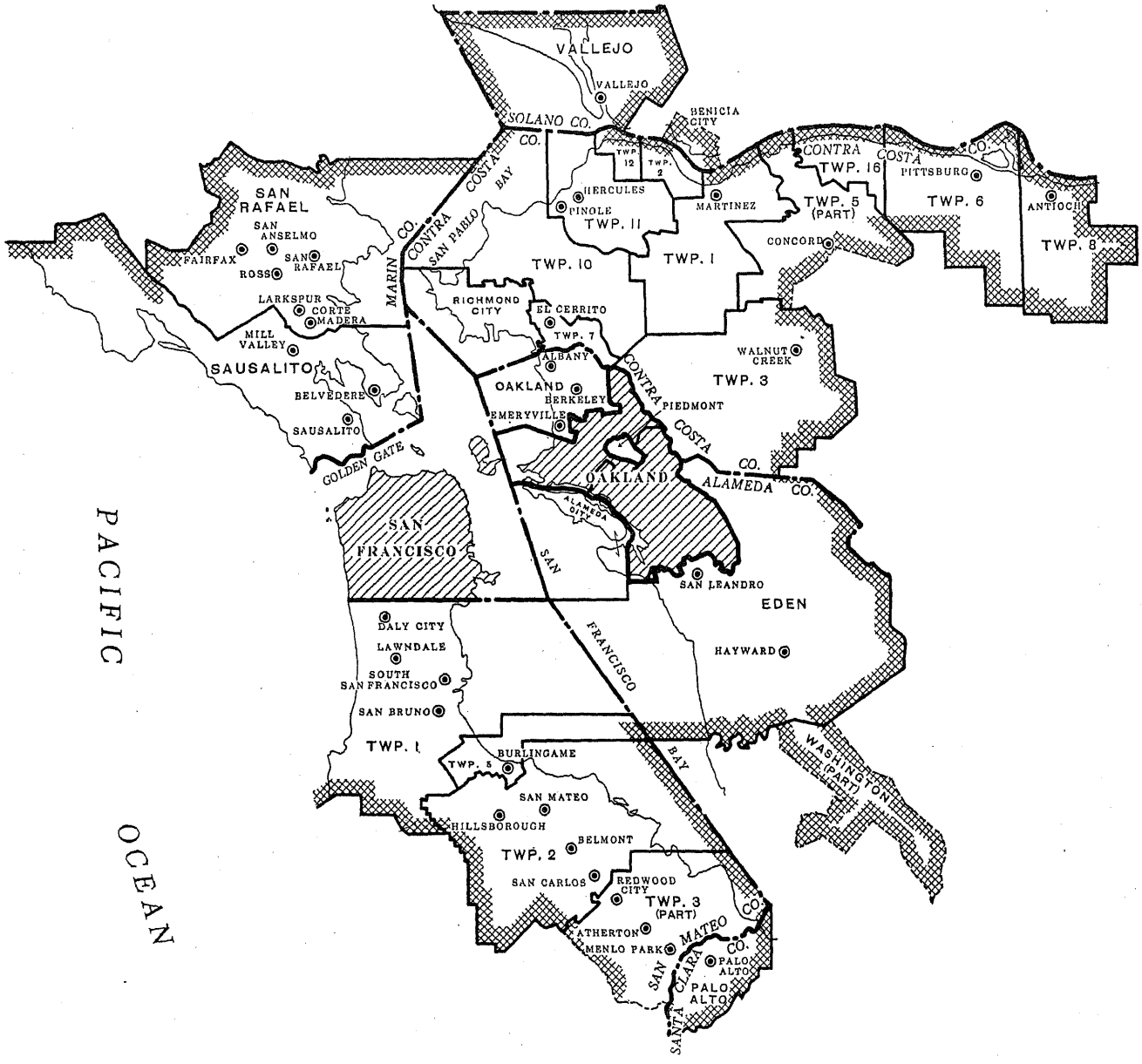

SAN JOSE METROPOLITAN DISTRICT

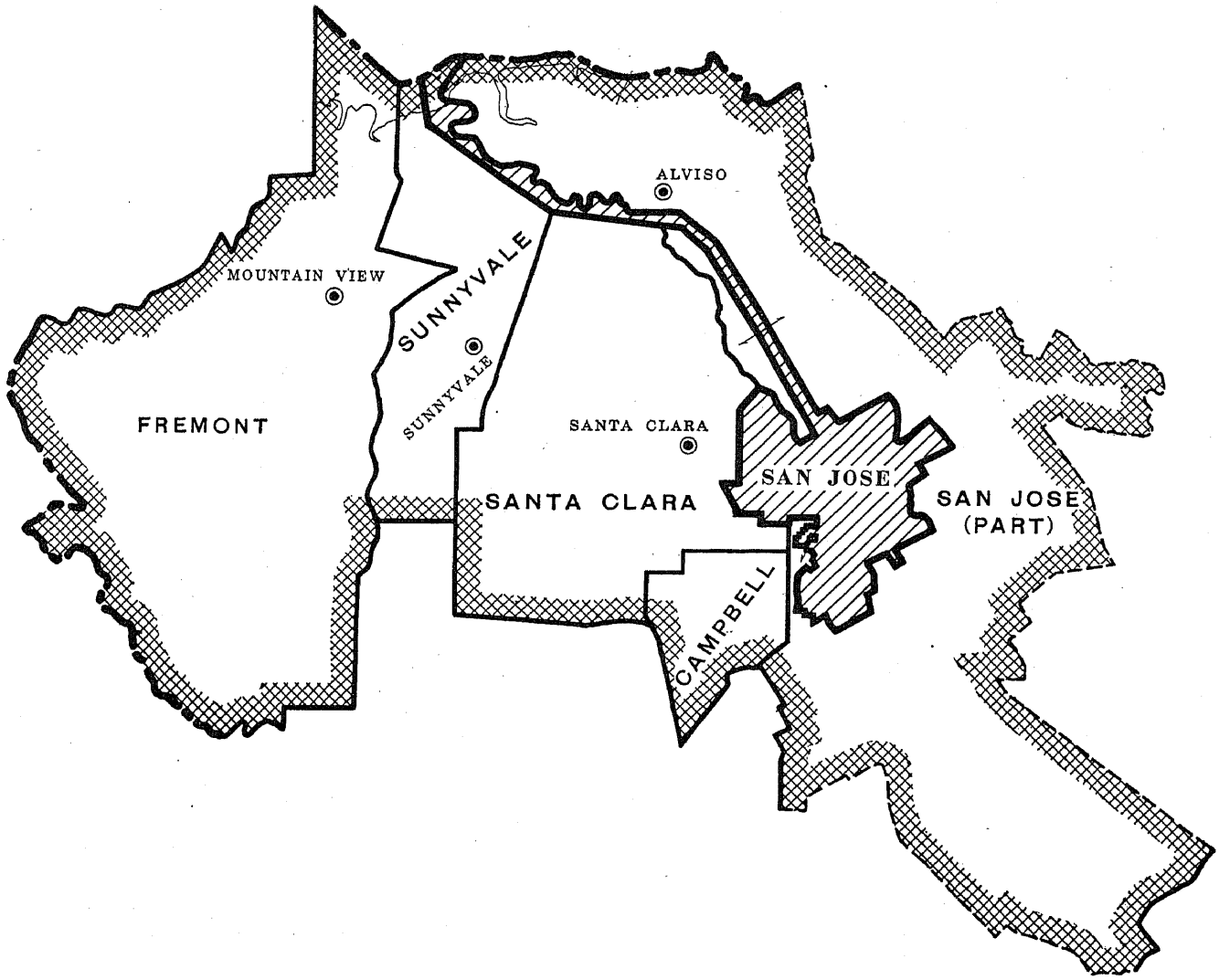

STOCKTON METROPOLITAN DISTRICT

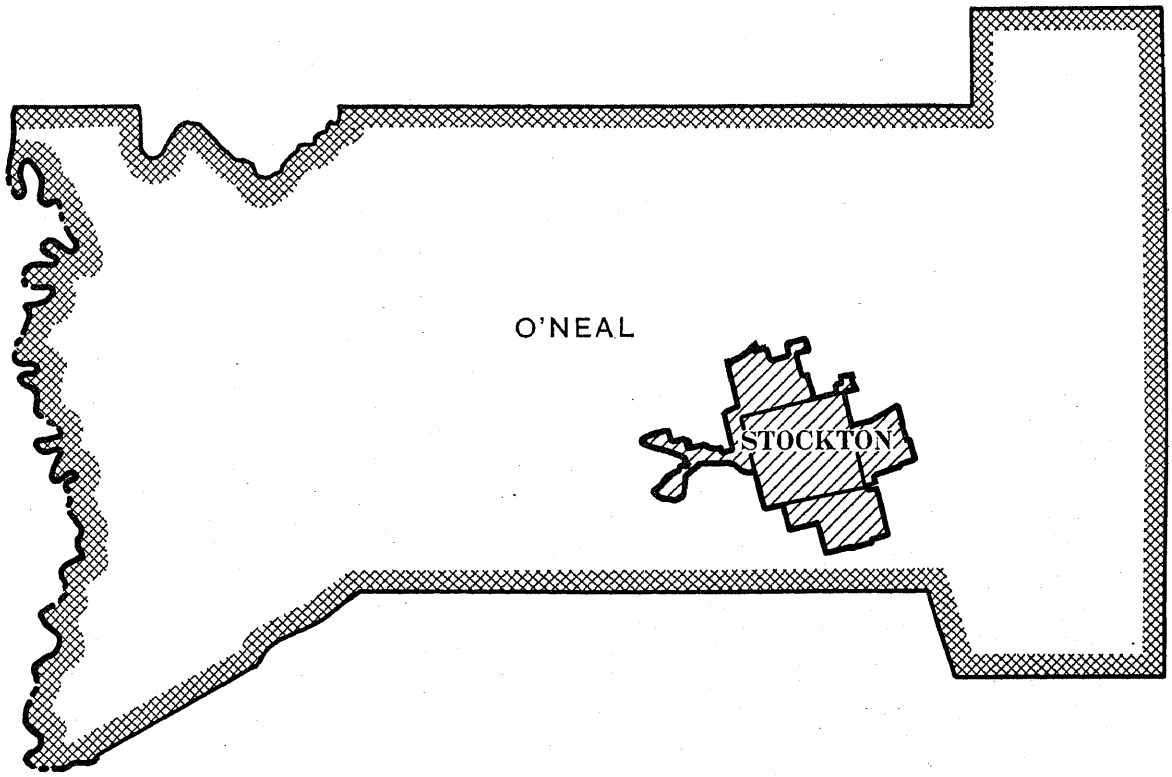

COLORADO

CONTENTS

	Page
MAP.—Colorado by minor civil divisions (4 sections)	154
DIAGRAM.—Urban and rural population of Colorado: 1860 to 1940	159

TABLES

TABLE 1.—Population of Colorado, urban and rural: 1860 to 1940	159
TABLE 2.—Population of cities of 10,000 or more from earliest census to 1940	160
TABLE 3.—Area and population of counties, urban and rural: 1920 to 1940	160
TABLE 4.—Population of counties by minor civil divisions: 1920 to 1940	162
TABLE 5.—Population of incorporated places: 1940 and 1930	170
TABLE 6.—Population of cities of 5,000 or more by wards: 1940	171
TABLE 7.—Population of the Denver metropolitan district: 1940 and 1930	172
TABLE 7-A.—Population of the Pueblo metropolitan district: 1940	173
TABLE 8.—Population of Denver by census tracts: 1940	173

MAPS FOR CENSUS TRACTS AND METROPOLITAN DISTRICTS

CENSUS TRACTS	Page	METROPOLITAN DISTRICTS	Page
Denver	174	Denver	175
		Pueblo	175

COLORADO—WESTERN PART

MINOR CIVIL DIVISIONS—ELECTION PRECINCTS

[The counties and precincts appearing along the eastern edge of this section are repeated on the western edge of the eastern section for convenience in reference]

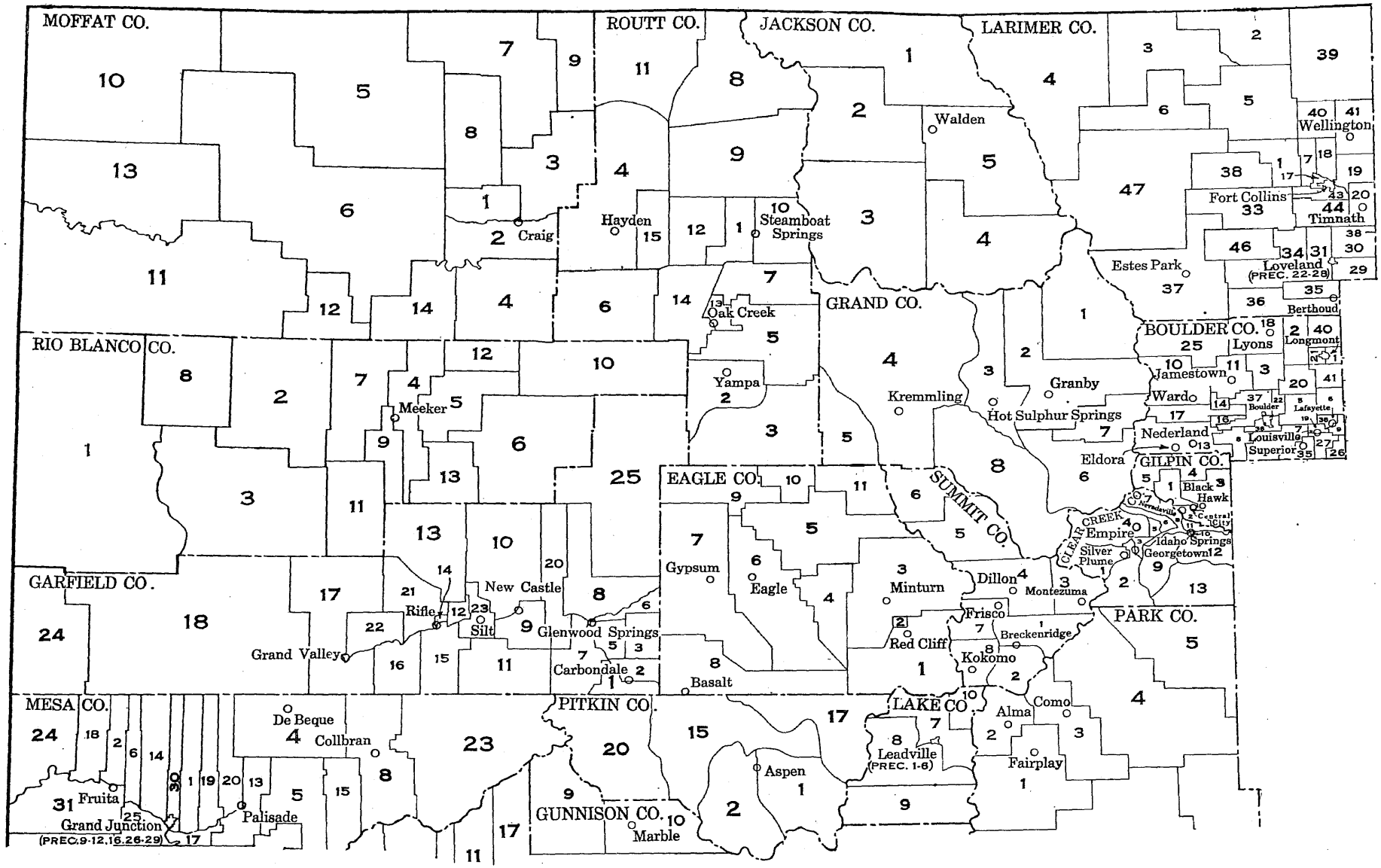

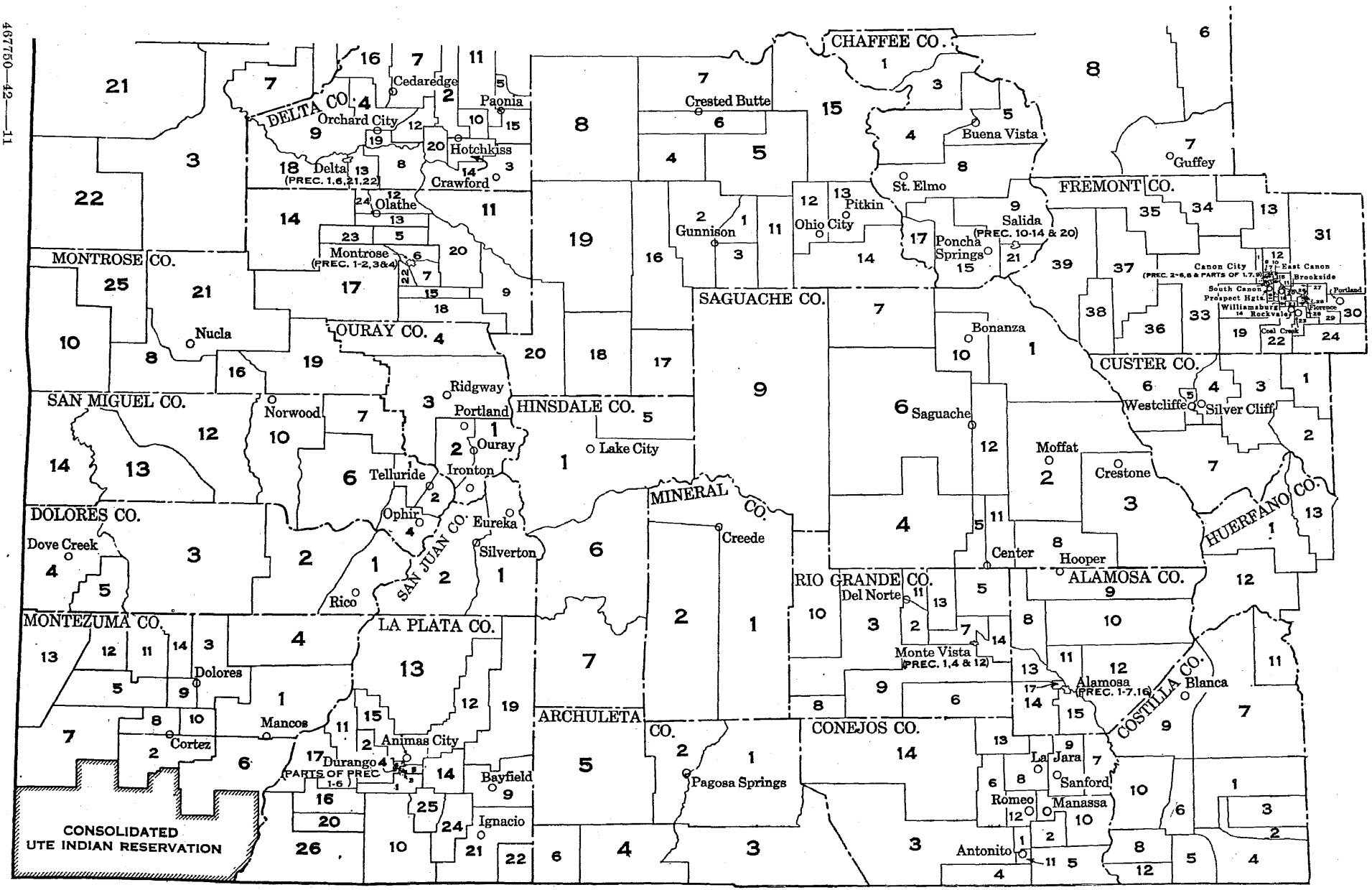

SCALE
10 0 10 20 30 40 MILES

OPEN CIRCLES INDICATE INCORPORATED PLACES HAVING UNDER 2,500 INHABITANTS

COLORADO—EASTERN PART

MINOR CIVIL DIVISIONS—ELECTION PRECINCTS

[The counties and precincts appearing along the western edge of this section are repeated on the eastern edge of the western section for convenience in reference]

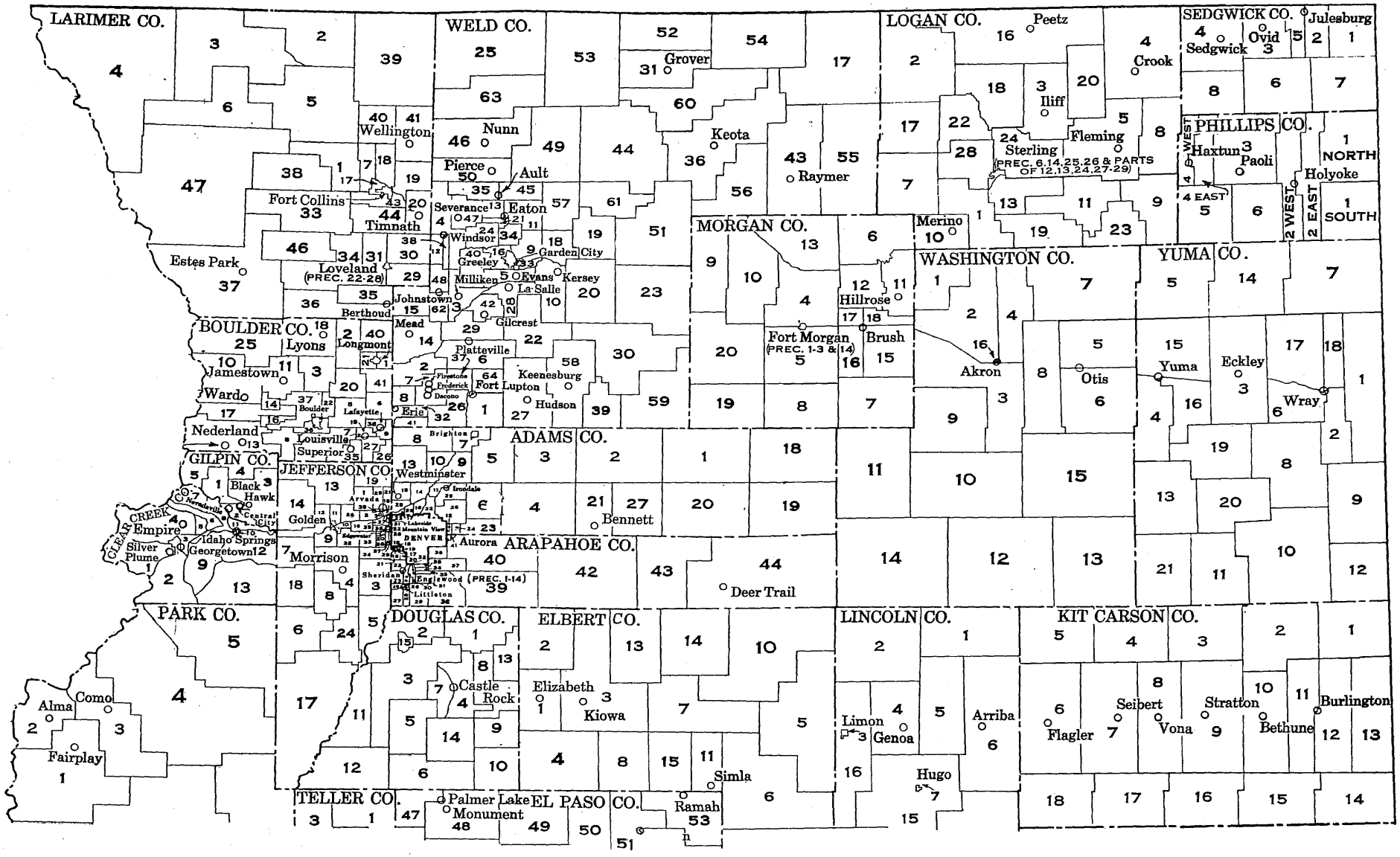

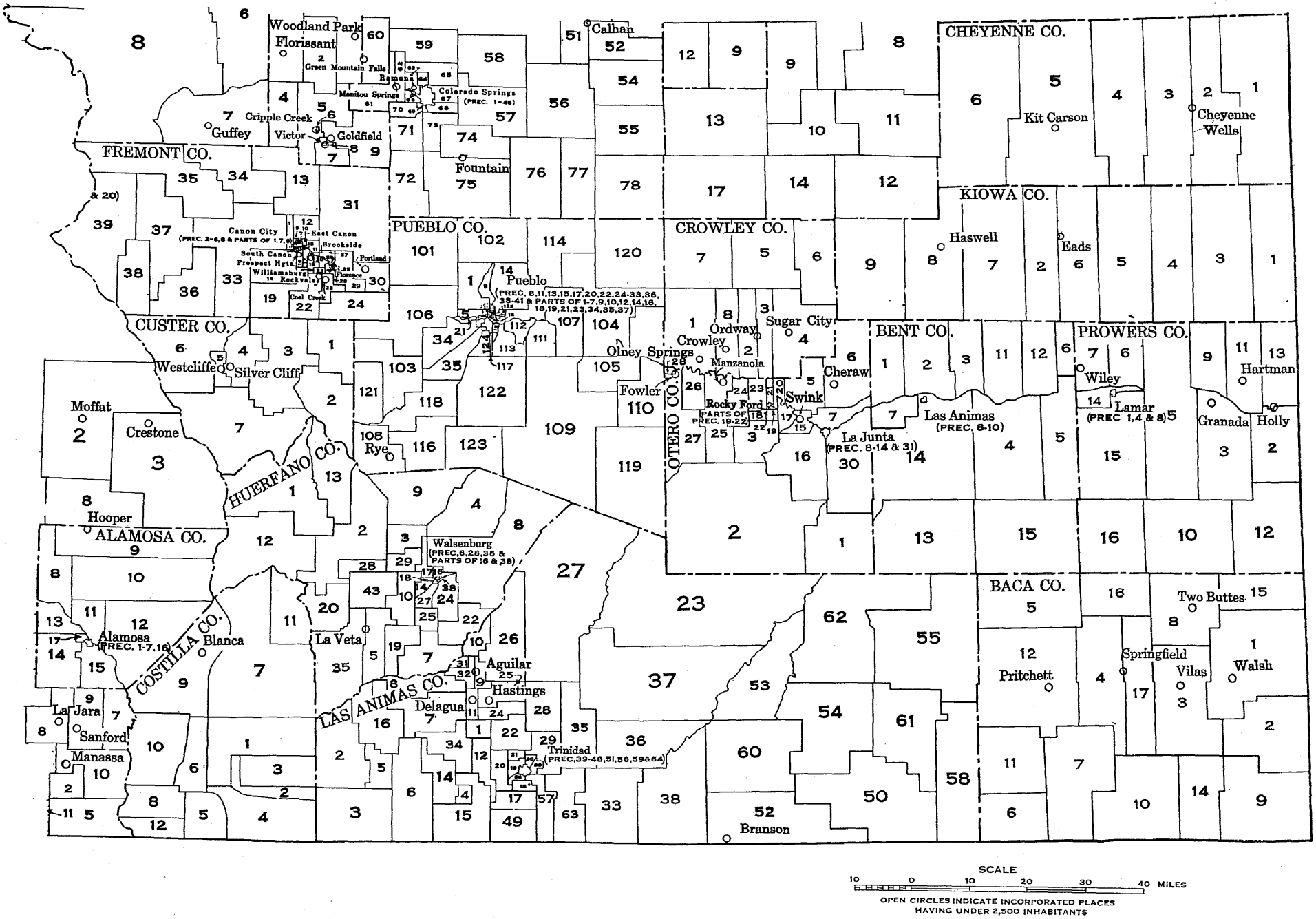
COLORADO
FREMONT CO.
CUSTER CO.
PUEBLO CO.
CROWLEY CO.
OTERO CO.
KIOWA CO.
CHEYENNE CO.
BENT CO.
PROWERS CO.
HUERFANO CO.
ALAMOSA CO.
COSTILLA CO.
LAS ANIMAS CO.
BACA CO.
Woodland Park
Florissant
Cripple Creek
Victor
Goldfield
Guffey
Colorado Springs
Manitou Springs
Fountain
Canon City
Pueblo
Westcliffe
Silver Cliff
Moffat
Crestone
Hooper
Alamosa
Blanca
La Veta
Walsenburg
Aguilar
Hastings
Delagua
Trinidad
Sanford
Manassa
La Jara
Rye
Olney Springs
Ordway
Crowley
Sugar City
Manzanola
Fowler
Rocky Ford
Swink
La Junta
Las Animas
Cheraw
Haswell
Eads
Kit Carson
Cheyenne Wells
Wiley
Lamar
Granada
Holly
Hartman
Springfield
Vilas
Walsh
Two Buttes
Pritchett
Branson
Calhan
SCALE
10 0 10 20 30 40 MILES
OPEN CIRCLES INDICATE INCORPORATED PLACES
HAVING UNDER 2,500 INHABITANTS

COLORADO

NUMBER OF INHABITANTS

Population of the State.—Colorado was organized as a Territory in 1861 from parts of the Kansas, Nebraska, New Mexico, and Utah Territories. In 1876, without change in boundaries and with boundaries as at present, it was admitted to the Union as the thirty-eighth State. Its population on April 1, 1940, according to the Sixteenth Census, was 1,123,296, which represents an increase of 87,505, or 8.4 percent, as compared with the population on April 1, 1930. The total land area of the State, as shown in table 3, is 103,967 square miles. The average number of inhabitants per square mile in 1940 was 10.8, as compared with 10.0 in 1930.

Table 1 shows the population of Colorado from 1860, the year in which the area now included in the State was first separately enumerated, to 1940, together with the increase during each decade. The urban and rural population of the State at each census is presented in this table, and is also shown graphically in the accompanying chart. The urban population of Colorado consists of those persons living in incorporated places of 2,500 or more, the remainder of the population being classified as rural. The urban and rural areas are not necessarily constant from one census to the next, since new places are added to the urban list from time to time as they attain a population of 2,500 or more. Places are likewise taken off the urban list when, through decline in population, they fall below this limit. For example, Florence qualified as urban in 1920 and 1940 but not in 1930.

TABLE 1.—POPULATION OF COLORADO, URBAN AND RURAL: 1860 TO 1940

[Urban-rural classification in accordance with 1940 definitions]

CENSUS YEAR	THE STATE			URBAN PLACES				RURAL TERRITORY			PERCENT OF TOTAL	
	Population	Increase over preceding census		Number of places	Population	Increase over preceding census		Population	Increase over preceding census		Urban	Rural
		Number	Percent			Number	Percent		Number	Percent		
1940	1,123,296	87,505	8.4	30	590,756	70,874	13.6	532,540	16,631	3.2	52.6	47.4
1930	1,035,791	96,162	10.2	27	519,882	66,623	14.7	515,909	29,539	6.1	50.2	49.8
1920	939,629	140,605	17.6	26	453,259	51,067	12.7	486,370	89,538	22.6	48.2	51.8
1910	799,024	259,324	48.0	27	402,192	141,541	54.3	396,832	117,783	42.2	50.3	49.7
1900	539,700	126,451	30.6	20	260,651	74,746	40.2	279,049	51,705	22.7	48.3	51.7
1890	413,249	218,922	112.7	13	185,905	124,944	205.0	227,344	93,978	70.5	45.0	55.0
1880	194,327	154,463	387.5	5	60,961	56,202	1,181.0	133,366	98,261	279.9	31.4	68.6
1870	39,864	5,587	16.3	1	4,759	10	0.2	35,105	5,577	18.9	11.9	88.1
1860	[1] 34,277			1	4,749			29,528			13.9	86.1

[1] Population of area organized in 1861 as Colorado Territory from parts of the Kansas, Nebraska, New Mexico, and Utah Territories.

URBAN AND RURAL POPULATION OF COLORADO: 1860 TO 1940

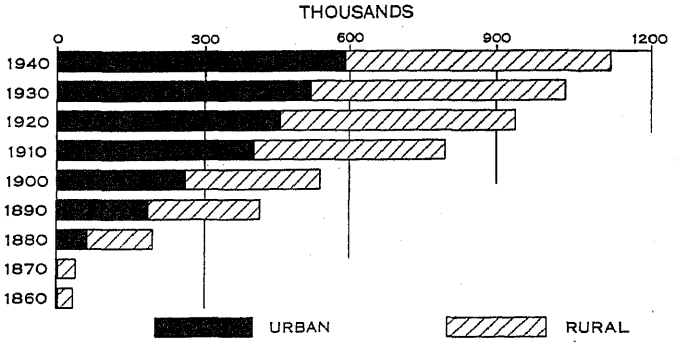

Geographic subdivisions.—In tables 2 to 5 the population of Colorado is shown by counties, election precincts, cities, and towns, with some comparative figures from previous censuses. Table 6 gives the population of cities by wards. Data for the Denver and Pueblo metropolitan districts are presented in tables 7 and 7–A and for the census tracts of Denver in table 8.

Cities of 10,000 or more.—There are eight cities in the State that had a population of 10,000 or more in 1940. Table 2 shows the population of these cities at each census for which figures are available, together with the increase or decrease during each decade. Denver, the capital and largest city, had a population in 1940 of 322,412.

TABLE 2.—POPULATION OF CITIES OF 10,000 OR MORE FROM EARLIEST CENSUS TO 1940

[A minus sign (−) denotes decrease]

CITY AND CENSUS YEAR	Population	INCREASE OVER PRECEDING CENSUS	
		Number	Percent
Boulder:			
1940	12,958	1,735	15.5
1930	11,223	217	2.0
1920	11,006	1,467	15.4
1910	9,539	3,389	55.1
1900	6,150	2,820	84.7
1890	3,330	261	8.5
1880	3,069	2,726	794.8
1870	343	----------	----------
Colorado Springs:[1]			
1940	36,789	3,552	10.7
1930	33,237	3,132	10.4
1920	30,105	1,027	3.5
1910	29,078	7,993	37.9
1900	21,085	9,945	89.3
1890	11,140	6,914	163.6
1880	4,226	----------	----------
Denver:			
1940	322,412	34,551	12.0
1930	287,861	31,370	12.2
1920	256,491	43,110	20.2
1910	213,381	79,522	59.4
1900	133,859	27,146	25.4
Denver—Continued.			
1890	106,713	71,084	199.5
1880	35,629	30,870	648.7
1870	4,759	10	0.2
1860	4,749	----------	----------
Fort Collins:			
1940	12,251	762	6.6
1930	11,489	2,734	31.2
1920	8,755	545	6.6
1910	8,210	5,157	168.9
1900	3,053	1,042	51.8
1890	2,011	655	48.3
1880	1,356	----------	----------
Grand Junction:			
1940	12,479	2,232	21.8
1930	10,247	1,582	18.3
1920	8,665	911	11.7
1910	7,754	4,251	121.4
1900	3,503	1,473	72.6
1890	2,030	----------	----------
Greeley:			
1940	15,995	3,792	31.1
1930	12,203	1,245	11.4
Greeley—Continued.			
1920	10,958	2,779	34.0
1910	8,179	5,156	170.6
1900	3,023	628	26.2
1890	2,395	1,098	84.7
1880	1,297	817	170.2
1870	480	----------	----------
Pueblo:			
1940	52,162	2,066	4.1
1930	50,096	7,046	16.4
1920	43,050	1,303	3.1
1910	[2] 41,747	13,590	48.3
1900	28,157	3,599	14.7
1890	24,558	21,341	663.4
1880	3,217	----------	----------
Trinidad:			
1940	13,223	1,491	12.7
1930	11,732	826	7.6
1920	10,906	702	6.9
1910	10,204	4,859	90.9
1900	5,345	−178	−3.2
1890	5,523	3,297	148.1
1880	2,226	1,664	296.1
1870	562	----------	----------

[1] Colorado City and Colorado Springs city consolidated between 1910 and 1920; combined population, 33,411 in 1910; 23,999 in 1900; 12,928 in 1890; 4,573 in 1880.
[2] Corrected figure; exclusive of population (2,648) of certain territory outside the city limits.

Counties.—Table 3 shows the population of the 63 counties of Colorado from 1920 to 1940, together with the land area of each county and its population per square mile in 1940. The land areas given here are the result of new measurements recently compiled and differ somewhat from those published in earlier census reports. Thirty-nine of these counties increased in population between 1930 and 1940, and twenty-four decreased. No new counties have been organized, and there have been no changes in county boundaries since the census of 1930. This table also presents the urban and rural population of each county for 1940 and 1930.

TABLE 3.—AREA AND POPULATION OF COUNTIES, URBAN AND RURAL: 1920 TO 1940

[A minus sign (−) denotes decrease. Percent not shown where base is less than 100]

COUNTY	Land area in square miles, 1940	TOTAL POPULATION						URBAN POPULATION			RURAL POPULATION			PERCENT URBAN	
		1940		1930	1920	Percent of increase		1940	1930	Percent of increase	1940	1930	Percent of increase	1940	1930
		Total	Per square mile			1930 to 1940	1920 to 1930								
Colorado	**103,967**	**1,123,296**	**10.8**	**1,035,791**	**939,629**	**8.4**	**10.2**	**590,756**	**519,882**	**13.6**	**532,540**	**515,909**	**3.2**	**52.6**	**50.2**
Adams	1,247	22,481	18.0	20,245	14,430	11.0	40.3	6,294	3,394	85.4	16,187	16,851	−3.9	28.0	16.8
Alamosa	720	10,484	14.6	8,602	5,148	21.9	67.1	5,613	5,107	9.9	4,871	3,495	39.4	53.5	59.4
Arapahoe	827	32,150	38.9	22,647	13,766	42.0	64.5	10,852	7,980	36.0	21,298	14,667	45.2	33.8	35.2
Archuleta	1,364	3,806	2.8	3,204	3,590	18.8	−10.8	----------	----------	----------	3,806	3,204	18.8	----------	----------
Baca	2,565	6,207	2.4	10,570	8,721	−41.3	21.2	----------	----------	----------	6,207	10,570	−41.3	----------	----------
Bent	1,533	9,653	6.3	9,134	9,705	5.7	−5.9	3,232	2,517	28.4	6,421	6,617	−3.0	33.5	27.6
Boulder	753	37,438	49.7	32,456	31,861	15.4	1.9	20,364	17,252	18.0	17,074	15,204	12.3	54.4	53.2
Chaffee	1,039	8,109	7.8	8,126	7,753	−0.2	4.8	4,969	5,065	−1.9	3,140	3,061	2.6	61.3	62.3
Cheyenne	1,772	2,964	1.7	3,723	3,746	−20.4	−0.6	----------	----------	----------	2,964	3,723	−20.4	----------	----------
Clear Creek	394	3,784	9.6	2,155	2,891	75.6	−25.5	----------	----------	----------	3,784	2,155	75.6	----------	----------
Conejos	1,271	11,648	9.2	9,803	8,416	18.8	16.5	----------	----------	----------	11,648	9,803	18.8	----------	----------
Costilla	1,215	7,533	6.2	5,779	5,032	30.4	14.8	----------	----------	----------	7,533	5,779	30.4	----------	----------
Crowley	803	5,398	6.7	5,934	6,383	−9.0	−7.0	----------	----------	----------	5,398	5,934	9.0	----------	----------
Custer	737	2,270	3.1	2,124	2,172	6.9	−2.2	----------	----------	----------	2,270	2,124	6.9	----------	----------
Delta	1,157	16,470	14.2	14,204	13,668	16.0	3.9	3,717	2,938	26.5	12,753	11,266	13.2	22.6	20.7
Denver	58	322,412	5,558.8	287,861	256,491	12.0	12.2	322,412	287,861	12.0	----------	----------	----------	100.0	100.0
Dolores [1]	1,028	1,958	1.9	1,412	1,243	38.7	13.6	----------	----------	----------	1,958	1,412	38.7	----------	----------
Douglas	843	3,496	4.1	3,498	3,517	−0.1	−0.5	----------	----------	----------	3,496	3,498	−0.1	----------	----------
Eagle	1,685	5,361	3.2	3,924	3,385	36.6	15.9	----------	----------	----------	5,361	3,924	36.6	----------	----------
Elbert	1,864	5,460	2.9	6,580	6,980	−17.0	−5.7	----------	----------	----------	5,460	6,580	−17.0	----------	----------
El Paso	2,158	54,025	25.0	49,570	44,027	9.0	12.6	36,789	33,237	10.7	17,236	16,333	5.5	68.1	67.1
Fremont	1,562	19,742	12.6	18,896	17,883	4.5	5.7	9,322	5,938	57.0	10,420	12,958	−19.6	47.2	31.4
Garfield	2,994	10,560	3.5	9,975	9,304	5.9	7.2	----------	----------	----------	10,560	9,975	5.9	----------	----------
Gilpin	149	1,625	10.9	1,212	1,364	34.1	−11.1	----------	----------	----------	1,625	1,212	34.1	----------	----------
Grand	1,867	3,587	1.9	2,108	2,659	70.2	−20.7	----------	----------	----------	3,587	2,108	70.2	----------	----------

[1] Part of Dolores annexed to San Miguel in 1925.

TABLE 3.—AREA AND POPULATION OF COUNTIES, URBAN AND RURAL: 1920 TO 1940—Continued

[A minus sign (−) denotes decrease. Percent not shown where base is less than 100]

COUNTY	Land area in square miles, 1940	TOTAL POPULATION						URBAN POPULATION			RURAL POPULATION			PERCENT URBAN	
		1940		1930	1920	Percent of increase		1940	1930	Percent of increase	1940	1930	Percent of increase	1940	1930
		Total	Per square mile			1930 to 1940	1920 to 1930								
Gunnison	3,242	6,192	1.9	5,527	5,590	12.0	−1.1				6,192	5,527	12.0		
Hinsdale	1,057	349	0.3	449	538	−22.3	−16.5				349	449	−22.3		
Huerfano	1,578	16,088	10.2	17,062	16,879	−5.7	1.1	5,855	5,503	6.4	10,233	11,559	−11.5	36.4	32.3
Jackson	1,623	1,798	1.1	1,386	1,340	29.7	3.4				1,798	1,386	29.7		
Jefferson	786	30,725	39.1	21,810	14,400	40.9	51.5	3,175			27,550	21,810	26.3	10.3	
Kiowa	1,792	2,793	1.6	3,786	3,755	−26.2	0.8				2,793	3,786	−26.2		
Kit Carson	2,171	7,512	3.5	9,725	8,915	−22.8	9.1				7,512	9,725	−22.8		
Lake	380	6,883	18.1	4,899	6,630	40.5	−26.1	4,774	3,771	26.6	2,109	1,128	87.0	69.4	77.0
La Plata	1,689	15,494	9.2	12,975	11,218	19.4	15.7	5,887	5,400	9.0	9,607	7,575	26.8	38.0	41.6
Larimer	2,619	35,539	13.6	33,137	27,872	7.2	18.9	18,396	16,995	8.2	17,143	16,142	6.2	51.8	51.3
Las Animas	4,794	32,369	6.8	36,008	38,975	−10.1	−7.6	13,223	11,732	12.7	19,146	24,276	−21.1	40.9	32.6
Lincoln	2,593	5,882	2.3	7,850	8,273	−25.1	−5.1				5,882	7,850	−25.1		
Logan	1,827	18,370	10.1	19,946	18,427	−7.9	8.2	7,411	7,195	3.0	10,959	12,751	−14.1	40.3	36.1
Mesa	3,313	33,791	10.2	25,908	22,281	30.4	16.3	12,479	10,247	21.8	21,312	15,661	36.1	36.9	39.6
Mineral	921	975	1.1	640	779	52.3	−17.8				975	640	52.3		
Moffat	4,754	5,086	1.1	4,861	5,129	4.6	−5.2				5,086	4,861	4.6		
Montezuma	2,095	10,463	5.0	7,798	6,260	34.2	24.6				10,463	7,798	34.2		
Montrose	2,239	15,418	6.9	11,742	11,852	31.3	−0.9	4,764	3,566	33.6	10,654	8,176	30.3	30.9	30.4
Morgan	1,282	17,214	13.4	18,284	16,124	−5.9	13.4	4,884	4,423	10.4	12,330	13,861	−11.0	28.4	24.2
Otero	1,267	23,571	18.6	24,390	22,623	−3.4	7.8	10,534	10,619	−0.8	13,037	13,771	−5.3	44.7	43.5
Ouray	540	2,089	3.9	1,784	2,620	17.1	−31.9				2,089	1,784	17.1		
Park	2,166	3,272	1.5	2,052	1,977	59.5	3.8				3,272	2,052	59.5		
Phillips	680	4,948	7.3	5,797	5,499	−14.6	5.4				4,948	5,797	−14.6		
Pitkin	974	1,836	1.9	1,770	2,707	3.7	−34.6				1,836	1,770	3.7		
Prowers	1,626	12,304	7.6	14,762	13,845	−16.7	6.6	4,445	4,233	5.0	7,859	10,529	−25.4	36.1	28.7
Pueblo	2,401	68,870	28.7	66,038	57,638	4.3	14.6	52,162	50,096	4.1	16,708	15,942	4.8	75.7	75.9
Rio Blanco	3,263	2,943	0.9	2,980	3,135	−1.2	−4.9				2,943	2,980	−1.2		
Rio Grande	916	12,404	13.5	9,953	7,855	24.6	26.7	3,208	2,610	22.9	9,196	7,343	25.2	25.9	26.2
Routt	2,330	10,525	4.5	9,352	8,948	12.5	4.5				10,525	9,352	12.5		
Saguache	3,144	6,173	2.0	6,250	4,638	−1.2	34.8				6,173	6,250	−1.2		
San Juan	392	1,439	3.7	1,935	1,700	−25.6	13.8				1,439	1,935	−25.6		
San Miguel [1]	1,283	3,664	2.9	2,184	5,281	67.8	−58.6				3,664	2,184	67.8		
Sedgwick	544	5,294	9.7	5,580	4,207	−5.1	32.4				5,294	5,580	−5.1		
Summit	615	1,754	2.9	987	1,724	77.7	−42.7				1,754	987	77.7		
Teller	554	6,463	11.7	4,141	6,696	56.1	−38.2				6,463	4,141	56.1		
Washington	2,525	8,336	3.3	9,591	11,208	−13.1	−14.4				8,336	9,591	−13.1		
Weld	4,004	63,747	15.9	65,097	54,059	−2.1	20.4	15,995	12,203	31.1	47,752	52,894	−9.7	25.1	18.7
Yuma	2,383	12,102	5.1	13,613	13,897	−11.1	−2.0				12,102	13,613	−11.1		

[1] Part of Dolores annexed to San Miguel in 1925.

Minor civil divisions.—To the primary political divisions into which the counties are subdivided the Census Bureau applies the general term "minor civil divisions." The primary divisions of the counties in Colorado are the election precincts and some of the cities. (The Consolidated Ute Indian Reservation, in Montezuma County, is also classified as a primary division.) There are 41 cities and 206 towns, of which 5 cities are independent of election precinct organization and form primary divisions of the counties. In addition, Denver is in a class by itself, being incorporated as the "City and County of Denver." The remaining cities and the towns, each of which is a part of one or more precincts, form secondary subdivisions of the minor civil divisions in which they are located.

Table 4 shows the population of each county by election precincts, cities, and towns for the last three censuses. The population of the cities and towns that constitute secondary divisions is shown in *italics* under the population of the primary divisions in which the places are respectively located. Where an incorporated place is located in two or more precincts in the same county, the total population of the place is given in connection with the presentation for the first precinct. Where the place is situated in two or more counties, the total population is given in connection with each county. The population of the cities that comprise several entire precincts is shown in roman type, followed by the precinct population in *italic* type.

TABLE 4.—POPULATION OF COUNTIES BY MINOR CIVIL DIVISIONS: 1920 TO 1940

[The "precincts" shown in the table are election precincts. Counties showing totals but few comparative figures for election precincts for 1930 or 1920 have been redistricted at some time between censuses. For changes in boundaries, etc., between 1930 and 1940, see footnotes; for those between 1920 and 1930, see Reports of the Fifteenth Census (1930), vol. I, pp. 153–168]

MINOR CIVIL DIVISION	1940	1930	1920
Adams County	22,481	20,245	[1] 14,430
Prec. 1, North Bijou	180	296	276
Prec. 2, Comanche	210	309	360
Prec. 3, Box Elder	191	216	217
Prec. 4, Watkins	275	269	244
Prec. 5, Barr	473	434	421
Prec. 6, First Creek	127	165	146
Prec. 7, North Platte	1,089	849	182
Prec. 8, Moreland	515	577	451
Prec. 9, Henderson	942	873	631
Prec. 10, Lower Platte	590	659	468
Prec. 11, Dupont [1]	522	509	1,201
Prec. 12, Aurora	1,091	837	1,725
Aurora city, total	*3,437*	*2,295*	*983*
In Prec. 12	*1,087*	*808*	*597*
In Prec. 24	*1,178*	*756*	
In Arapahoe Co.	*1,172*	*731*	*386*
Prec. 13, Eastlake	830	787	916
Prec. 14, Lower Clear Creek	843	862	770
Prec. 15, Westminster	974	753	728
Westminster town	*534*	*486*	*235*
Prec. 16, Retreat Park	871	829	689
Prec. 17, College	1,043	764	514
Prec. 18, San Arroya	169	278	397
Prec. 19, Badger	90	122	168
Prec. 20, South Bijou	255	362	258
Prec. 21, Bennett	424	469	662
Bennett town	*199*	*211*	
Prec. 22, Adams City	887	587	
Prec. 23, Sable	1,498	1,816	
Prec. 24, East Aurora	1,179	759	
Aurora city (part)	*1,178*	*756*	
Prec. 25, Derby	946	681	
Irondale town [1]	*71*	*139*	
Prec. 26, Rose Hill	591	496	
Prec. 27, Strasburg	309	365	
Prec. 28, Baker	901	540	
Prec. 29, Utah Junction	437	388	
Brighton city	4,029	3,394	2,715
Alamosa County	10,484	8,602	[2] 5,148
Alamosa city, total [2]	5,613	5,107	3,171
Precinct 1 [2]	*688*		
Precinct 2	*781*		
Precinct 3	*801*		
Precinct 4 [2]	*548*		
Precinct 5	*681*		
Precinct 6	*972*		
Precinct 7	*761*		
Precinct 16	*441*		
Prec. 8, Stanley [2]	340	383	280
Prec. 9, Hooper [2]	513	490	386
Hooper town	*170*	*155*	*156*
Prec. 10, Mosca	399	419	263
Prec. 11, East Alamosa [2]	1,219	719	197
Prec. 12, Newsom [2]	260	205	91
Prec. 13, Mt. Pleasant [2]	188	200	130
Prec. 14, Waverly [2]	832	577	143
Prec. 15, River [2]	780	502	318
Precinct 17 [2]	340		
Arapahoe County [3]	32,150	22,647	13,766
Englewood city, total	9,680	7,980	4,356
Precinct 1	*678*		
Precinct 2	*525*		
Precinct 3	*904*		
Precinct 4	*491*		
Precinct 5	*527*		
Precinct 6	*683*		
Precinct 7	*691*		
Precinct 8	*771*		
Precinct 9	*1,027*		
Precinct 10	*912*		
Precinct 11	*578*		
Precinct 12	*646*		
Precinct 13	*556*		
Precinct 14	*691*		
Arapahoe County—Con.			
Precinct 15	832		
Precinct 16	456		
Precinct 17	1,171		
Precinct 18	1,275		
Precinct 19	367		
Precinct 20	241		
Precinct 21	636		
Precinct 22	1,387		
Sheridan town, total	*712*	*587*	*455*
In Prec. 22	*12*		
In Prec. 23	*385*		
In Prec. 24	*315*		
Precinct 23	1,634		
Sheridan town (part)	*385*		
Precinct 24	1,012		
Sheridan town (part)	*315*		
Precinct 25	698		
Littleton town, total	*2,244*	*2,019*	*1,636*
In Prec. 25	*620*		
In Prec. 26	*325*		
In Prec. 27	*711*		
In Prec. 28	*588*		
Precinct 26	691		
Littleton town (part)	*325*		
Precinct 27	1,065		
Littleton town (part)	*711*		
Precinct 28	836		
Littleton town (part)	*588*		
Precinct 29	674		
Precinct 30	950		
Precinct 31	638		
Precinct 32	552		
Precinct 33	365		
Precinct 34	406		
Precinct 35	826		
Precinct 36	1,178		
Precinct 37	542		
Precinct 38	303		
Precinct 39	185		
Precinct 40	437		
Precinct 41	1,172		
Aurora city, total	*3,437*	*2,295*	*983*
In Arapahoe Co.	*1,172*	*731*	*386*
In Adams Co.	*2,265*	*1,564*	*597*
Precinct 42	528		
Precinct 43	622		
Precinct 44	791		
Deer Trail town	*387*	*390*	
Archuleta County	8,806	[4] 8,204	[4] 8,590
Precinct 1 [4]	1,312	410	362
Pagosa Springs town, total	*1,591*	*804*	*1,032*
In Prec. 1	*1,070*		
In Prec. 2	*521*		
Precinct 2 [4]	729		
Pagosa Springs town (part)	*521*		
Precinct 3 [4]	462	282	150
Precinct 4 [4]	413		
Precinct 5 [4]	424	217	331
Precinct 6 [4]	466	295	343
Baca County	6,207	[5] 10,570	[5] 8,721
Prec. 1, Blaine	813	1,328	506
Walsh town	*406*	*454*	
Prec. 2, Stonington	294	868	767
Prec. 3, Vilas	400	657	668
Vilas town [5]	*129*		
Prec. 4, West Springfield [5]	876	2,164	1,134
Springfield town, total [5]	*1,082*	*1,593*	*295*
In Prec. 4	*493*	*1,593*	*295*
In Prec. 17	*589*		
Prec. 5, Maxey	80	275	644
Prec. 6, Carriso	76	142	469
Prec. 7, Edler [5]	341	677	747
Baca County—Con.			
Prec. 8, Two Buttes	278	458	523
Two Buttes town	*158*	*158*	*93*
Prec. 9, Diamond Ridge [5]	201	405	555
Prec. 10, Campo	462	805	713
Prec. 11, Oklarado [5]	176	488	592
Prec. 12, Pritchett [5]	974	1,437	763
Pritchett town	*495*	*461*	
Prec. 14, Grand View	133	466	469
Prec. 15, Lycan [5]	33	160	
Prec. 16, North Star	85	152	
Prec. 17, East Springfield [5]	985		
Springfield town (part)	*589*		
Bent County	9,653	9,134	9,705
Prec. 1, Horsecreek	209	291	246
Prec. 2, Waveland [6]	2,176	2,100	1,849
Prec. 3, Kreybill [6]	250	364	345
Prec. 4, Caddoa	341	432	1,210
Prec. 5, Prowers	218	319	625
Prec. 6, Big Bend	374	485	471
Prec. 7, Melonfield	284	264	301
Las Animas city, total	3,232	2,517	2,252
Prec. 8, Columbian School	*982*	*768*	*694*
Prec. 9, City Hall	*878*	*718*	*655*
Prec. 10, High School	*1,372*	*1,036*	*903*
Prec. 11, Hasty	749	379	313
Prec. 12, McClave	439	498	536
Prec. 13, Dam Site	166	276	729
Prec. 14, County Farm [6]	1,143	991	822
Prec. 15, Pipe Springs [6]	72	218	
Boulder County	37,438	[7] 32,456	[7] 31,861
Prec. 1, East Longmont	795	687	482
Prec. 2, Hygiene	706	752	737
Prec. 3, Altona	178	163	172
Prec. 5, Valmont	920	918	824
Prec. 6, Canfield	517	699	446
Prec. 7, Marshall	464	415	707
Prec. 8, Magnolia	51	43	77
Prec. 9, Lafayette	1,074	1,166	1,168
Lafayette town, total	*2,052*	*1,842*	*1,815*
In Prec. 9	*856*	*868*	*870*
In Prec. 38	*1,196*	*974*	*945*
Prec. 10, Ward	184	80	125
Ward town	*118*	*84*	*74*
Prec. 11, Jamestown	317	106	191
Jamestown town	*190*	*69*	*160*
Prec. 13, Nederland [7]	599	433	418
Eldora town [7]	*31*	*16*	*55*
Nederland town	*384*	*285*	*291*
Prec. 14, Gold Hill	125	56	51
Prec. 16, Sugar Loaf	82	81	80
Prec. 17, Salina [7]	189	125	173
Prec. 18, Lyons	1,033	817	763
Lyons town	*654*	*567*	*570*
Prec. 19, North Louisville [7]	1,126	1,002	1,084
Louisville town, total [7]	*2,028*	*1,681*	*1,799*
In Prec. 19	*974*	*844*	*957*
In Prec. 27	*1,049*	*837*	*842*
Prec. 20, Niwot	727	820	710
Prec. 21, West Longmont [7]	897	589	660
Prec. 22, Pleasant View	482	416	483
Prec. 25, Allens Park	134	146	53
Prec. 26, Broomfield	193	217	167
Prec. 27, Louisville	1,393	1,292	1,329
Louisville town (part)	*1,049*	*837*	*842*
Prec. 35, Superior	402	330	532
Superior town	*205*	*160*	*233*
Prec. 36, South Boulder	789	542	537
Prec. 37, North Boulder [7]	1,183	853	601
Prec. 38, Lafayette	1,403	1,169	1,114
Lafayette town (part)	*1,196*	*974*	*945*
Prec. 40, Highland	533	583	545
Prec. 41, Burlington	578	647	471
Boulder city	12,958	11,223	11,006
Longmont city [7]	7,406	6,029	5,848

[1] ADAMS.—County total for 1920 includes population (291) of old precincts 22, Northeast Brighton, and 23, Brighton, annexed to 7 in 1920. Irondale town geographically located in precincts 11 and 25; no population reported in 1940 and 1930 for that part in precinct 11.

[2] ALAMOSA.—County total for 1920 includes population (129) of old precinct 7, annexed to new 14, and population (40) of old precinct 13, annexed to 9, between 1920 and 1930. Election precincts in Alamosa city redistricted in 1938, and part of precinct 13 annexed to Alamosa city in 1939. Part of precinct 8 annexed to 9 in 1933; parts of precinct 13 to 1 and 4 in 1939; and part of precinct 14 to 15 in 1934. Precinct 17 organized from parts of 13, 14, and 15 in 1938. Name changed in 1933: Precinct 11, East Alamosa, from McGinty; precinct 12, Newsom, from Baldy; precinct 13, Mt. Pleasant, from Parma; and precinct 14, Waverly, from Star.

[3] ARAPAHOE.—County redistricted in 1930 and 1940; comparative figures shown wherever possible. Precinct names abolished in 1940.

[4] ARCHULETA.—County totals for 1930 and 1920 include population (249 in 1930; 156 in 1920) of old precinct 2, Kearns, part taken to form new 4 and part annexed to new 5; population (480 in 1930; 708 in 1920) of old precinct 5, Central Pagosa Springs, and population (568 in 1930; 769 in 1920) of precinct 9, West Pagosa Springs, parts, including parts of Pagosa Springs town, taken to form new 2 and parts annexed to 1 and new 5; population (447 in 1930; 274 in 1920) of precinct 8, Pagosa Junction, taken to form part of 4 in 1934; and population (256 in 1930; 312 in 1920) of old precinct 4, San Juan River, parts annexed to 3 and new 4 in 1939; total for 1920 also includes population (185) of precinct 10, annexed to 3 in 1927. Precinct names abolished in 1934. Numbers of precincts 5 and 6 changed from 6 and 7, respectively, in 1939.

[5] BACA.—County totals for 1930 and 1920 include population (88 in 1930; 171 in 1920) of precinct 13, Pleasant Valley, annexed to 9 in 1938. Precinct 17 organized from part of 4, including part of Springfield town, in 1930. Parts of precincts 7 and 11 annexed to 12 in 1936, and part of precinct 12 annexed to 4 in 1937. Vilas town incorporated in 1935. Name of precinct 4, West Springfield, changed from Springfield in 1930; precinct 7 returned in 1930 as Regnier, precinct 11 as Clyde, precinct 12 as Joy Coy, and precinct 15 as Graft.

[6] BENT.—Name of precinct 2, Waveland, changed from Rixey in 1930, and precinct 3, Kreybill, from Gageby in 1934. Precincts 14 and 15 returned in 1930 as Poor Farm and Bethel, respectively.

[7] BOULDER.—County totals for 1930 and 1920 include population (17 in 1930; 42 in 1920) of precinct 34, Eldora, including Eldora town, annexed to 13, and population (40 in 1930; 21 in 1920) of precinct 15, Sunshine, annexed to 37, in 1930. Total for 1920 also includes population (47) of precinct 42, annexed to 11, and population (38) of precinct 23, annexed to 17, in 1928; population (113) of precincts 4 and 12, annexed to 13 in 1920 and 1928, respectively; and population (46) of precinct 43, annexed to 37 in 1920. Part of precinct 17 annexed to 13 in 1930. Part of precinct 19 annexed to Louisville town, and part of precinct 21 annexed to Longmont city, in 1939.

TABLE 4.—POPULATION OF COUNTIES BY MINOR CIVIL DIVISIONS: 1920 TO 1940—Continued

MINOR CIVIL DIVISION	1940	1930	1920
Chaffee County [8]	8,109	8,126	7,753
Prec. 1, Granite	182	83	79
Prec. 3, Riverside	116	62	62
Prec. 4, Buena Vista	515	503	489
Buena Vista town, total	*779*	*751*	*903*
In Prec. 4	*388*	*420*	*370*
In Prec. 5	*391*	*331*	*533*
Prec. 5, Buena Vista	661	563	619
Buena Vista town (part)	*391*	*331*	*533*
Prec. 8, Nathrop	222	255	196
St. Elmo town	*8*	7	*87*
Prec. 9, Browns Canon	484		
Salida city, total	4,969	5,065	4,689
Prec. 10, Salida	*1,276*		
Prec. 11, Salida	*571*		
Prec. 12, Salida	*846*		
Prec. 13, Salida	*790*		
Prec. 14, Salida	*882*		
Prec. 20, Salida	*604*		
Prec. 15, Poncha Springs	421	445	323
Poncha Springs town	*94*	*80*	*37*
Prec. 17, Garfield	50	96	143
Prec. 21, Salida	489		
Cheyenne County	2,964	[9] 3,723	[9] 3,746
Prec. 1, Arapahoe	433	672	583
Prec. 2, East Cheyenne Wells	615	631	811
Cheyenne Wells town, total	*695*	*595*	*508*
In Prec. 2	*393*	*325*	*408*
In Prec. 3	*302*	*270*	*100*
Prec. 3, West Cheyenne Wells	542	717	418
Cheyenne Wells town (part)	*302*	*270*	*100*
Prec. 4, First View	175	281	391
Prec. 5, Kit Carson	839	991	877
Kit Carson town [9]	*333*		
Prec. 6, Wild Horse [9]	360	289	422
Clear Creek County [10]	3,784	2,155	2,891
Prec. 1, Silver Plume	140	126	
Silver Plume town	*139*	*126*	*272*
Prec. 2, Georgetown	148	131	
Georgetown town, total	*391*	*303*	*703*
In Prec. 2	*145*	*128*	
In Prec. 3	*246*	*175*	
Prec. 3, Georgetown	253	182	269
Georgetown town (part)	*246*	*175*	
Prec. 4, Empire	254	130	
Empire town	*174*	*98*	*105*
Prec. 5, Lawson	124	49	
Prec. 6, Dumont	121	55	
Precinct 7	6		
Prec. 8, Idaho Springs	461	363	
Idaho Springs city, total	*2,112*	*1,207*	*1,192*
In Prec. 8	*391*		
In Prec. 9	*448*		
In Prec. 10	*367*		
In Prec. 11	*416*		
In Prec. 12	*490*		
Prec. 9, Idaho Springs	608	609	
Idaho Springs city (part)	*448*	*500*	
Prec. 10, Idaho Springs	427		
Idaho Springs city (part)	*367*		
Prec. 11, Idaho Springs	468		
Idaho Springs city (part)	*416*		
Prec. 12, Idaho Springs	724		
Idaho Springs city (part)	*490*		
Prec. 13, Brookvale	50		
Conejos County	11,648	9,803	[11] 8,416
Prec. 1, Guadalupe	499	352	408
Prec. 2, La Isla	499	528	402
Prec. 3, Mogote	822	1,113	916
Prec. 4, Los Pinos	995	641	511
Prec. 5, Cenicero	535	448	345
Prec. 6, Capulin	823	594	469
Prec. 7, La Sauses	332	304	348
Prec. 8, La Jara	1,839	1,314	1,099
La Jara town	*897*	*602*	*521*
Prec. 9, Sanford	1,091	973	753
Sanford town	*736*	*597*	*555*
Prec. 10, Manassa	1,368	1,232	1,114
Manassa town	*1,008*	*958*	*906*
Prec. 11, Antonito	1,248	900	988
Antonito town	*1,220*	*858*	*946*
Prec. 12, Romeo	681	398	269
Romeo town	*392*	*188*	
Prec. 13, Logan	359	442	218
Prec. 14, Hot Creek	557	564	463
Costilla County	7,533	5,779	5,032
Prec. 1, San Luis	1,572	1,135	809
Prec. 2, San Pedro	767	704	685
Prec. 3, Chama	1,139	662	648
Prec. 4, San Francisco	611	484	351
Prec. 5, Garcia	418	325	303
Prec. 6, Old San Acacio	602	313	256
Prec. 7, Fort Garland	1,062	755	540
Prec. 8, Mesita	106	280	265
Prec. 9, Blanca [12]	691	520	447
Blanca town	*407*	*252*	*380*
Prec. 10, New San Acacio [12]	250	282	226
Prec. 11, Russell	63	122	178
Prec. 12, Jaroso	252	197	324
Crowley County	5,398	5,934	6,383
Precinct 1	936	930	1,046
Olney Springs town	*260*	*228*	*240*
Precinct 2	1,237	1,398	1,257
Ordway town, total	*1,150*	*1,139*	*1,186*
In Prec. 2	*602*	*646*	*641*
In Prec. 3	*548*	*493*	*545*
Precinct 3	849	840	906
Ordway town (part)	*548*	*493*	*545*
Precinct 4	1,065	1,114	1,381
Sugar City town	*565*	*598*	*836*
Precinct 5	85	76	246
Precinct 6	39	75	210
Precinct 7	134	223	382
Precinct 8	1,053	1,278	955
Crowley town	*318*	*323*	*224*
Custer County [13]	2,270	2,124	2,172
Prec. 1, Wetmore	207		
Prec. 2, Fairview	98		
Prec. 3, Querida	388		
Prec. 4, Silver Cliff	361		
Silver Cliff town	*309*	*201*	*241*
Prec. 5, Westcliffe	486		
Westcliffe town	*429*	*335*	*338*
Prec. 6, Ula	383		
Prec. 7, Colfax	347		
Delta County	16,470	14,204	[14] 13,668
Delta city, total	3,717	2,938	2,623
Precinct 1	*971*	*787*	*1,267*
Precinct 6	*1,123*	*924*	*1,356*
Precinct 21	*847*	*676*	
Precinct 22	*776*	*551*	
Prec. 2, Hotchkiss	984	856	969
Hotchkiss town, total	*653*	*541*	*672*
In Prec. 2	*501*	*415*	*443*
In Prec. 14	*152*	*126*	*129*
Prec. 3, Crawford	828	740	689
Crawford town	*221*	*157*	*149*
Prec. 4, Eckert	784	737	772
Orchard City town, total [14]	*865*		*691*
In Prec. 4	*433*		*200*
In Prec. 19	*432*		*331*
Prec. 5, Paonia	627	640	
Paonia town, total	*1,117*	*953*	*925*
In Prec. 5	*259*	*374*	
In Prec. 11	*236*	*212*	
In Prec. 15	*622*	*372*	
Prec. 7, Cedaredge	792	631	712
Cedaredge town, total	*556*	*463*	*455*
In Prec. 7	*203*	*214*	*215*
In Prec. 16	*353*	*249*	*240*
Prec. 8, Read and Peach Valley	460	455	552
Prec. 9, North Delta	757	647	688
Prec. 10, Midway	446	362	408
Prec. 11, Paonia	897	598	
Paonia town (part)	*236*	*212*	
Prec. 12, Payne and Payne Mesa	279	248	183
Prec. 13, Garnet Mesa	1,027	975	924
Prec. 14, Hotchkiss	579	478	476
Hotchkiss town (part)	*152*	*126*	*129*
Prec. 15, Paonia	918	694	
Paonia town (part)	*622*	*372*	
Prec. 16, Cedaredge	1,037	865	801
Cedaredge town (part)	*353*	*249*	*240*
Precinct 17	220	276	317
Prec. 18, California Mesa	977	1,021	703
Prec. 19, Austin	614	598	553
Orchard City town (part)	*432*		*331*
Prec. 20, Lazear and Rogers Mesa	527	445	435
Denver County	322,412	287,861	256,491
Denver city	322,412	287,861	256,491
Dolores County	1,958	[15] 1,412	1,243
Prec. 1, Rico [15]	388	465	333
Rico town	*388*	*447*	*326*
Prec. 2, Dunton	39	57	71
Prec. 3, Disappointment [15]	121	75	77
Prec. 4, Dove Creek	995	573	542
Dove Creek town [15]	*418*		
Prec. 5, Cahone	415	214	220
Douglas County	3,496	3,498	3,517
Prec. 1, Parker [16]	331	403	414
Prec. 2, Platte	292	334	315
Prec. 3, Sedalia	458	450	365
Prec. 4, East Castle Rock [16]	352	340	313
Castle Rock town, total	*580*	*478*	*461*
In Prec. 4	*191*	*178*	*176*
In Prec. 7	*389*	*300*	*286*
Prec. 5, Glen Grove	87	107	115
Prec. 6, Greenland	106	114	128
Prec. 7, West Castle Rock	499	441	372
Castle Rock town (part)	*389*	*300*	*286*
Prec. 8, Franktown [16]	230	260	257
Prec. 9, Case	132	143	132
Prec. 10, Spring Valley	147	161	204
Prec. 11, Sugar Creek	79	26	36
Prec. 12, Bergen Park	76	74	29
Prec. 13, Hilltop	117	112	99
Prec. 14, Larkspur	283	222	215
Prec. 15, Louviers	307	311	523
Eagle County [17]	5,361	3,924	3,385
Prec. 1, Red Cliff	821		
Red Cliff town	*715*	*544*	*347*
Prec. 2, Gilman	439		
Prec. 3, Minturn	1,177		
Minturn town	*596*	*400*	*298*
Prec. 4, Lakes	275		
Prec. 5, Wolcott	147		
Prec. 6, Eagle	813		
Eagle town	*518*	*341*	*358*
Prec. 7, Gypsum	715		
Gypsum town	*245*	*165*	*164*
Prec. 8, Basalt	444		
Basalt town	*212*	*148*	*185*
Prec. 9, Burns	206		
Prec. 10, McCoy	245		
Prec. 11, Sheephorn	79		
Elbert County	5,460	6,580	6,980
Prec. 1, Elizabeth	574	596	529
Elizabeth town	*275*	*266*	*250*
Prec. 2, Lower Running Creek	207	250	251
Prec. 3, Kiowa	686	727	702
Kiowa town	*195*	*185*	*148*
Prec. 4, Elbert	613	723	801
Prec. 5, River Bend	282	362	425
Prec. 6, Matheson	640	854	950
Prec. 7, Bland [18]	193	212	241
Prec. 8, Fondis	280	309	348
Prec. 9, Brown Dodd	194	411	433
Prec. 10, Agate	413	444	299
Prec. 11, Simla	590	519	541
Simla town	*421*	*351*	*387*
Prec. 12, Eagle Bluff	219	415	504
Prec. 13, Horseshoe	121	199	299
Prec. 14, Pine View	205	251	199
Prec. 15, Snell	243	308	396
El Paso County	54,025	49,570	44,027
Colorado Springs city, total	36,789	33,237	30,105
Precinct 1	*814*	*838*	
Precinct 2	*719*	*677*	
Precinct 3	*691*	*695*	
Precinct 4	*890*	*755*	
Precinct 5	*890*	*787*	
Precinct 6	*739*	*695*	
Precinct 7	*673*	*595*	
Precinct 8	*695*	*691*	
Precinct 9	*804*	*775*	
Precinct 10	*798*	*803*	
Precinct 11	*1,003*	*784*	
Precinct 12	*800*	*726*	
Precinct 13	*788*	*665*	
Precinct 14	*783*	*665*	
Precinct 15	*762*	*673*	
Precinct 16	*844*	*696*	
Precinct 17	*620*	*564*	
Precinct 18	*797*	*696*	
Precinct 19	*663*	*654*	
Precinct 20	*750*	*678*	

[8] CHAFFEE.—County partially redistricted since 1930; comparative figures shown wherever possible.
[9] CHEYENNE.—County totals for 1930 and 1920 include population (142 in 1930; 244 in 1920) of precinct 7, Aroya, annexed to 6 in 1932. Kit Carson town incorporated in 1931.
[10] CLEAR CREEK.—County redistricted in 1936; comparative figures shown wherever possible.
[11] CONEJOS.—County total for 1920 includes population (113) of precinct 15, annexed to 3 in 1926.
[12] COSTILLA.—Precincts 9 and 10 returned in 1930 as 10 and 9, respectively.
[13] CUSTER.—County redistricted in 1934; comparative figures shown wherever possible.
[14] DELTA.—County total for 1920 includes population (925) of Paonia town, and population (938) of precincts 5, 11, and 15, outside Paonia town, which was not returned by precincts in 1920. Orchard City town incorporated in 1912, but not returned separately in 1930.
[15] DOLORES.—County total for 1930 includes population (28) of precinct 6, Beaver, annexed to 3 in 1930. Dove Creek town incorporated in 1939. No population reported in 1940 for that part of precinct 1 outside Rico town.
[16] DOUGLAS.—Precinct 1, Parker, returned in 1930 as Pinegrove; parts of precincts 4 and 8 annexed to 1 in 1932.
[17] EAGLE.—County redistricted in 1932; comparative figures shown wherever possible.
[18] ELBERT.—Precinct 7, Bland, returned in 1930 as Gair.

TABLE 4.—POPULATION OF COUNTIES BY MINOR CIVIL DIVISIONS: 1920 TO 1940—Continued

MINOR CIVIL DIVISION	1940	1930	1920
El Paso County—Con.			
Colorado Springs city—Con.			
Precinct 21	*638*	*575*	-------
Precinct 22	*611*	*629*	-------
Precinct 23	*741*	*779*	-------
Precinct 24	*862*	*728*	-------
Precinct 25	*836*	*836*	-------
Precinct 26	*933*	*755*	-------
Precinct 27	*737*	*736*	-------
Precinct 28	*796*	*723*	-------
Precinct 29	*659*	*707*	-------
Precinct 30	*716*	*724*	-------
Precinct 31	*927*	*807*	-------
Precinct 32	*852*	*770*	-------
Precinct 33	*1,020*	*946*	-------
Precinct 34	*789*	*674*	-------
Precinct 35	*911*	*835*	-------
Precinct 36	*944*	*847*	-------
Precinct 37	*980*	*891*	-------
Precinct 38	*827*	*698*	-------
Precinct 39	*633*	*628*	-------
Precinct 40	*826*	*713*	-------
Precinct 41 [19]	*892*	*716*	-------
Precinct 42	*781*	*704*	-------
Precinct 43	*784*	*654*	-------
Precinct 44	*938*	*713*	-------
Precinct 45	*879*	*814*	-------
Precinct 46	*654*	*535*	-------
Precinct 47	284	244	-------
Palmer Lake town [19]	*269*	*244*	*160*
Precinct 48 [19]	566	586	-------
Monument town	*175*	*192*	*102*
Precinct 49	419	425	-------
Precinct 50	349	405	-------
Precinct 51	475	568	-------
Calhan town, total	*352*	*399*	-------
In Prec. 51	*134*	*114*	-------
In Prec. 52	*218*	*285*	-------
Precinct 52	456	581	-------
Calhan town (part)	*218*	*285*	-------
Precinct 53	599	705	-------
Ramah town	*186*	*171*	-------
Precinct 54	344	401	-------
Precinct 55	289	448	-------
Precinct 56	379	378	-------
Precinct 57	233	233	-------
Precinct 58	280	304	-------
Precinct 59	248	604	-------
Precinct 60	214	122	-------
Green Mountain Falls town [19]	*87*	*41*	*100*
Precinct 61	511	482	-------
Manitou Springs town, total [19]	*1,402*	*1,205*	*1,129*
In Prec. 61	*505*	*469*	*529*
In Prec. 62	*957*	*736*	*600*
Precinct 62	1,220	753	-------
Manitou Springs town (part)	*957*	*736*	*600*
Precinct 63	561	482	-------
Ramona town	*159*	*105*	-------
Precinct 64	975	795	-------
Precinct 65	657	745	-------
Precinct 66 [19]	525	522	-------
Precinct 67	1,644	930	-------
Precinct 68	927	671	-------
Precinct 69	908	817	-------
Precinct 70	1,293	953	-------
Precinct 71	726	645	-------
Precinct 72	121	133	-------
Precinct 73	360	378	-------
Precinct 74	521	524	-------
Fountain town, total	*571*	*577*	*595*
In Prec. 74	*160*	*213*	-------
In Prec. 75	*411*	*364*	-------
Precinct 75	689	735	-------
Fountain town (part)	*411*	*364*	-------
Precinct 76	172	216	-------
Precinct 77	47	89	-------
Precinct 78	244	459	-------
Fremont County	**19,742**	**[20]18,896**	**17,883**
Precinct 1	2,177	1,691	-------
Canon City, total [20]	*6,690*	*5,938*	*4,551*
In Prec. 1	*2,126*	*1,658*	-------
Prec. 2, entire	*565*	*534*	-------
Prec. 3, entire	*550*	*494*	-------
Prec. 4, entire	*594*	*602*	-------
Prec. 5, entire	*589*	*557*	-------
Prec. 6, entire	*784*	*697*	-------
In Prec. 7	*370*	*349*	-------
Prec. 8, entire	*423*	*404*	-------
In Prec. 9	*689*	*643*	-------
Fremont County—Con.			
Precinct 2	565	534	-------
Canon City (part)	*565*	*534*	-------
Precinct 3	550	494	-------
Canon City (part)	*550*	*494*	-------
Precinct 4	594	602	-------
Canon City (part)	*594*	*602*	-------
Precinct 5	589	557	-------
Canon City (part)	*589*	*557*	-------
Precinct 6	784	697	-------
Canon City (part)	*784*	*697*	-------
Precinct 7 [20]	370	349	-------
Canon City (part)	*370*	*349*	-------
Precinct 8	423	404	-------
Canon City (part)	*423*	*404*	-------
Precinct 9	709	662	-------
Canon City (part)	*689*	*643*	-------
Prec. 10, East Canon	699	595	-------
East Canon town	*699*	*595*	*445*
Prec. 11, Four Mile	489	415	-------
Prec. 12, Orchard Park	465	358	-------
Prec. 13, Garden Park	43	56	-------
Prec. 14, South Canon (West)	809	731	-------
South Canon town, total	*1,729*	*1,471*	*1,281*
In Prec. 14	*784*	*681*	-------
Prec. 15, entire	*945*	*790*	-------
Prec. 15, South Canon (East)	945	790	-------
South Canon town (part)	*945*	*790*	-------
Prec. 16, Hillhurst	638	638	-------
Prospect Heights town	*51*	*138*	*109*
Prec. 17, Lincoln Park	757	738	-------
Prec. 18, Brookside	426	462	-------
Brookside town	*196*	*198*	*202*
Prec. 19, Chandler	461	528	-------
Prec. 20, Brewster	179	169	-------
Prec. 21, Williamsburg	97	155	-------
Williamsburg town	*97*	*155*	*402*
Prec. 22, Rockvale	654	759	-------
Rockvale town	*575*	*710*	*1,249*
Prec. 23, Coal Creek	297	526	-------
Coal Creek town	*261*	*435*	*618*
Prec. 24, Hardscrabble	127	158	-------
Prec. 25, Florence	655	593	-------
Florence city, total	*2,632*	*2,475*	*2,629*
In Prec. 25	*638*	*583*	-------
In Prec. 26	*431*	*410*	-------
In Prec. 27	*554*	*576*	-------
In Prec. 28	*603*	*532*	-------
In Prec. 29	*406*	*374*	-------
Prec. 26, Florence	681	664	-------
Florence city (part)	*431*	*410*	-------
Prec. 27, Florence	584	603	-------
Florence city (part)	*554*	*576*	-------
Prec. 28, Florence	641	561	-------
Florence city (part)	*603*	*532*	-------
Prec. 29, Florence	688	636	-------
Florence city (part)	*406*	*374*	-------
Prec. 30, Portland	499	624	-------
Portland town	*377*	*435*	*473*
Prec. 31, Penrose [20]	823	413	-------
Prec. 33, Parkdale [20]	150	200	-------
Prec. 34, Current Creek	69	52	-------
Prec. 35, Cottonwood	72	137	-------
Prec. 36, Hillside [20]	184	218	-------
Prec. 37, Cotopaxi	330	311	-------
Prec. 38, Coaldale	156	151	-------
Prec. 39, Howard	363	280	-------
Garfield County	**10,560**	**[21] 9,975**	**[21] 9,304**
Prec. 1, South Carbondale	405	357	333
Carbondale town, total	*427*	*283*	*310*
In Prec. 1	*265*	*164*	*184*
In Prec. 2	*172*	*119*	*126*
Prec. 2, North Carbondale	540	398	455
Carbondale town (part)	*172*	*119*	*126*
Prec. 3, Cattle Creek	84	130	61
Prec. 5, South Glenwood [21]	1,009	816	866
Glenwood Springs city, total [21]	*2,253*	*1,825*	*2,073*
In Prec. 5	*666*	*567*	*646*
In Prec. 6	*666*	*497*	*631*
In Prec. 7	*650*	*534*	*583*
In Prec. 8	*271*	*227*	*213*
Prec. 6, East Glenwood	687	530	729
Glenwood Springs city (part)	*666*	*497*	*631*
Prec. 7, West Glenwood [21]	891	576	616
Glenwood Springs city (part)	*650*	*534*	*583*
Prec. 8, North Glenwood	547	404	329
Glenwood Springs city (part)	*271*	*227*	*213*
Garfield County—Con.			
Prec. 9, East New Castle	528	531	551
New Castle town, total	*484*	*470*	*447*
In Prec. 9	*341*	*305*	*323*
In Prec. 10	*143*	*165*	*124*
Prec. 10, West New Castle	507	425	420
New Castle town (part)	*143*	*165*	*124*
Prec. 11, Divide	390	387	519
Prec. 12, Antlers	281	311	197
Prec. 13, Austin	188	287	108
Prec. 14, North Rifle	686	698	527
Rifle town, total	*1,373*	*1,287*	*865*
In Prec. 14	*573*	*541*	*384*
In Prec. 15	*380*	*412*	*261*
In Prec. 21	*420*	*334*	*220*
Prec. 15, South Rifle	676	787	531
Rifle town (part)	*380*	*412*	*261*
Prec. 16, Cache Creek	349	380	388
Prec. 17, Grand Valley	527	621	631
Grand Valley town, total	*230*	*209*	*223*
In Prec. 17	*46*	*44*	*45*
In Prec. 22	*184*	*165*	*183*
Prec. 18, Roan Creek	313	306	207
Prec. 20, Canon Creek	102	98	96
Prec. 21, West Rifle	698	553	435
Rifle town (part)	*420*	*334*	*220*
Prec. 22, East Grand Valley	242	194	234
Grand Valley town (part)	*184*	*165*	*183*
Prec. 23, Silt	842	790	544
Silt town	*359*	*264*	*166*
Prec. 24, Atchee	15	191	144
Prec. 25, Riland	53	45	72
Gilpin County	**1,625**	**1,212**	**1,364**
Prec. 1, Central City [22]	728	587	-------
Central City town	*706*	*572*	*552*
Prec. 2, Russell Gulch	168	75	-------
Nevadaville town	*25*	*2*	*51*
Prec. 3, Black Hawk [22]	399	335	-------
Black Hawk city	*289*	*253*	*253*
Prec. 4, Rollinsville [22]	271	150	-------
Prec. 5, Tolland [22]	59	65	-------
Grand County	**3,587**	**[23] 2,108**	**2,659**
Prec. 1, Grand Lake	424	190	97
Prec. 2, Granby	564	274	187
Granby town	*261*	*90*	*32*
Prec. 3, Hot Sulphur Springs	416	236	209
Hot Sulphur Springs town	*256*	*142*	*123*
Prec. 4, Kremmling	1,130	635	649
Kremmling town	*567*	*261*	*254*
Prec. 5, Radium	67	85	81
Prec. 6, Fraser [23]	547	218	597
Prec. 7, Tabernash	246	159	635
Prec. 8, Williams Fork	193	178	204
Gunnison County	**6,192**	**[24] 5,527**	**5,590**
Prec. 1, North Gunnison	715	553	-------
Gunnison town, total	*2,177*	*1,415*	*1,329*
In Prec. 1	*697*	*524*	-------
In Prec. 2	*642*	*538*	-------
In Prec. 3	*838*	*553*	-------
Prec. 2, West Gunnison	1,119	656	-------
Gunnison town (part)	*642*	*538*	-------
Prec. 3, South Gunnison	880	590	-------
Gunnison town (part)	*838*	*553*	-------
Prec. 4, Baldwin	152	268	-------
Prec. 5, Jacks Cabin [24]	96	119	-------
Prec. 6, South Crested Butte	698	808	-------
Crested Butte town, total	*1,145*	*1,251*	*1,213*
In Prec. 6	*579*	*684*	-------
In Prec. 7	*566*	*567*	-------
Prec. 7, North Crested Butte	587	684	-------
Crested Butte town (part)	*566*	*567*	-------
Prec. 8, Somerset	569	634	-------
Prec. 9, Ragged Mountain	100	99	-------
Prec. 10, Marble	241	231	-------
Marble town	*240*	*217*	*81*
Prec. 11, Parlin	85	79	-------
Prec. 12, Ohio City	209	137	-------
Ohio City town	*78*	*72*	*50*
Prec. 13, Pitkin [24]	171	249	-------
Pitkin town	*156*	*223*	*166*
Prec. 14, Doyleville [24]	158	129	-------
Prec. 15, Taylor Park [24]	6	-------	-------
Prec. 16, Iola	117	133	-------
Prec. 17, Powderhorn	100	78	-------
Prec. 18, Lake Fork	38	55	-------
Prec. 19, Sapinero	92	71	-------
Prec. 20, Cimarron	59	43	-------

[19] EL PASO.—Part of precinct 66 annexed to 41, within Colorado Springs city, in 1939. Palmer Lake town, geographically located in precincts 47 and 48, had no population in 1940 for that part in precinct 48; returned in 1930 as in precinct 47 only. Green Mountain Falls town, geographically located in El Paso and Teller Counties, had no population in 1940 for that part in Teller County; returned in 1930 and 1920 as in El Paso County only. Manitou Springs town returned in 1930 as Manitou.

[20] FREMONT.—County total for 1930 includes population (385) of precinct 32, Beaver Park, annexed to 31 in 1932. Part of precinct 36 annexed to 33 in 1936. No population reported in 1940 for that part of precinct 7 outside Canon City; precinct 7 returned in 1930 as entirely in Canon City.

[21] GARFIELD.—County totals for 1930 and 1920 include population (160 in 1930; 97 in 1920) of precinct 4, Cardiff, annexed to 7 in 1932; total for 1920 also includes population (124) of precinct 19, annexed to 4 in 1922. Parts of precincts 5 and 7 annexed to Glenwood Springs city in 1937 and 1932, respectively.

[22] GILPIN.—Part of precinct 1 annexed to 5, and part of precinct 4 annexed to 3, in 1937. Precinct 1 returned in 1930 by number only.

[23] GRAND.—County total for 1930 includes population (133) of precinct 9, West Portal, annexed to 6 in 1934.

[24] GUNNISON.—County total for 1930 includes population (21) of old precinct 15, White Pine, annexed to 14 in 1930. New precinct 15 organized from parts of 5 and 13 in 1938.

TABLE 4.—POPULATION OF COUNTIES BY MINOR CIVIL DIVISIONS: 1920 TO 1940—Continued

MINOR CIVIL DIVISION	1940	1930	1920
Hinsdale County	349	449	538
Prec. 1, Lake City	247	359	444
Lake City town	*185*	*259*	*317*
Prec. 5, Cathedral	48	36	18
Prec. 6, Hermit	17	15	21
Prec. 7, Debs [24a]	37	39	55
Huerfano County	16,088	[25]17,062	[25] 16,879
Prec. 1, Gardner [25]	808	421	496
Prec. 2, Badito [25]	414	241	573
Prec. 3, St. Mary's [25]	955	1,185	233
Prec. 4, Butte Valley [25]	86	284	241
Prec. 5, La Veta [25]	583	536	533
La Veta town, total	*897*	*782*	*737*
In Prec. 5	*418*	*353*	*299*
In Prec. 35	*479*	*429*	*438*
Prec. 6, Walsenburg [25]	1,013	516	1,792
Walsenburg city, total	*5,855*	[25] *5,603*	*3,666*
Prec. 6, entire	*1,013*	*516*	*1,792*
In Prec. 16	*1,085*	*1,049*	*540*
Prec. 26, entire	*1,434*	*1,190*	-------
Prec. 36, entire	*1,068*	*1,276*	*715*
In Prec. 38	*1,255*	*1,175*	*518*
Prec. 7, Santa Clara	107	211	243
Prec. 8, Cucharas [25]	364	240	345
Prec. 9, Apache [25]	123	84	213
Prec. 10, North Veta [25]	309	287	266
Prec. 12, Crestones	813	702	730
Prec. 13, Birmingham [25]	392	375	297
Prec. 14, Niggerhead [25]	542	173	316
Prec. 16, Walsenburg [25]	1,507	1,141	544
Walsenburg city (part)	*1,085*	*1,049*	*540*
Prec. 17, Pictou	421	937	1,043
Prec. 18, Loma [25]	452	-------	-------
Prec. 19, Bear Creek	91	123	135
Prec. 20, Oakview [25]	206	137	581
Prec. 22, Rouse [25]	646	544	1,084
Prec. 24, Chico [25]	564	262	231
Prec. 25, Laguna [25]	171	85	154
Prec. 26, Walsenburg	1,434	1,190	-------
Walsenburg city (part)	*1,434*	*1,190*	-------
Prec. 27, Cameron [25]	291	560	545
Prec. 28, Alamo	240	614	-------
Prec. 29, Rocky Mountain	285	432	486
Prec. 35, La Veta [25]	716	596	623
La Veta town (part)	*479*	*429*	*438*
Prec. 36, Walsenburg [25]	1,068	1,604	1,007
Walsenburg city (part)	*1,068*	*1,276*	*715*
Prec. 38, Walsenburg	1,271	1,206	822
Walsenburg city (part)	*1,255*	*1,175*	*518*
Prec. 43, Chavez	216	265	197
Jackson County	1,798	1,386	[25a] 1,340
Prec. 1, Cowdrey	193	252	25
Prec. 2, Higho	106	84	93
Prec. 3, Hebron	277	408	377
Prec. 4, Rand	139	113	115
Prec. 5, Walden	1,083	529	574
Walden town	*668*	*284*	*260*
Jefferson County	30,725	21,810	[26] 14,400
Prec. 1, Grant	731	619	594
Prec. 2, Vasquez [26]	1,261	1,235	717
Prec. 3, Montana	935	755	632
Prec. 4, Morrison	660	442	423
Morrison town	*216*	*177*	*195*
Prec. 5, Platte	214	269	221
Prec. 6, Junction	345	294	280
Prec. 7, Bergen	355	191	147
Prec. 8, Bradford	283	141	130
Prec. 9, Golden No. 1	1,158	711	643
Golden city, total	*3,175*	*2,426*	*2,135*
In Prec. 9	*1,086*	*683*	*600*
In Prec. 10	*800*	*731*	*645*
In Prec. 11	*679*	*528*	*461*
In Prec. 12	*660*	*485*	*429*
Jefferson County—Con.			
Prec. 10, Golden No. 2	1,152	1,121	1,157
Golden city (part)	*800*	*731*	*645*
Prec. 11, Golden No. 3	740	614	522
Golden city (part)	*679*	*528*	*461*
Prec. 12, Golden No. 4	713	507	481
Golden city (part)	*660*	*485*	*429*
Prec. 13, Ralston	377	279	237
Prec. 14, Guy	130	148	153
Prec. 15, Southeast Arvada	697	632	-------
Arvada town, total	*1,482*	*1,276*	*915*
In Prec. 15	*207*	*231*	-------
In Prec. 21	*517*	*329*	-------
In Prec. 25	*109*	*237*	-------
In Prec. 38	*649*	*429*	-------
Prec. 16, Maple Grove	605	478	341
Prec. 17, Pine	325	256	268
Prec. 18, Evergreen	671	483	409
Prec. 19, Semper	477	374	363
Prec. 20, South Lakewood [26]	867	1,101	683
Prec. 21, Northeast Arvada	1,048	812	1,172
Arvada town (part)	*517*	*329*	-------
Prec. 22, Edgewater No. 1 [26]	1,119	[26] 1,150	842
Edgewater town, total	*1,648*	*1,473*	*664*
In Prec. 22	*657*	*645*	*200*
Prec. 28, entire	*991*	*828*	*464*
Prec. 23, Berkeley	1,176	964	408
Lakeside town	*39*	*49*	*26*
Mountain View town	*711*	*664*	*372*
Prec. 24, Lamb	167	101	79
Prec. 25, Northwest Arvada [26]	658	739	1,089
Arvada town (part)	*109*	*237*	-------
Prec. 26, Fairmont	587	420	431
Prec. 27, Wheat Ridge [26]	1,094	851	846
Prec. 28, Edgewater No. 2 [26]	991	1,000	464
Edgewater town (part)	*991*	*828*	*464*
Prec. 29, Mount Air [26]	1,341	[26] 1,768	562
Prec. 30, Griffith [26]	667	961	-------
Prec. 31, Columbia Heights [26]	1,159	951	-------
Prec. 32, Pleasant View	870	469	-------
Prec. 33, Daniels [26]	1,251	451	-------
Prec. 34, Bancroft	1,020	523	-------
Prec. 35, Pioneer [26]	821	-------	-------
Prec. 36, Divinner [26]	1,290	-------	-------
Prec. 37, Golf Club [26]	1,251	-------	-------
Prec. 38, Southwest Arvada [26]	685	-------	-------
Arvada town (part)	*649*	*429*	-------
Prec. 39, North Lakewood [26]	834	-------	-------
Kiowa County	2,793	[27] 3,786	[27] 3,755
Prec. 1, Towner [27]	312	427	350
Prec. 2, Eads [27]	396	-------	-------
Eads town, total [27]	*700*	*518*	*406*
In Prec. 2	*260*	-------	-------
In Prec. 6	*440*	-------	-------
Prec. 3, Sheridan Lake [27]	242	279	232
Prec. 4, Brandon	223	364	346
Prec. 5, Chivington	244	486	510
Prec. 6, Eads [27]	680	1,123	973
Eads town (part)	*440*	-------	-------
Prec. 7, Galatea	227	260	389
Prec. 8, Haswell	310	387	376
Haswell town	*163*	*156*	-------
Prec. 9, Arlington	159	269	378
Kit Carson County	7,512	9,725	8,915
Prec. 1	259	416	364
Prec. 2	419	528	589
Prec. 3	262	434	575
Prec. 4	251	387	502
Prec. 5	204	346	333
Kit Carson County—Con.			
Prec. 6, Flagler	863	1,069	991
Flagler town	*506*	*540*	*544*
Prec. 7, Seibert	539	730	737
Seibert town	*249*	*273*	*311*
Prec. 8, Vona	503	643	685
Vona town	*226*	*183*	*268*
Prec. 9, Stratton	1,091	1,197	1,167
Stratton town	*623*	*507*	*481*
Prec. 10, Bethune	352	463	346
Bethune town	*79*	*97*	-------
Prec. 11, Burlington [28]	740	1,072	1,340
Burlington town, total [28]	*1,280*	*1,280*	*991*
In Prec. 11	*515*	*801*	-------
In Prec. 12	*765*	*479*	-------
Prec. 12, Burlington [28]	1,024	783	-------
Burlington town (part)	*765*	*479*	-------
Prec. 13	248	356	239
Prec. 14	160	294	200
Prec. 15	163	288	187
Prec. 16	194	292	300
Prec. 17	135	246	247
Prec. 18	105	181	113
Lake County [29]	6,883	4,899	6,630
Leadville city, total	4,774	3,771	4,959
Precinct 1	*740*	-------	-------
Precinct 2	*660*	-------	-------
Precinct 3	*1,090*	-------	-------
Precinct 4 [29]	*623*	-------	-------
Precinct 5	*899*	-------	-------
Precinct 6	*757*	-------	-------
Precinct 7	487	-------	-------
Precinct 8	488	-------	-------
Precinct 9 [29]	181	62	88
Precinct 10 [29]	953	263	-------
La Plata County [30]	15,494	12,975	11,218
Prec. 1	1,862	-------	-------
Durango city, total	*5,887*	*5,400*	*4,116*
In Prec. 1	*1,467*	-------	-------
In Prec. 2	*871*	-------	-------
In Prec. 3	*885*	-------	-------
In Prec. 4	*894*	-------	-------
In Prec. 5	*681*	-------	-------
In Prec. 6	*1,089*	-------	-------
Prec. 2	995	-------	-------
Durango city (part)	*871*	-------	-------
Prec. 3	920	-------	-------
Durango city (part)	*885*	-------	-------
Prec. 4	980	-------	-------
Durango city (part)	*894*	-------	-------
Prec. 5	700	-------	-------
Durango city (part)	*681*	-------	-------
Prec. 6	1,146	-------	-------
Durango city (part)	*1,089*	-------	-------
Prec. 9, Bayfield	1,185	-------	-------
Bayfield town	*572*	*277*	*267*
Prec. 10, Sunnyside	360	-------	-------
Prec. 11, Hesperus	340	-------	-------
Prec. 12, Upper Florida	106	-------	-------
Prec. 13	442	-------	-------
Prec. 14, Hood School	241	-------	-------
Prec. 15, Animas	974	-------	-------
Animas City town	*712*	*457*	*250*
Prec. 16, Pleasant View	286	-------	-------
Prec. 17, Thompsons Park [30]	104	85	92
Prec. 19, Columbus	969	-------	-------
Prec. 20, Kline	243	-------	-------
Prec. 21, Ignacio	1,718	1,426	1,324
Ignacio town	*555*	*464*	*290*
Prec. 22, Tiffany	506	429	440
Prec. 24, Oxford	344	-------	-------
Prec. 25, Falfa	357	-------	-------
Prec. 26, Marvel [30]	716	719	713

[24a] HINSDALE.—Name of precinct 7 returned in 1930 and 1920 as Toners.

[25] HUERFANO.—County totals for 1930 and 1920 include population (188 in 1930; 232 in 1920) of precinct 15, Ravenwood, annexed to 24; population (1,139 in 1930; 698 in 1920) of old precinct 18, Walsen, parts annexed to 6 and 14; population (44 in 1930; 210 in 1920) of precinct 31, Valdez, parts annexed to 8 and 22; population (15 in 1930; 493 in 1920) of precinct 32, Ideal, annexed to 24; population (89 in 1930; 251 in 1920) of precinct 33, Rattlesnake Buttes, annexed to 8; population (138 in 1930; 183 in 1920) of precinct 44, Alliance, annexed to 20, in 1930; and population (158 in 1930; 221 in 1920) of precinct 46, Sandy, annexed to 8 in 1938. Total for 1930 also includes population (115) of precinct 11, Bradford, annexed to 1, and population (226) of precinct 21, Yellowstone, annexed to 2, in 1938; total for 1920 also includes population (861) of precinct 30, annexed to 3 in 1924. Other annexations since 1930: Part of precinct 13 annexed to 1; part of precinct 4 to 3; part of 3 to 9; part of 10 to 5; part of 20 to 35, and part of 25 to 27, in 1930, and part of precinct 4 to 9 in 1935. New precinct 18 organized from part of precinct 36 in 1930. Names of precincts changed in 1930: Precinct 4, Butte Valley, from Huerfano; precinct 6, Walsenburg, from Court House; precinct 16, Walsenburg, from Capitol Hill; and precinct 35, La Veta, from Spanish Peaks. The 1930 total for Walsenburg city includes population (297) of that part of the city formerly included in old precinct 18.

[25a] JACKSON.—County total for 1920 includes population (156) of precinct 6, annexed to 1 in 1922.

[26] JEFFERSON.—County total for 1920 includes population (106) of old precinct 15, annexed to 13 in 1926. Parts of precincts 28, 30, and 31, annexed to 20, 2, and 27, respectively, in 1930. Precinct 35 organized from parts of 2 and 27; precinct 36 from part of 20; precinct 37 from part of 29; precinct 38 from part of 25 and that part of 30 comprising Arvada town, in 1930; precinct 39 organized from parts of 20, 22, 28, and 31 in 1938. Name of precinct 30, Griffith, changed from Southwest Arvada in 1930; precinct 20, South Lakewood, from Lakewood (No. 1), and precinct 33, Daniels, from Lakewood No. 2, in 1938. The 1930 figures for precincts 22 and 29 have been corrected by transfer of population (370) of Jewish Consumptives Relief Society, incorrectly returned as in precinct 22.

[27] KIOWA.—County totals for 1930 and 1920 include population (191 in 1930; 201 in 1920) of old precinct 2, Stuart, parts annexed to 1 and 3 in 1931. New precinct 2, Eads, organized from part of 6, including part of Eads town, in 1938.

[28] KIT CARSON.—Part of precinct 11, within Burlington town, annexed to 12, and part of precinct 12, within Burlington town, annexed to 11, since 1930.

[29] LAKE.—County redistricted in 1936; comparative figures shown wherever possible. Numbers changed in 1936: Precinct 4 from 5, precinct 9 from 14, and precinct 10 from 16.

[30] LA PLATA.—County redistricted in 1932; comparative figures shown wherever possible. Number and name of precinct 17, Thompsons Park, changed from 7, Dix, and name of precinct 26 changed from Red Mesa, since 1930.

TABLE 4.—POPULATION OF COUNTIES BY MINOR CIVIL DIVISIONS: 1920 TO 1940—Continued

MINOR CIVIL DIVISION	1940	1930	1920
Larimer County	35,539	[31] 33,137	[31] 27,872
Prec. 1, Bellevue [31]	586	429	366
Prec. 2, Virginia Dale [31]	97	131	98
Prec. 3, St. Cloud [31]	118	64	82
Prec. 4, Laramie River	84	252	86
Prec. 5, Livermore [31]	234	337	324
Prec. 6, Log Cabin [31]	169	178	123
Prec. 7, Laporte [31]	831	758	621
Prec. 17, Grange [31]	976	608	344
Prec. 18, Riverside [31]	1,012	309	462
Prec. 19, Plummer [31]	998	1,285	1,052
Prec. 20, Timnath [31]	860	357	401
Timnath town	*147*	*169*	
Loveland city, total	6,145	5,506	5,065
Precinct 22	*1,570*	*1,434*	*1,297*
Precinct 23	*493*	*393*	*288*
Precinct 24	*1,097*	*1,183*	*1,030*
Precinct 25	*772*	*808*	*807*
Precinct 26	*784*	*345*	*700*
Precinct 27	*633*	*579*	*724*
Precinct 28 [31]	*796*	*764*	*219*
Prec. 29, Southeast Loveland	1,611	1,650	1,652
Prec. 30, Northeast Loveland	514	575	494
Prec. 31, West Loveland [31]	898	919	832
Prec. 33, Masonville [31]	155	165	189
Prec. 34, Big Thompson [31]	433	383	425
Prec. 35, North Berthoud [31]	936	950	1,006
Berthoud town, total [31]	*811*	*811*	*852*
In Prec. 35	*494*	*520*	*546*
In Prec. 36	*317*	*291*	*307*
Prec. 36, South Berthoud [31]	880	894	805
Berthoud town (part)	*317*	*291*	*307*
Prec. 37, Estes Park	1,696	912	539
Estes Park town	*994*	*417*	
Prec. 38, Stratton Park [31]	159	79	170
Prec. 39, Bristol Miner	244	414	321
Prec. 40, Waverly	301	327	347
Prec. 41, Wellington [31]	1,300	1,495	636
Wellington town	*466*	*533*	*459*
Prec. 43, North Fossil Creek [31]	1,079	1,128	736
Prec. 44, South Fossil Creek [31]	720	752	190
Prec. 46, Drake	148	110	51
Prec. 47, Rustic [31]	104		
Fort Collins city	12,251	11,489	8,755
Las Animas County	32,369	[32] 36,008	[32] 38,975
Prec. 1, Tollerburg	130	590	538
Prec. 2, Stonewall	168	100	124
Prec. 3, Tercio	157	387	391
Prec. 4, Valdez	928	939	834
Prec. 5, Vigil	320	248	300
Prec. 6, Weston	642	588	748
Prec. 7, Gulnare	436	463	430
Prec. 8, Trujillo Creek	275	270	386
Prec. 9, Aguilar	1,343	1,486	1,571
Aguilar city, total	*7,397*	*1,388*	*1,296*
In Prec. 9	*932*	*918*	*1,256*
In Prec. 32	*465*	*465*	
Prec. 10, Rugby	230	358	394
Prec. 11, Delagua	434	1,039	1,057
Delagua town	*422*	*1,021*	*1,035*
Prec. 12, Cokedale	864	1,027	987
Prec. 14, Segundo [32]	1,031	1,229	952
Prec. 15, Madrid	199	180	287
Prec. 16, Hicks	106	149	279
Prec. 17, South Starkville	441	477	631
Prec. 18, North Starkville	425	457	672
Prec. 19, Jansen [32]	879	503	434
Prec. 20, Sopris	1,175	932	1,299
Prec. 21, Grandview [32]	16		
Prec. 22, Suffield [32]	104	125	262
Prec. 23, Thatcher	275	403	479
Prec. 24, Berwind	288	1,286	1,746
Prec. 25, Hastings	62	347	715
Hastings town [32]		*307*	*587*
Prec. 26, Augusta	175	176	359
Prec. 27, Lower Apishapa	124	143	208
Prec. 28, Chicosa	124	121	182
Prec. 29, El Moro [32]	442	511	318
Las Animas County—Con.			
Prec. 30, North Garcia Plaza [32]	843	658	346
Prec. 31, Brodhead	51	425	597
Prec. 32, Aguilar	544	766	
Aguilar city (part)	*466*	*465*	
Prec. 33, Barela	227	268	390
Prec. 34, Boncarbo	235	451	407
Prec. 35, Hoehne	838	853	832
Prec. 36, Alfalfa	50	114	143
Prec. 37, Model	518	759	758
Prec. 38, Trinchera	450	474	761
Trinidad city, total [32]	13,223	11,732	10,906
Precinct 39 [32]	*1,255*	*1,184*	*1,261*
Precinct 40	*1,050*	*796*	*860*
Precinct 41	*474*	*439*	*465*
Precinct 42	*865*	*811*	*1,270*
Precinct 43	*884*	*806*	*1,215*
Precinct 44	*855*	*937*	*1,387*
Precinct 45	*1,451*	*1,222*	*1,265*
Precinct 46 [32]	*749*	*707*	*750*
Precinct 47 [32]	*1,368*	*1,041*	*1,069*
Precinct 48	*976*	*981*	
Precinct 51	*1,278*	*1,009*	*1,264*
Precinct 56	*627*	*514*	
Precinct 59 [32]	*529*	*413*	
Precinct 64	*914*	*872*	
Prec. 49, Morley	444	917	909
Prec. 50, Troy [32]	256	359	537
Prec. 52, Branson	342	465	1,191
Branson town	*250*	*297*	
Prec. 53, Chacuaco	48	65	470
Prec. 54, Plum Valley	192	582	929
Prec. 55, Patt [32]	212	652	1,055
Prec. 57, Engleburg [32]	158	82	129
Prec. 58, Andrix [32]	206		
Prec. 60, Alcreek	88	167	
Prec. 61, Kim [32]	470	1,058	
Prec. 62, Yeiser	154	277	
Prec. 63, San Miguel	129	173	
Prec. 65, Holloway [32]	372		
Prec. 66, South Garcia Plaza [32]	526		
Lincoln County [33]	5,882	7,850	8,273
Prec. 1, Shaw [33]	199	418	444
Prec. 2, Walks Camp [33]	270	353	
Prec. 3, Limon	1,053	1,100	1,047
Limon town	*1,053*	*1,100*	*1,047*
Prec. 4, Genoa	423	553	418
Genoa town	*214*	*218*	
Prec. 5, Bovina	286	405	343
Prec. 6, Arriba	635	835	
Arriba town	*286*	*337*	*334*
Prec. 7, Hugo	852	712	838
Hugo town	*852*	*712*	*838*
Prec. 8, Boyero	202	312	
Prec. 9, Fields	132	252	
Prec. 10, Karval	295	402	
Prec. 11, Zimmerman Ranch	111	158	
Prec. 12, Lower Lincoln	168	195	
Prec. 13, Little Horse	268	528	
Prec. 14, Pleasant Center	182	265	
Prec. 15, Hugo Suburban	349	581	
Prec. 16, Limon Suburban	271	312	
Prec. 17, Cowan	186	469	
Logan County	18,370	[31] 19,946	[34] 18,427
Prec. 1, Atwood [34]	891	897	790
Prec. 2, West Plains [34]	103	147	327
Prec. 3, Iliff [34]	1,215	1,279	548
Iliff town	*322*	*266*	*238*
Prec. 4, Crook [34]	1,108	1,249	810
Crook town	*236*	*251*	*232*
Prec. 5, Fleming	856	930	1,201
Fleming town	*400*	*365*	*518*
Prec. 6, Sterling [34]	418	834	907
Sterling city, total [34]	*7,411*	*7,195*	*6,415*
Prec. 6, entire	*418*	*762*	
In Prec. 12	*670*	*705*	
In Prec. 18	*527*	*567*	
Prec. 14, entire	*967*	*1,034*	
In Prec. 24	*475*	*488*	
Prec. 25, entire	*679*	*985*	
Logan County—Con.			
Prec. 6, Sterling—Con.			
Sterling city—Con.			
Prec. 26, entire	*1,402*	*1,054*	
In Prec. 27	*1,106*	*485*	
In Prec. 28	*700*	*615*	
In Prec. 29	*477*	*500*	
Prec. 7, Willard	320	504	639
Prec. 8, Dailey	397	474	561
Prec. 9, Rockland	278	406	549
Prec. 10, Merino	789	785	824
Merino town	*259*	*230*	*263*
Prec. 11, Leroy [34]	244	328	519
Prec. 12, Sterling	768	870	650
Sterling city (part)	*670*	*705*	
Prec. 13, Sterling [34]	795	870	500
Sterling city (part)	*527*	*567*	
Prec. 14, Sterling [34]	957	1,034	
Sterling city (part)	*957*	*1,034*	
Prec. 16, Peetz [34]	797	1,043	919
Peetz town	*207*	*244*	*322*
Prec. 17, Graylin	167	255	559
Prec. 18, Padroni	667	824	610
Prec. 19, Kelly [34]	199	314	312
Prec. 20, Proctor	463	604	196
Prec. 22, Mount Hope	135	171	
Prec. 23, New Haven [34]	224	351	
Prec. 24, Sterling [34]	1,466	1,314	
Sterling city (part)	*475*	*488*	
Prec. 25, Sterling [34]	679	985	
Sterling city (part)	*679*	*985*	
Prec. 26, Sterling [34]	1,402	1,054	
Sterling city (part)	*1,402*	*1,054*	
Prec. 27, Sterling [34]	1,301	485	
Sterling city (part)	*1,106*		
Prec. 28, Sterling [34]	1,189	1,146	
Sterling city (part)	*700*	*615*	
Prec. 29, Sterling [34]	542	578	
Sterling city (part)	*477*	*500*	
Mesa County	33,791	25,908	[35] 22,231
Prec. 1, Fruitvale [35]	2,201	1,928	1,201
Prec. 2, North Fruita [35]	1,112	1,816	2,048
Fruita town, total [35]	*1,466*	*1,068*	*1,108*
In Prec. 2	*315*		
In Prec. 31	*1,151*		
Prec. 3, Whitewater	263	216	272
Prec. 4, De Beque	504	640	561
De Beque town	*280*	*347*	*292*
Prec. 5, Mesa	490	473	544
Prec. 6, Rhone	819	530	577
Prec. 7, Kannah Creek	222	280	205
Prec. 8, Collbran	1,121	1,122	1,173
Collbran town	*801*	*841*	*286*
Grand Junction city, total [35]	12,479	10,247	8,065
Precinct 9 [35]	*1,625*	*2,304*	*2,258*
Precinct 10 [35]	*1,222*	*1,315*	*1,359*
Precinct 11 [35]	*1,260*	*1,555*	*1,501*
Precinct 12 [35]	*1,924*	*1,802*	*1,433*
Precinct 16 [35]	*2,267*	*1,815*	*1,054*
Precinct 26 [35]	*1,056*	*1,456*	
Precinct 27 [35]	*1,112*		
Precinct 28 [35]	*1,385*		
Precinct 29 [35]	*698*		
Prec. 13, East Palisade	1,118	1,008	[35] 582
Palisade town, total	*855*	*851*	*855*
In Prec. 13	*257*	*282*	
In Prec. 20	*598*	*569*	
Prec. 14, Pomona [35]	2,189	1,747	1,438
Prec. 15, Molina	265	324	382
Prec. 17, Orchard Mesa	1,615	800	548
Prec. 18, Loma	896	672	708
Prec. 19, Clifton	1,712	1,246	1,105
Prec. 20, West Palisade	1,280	1,243	[35] 667
Palisade town (part)	*598*	*569*	
Prec. 21, Glade Park	321	381	275
Prec. 22, Gateway	193	156	196
Prec. 23, Clover	141	196	189
Prec. 24, Mack	521	451	
Prec. 25, Redlands [35]	1,173	432	
Prec. 30, Fairmount [35]	1,694		
Prec. 31, South Fruita [35]	1,462		
Fruita town (part)	*1,151*		

[31] LARIMER.—County totals for 1930 and 1920 include population (547 in 1930; 473 in 1920) of precinct 21, West Timnath, annexed to 20; population (62 in 1930; 73 in 1920) of precinct 32, Stout, parts annexed to 43 and 44; and population (72 in 1930; 72 in 1920) of precinct 45, Pinewood, parts annexed to 34 and 36, in 1934. Total for 1920 also includes population (469) of those parts of precincts 26 and 28, outside Loveland city in 1920, and annexed to the city in that year; population (613) of precinct 42, annexed to 41 in 1920. Part of precinct 3 annexed to 2; parts of precincts 7, 19, and 41 to 18; part of precinct 43 to 17; part of precinct 34 to 33; part of precinct 28 to 31, in 1934; and part of precinct 35 to Berthoud town, in 1937. Precinct 47 organized from parts of 1, 5, 6, and 38, in 1934. Names of precincts changed since 1930: Precinct 6, Log Cabin, from Home; precinct 17, Grange, from Northwest Fort Collins; precinct 20, Timnath, from East Timnath; precinct 31, West Loveland, from Northwest Loveland; and precinct 34, Big Thompson, from Buckhorn.

[32] LAS ANIMAS.—County totals for 1930 and 1920 include population (112 in 1930; 730 in 1920) of precinct 13, Primero, annexed to 14 in 1934; population (65 in 1930; 374 in 1920) of old precinct 21, Forbes, annexed to 22 in 1932. Total for 1920 also includes population (143) of old precinct 58, annexed to 27, population (403) of old precinct 56, annexed to 55, in 1922; and population (382) of old precincts 32 and 59, taken, together with part of precinct 33, to form 63 in 1924. Part of precinct 19 annexed to 47, within Trinidad city; parts of precincts 46 and 59, Trinidad city, annexed to 57, in 1931. New precinct 65 organized from part of 19, together with part of 39, Trinidad city, and new precinct 66 organized from part of 30, in 1932. New precinct 21 organized from parts of 19 and 29, and new precinct 58 from parts of 50, 55, and 61, in 1936. No population reported in 1940 for Hastings town.

[33] LINCOLN.—Part of precinct 1 annexed to 2 in 1934. Names of precincts added in 1932.

[34] LOGAN.—County totals for 1930 and 1920 include population (215 in 1930; 191 in 1920) of precinct 15, Red Lion, annexed to 4 since 1930; total for 1920 also includes population (400) of that part of precinct 14, outside Sterling city, and population (6,415) of Sterling city, which was not returned by precincts in 1920. Part of precinct 19 annexed to 1 since 1930; part of 16 to 2; part of 24 to 3; and part of 23 to 11. Annexations since 1930 to precincts including parts of Sterling city are: Parts of 14, 27, 28, and 29 to 6; part of 29 to 13; parts of 25 and 26 to 14; part of 13 to 24; part of 25 to 26; part of 14 to 27; and parts of 24 and 27 to 28.

[35] MESA.—County total for 1920 includes population (855) of Palisade town, not returned by precincts; figures for precincts 13 and 20 are exclusive of population of Palisade town. Changes in precincts affecting Grand Junction city are as follows: Parts of precinct 1 annexed to 29 and 16 in 1939 and 1940, respectively; parts of precinct 14 annexed to 10 in 1938, to 28 in 1939, and to 10, 11, and 28 in 1940. Part of precinct 12 annexed to 16 in 1938 and part reverted to 30 in 1939. Precinct 27 organized from parts of 9, 10, and 25; precinct 28, from parts of 11 and 26; and precinct 29, from part of 16, in 1938. Precinct 30 organized from parts of 1 and 14, and precinct 31 from part of 2, including part of Fruita town, in 1938. Name of precinct 2 returned in 1930 as Fruita.

TABLE 4.—POPULATION OF COUNTIES BY MINOR CIVIL DIVISIONS: 1920 TO 1940—Continued

MINOR CIVIL DIVISION	1940	1930	1920
Mineral County	975	640	779
Precinct 1	587	331	332
Creede town, total	*670*	*384*	*500*
In Prec. 1	*357*	*180*	*305*
In Prec. 2	*313*	*204*	*195*
Precinct 2	388	309	447
Creede town (part)	*313*	*204*	*195*
Moffat County [36]	5,086	4,861	5,129
Prec. 1, Craig	1,224		
Craig town, total	*2,123*	*1,418*	*1,297*
In Prec. 1	*974*	*734*	*671*
In Prec. 2	*415*	*257*	
In Prec. 3	*734*	*427*	*626*
Prec. 2, Craig	937		
Craig town (part)	*415*	*257*	
Prec. 3, Craig	1,075		
Craig town (part)	*734*	*427*	*626*
Prec. 4, Hamilton	368		
Prec. 5, Great Divide	175		
Prec. 6, Maybell	390		
Prec. 7, Upper Fortification	153		
Prec. 8, Upper Big Gulch	107		
Prec. 9, Slater	65		
Prec. 10, Lodore	127		
Prec. 11, Elk Springs	205		
Prec. 12, Price Creek	66		
Prec. 13, Greystone	39		
Prec. 14, Axial	155		
Montezuma County	10,463	7,798	6,260
Prec. 1, Upper Mancos	840	654	682
Mancos town, total	*748*	*646*	*682*
In Prec. 1	*321*	*239*	
In Prec. 6	*427*	*407*	
Prec. 2, Cortez	1,674	958	775
Cortez town, total [37]	*1,778*	*921*	*541*
In Prec. 2	*995*	*410*	*315*
In Prec. 8	*783*	*511*	*226*
Prec. 3, Dolores	753	615	538
Dolores town, total	*804*	*557*	*465*
In Prec. 3	*391*	*320*	*300*
In Prec. 9	*413*	*237*	*165*
Prec. 4, Upper Dolores	38	133	125
Prec. 5, Arriola	672	570	633
Prec. 6, Lower Mancos	1,001	863	725
Mancos town (part)	*427*	*407*	
Prec. 7, McElmo	218	158	113
Prec. 8, Cortez [37]	1,506	914	556
Cortez town (part)	*783*	*511*	*226*
Prec. 9, Dolores	885	611	577
Dolores town (part)	*413*	*237*	*165*
Prec. 10, Lakeview	393	218	194
Prec. 11, Lewis	490	476	111
Prec. 12, Ackmen	488	339	707
Prec. 13, Ruin Canyon	149	164	
Prec. 14, McPhee	823	663	
Consolidated Ute Indian Reservation	533	462	524
Montrose County	15,418	11,742	[38] 11,852
Montrose city, total	4,764	3,566	3,581
Precinct 1–2	*1,664*	*1,334*	*1,174*
Precinct 3	*1,356*	*1,001*	*1,023*
Precinct 4	*1,744*	*1,231*	*1,384*
Prec. 5, North Montrose	328	393	329
Prec. 6, East Montrose	854	392	369
Prec. 7, South Montrose	564	231	282
Prec. 8, Naturita [38]	302	199	326
Prec. 9, Cimarron	97	128	155
Prec. 10, Paradox [38]	323	216	381
Prec. 11, Maher	215	192	146
Prec. 12, North Olathe	658	753	796
Olathe town, total	*705*	*593*	*491*
In Prec. 12	*348*	*305*	*243*
In Prec. 13	*357*	*288*	*248*
Prec. 13, South Olathe	796	631	645
Olathe town (part)	*357*	*288*	*248*
Prec. 14, California Mesa	1,065	1,300	1,078
Prec. 15, Riverside	250	351	345
Montrose County—Con.			
Prec. 16, Redvale [38]	245	213	316
Prec. 17, Oak Grove	1,166	1,039	797
Prec. 18, Uncompahgre	302	359	389
Prec. 19, Horsefly	65	18	18
Prec. 20, Lujane	246	225	285
Prec. 21, Nucla	935	598	686
Nucla town	*361*	*221*	*217*
Prec. 22, Orchard	531	314	205
Prec. 23, Coal Creek	398	450	309
Prec. 24, Ash Mesa	452	174	295
Prec. 25, Uravan [38]	862		
Morgan County	17,214	[39] 18,284	[39] 16,124
Fort Morgan city, total	4,884	4,423	3,818
Precinct 1 [39]	*1,295*	*1,435*	*1,289*
Precinct 2 [39]	*905*	*1,018*	*1,006*
Precinct 3 [39]	*1,365*	*1,970*	*1,523*
Precinct 14 [39]	*1,319*		
Prec. 4, North Fort Morgan	1,514	1,732	1,101
Prec. 5, South Fort Morgan	1,727	1,911	1,570
Prec. 6, Antelope Springs	235	379	457
Prec. 7, Gary	376	440	480
Prec. 8, Adena	162	267	339
Prec. 9, Orchard [39]	763	782	767
Prec. 10, Weldona [39]	758	945	772
Prec. 11, Hillrose [39]	775	775	786
Hillrose town	*177*	*210*	
Prec. 12, Snyder [39]	665	1,081	828
Prec. 13, Peace Valley [39]	221	333	374
Prec. 15, Brush [39]	968	950	928
Brush town, total	*2,481*	*2,312*	*2,103*
In Prec. 15	*649*	*595*	*686*
In Prec. 16	*381*	*371*	*271*
In Prec. 17	*846*	*758*	*168*
In Prec. 18	*605*	*588*	*978*
Prec. 16, Brush [39]	782	785	563
Brush town (part)	*381*	*371*	*271*
Prec. 17, Brush	1,438	1,363	662
Brush town (part)	*846*	*758*	*168*
Prec. 18, Brush	868	825	1,264
Brush town (part)	*605*	*588*	*978*
Prec. 19, Hoyt [39]	219	302	345
Prec. 20, Wiggins [39]	859	865	843
Otero County	23,571	[40] 24,390	[40] 22,623
Prec. 1, Higbee [40]	135	215	216
Prec. 2, Timpas [40]	225	266	555
Prec. 3, Hawley	535	582	480
Prec. 5, West Holbrook	328	406	391
Precinct 6	753	905	872
Cheraw town	*184*	*293*	*186*
Prec. 7, North La Junta	1,276	1,448	1,204
La Junta city, total	7,040	7,193	4,964
Precinct 8 [40]	*973*	*1,233*	*1,197*
Precinct 9 [40]	*1,006*	*1,188*	*548*
Precinct 10	*696*	*802*	*664*
Precinct 11	*737*	*548*	*748*
Precinct 12	*837*	*1,016*	*701*
Precinct 13	*1,004*	*816*	*1,106*
Precinct 14 [40]	*953*	*918*	
Precinct 31 [40]	*834*	*672*	
Precinct 15 [40]	988	1,430	933
Swink town	*374*	*418*	*466*
Prec. 16 (South and West of La Junta) [40]	1,124		
Prec. 17, Newdale	499	557	462
Prec. 18, South of Rocky Ford	795	1,140	760
Precinct 19	929	871	985
Rocky Ford city, total	*3,494*	*3,426*	*3,748*
In Prec. 19	*845*	*808*	*904*
In Prec. 20	*840*	*809*	*764*
In Prec. 21	*1,061*	*1,084*	*1,241*
In Prec. 22	*748*	*725*	*837*
Precinct 20	1,083	1,100	1,076
Rocky Ford city (part)	*840*	*809*	*764*
Precinct 21 [40]	1,256	1,339	1,501
Rocky Ford city (part)	*1,061*	*1,084*	*1,241*
Precinct 22 [40]	1,043	846	1,263
Rocky Ford city (part)	*748*	*725*	*837*
Otero County—Con.			
Prec. 23, La Fayette [40]	1,040	723	500
Prec. 24, Vroman	503	605	449
Precinct 25	1,255	1,338	1,361
Manzanola city	*531*	*578*	*562*
Prec. 26, East of Fowler [40]	364	430	465
Precinct 27 [40]	914	919	800
Fowler town, total	*922*	*968*	*1,062*
In Prec. 27	*501*	*528*	*400*
In Prec. 28	*421*	*440*	*662*
Precinct 28	715	721	955
Fowler town (part)	*421*	*440*	*662*
Prec. 30 (East and South of La Junta) [40]	771		
Ouray County	2,089	[41] 1,784	[41] 2,620
Precinct 1	613	430	664
Ironton town [41]		*9*	*73*
Ouray city, total	*951*	*707*	*1,165*
In Prec. 1	*606*	*411*	*664*
In Prec. 2	*345*	*296*	*501*
Precinct 2 [41]	446	301	501
Ouray city (part)	*345*	*296*	*501*
Portland town [41]		*16*	
Prec. 3, Ridgway [41]	826		
Ridgway town	*554*	*289*	*400*
Prec. 4, Colona [41]	204	253	228
Park County [42]	3,272	2,052	1,977
Prec. 1, Fairplay	935		
Fairplay town	*789*	*221*	*183*
Prec. 2, Alma	714		
Alma town	*469*	*110*	*127*
Prec. 3, Como	183		
Como town	*95*	*80*	*121*
Prec. 4, Jefferson	211		
Prec. 5, Bailey	412		
Prec. 6, Lake George	284		
Prec. 7, Guffey	178		
Guffey town	*26*	*38*	
Prec. 8, Hartsel	355		
Phillips County	4,948	5,797	[43] 5,499
Prec. 1, North	477	603	460
Prec. 1, South	337	416	404
Prec. 2, East	978	1,024	829
Holyoke town, total	*1,150*	*1,226*	*1,205*
In Prec. 2, East	*714*	*730*	*591*
In Prec. 2, West	*436*	*496*	*614*
Prec. 2, West	737	860	848
Holyoke town (part)	*436*	*496*	*614*
Precinct 3	527	680	661
Paoli town [43]	*85*		
Prec. 4, East	622	674	
Haxtun town, total	*985*	*1,027*	*1,118*
In Prec. 4, East	*438*	*447*	
In Prec. 4, West	*547*	*580*	
Prec. 4, West	735	860	
Haxtun town (part)	*547*	*580*	
Precinct 5	285	364	426
Precinct 6	250	316	246
Pitkin County	1,836	[44] 1,770	[44] 2,707
Prec. 1, Aspen	610	623	
Aspen city, total	*777*	*705*	*1,265*
In Prec. 1	*409*	*414*	
In Prec. 2	*368*	*291*	
Prec. 2, Aspen	539	549	
Aspen city (part)	*368*	*291*	
Prec. 15, Snow Mass [44]	484	288	331
Prec. 17, Meredith	70	39	66
Prec. 20, Rock Creek	133	163	74
Prowers County	12,304	14,762	13,845
Lamar city, total	4,445	[45] 4,165	2,512
Precinct 1	*1,431*	*1,360*	*1,056*
Precinct 4	*1,359*	*1,253*	*646*
Precinct 8	*1,655*	*1,553*	*811*

[36] MOFFAT.—County redistricted in 1932; comparative figures shown wherever possible.

[37] MONTEZUMA.—Part of precinct 8 annexed to Cortez town in 1932.

[38] MONTROSE.—County total for 1920 includes population (119) of old precinct 25, annexed to 8 in 1924. Precinct 25 organized from parts of 8 and 10 in 1936. Name of precinct 16 returned in 1930 and 1920 as Coventry.

[39] MORGAN.—County totals for 1930 and 1920 include population (126 in 1930; 227 in 1920) of old precinct 14, Buckingham, parts annexed to 9 and 10 in 1938. Part of precinct 2 annexed to 3, part of precinct 12 annexed to 11, and precinct 14 organized from parts of 1 and 3, in 1939. Name of precinct 13, Peace Valley, changed from Fort Morgan; numbers of precincts 19 and 20 changed from 22 and 23, respectively, in 1939. Name of precinct 15 returned in 1930 and 1920 as Story.

[40] OTERO.—County totals for 1930 and 1920 include population (76 in 1930; 187 in 1920) of old precinct 30, Bloom, annexed to 2 in 1934; population (221 in 1930; 97 in 1920) of precinct 8, population (33 in 1930; 784 in 1920) of precinct 9, and population (257 in 1930) of precinct 31, parts outside La Junta city, taken to form new precinct 30; and population (226 in 1930; 98 in 1920) of precinct 12; and population (453 in 1930; 994 in 1920) of precinct 14, parts outside La Junta city, taken, with part of precinct 15, to form new 16, in 1934. Total for 1920 also includes population (164) of precinct 4, annexed to 27 and 30, and population (107) of precincts 16 and 29, annexed to 14, between 1920 and 1930. Parts of precincts 14 and 27 annexed to 2, and parts of precincts 21 and 22, to 23, in 1934. Name of precinct 1 returned in 1930 as Highbee, and precinct 26 as East Fowler.

[41] OURAY.—County totals for 1930 and 1920 include population (88 in 1930; 117 in 1920) of old precinct 3, Portland, including Portland town, and population (21 in 1930; 144 in 1920) of precinct 7, Potosi, annexed to 2; population (571 in 1930; 501 in 1920) of old precinct 4, Ridgway, and population (120 in 1930; 134 in 1920) of precinct 5, Upper Dallas, taken to form new 3, in 1932; total for 1920 also includes population (73) of precinct 9, annexed to 1 in 1920, and population (258) of old precinct 5, annexed to 4 in 1924. Number of precinct 4 changed from 6 in 1932. No population reported in 1940 for Ironton and Portland towns.

[42] PARK.—County redistricted in 1934; comparative figures shown wherever possible.

[43] PHILLIPS.—County total for 1920 includes population (1,625) of precinct 4, taken to form precinct 4, East, and precinct 4, West, in 1924. Paoli town incorporated in 1930.

[44] PITKIN.—County totals for 1930 and 1920 include population (108 in 1930; 135 in 1920) of precinct 16, Emma, annexed to 15 in 1934. Total for 1920 also includes population (1,265) of Aspen city, coextensive with old precincts 1 to 4, consolidated as precincts 1 and 2 in 1922; population (440) of precincts 10 and 12, annexed to 1, and population (365) of precinct 11, annexed to 2, in 1928, and population (31) of precinct 21, annexed to 20 between 1910 and 1920.

[45] PROWERS.—For footnote, see following page.

TABLE 4.—POPULATION OF COUNTIES BY MINOR CIVIL DIVISIONS: 1920 TO 1940—Continued

MINOR CIVIL DIVISION	1940	1930	1920
Prowers County—Con.			
Prec. 2, Holly	698	844	681
Holly town, total	*864*	*971*	*940*
In Prec. 2	*387*	*469*	*444*
In Prec. 13	*477*	*502*	*496*
Prec. 3, Granada	796	1,069	1,118
Granada town	*542*	*552*	*508*
Prec. 5, Carlton	423	714	829
Prec. 6, Alta Vista [45]	778	1,041	970
Prec. 7, Wiley [45]	1,137	1,529	1,435
Wiley town	*413*	*589*	*565*
Prec. 9, Bristol	533	642	677
Prec. 10, Star [45]	158	469	597
Prec. 11, Hartman	694	1,061	1,098
Hartman town	*148*	*269*	*175*
Prec. 12, Webb	190	511	523
Prec. 13, Holly	866	1,107	966
Holly town (part)	*477*	*502*	*496*
Prec. 14, Lamar	874	905	1,319
Prec. 15, Lamar	601	497	783
Prec. 16, Pleasant Heights [45]	111	208	337
Pueblo County	66,870	66,038	57,638
Precinct 1 [46]	1,239	1,047	
Pueblo city, total [46]	*52,162*	*[46]50,096*	*43,050*
In Prec. 1	*1,228*	*1,040*	
In Prec. 2	*1,338*	*1,319*	
In Prec. 3	*838*	*826*	
In Prec. 4	*1,147*	*1,085*	
In Prec. 5	*5,646*	*3,936*	
In Prec. 6	*1,349*	*1,238*	
In Prec. 7	*1,621*	*1,660*	
In Prec. 9	*1,289*	*1,159*	
In Prec. 10	*772*	*870*	
In Prec. 12	*1,070*	*1,144*	
In Prec. 14	*1,236*	*1,249*	
In Prec. 16	*1,851*	*1,528*	
In Prec. 18	*1,065*	*1,023*	
In Prec. 19	*1,194*	*1,544*	
In Prec. 21	*1,081*	*835*	
In Prec. 23	*1,240*	*1,239*	
In Prec. 34	*1,018*	*1,664*	
In Prec. 35	*1,308*	*1,412*	
In Prec. 37	*686*	*622*	
Precincts 8, 11, 13, 15, 17, 20, 22, 24 to 33, 36, and 38 to 41, entire	*25,205*	*19,198*	
Precinct 2	1,352	1,329	
Pueblo city (part)	*1,338*	*1,319*	
Precinct 3	905	894	
Pueblo city (part)	*838*	*826*	
Precinct 4	1,157	1,035	
Pueblo city (part)	*1,147*	*1,035*	
Precinct 5 [46]	5,832	4,045	
Pueblo city (part)	*5,646*	*3,936*	
Precinct 6	1,355	1,250	
Pueblo city (part)	*1,349*	*1,238*	
Precinct 7	1,628	1,661	
Pueblo city (part)	*1,621*	*1,660*	
Precinct 8	1,046	991	
Pueblo city (part)	*1,046*	*991*	
Precinct 9 [46]	1,481	1,290	
Pueblo city (part)	*1,289*	*1,159*	
Precinct 10	785	882	
Pueblo city (part)	*772*	*870*	
Precinct 11 [46]	1,171	1,359	
Pueblo city (part)	*1,171*	*1,220*	
Precinct 12	1,748	1,638	
Pueblo city (part)	*1,070*	*1,144*	
Precinct 13 [46]	1,101	1,846	
Pueblo city (part)	*1,101*	*1,188*	
Precinct 14 [46]	1,367	1,376	
Pueblo city (part)	*1,236*	*1,249*	
Precinct 15	818	887	
Pueblo city (part)	*818*	*887*	
Precinct 16	2,004	1,738	
Pueblo city (part)	*1,851*	*1,528*	
Precinct 17	1,075	1,100	
Pueblo city (part)	*1,075*	*1,100*	
Precinct 18	1,352	1,287	
Pueblo city (part)	*1,065*	*1,023*	
Precinct 19 [46]	1,222	1,544	
Pueblo city (part)	*1,194*	*1,544*	
Precinct 20	963	835	
Pueblo city (part)	*963*	*835*	
Precinct 21 [46]	1,694	1,252	
Pueblo city (part)	*1,081*	*835*	
Precinct 22	1,350	1,188	
Pueblo city (part)	*1,350*	*1,188*	
Pueblo County—Con.			
Precinct 23 [46]	1,240	1,239	
Pueblo city (part)	*1,240*	*1,239*	
Precinct 24	753	741	
Pueblo city (part)	*753*	*741*	
Precinct 25	745	762	
Pueblo city (part)	*745*	*762*	
Precinct 26 [46]	2,110	2,360	
Pueblo city (part)	*2,110*	*2,360*	
Precinct 27	1,049	1,034	
Pueblo city (part)	*1,049*	*1,034*	
Precinct 28 [46]	1,519	1,837	
Pueblo city (part)	*1,519*	*1,837*	
Precinct 29	1,128	1,305	
Pueblo city (part)	*1,128*	*1,305*	
Precinct 30	1,908	2,060	
Pueblo city (part)	*1,908*	*2,060*	
Precinct 31	1,592	1,509	
Pueblo city (part)	*1,592*	*1,509*	
Precinct 32	1,149	1,182	
Pueblo city (part)	*1,149*	*1,182*	
Precinct 33	1,025	972	
Pueblo city (part)	*1,025*	*972*	
Precinct 34 [46]	1,131	1,693	
Pueblo city (part)	*1,018*	*1,664*	
Precinct 35	1,411	1,467	
Pueblo city (part)	*1,308*	*1,412*	
Precinct 36	907	822	
Pueblo city (part)	*907*	*822*	
Precinct 37	694	625	
Pueblo city (part)	*686*	*622*	
Precinct 38	956	958	
Pueblo city (part)	*956*	*958*	
Precinct 39	962	767	
Pueblo city (part)	*962*	*767*	
Precinct 40	1,073	1,050	
Pueblo city (part)	*1,073*	*1,050*	
Precinct 41 [46]	805		
Pueblo city (part)	*805*		
Precinct 101	122	143	
Precinct 102	164	200	
Precinct 103	153	237	
Precinct 104	781	840	
Precinct 105	158	246	
Precinct 106	177	223	
Precinct 107	971	954	
Precinct 108	449	453	
Rye town [46]	*163*		
Precinct 109	305	429	
Precinct 110	215	189	
Precinct 111	1,014	1,092	
Precinct 112	1,923	1,577	
Precinct 113	1,301	1,119	
Precinct 114 [46]	587	511	
Precinct 115	1,294	1,440	
Precinct 116	195	188	
Precinct 117 [46]	1,066	2,010	
Precinct 118	176	217	
Precinct 119	57	96	
Precinct 120	192	329	
Precinct 121	248	185	
Precinct 122	249	361	
Precinct 123	70	142	
Precinct 124 [46]	1,195		
Precinct 125 [46]	1,006		
Rio Blanco County	2,943	[47] 2,980	3,135
Prec. 1, Rangely	222	273	251
Prec. 2, White River	100	181	115
Prec. 3, Piceance	105	187	166
Prec. 4, East Meeker [47]	733	552	518
Meeker town, total	*1,399*	*1,069*	*935*
In Prec. 4	*532*	*389*	*351*
In Prec. 9	*867*	*680*	*584*
Prec. 5, Coal Creek	169	258	416
Prec. 6, Buford	128	74	216
Prec. 7, Powell Park [47]	210	141	307
Prec. 8, Angora	54	27	82
Prec. 9, West Meeker	949	823	705
Meeker town (part)	*867*	*680*	*584*
Prec. 10, Pyramid [47]	33	51	89
Prec. 11, Petrolite	124	107	198
Prec. 12, Thornburg	42	54	72
Prec. 13, Miller Creek [47]	74	156	
Rio Grande County	12,404	9,953	[48] 7,855
Monte Vista city, total [48]	3,208	[48] 2,610	2,484
Precinct 1 [48]	*900*	*795*	*728*
Precinct 4 [48]	*826*		*744*
Precinct 12 [48]	*1,482*		*1,012*
Rio Grande County—Con.			
Precinct 2	1,059	741	592
Del Norte town, total	*1,923*	*1,410*	*1,007*
In Prec. 2	*972*	*674*	*636*
In Prec. 11	*951*	*736*	*471*
Precinct 3 [45]	970	878	649
Precinct 5	1,154	1,200	700
Precinct 6	534	324	273
Precinct 7	570	478	473
Prec. 8, Summitville [46]	242		
Precinct 9	980	770	626
Precinct 10	514	492	304
Precinct 11	1,233	1,133	658
Del Norte town (part)	*951*	*736*	*471*
Precinct 13	910	725	597
Precinct 14	1,030	602	480
Routt County [49]	10,525	9,352	8,048
Prec. 1, Steamboat Springs	991		
Steamboat Springs town, total	*1,613*	*1,198*	*1,249*
In Prec. 1	*665*	*844*	*910*
In Prec. 10	*948*	*354*	*339*
Prec. 2, Egeria [49]	703	538	533
Yampa town	*426*	*310*	*200*
Prec. 3, Rock Creek	361		
Prec. 4, Hayden	1,066		
Hayden town	*640*	*554*	*465*
Prec. 5, Phippsburg	716		
Prec. 6, Williams Fork	180	220	343
Prec. 7, Sidney	308		
Prec. 8, Hahns Peak	93		
Prec. 9, Clark	388		
Prec. 10, East Steamboat Springs	1,105	497	481
Steamboat Springs town (part)	*948*	*354*	*339*
Prec. 11, Honnold	92		
Prec. 12, Milner	553		
Prec. 13, Oak Creek [49]	1,269	1,145	719
Oak Creek town, total	*1,769*	*1,211*	*967*
In Prec. 13	*735*	*586*	*390*
In Prec. 14	*1,034*	*625*	*577*
Prec. 14, South Oak Creek	1,531		
Oak Creek town (part)	*1,034*	*625*	*577*
Prec. 15, Mount Harris [49]	1,169	1,236	1,295
Saguache County [50]	6,173	6,250	4,638
Prec. 1, Villa Grove	267		
Prec. 2, Moffat	406		
Moffat town [50]	*149*		
Prec. 3, Crestone	252	194	152
Crestone town	*178*	*88*	*74*
Prec. 4, La Garita	739		
Prec. 5, West Center	849		
Center town, total	*1,515*	*1,011*	*547*
In Prec. 5	*462*		
In Prec. 11	*1,053*		
Prec. 6, West Saguache	1,059		
Saguache town, total	*1,219*	*1,010*	*948*
In Prec. 6	*824*		
In Prec. 12	*395*		
Prec. 7, Sargents	151	184	288
Prec. 8, Elkhorn [50]	179	221	161
Prec. 9, Cochetopa	71	117	41
Prec. 10, Bonanza	165		
Bonanza town	*140*	*445*	*91*
Prec. 11, East Center	1,398		
Center town (part)	*1,053*		
Prec. 12, East Saguache	637		
Saguache town (part)	*395*		
San Juan County	1,439	[51] 1,935	1,700
Precinct 1 [51]	657	753	663
Eureka town	*7*	*197*	*160*
Silverton town, total	*1,187*	*1,201*	*1,160*
In Prec. 1	*548*	*621*	*597*
In Prec. 2	*579*	*580*	*563*
Precinct 2	782	684	582
Silverton town (part)	*579*	*580*	*563*
San Miguel County [52]	3,664	2,184	5,261
Prec. 1, West Telluride	784		
Telluride city, total	*1,337*	*512*	*1,618*
In Prec. 1	*689*	*304*	
In Prec. 2	*648*	*208*	
Prec. 2, East Telluride	712		
Telluride city (part)	*648*	*208*	

[45] PROWERS.—The figures for Lamar city for 1930 have been corrected to exclude population (24) and population (44), of those parts of precincts 14 and 15, respectively, returned in 1930 as part of Lamar city. Name of precinct 6, Alta Vista, changed from North; precinct 7, Wiley, from North, precinct 10, Star, from Albany, and precinct 16, Pleasant Heights, from Northway, in 1930.

[46] PUEBLO.—Parts of Pueblo city reverted to precincts 1, 5, 9, 14, 19, and 21 in 1932. Precinct 124 organized from part of 117 since 1930; precinct 125 from parts of 11, 13, and 114, and precinct 41 from part of precinct 34, within Pueblo city, in 1940. The 1930 total for Pueblo city includes population (5,565) of parts of precincts 4, 11, 13, 26, and 28, not entirely within the city in both 1940 and 1930. No population reported in 1940 for that part of precinct 23, outside Pueblo city. Rye town incorporated in 1937.

[47] RIO BLANCO.—County total for 1930 includes population (77) of old precinct 13, White Rock, annexed to 7, and population (19) of precinct 14, Columbine, annexed to 10, n 1932. New precinct 13 changed from 15 in 1932. Name of precinct 4 returned in 1930 as Meeker.

[48] RIO GRANDE.—County total for 1920 includes population (13) of that part of precinct 4, outside Monte Vista city, annexed to Monte Vista city in 1927. Precinct 8 organized from part of 3 in 1934. The 1930 total for Monte Vista city includes population (1,815) of precincts 4 and 12, incorrectly returned in 1930 as parts of 1 and 4.

[49] ROUTT.—County redistricted in 1936; comparative figures shown wherever possible. Name of precinct 2, Egeria, changed from Yampa; number of precinct 13 changed from 14, and precinct 15 from 21, in 1936.

[50] SAGUACHE.—County redistricted in 1938; comparative figures shown wherever possible. Number of precinct 8 changed from 17 in 1932. Moffat town not returned separately in 1930 and 1920.

[51] SAN JUAN.—County total for 1930 includes population (205) of precinct 3, Eureka, and population (293) of precinct 4, Sunnyside Mine, annexed to 1 in 1936.

[52] SAN MIGUEL.—County redistricted in 1928 and 1932; comparative figures shown wherever possible. Ophir town not returned separately in 1930.

TABLE 4.—POPULATION OF COUNTIES BY MINOR CIVIL DIVISIONS: 1920 TO 1940—Continued

MINOR CIVIL DIVISION	1940	1930	1920
San Miguel County—Con.			
Prec. 4, Ophir	362	174	-------
Ophir town [52]	*2*	-------	-------
Prec. 6, Placerville	299	-------	-------
Prec. 7, Leonard	98	-------	-------
Prec. 10, Norwood	867	-------	-------
Norwood town	*412*	*299*	*365*
Prec. 12, Dry Creek Basin	94	86	-------
Prec. 13, Cedar	136	129	-------
Prec. 14, Egnar	312	161	-------
Sedgwick County	5,294	5,580	4,207
Precinct 1	197	223	200
Precinct 2	921	705	1,559
Julesburg town, total	*1,619*	*1,467*	*1,320*
In Prec. 2	*772*	*654*	*1,320*
In Prec. 5	*847*	*813*	-------
Precinct 3	1,280	1,271	341
Ovid town	*687*	*649*	-------
Precinct 4	1,021	1,207	1,010
Sedgwick town	*373*	*444*	*380*
Precinct 5	1,077	1,056	90
Julesburg town (part)	*847*	*813*	-------
Precinct 6	267	410	398
Precinct 7	347	451	338
Precinct 8	184	257	271
Summit County	1,754	[53] 987	1,724
Prec. 1, Breckenridge	150	151	446
Breckenridge town, total	*381*	*436*	*796*
In Prec. 1	*123*	*151*	*296*
In Prec. 2	*258*	*285*	*500*
Prec. 2, Breckenridge	273	297	565
Breckenridge town (part)	*258*	*285*	*500*
Prec. 3, Montezuma	64	51	98
Montezuma town	*59*	*38*	*69*
Prec. 4, Dillon [53]	264	200	296
Dillon town	*161*	*98*	*126*
Prec. 5, Slate Creek	118	115	97
Prec. 6, Lakeside	686	49	41
Prec. 7, Frisco [53]	86	18	76
Frisco town	*60*	*18*	-------
Prec. 8, Kokomo	113	48	105
Kokomo town	*101*	*44*	*98*
Teller County	6,463	[54] 4,141	6,696
Prec. 1, Woodland Park [54]	676	380	-------
Woodland Park town	*372*	*194*	*125*
Prec. 2, Divide	254	194	-------
Prec. 3, Florissant	235	124	-------
Florissant town	*62*	*26*	*48*
Prec. 4, High Park Four Mile	129	112	-------
Prec. 5, County Hospital [54]	1,321	740	-------
Cripple Creek city, total	*2,358*	*1,427*	*2,325*
In Prec. 5	*1,140*	*657*	-------
Prec. 6, entire	*1,218*	*770*	-------
Prec. 6	1,218	770	-------
Cripple Creek city (part)	*1,218*	*770*	-------
Prec. 7 [54]	967	933	-------
Victor city, total [54]	*1,784*	*1,291*	*1,777*
In Prec. 7	*591*	*696*	-------
Prec. 8, entire	*1,193*	*595*	-------
Prec. 8 [54]	1,193	595	-------
Victor city (part)	*1,193*	*595*	-------
Prec. 9, Goldfield [54]	470	182	-------
Goldfield city [54]	*195*	*159*	*633*
Washington County [55]	8,336	9,591	11,208
Prec. 1, Platte	444	-------	-------
Prec. 2, West Akron	426	-------	-------
Akron town, total	*1,417*	*1,195*	*1,401*
In Prec. 2	*84*	-------	-------
In Prec. 3	*305*	-------	-------
In Prec. 4	*293*	-------	-------
Prec. 16, entire	*735*	-------	-------
Prec. 3, South Akron	742	-------	-------
Akron town (part)	*305*	-------	-------
Prec. 4, East Akron	523	-------	-------
Akron town (part)	*293*	-------	-------
Prec. 5, North Otis	641	-------	-------
Otis town, total	*498*	*529*	*467*
In Prec. 5	*349*	-------	-------
In Prec. 6	*149*	-------	-------
Prec. 6, South Otis	476	-------	-------
Otis town (part)	*149*	-------	-------
Washington County—Con.			
Prec. 7, Rock Creek	562	-------	-------
Prec. 8, Platner	439	-------	-------
Prec. 9, Rago	370	-------	-------
Prec. 10, Harrisburg	382	-------	-------
Prec. 11, Woodrow	365	-------	-------
Prec. 12, Anton	602	-------	-------
Prec. 13, Cope	661	-------	-------
Prec. 14, Beaver	451	-------	-------
Prec. 15, De Nova	517	-------	-------
Prec. 16, North Akron	735	-------	-------
Akron town (part)	*735*	-------	-------
Weld County	63,747	[56] 65,097	[56] 54,059
Prec. 1, Fort Lupton [56]	1,378	1,416	1,097
Fort Lupton town, total [56]	*1,692*	*1,578*	*1,014*
In Prec. 1	*332*	*340*	*272*
In Prec. 37	*860*	*774*	*742*
In Prec. 64	*450*	*464*	-------
Prec. 2, St. Vrain	842	913	810
Prec. 3, Milliken	1,112	1,130	949
Milliken town	*531*	*483*	*372*
Prec. 4, Windsor [56]	1,383	1,518	991
Windsor town, total [56]	*1,811*	*1,852*	*1,290*
In Prec. 4	*320*	*257*	*257*
In Prec. 12	*529*	*534*	*393*
In Prec. 38	*962*	*1,061*	*660*
Prec. 5, Evans [56]	1,265	570	478
Evans town [56]	*792*	*540*	*505*
Prec. 6, Platteville	1,202	1,230	1,102
Platteville town, total	*561*	*533*	*479*
In Prec. 6	*304*	*322*	*286*
In Prec. 29	*257*	*211*	*193*
Prec. 7, Frederick	1,973	2,027	1,306
Dacono town	*296*	*275*	*172*
Firestone town	*262*	*240*	*214*
Frederick town	*652*	*596*	*361*
Prec. 8, Erie [56]	969	1,123	743
Erie town, total [56]	*1,019*	*930*	*697*
In Prec. 8	*443*	*415*	*277*
In Prec. 32	*576*	*515*	*420*
Prec. 9, Pleasant Valley	786	821	678
Prec. 10, Kersey	1,313	1,400	714
Kersey town	*268*	*307*	*319*
Prec. 11, East Eaton	1,175	1,434	1,302
Eaton town, total	*1,322*	*1,221*	*1,289*
In Prec. 11	*156*	*114*	*561*
In Prec. 13	*372*	*374*	*399*
In Prec. 21	*794*	*733*	*329*
Prec. 12, Southwest Windsor	705	721	699
Windsor town (part)	*529*	*534*	*393*
Prec. 13, West Eaton	773	851	723
Eaton town (part)	*372*	*374*	*399*
Prec. 14, Mead [56]	1,449	1,584	628
Mead town	*191*	*152*	*145*
Prec. 15, Sunnyside	813	948	874
Prec. 16, Franklin [56]	1,203	934	700
Prec. 17, Avalo [56]	173	290	468
Prec. 18, Gill [56]	1,053	1,290	1,069
Prec. 19, Barnesville	310	431	-------
Prec. 20, Kuner	738	691	726
Prec. 21, Eaton	1,011	970	778
Eaton town (part)	*794*	*733*	*329*
Prec. 22, Beebe Draw	578	610	446
Prec. 23, Green City [56]	202	258	325
Prec. 24, La Grange	724	798	697
Prec. 25, Carr	229	277	500
Prec. 26, Winbourn	1,026	1,105	631
Prec. 27, Hudson [56]	1,144	1,669	1,021
Hudson town	*295*	*346*	*322*
Prec. 28, La Salle	1,605	1,397	1,165
La Salle town	*755*	*564*	*460*
Prec. 29, North Platteville	984	995	766
Platteville town (part)	*257*	*211*	*193*
Prec. 30, Roggen [56]	287	398	239
Prec. 31, Grover	341	355	455
Grover town	*137*	*165*	*195*
Prec. 32, South Erie	921	915	624
Erie town (part)	*576*	*515*	*420*
Prec. 33, Delta	749	545	478
Garden City town [56]	*87*	-------	-------
Prec. 34, Lucerne	576	619	505
Prec. 35, Ault [56]	898	931	730
Ault town, total [56]	*761*	*737*	*769*
In Prec. 35	*417*	*386*	*401*
In Prec. 45	*344*	*351*	*368*
Weld County—Continued.			
Prec. 36, Keota [56]	206	475	741
Keota town	*84*	*108*	*129*
Prec. 37, Northwest Fort Lupton	1,446	1,321	1,538
Fort Lupton town (part)	*860*	*774*	*742*
Prec. 38, South Windsor	1,024	1,123	1,244
Windsor town (part)	*962*	*1,061*	*660*
Prec. 39, Prospect [56]	588	-------	-------
Prec. 40, Hazelton	557	637	515
Prec. 41, Columbine	323	446	-------
Prec. 42, Gilcrest	1,066	1,101	843
Gilcrest town	*852*	*824*	*222*
Prec. 43, Raymer	393	714	841
Raymer town [56]	*169*	*254*	*267*
Prec. 44, Briggsdale [56]	433	499	450
Prec. 45, East Ault	1,063	1,105	969
Ault town (part)	*344*	*351*	*368*
Prec. 46, Nunn	307	424	562
Nunn town	*190*	*196*	*149*
Prec. 47, Severance	920	1,061	888
Severance town [56]	*188*	-------	-------
Prec. 48, Johnstown [56]	990	1,878	1,017
Johnstown town, total [56]	*961*	*767*	*274*
In Prec. 48	*500*	-------	-------
In Prec. 62	*461*	-------	-------
Prec. 49, Purcell	513	874	598
Prec. 50, Pierce	791	771	723
Pierce town	*343*	*281*	*327*
Prec. 51, Osgood [56]	237	319	384
Prec. 52, Hereford	260	304	315
Prec. 53, Gault	189	369	438
Prec. 54, Graham	189	348	376
Prec. 55, Stoneham	384	643	586
Prec. 56, Buckingham	188	369	481
Prec. 57, Galeton	722	803	609
Prec. 58, Keenesburg [56]	636	1,588	720
Keenesburg town	*284*	*297*	*164*
Prec. 59, Kiowa [56]	224	247	430
Prec. 60, Sligo [56]	147	355	544
Prec. 61, Fosston [56]	147	192	192
Prec. 62, South Johnstown [56]	833	-------	-------
Johnstown town (part)	*461*	-------	-------
Prec. 63, Dover	140	229	-------
Prec. 64, Northeast Fort Lupton	946	936	-------
Fort Lupton town (part)	*460*	*464*	-------
Greeley city [56]	15,995	12,203	10,958
Yuma County	12,102	13,613	13,897
Prec. 1, Laird	553	747	834
Prec. 2, Wray	829	747	1,063
Wray town, total	*2,061*	*1,785*	*1,658*
In Prec. 2	*529*	*466*	*747*
In Prec. 6	*520*	*446*	*95*
In Prec. 17	*371*	*375*	*269*
In Prec. 18	*641*	*498*	*427*
Prec. 3, Eckley	850	997	970
Eckley town	*568*	*359*	*332*
Prec. 4, Yuma	930	746	891
Yuma town, total	*1,606*	*1,360*	*1,177*
In Prec. 4	*604*	*514*	*483*
In Prec. 15	*587*	*475*	*380*
In Prec. 16	*415*	*371*	*314*
Prec. 5, Magee	447	590	646
Prec. 6, Wray	891	845	498
Wray town (part)	*520*	*446*	*95*
Prec. 7, Valley	416	548	656
Prec. 8, Vernon	666	813	911
Prec. 9, Armel	407	501	486
Prec. 10, Idalia	569	845	654
Prec. 11, Kirk	546	623	525
Prec. 12, Hale	255	364	440
Prec. 13, Abarr	320	417	500
Prec. 14, Weld City	380	483	610
Prec. 15, North Yuma	1,098	1,050	934
Yuma town (part)	*587*	*475*	*380*
Prec. 16, Yuma	604	667	562
Yuma town (part)	*415*	*371*	*314*
Prec. 17, Wray	651	737	664
Wray town (part)	*371*	*375*	*269*
Prec. 18, Northeast Wray	735	642	582
Wray town (part)	*641*	*498*	*427*
Prec. 19, Happyville	328	410	378
Prec. 20, Mildred	140	215	375
Prec. 21, Joes	487	626	720

[52] SAN MIGUEL.—For footnote, see preceding page.

[53] SUMMIT.—County total for 1930 includes population (58) of precinct 9, Tiger, annexed to 1 in 1936. Parts of precincts 4 and 7 annexed to 1, and part of precinct 4 annexed to 7, in 1933.

[54] TELLER.—County total for 1930 includes population (111) of precinct 10, including part of Goldfield city, annexed to 9 in 1930. Part of precinct 5 annexed to 7, parts of precinct 7 annexed to 5 and 9, and part of 7, including part of Victor city, annexed to 8, in 1940. Green Mountain Falls town, geographically located in El Paso and Teller Counties, had no population in 1940 for that part in Teller County; returned in 1930 and 1920 as in El Paso County only. Name of precinct 9 returned in 1930 as Cunningham Addition.

[55] WASHINGTON.—County redistricted in 1934; comparative figures shown wherever possible.

[56] WELD.—County totals for 1930 and 1920 include population (461 in 1930; 458 in 1920) of old precinct 39, East Evans, including part of Evans town, annexed to 5 in 1932; population (108 in 1930; 147 in 1920) of old precinct 62, Riverside, parts annexed to 23 and 51 in 1938. Total for 1920 also includes population (442) of old precinct 19, Barnesville, parts annexed to 4 and 35, and population (633) of old precinct 41, Columbine, annexed to 14, in 1924. Part of precinct 1 annexed to Fort Lupton town, part of precinct 30 to 59, part of precinct 60 to 44, in 1930; part of precinct 61 to 44 since 1930; part of precinct 8 to Erie town, parts of precinct 36 to 17, 44, and 60, in 1932; part of precinct 27 to 58, and part of precinct 35 to Ault town, in 1936; part of precinct 4 to Windsor town in 1938, and parts of precinct 16 to Greeley city in 1938 and 1939. Precinct 39 organized from parts of 30, 58, and 59 in 1932, and precinct 62 from part of 48, including part of Johnstown town, in 1938. Name of precinct 16, Franklin, changed from Gipson in 1934, and precinct 18, Gill, from Crow Creek in 1930. Garden City town incorporated in 1936. Raymer town returned in 1930 as New Raymer. Severance town not returned separately in 1930 and 1920.

Incorporated places.—Table 5 shows the population in 1940 and 1930 of the incorporated places (cities and towns) in Colorado. In this table the places are arranged in alphabetical order, each followed by the name of the county in which it is located. In table 6 the population of the cities of 5,000 or more that are subdivided into wards is shown by wards.

TABLE 5.—POPULATION OF INCORPORATED PLACES: 1940 AND 1930

[The population of these places in 1920 is given in table 4. Places marked with an asterisk (*) were classified as urban in 1940]

CITY OR TOWN	County	1940	1930
Aguilar	Las Animas	1,397	1,383
Akron	Washington	1,417	1,135
Alamosa*	Alamosa	5,613	5,107
Alma	Park	469	110
Animas City	La Plata	712	457
Antonito	Conejos	1,220	858
Arriba	Lincoln	286	337
Arvada	Jefferson	1,482	1,276
Aspen	Pitkin	777	705
Ault	Weld	761	737
Aurora*	Adams, Arapahoe	3,437	2,295
Basalt	Eagle	212	148
Bayfield	La Plata	372	277
Bennett	Adams	199	211
Berthoud	Larimer	811	811
Bethune	Kit Carson	79	97
Black Hawk	Gilpin	289	253
Blanca	Costilla	407	252
Bonanza	Saguache	140	445
Boulder*	Boulder	12,958	11,223
Branson	Las Animas	250	237
Breckenridge	Summit	381	436
Brighton*	Adams	4,029	3,394
Brookside	Fremont	196	198
Brush	Morgan	2,481	2,312
Buena Vista	Chaffee	779	751
Burlington	Kit Carson	1,280	1,280
Calhan	El Paso	352	399
Canon City*	Fremont	6,690	5,938
Carbondale	Garfield	437	283
Castle Rock	Douglas	580	478
Cedaredge	Delta	556	463
Center	Saguache	1,515	1,011
Central City	Gilpin	706	572
Cheraw	Otero	184	293
Cheyenne Wells	Cheyenne	695	595
Coal Creek	Fremont	261	435
Collbran	Mesa	301	341
Colorado Springs*	El Paso	36,789	33,237
Como	Park	95	80
Cortez	Montezuma	1,778	921
Craig	Moffat	2,123	1,418
Crawford	Delta	221	157
Creede	Mineral	670	384
Crested Butte	Gunnison	1,145	1,251
Crestone	Saguache	172	86
Cripple Creek	Teller	2,358	1,427
Crook	Logan	236	251
Crowley	Crowley	318	323
Dacono	Weld	296	275
De Beque	Mesa	280	347
Deer Trail	Arapahoe	387	390
Delagua	Las Animas	422	1,021
Del Norte	Rio Grande	1,923	1,410
Delta*	Delta	3,717	2,938
Denver*	Denver	322,412	287,861
Dillon	Summit	161	92
Dolores	Montezuma	804	557
Dove Creek	Dolores	418	-------
Durango*	La Plata	5,887	5,400
Eads	Kiowa	700	518
Eagle	Eagle	518	341
East Canon	Fremont	699	595
Eaton	Weld	1,322	1,221
Eckley	Yuma	358	359
Edgewater	Jefferson	1,648	1,473
Eldora	Boulder	31	16
Elizabeth	Elbert	275	266
Empire	Clear Creek	174	93
Englewood*	Arapahoe	9,680	7,980
Erie	Weld	1,019	930
Estes Park	Larimer	994	417
Eureka	San Juan	7	197
Evans	Weld	792	540
Fairplay	Park	739	221
Firestone	Weld	262	240
Flagler	Kit Carson	506	540
Fleming	Logan	400	365
Florence*	Fremont	2,632	2,475
Florissant	Teller	62	26
Fort Collins*	Larimer	12,251	11,489
Fort Lupton	Weld	1,692	1,578
Fort Morgan*	Morgan	4,884	4,423
Fountain	El Paso	571	577
Fowler	Otero	922	968
Frederick	Weld	652	596
Frisco	Summit	60	18
Fruita	Mesa	1,466	1,053
Garden City	Weld	87	-------
Genoa	Lincoln	214	218
Georgetown	Clear Creek	391	303
Gilcrest	Weld	352	324
Glenwood Springs	Garfield	2,253	1,825
Golden*	Jefferson	3,175	2,426
Goldfield	Teller	195	159
Granada	Prowers	342	352
Granby	Grand	251	90
Grand Junction*	Mesa	12,479	10,247
Grand Valley	Garfield	230	209
Greeley*	Weld	15,995	12,203
Green Mountain Falls.	El Paso, Teller	87	41
Grover	Weld	137	165
Guffey	Park	26	38
Gunnison	Gunnison	2,177	1,415
Gypsum	Eagle	245	165
Hartman	Prowers	148	269
Hastings	Las Animas	(1)	307
Haswell	Kiowa	163	156
Haxtun	Phillips	985	1,027
Hayden	Routt	640	554
Hillrose	Morgan	177	210
Holly	Prowers	864	971
Holyoke	Phillips	1,150	1,226
Hooper	Alamosa	170	155
Hotchkiss	Delta	653	541
Hot Sulphur Springs.	Grand	235	142
Hudson	Weld	295	346
Hugo	Lincoln	852	712
Idaho Springs	Clear Creek	2,112	1,207
Ignacio	La Plata	555	464
Iliff	Logan	322	266
Irondale	Adams	71	139
Ironton	Ouray	(1)	9
Jamestown	Boulder	190	69
Johnstown	Weld	961	767
Julesburg	Sedgwick	1,619	1,467
Keenesburg	Weld	284	297
Keota	Weld	34	108
Kersey	Weld	268	307
Kiowa	Elbert	195	185
Kit Carson	Cheyenne	333	-------
Kokomo	Summit	101	44
Kremmling	Grand	567	261
Lafayette	Boulder	2,052	1,842
La Jara	Conejos	897	602
La Junta*	Otero	7,040	7,193
Lake City	Hinsdale	185	259
Lakeside	Jefferson	39	49
Lamar*	Prowers	4,445	[2] 4,165
La Salle	Weld	755	564
Las Animas*	Bent	3,232	2,517
La Veta	Huerfano	897	782
Leadville*	Lake	4,774	3,771
Limon	Lincoln	1,053	1,100
Littleton	Arapahoe	2,244	2,019
Longmont*	Boulder	7,406	6,029
Louisville	Boulder	2,023	1,681
Loveland*	Larimer	6,145	5,506
Lyons	Boulder	654	567
Manassa	Conejos	1,008	953
Mancos	Montezuma	748	646
Manitou Springs	El Paso	1,462	1,205
Manzanola	Otero	531	578
Marble	Gunnison	240	217
Mead	Weld	191	152
Meeker	Rio Blanco	1,399	1,069
Merino	Logan	259	230
Milliken	Weld	531	483
Minturn	Eagle	596	400
Moffat	Saguache	149	(3)
Monte Vista*	Rio Grande	3,208	2,610
Montezuma	Summit	59	38
Montrose*	Montrose	4,764	3,566
Monument	El Paso	175	192
Morrison	Jefferson	216	177
Mountain View	Jefferson	711	664
Nederland	Boulder	384	286
Nevadaville	Gilpin	25	2
New Castle	Garfield	484	470
Norwood	San Miguel	412	299
Nucla	Montrose	361	221
Nunn	Weld	190	196
Oak Creek	Routt	1,769	1,211
Ohio City	Gunnison	78	72
Olathe	Montrose	705	593
Olney Springs	Crowley	260	228
Ophir	San Miguel	2	(3)
Orchard City	Delta	865	(3)
Ordway	Crowley	1,150	1,139
Otis	Washington	498	529
Ouray	Ouray	951	707
Ovid	Sedgwick	687	649
Pagosa Springs	Archuleta	1,591	804
Palisade	Mesa	855	851
Palmer Lake	El Paso	269	244
Paoli	Phillips	85	-------
Paonia	Delta	1,117	958
Peetz	Logan	207	244
Pierce	Weld	343	281
Pitkin	Gunnison	156	228
Platteville	Weld	561	533
Poncha Springs	Chaffee	94	80
Portland	Fremont	377	435
Portland	Ouray	(1)	16
Pritchett	Baca	495	451
Prospect Heights	Fremont	51	138
Pueblo*	Pueblo	52,162	50,096
Ramah	El Paso	186	171
Ramona	El Paso	159	105
Raymer [4]	Weld	169	254
Red Cliff	Eagle	715	544
Rico	Dolores	388	447
Ridgway	Ouray	354	230
Rifle	Garfield	1,373	1,287
Rockvale	Fremont	575	710
Rocky Ford*	Otero	3,494	3,426
Romeo	Conejos	392	188
Rye	Pueblo	163	-------
Saguache	Saguache	1,219	1,010
St. Elmo	Chaffee	8	7
Salida*	Chaffee	4,969	5,065
Sanford	Conejos	736	597
Sedgwick	Sedgwick	373	444
Seibert	Kit Carson	249	273
Severance	Weld	138	(3)
Sheridan	Arapahoe	712	587
Silt	Garfield	359	264
Silver Cliff	Custer	309	201
Silver Plume	Clear Creek	139	126
Silverton	San Juan	1,127	1,301
Simla	Elbert	421	351
South Canon	Fremont	1,729	1,471
Springfield	Baca	1,082	1,393
Steamboat Springs	Routt	1,613	1,198
Sterling*	Logan	7,411	7,195

[1] No population reported. [2] Corrected figures; see footnote on Prowers County, table 4. [3] Not returned separately. [4] Returned in 1930 as New Raymer.

TABLE 5.—POPULATION OF INCORPORATED PLACES: 1940 AND 1930—Continued

[The population of these places in 1920 is given in table 4. Places marked with an asterisk (*) were classified as urban in 1940]

CITY OR TOWN	County	1940	1930	CITY OR TOWN	County	1940	1930	CITY OR TOWN	County	1940	1930
Stratton	Kit Carson	623	507	Victor	Teller	1,784	1,291	Westcliffe	Custer	429	335
Sugar City	Crowley	565	598	Vilas	Baca	129	-------	Westminster	Adams	534	436
Superior	Boulder	205	160	Vona	Kit Carson	226	183	Wiley	Prowers	413	589
Swink	Otero	374	418	Walden	Jackson	668	284	Williamsburg	Fremont	97	155
Telluride	San Miguel	1,337	512	Walsenburg*	Huerfano	5,855	5,503	Windsor	Weld	1,811	1,852
Timnath	Larimer	147	169	Walsh	Baca	406	454	Woodland Park	Teller	372	194
Trinidad*	Las Animas	13,223	11,732	Ward	Boulder	118	34	Wray	Yuma	2,061	1,785
Two Buttes	Baca	158	158	Wellington	Larimer	465	533	Yampa	Routt	426	310
								Yuma	Yuma	1,606	1,360

TABLE 6.—POPULATION OF CITIES OF 5,000 OR MORE BY WARDS: 1940

CITY AND WARD	Population	CITY AND WARD	Population	CITY AND WARD	Population	CITY AND WARD	Population
Alamosa	5,613	Durango	5,887	Greeley	15,995	Sterling	7,411
Ward 1	1,464	Ward 1	2,833	Ward 1	5,288	Ward 1	945
Ward 2	1,344	Ward 2	1,786	Ward 2	5,733	Ward 2	2,781
Ward 3	1,603	Ward 3	1,268	Ward 3	4,974	Ward 3	3,685
Ward 4	1,202	Englewood	9,680	La Junta	7,040	Trinidad	13,223
Boulder	12,958	Ward 1	2,598	Ward 1	2,813	Ward 1	1,880
Ward 1	2,498	Ward 2	3,699	Ward 2	1,433	Ward 2	1,524
Ward 2	3,084	Ward 3	3,383	Ward 3	2,794	Ward 3	4,043
Ward 3	5,008	Fort Collins	12,251	Longmont	7,406	Ward 4	3,220
Ward 4	2,368	Ward A	1,236	Ward 1	2,137	Ward 5	2,556
Canon City	6,690	Ward B	3,186	Ward 2	3,142	Walsenburg	5,855
Ward 1	2,691	Ward C	3,605	Ward 3	2,127	Ward 1	1,085
Ward 2	1,514	Ward D	2,547	Loveland	6,145	Ward 2	1,255
Ward 3	1,373	Ward E	1,677	Ward 1	1,570	Ward 3	2,102
Ward 4	1,112	Grand Junction	12,479	Ward 2	1,265	Ward 4	1,353
		Ward 1	2,349	Ward 3	1,429		
		Ward 2	2,235	Ward 4	1,881		
		Ward East 3d	3,399				
		Ward West 3d	2,020				
		Ward 4	2,476				

NOTE.—Other cities of more than 5,000 (Colorado Springs, Denver, and Pueblo) have no wards.

Metropolitan districts.—Metropolitan districts have been set up for use in the 1940 Census of Population in connection with each city of 50,000 or more, two or more such cities sometimes being in one district. The general plan is to include in the district, in addition to the central city or cities, all adjacent and contiguous minor civil divisions or incorporated places having a population of 150 or more per square mile. In some metropolitan districts a few less densely populated contiguous divisions are included on the basis of special qualifications. Only a portion of a minor civil division is included if the minor civil division has a large area and practically all of the population is concentrated in a small section in or near the central city with the more remote sections being very sparsely settled. In such cases, the unit considered is not the minor civil division but component enumeration districts. (For example, not all of the enumeration districts in precincts 1, 9, 14, 34, and 35, of Pueblo County are included in the Pueblo metropolitan district.) A metropolitan district is thus not a political unit but rather an area including all the thickly settled territory in and around a city or group of cities. It tends to be a more or less integrated area with common economic, social, and, often, administrative interests.

Table 7 shows the population of the Denver metropolitan district and its constituent political units in 1940 and some comparative figures for 1930, together with the increase or decrease during the decade. In 1940 the Denver metropolitan district had 384,372 inhabitants, whereas in 1930 the district as then constituted had a population of 330,761. Precinct 28, Baker, in Adams County, was included in the metropolitan district in 1940 for the first time. The redistricting of Arapahoe County also resulted in a net increase in the part included in the metropolitan district. The increase in the population of the metropolitan district attributable to the total change in area included is thus not obtainable.

TABLE 7.—POPULATION OF THE DENVER METROPOLITAN DISTRICT: 1940 AND 1930

[A minus sign (−) denotes decrease. Percent not shown where base is less than 100]

AREA	POPULATION		INCREASE	
	1940	1930	Number	Percent
The metropolitan district	**384,372**	**330,761**	**53,611**	**16.2**
Denver city	322,412	287,861	34,551	12.0
Outside city	61,960	42,900	19,060	44.4
Incorporated places	**23,128**	**18,769**	**4,359**	**23.2**
Arvada town	1,432	1,276	206	16.1
Aurora city	3,437	2,295	1,142	49.8
Edgewater town	1,648	1,473	175	11.9
Englewood city	9,680	7,980	1,700	21.3
Golden city	3,175	2,426	749	30.9
Lakeside town	39	49	−10	
Littleton town	2,244	2,019	225	11.1
Mountain View town	711	664	47	7.1
Sheridan town	712	587	125	21.3
Unincorporated areas	38,832	24,131	14,701	60.9
District includes the following minor civil divisions (election precincts and cities):				
Denver County	**322,412**	**287,861**	**34,551**	**12.0**
Denver city	322,412	287,861	34,551	12.0
In Adams County	**8,498**	**6,476**	**2,022**	**31.2**
Precinct 12, Aurora (incl. part of Aurora city)	1,091	837	254	30.3
Precinct 16, Retreat Park	871	829	42	5.1
Precinct 17, College	1,043	764	279	36.5
Precinct 22, Adams City	887	587	300	51.1
Precinct 23, Sable	1,498	1,816	−318	−17.5
Precinct 24, East Aurora (incl. part of Aurora city)	1,179	759	420	55.3
Precinct 26, Rose Hill	591	496	95	19.2
Precinct 28, Baker	901	(1)		
Precinct 29, Utah Junction	437	388	49	12.6
In Arapahoe County [2]	**29,047**	**19,408**	**9,639**	**49.7**
Precinct 1 (comprising part of Englewood city)	678			
Precinct 2 (comprising part of Englewood city)	525			
Precinct 3 (comprising part of Englewood city)	904			
Precinct 4 (comprising part of Englewood city)	491			
Precinct 5 (comprising part of Englewood city)	527			
Precinct 6 (comprising part of Englewood city)	683			
Precinct 7 (comprising part of Englewood city)	691			
Precinct 8 (comprising part of Englewood city)	771			
Precinct 9 (comprising part of Englewood city)	1,027			
Precinct 10 (comprising part of Englewood city)	912			
Precinct 11 (comprising part of Englewood city)	578			
Precinct 12 (comprising part of Englewood city)	646			
Precinct 13 (comprising part of Englewood city)	556			
Precinct 14 (comprising part of Englewood city)	691			
Precinct 15	832			
Precinct 16	456			
Precinct 17	1,171			
Precinct 18	1,275			
Precinct 19	367			
Precinct 20	241			
Precinct 21	636			
Precinct 22 (incl. part of Sheridan town)	1,387			
Precinct 23 (incl. part of Sheridan town)	1,634			
Precinct 24 (incl. part of Sheridan town)	1,012			
Precinct 25 (incl. part of Littleton town)	698			
Precinct 26 (incl. part of Littleton town)	691			
Precinct 27 (incl. part of Littleton town)	1,065			
Precinct 28 (incl. part of Littleton town)	836			

TABLE 7.—POPULATION OF THE DENVER METROPOLITAN DISTRICT: 1940 AND 1930—Continued

AREA	POPULATION		INCREASE	
	1940	1930	Number	Percent
In Arapahoe County—Continued.				
Precinct 30	950			
Precinct 31	638			
Precinct 32	552			
Precinct 33	365			
Precinct 34	406			
Precinct 35	826			
Precinct 36	1,178			
Precinct 37	542			
Precinct 40	437			
Precinct 41 (comprising part of Aurora city)	1,172			
In Jefferson County	**24,415**	**17,016**	**7,399**	**43.5**
Precinct 2, Vasquez [3]	1,261	1,235	26	2.1
Precinct 9, Golden No. 1 (incl. part of Golden city)	1,158	711	447	62.9
Precinct 10, Golden No. 2 (incl. part of Golden city)	1,152	1,121	31	2.8
Precinct 11, Golden No. 3 (incl. part of Golden city)	740	614	126	20.5
Precinct 12, Golden No. 4 (part, comprising part of Golden city)	660	485	175	36.1
Precinct 15, Southeast Arvada (incl. part of Arvada town)	697	632	65	10.3
Precinct 16, Maple Grove	605	478	127	26.6
Precinct 20, South Lakewood [4]	867	1,101	−234	−21.3
Precinct 21, Northeast Arvada (incl. part of Arvada town)	1,048	812	236	29.1
Precinct 22, Edgewater No. 1 [5] (incl. part of Edgewater town)	1,119	[5] 1,520	−401	−26.4
Precinct 23, Berkeley (incl. Lakeside and Mountain View towns)	1,176	964	212	22.0
Precinct 25, Northwest Arvada [6] (incl. part of Arvada town)	658	739	−81	−11.0
Precinct 27, Wheat Ridge [7]	1,094	851	243	28.6
Precinct 28, Edgewater No. 2 [8] (comprising part of Edgewater town)	991	1,000	−9	−0.9
Precinct 29, Mount Air [9]	1,341	[9] 1,398	−57	−4.1
Precinct 30, Griffith [10]	667	961	−294	−30.6
Precinct 31, Columbia Heights [11]	1,159	951	208	21.9
Precinct 32, Pleasant View	870	469	401	85.5
Precinct 33, Daniels [12]	1,251	451	800	177.4
Precinct 34, Bancroft	1,020	523	497	95.0
Precinct 35, Pioneer	821	(13)		
Precinct 36, Divinner	1,290	(14)		
Precinct 37, Golf Club	1,251	(9)		
Precinct 38, Southwest Arvada (incl. part of Arvada town)	685	(15)		
Precinct 39, North Lakewood	834	(16)		

[1] Not included in metropolitan district in 1930 (population 540 in 1930).
[2] Arapahoe County redistricted in 1930 and again in 1940; comparative figures for the precincts cannot be shown. Precinct names abolished in 1940. Redistricting resulted in a slight net increase in the area of the metropolitan district.
[3] Part taken to form part of precinct 35, and part of precinct 30 annexed, in 1930.
[4] Name changed from Lakewood (No. 1) in 1938; parts taken to form precinct 36 in 1930, and part of precinct 39 in 1938; part of precinct 28 annexed in 1930.
[5] Part taken to form part of precinct 39 in 1938; total for 1930 includes population (370) of Jewish Consumptives Relief Society, now in precinct 37, but returned in 1930 as in precinct 22.
[6] Part taken to form part of precinct 38 in 1930.
[7] Part taken to form part of precinct 35, and part of precinct 31 annexed, in 1930.
[8] Part annexed to precinct 20 in 1930; part taken to form part of precinct 39 in 1938.
[9] Part of precinct 29, including population (370) of Jewish Consumptives Relief Society, taken to form precinct 37 in 1930.
[10] Name changed from Southwest Arvada; part taken to form part of precinct 38, and part annexed to precinct 2, in 1930.
[11] Part annexed to precinct 27 in 1930; part taken to form part of precinct 39 in 1938.
[12] Name changed from Lakewood No. 2 in 1938.
[13] Organized from parts of precincts 2 and 27 in 1930.
[14] Organized from part of precinct 20 in 1930.
[15] Organized in 1930 from part of precinct 25 and that part of 30 comprising part of Arvada town.
[16] Organized from parts of precincts 20, 22, 28, and 31 in 1938.

Table 7–A shows the population of the Pueblo metropolitan district and its constituent political units in 1940, when it was defined for the first time. In 1940 the Pueblo metropolitan district had 62,039 inhabitants. Comparative figures for 1930 are not available because of the redistricting of the county into new minor civil divisions.

TABLE 7-A.—POPULATION OF THE PUEBLO METROPOLITAN DISTRICT: 1940

[This area was not defined as a metropolitan district in 1930. Comparative figures for 1930 are not available]

AREA	Population
The metropolitan district	62,039
Pueblo city	52,162
Outside city	9,877
Unincorporated areas	9,877
District includes following minor civil divisions (election precincts):	
In Pueblo County	62,039
Precinct 1 (part,[1] incl. part of Pueblo city)	1,230
Precinct 2 (incl. part of Pueblo city)	1,352
Precinct 3 (incl. part of Pueblo city)	905
Precinct 4 (incl. part of Pueblo city)	1,157
Precinct 5 (incl. part of Pueblo city)	5,832
Precinct 6 (incl. part of Pueblo city)	1,355
Precinct 7 (incl. part of Pueblo city)	1,628
Precinct 8 (comprising part of Pueblo city)	1,046
Precinct 9 (part,[2] incl. part of Pueblo city)	1,289
Precinct 10 (incl. part of Pueblo city)	785
Precinct 11 (comprising part of Pueblo city)	1,171
Precinct 12 (incl. part of Pueblo city)	1,748
Precinct 13 (comprising part of Pueblo city)	1,101
Precinct 14 (part, comprising part of Pueblo city)	1,236
Precinct 15 (comprising part of Pueblo city)	818
Precinct 16 (incl. part of Pueblo city)	2,004
Precinct 17 (comprising part of Pueblo city)	1,075
Precinct 18 (incl. part of Pueblo city)	1,352
Precinct 19 (incl. part of Pueblo city)	1,222
Precinct 20 (comprising part of Pueblo city)	963
In Pueblo County—Continued.	
Precinct 21 (incl. part of Pueblo city)	1,694
Precinct 22 (comprising part of Pueblo city)	1,350
Precinct 23 (incl. part of Pueblo city)	1,240
Precinct 24 (comprising part of Pueblo city)	753
Precinct 25 (comprising part of Pueblo city)	745
Precinct 26 (comprising part of Pueblo city)	2,110
Precinct 27 (comprising part of Pueblo city)	1,049
Precinct 28 (comprising part of Pueblo city)	1,519
Precinct 29 (comprising part of Pueblo city)	1,128
Precinct 30 (comprising part of Pueblo city)	1,908
Precinct 31 (comprising part of Pueblo city)	1,592
Precinct 32 (comprising part of Pueblo city)	1,149
Precinct 33 (comprising part of Pueblo city)	1,025
Precinct 34 (part, comprising part of Pueblo city)	1,018
Precinct 35 (part, comprising part of Pueblo city)	1,308
Precinct 36 (comprising part of Pueblo city)	907
Precinct 37 (incl. part of Pueblo city)	694
Precinct 38 (comprising part of Pueblo city)	956
Precinct 39 (comprising part of Pueblo city)	962
Precinct 40 (comprising part of Pueblo city)	1,073
Precinct 41 (comprising part of Pueblo city)	805
Precinct 112	1,923
Precinct 113	1,301
Precinct 115	1,294
Precinct 117	1,066
Precinct 124	1,195
Precinct 125	1,006

[1] That part of precinct 1 in the metropolitan district, but outside Pueblo city, comprises that part of precinct 1 surrounded by Pueblo city limits.

[2] That part of precinct 9 in the metropolitan district, but outside Pueblo city, comprises that part of Colorado State Hospital for the Insane in precinct 9 (no population).

Census tracts.—Census tracts are small areas into which certain large cities are subdivided, for statistical and local administrative purposes, through cooperation with a local committee in each case. The tracts are permanently established, so that comparisons may be made from census to census; they are laid out with a view to approximate uniformity in population and with some regard for uniformity in area; and each is designed to include an area fairly homogeneous in population characteristics. In table 8 the 1940 population of Denver is shown by census tracts. Since these tracts were not established until after 1930, there are no comparative figures for earlier censuses. The census tracts for Denver are shown on the accompanying map.

TABLE 8.—POPULATION OF DENVER BY CENSUS TRACTS: 1940

TRACT	Population	TRACT	Population
The city	322,412	Tract 22	6,289
		Tract 23	7,889
Tract 1	6,966	Tract 24	10,273
Tract 2	2,909	Tract 25	3,459
Tract 3	14,309	Tract 26	12,458
Tract 4	9,701	Tract 27	17,365
Tract 5	3,464	Tract 28	11,743
Tract 6	6,857	Tract 29	12,311
Tract 7	4,294	Tract 30	13,820
Tract 8	3,672	Tract 31	11,529
Tract 9	4,752	Tract 32	8,372
Tract 10	4,790	Tract 33	3,942
Tract 11	11,785	Tract 34	8,847
Tract 12	4,613	Tract 35	4,687
Tract 13	1,947	Tract 36	12,482
Tract 14	3,612	Tract 37	11,745
Tract 15	4,605	Tract 38	3,511
Tract 16	4,626	Tract 39	3,254
Tract 17	11,752	Tract 40	2,582
Tract 18	4,067	Tract 41	2,493
Tract 19	7,816	Tract 42	11,301
Tract 20	5,660	Tract 43	8,065
Tract 21	7,378	Tract 44	4,420

DENVER BY CENSUS TRACTS

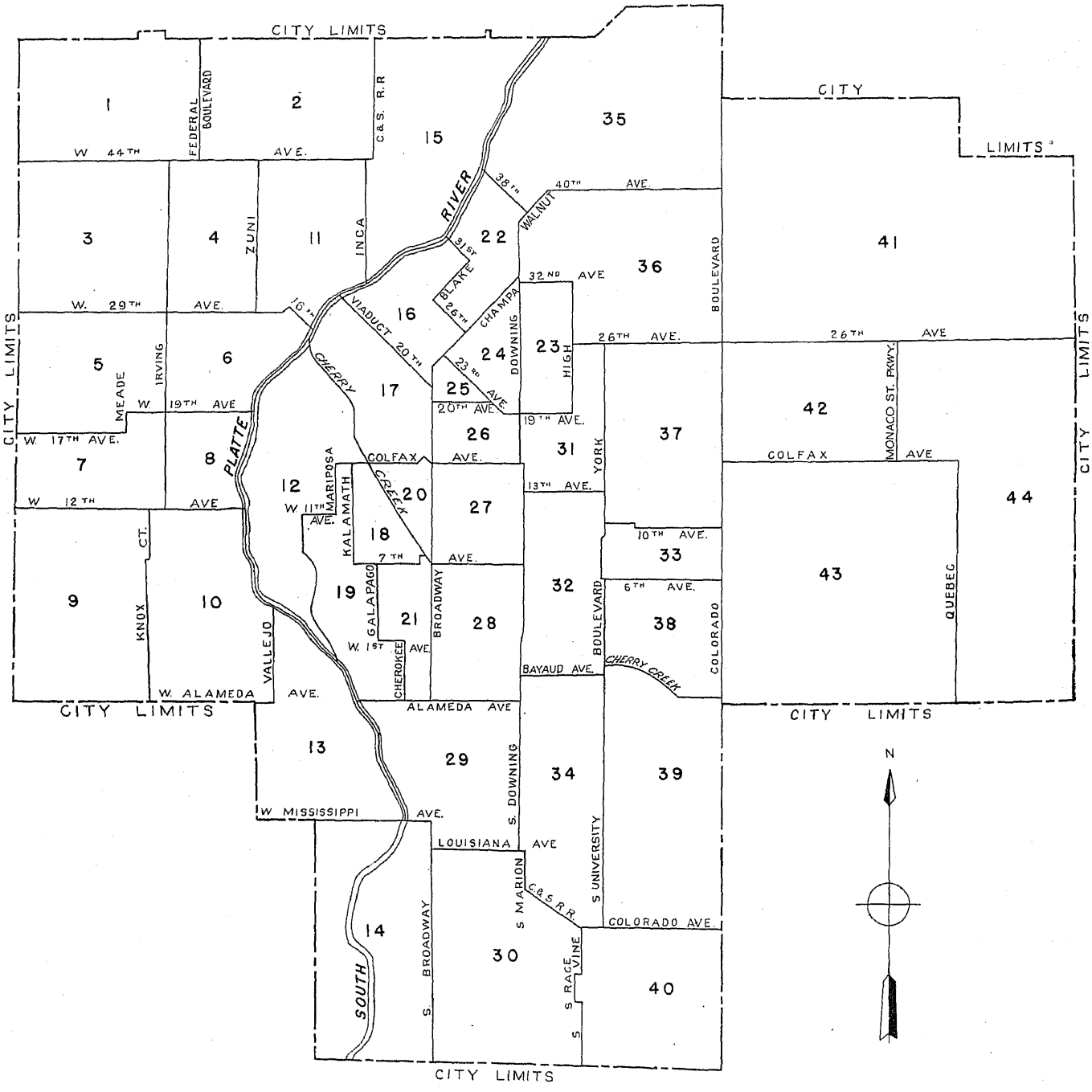

DENVER METROPOLITAN DISTRICT

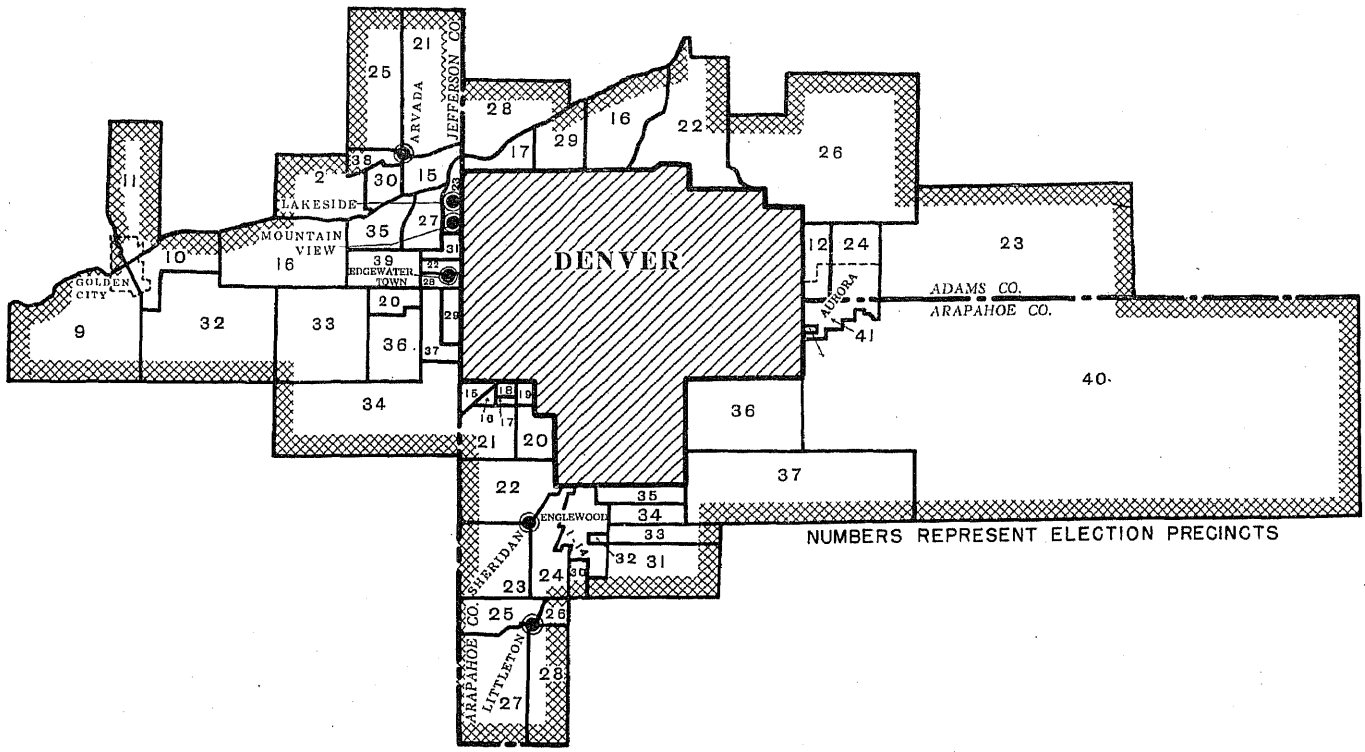

PUEBLO METROPOLITAN DISTRICT

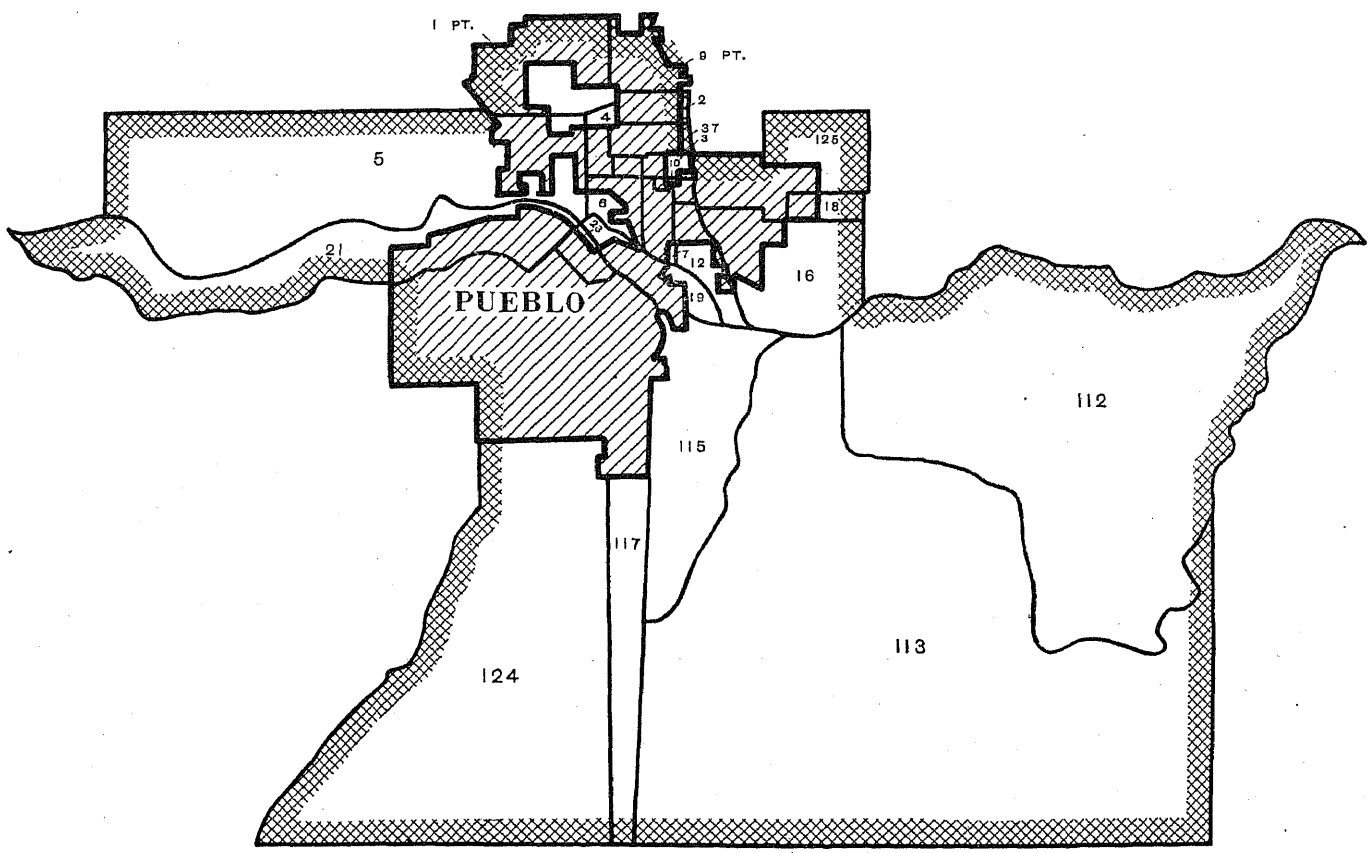

CONNECTICUT

CONTENTS

	Page
MAP.—Connecticut by minor civil divisions	178
DIAGRAM.—Urban and rural population of Connecticut: 1790 to 1940	179

TABLES

TABLE 1.—Population of Connecticut, urban and rural: 1790 to 1940	179
TABLE 2.—Population of incorporated places of 10,000 or more from earliest census to 1940	180
TABLE 3.—Area and population of counties, urban and rural: 1920 to 1940	181
TABLE 4.—Population of counties by minor civil divisions: 1920 to 1940	181
TABLE 5.—Population of incorporated and urban places: 1940 and 1930	182
TABLE 6.—Population of incorporated places of 5,000 or more by wards: 1940	183
TABLE 7.—Population of the Bridgeport metropolitan district: 1940 and 1930	183
TABLE 7–A.—Population of the Hartford-New Britain metropolitan district: 1940 and 1930	184
TABLE 7–B.—Population of the New Haven metropolitan district: 1940 and 1930	184
TABLE 7–C.—Population of the Waterbury metropolitan district: 1940 and 1930	185
TABLE 8.—Population of Hartford and adjacent areas by census tracts: 1940	185
TABLE 8–A.—Population of New Haven by census tracts: 1940 and 1930	185

MAPS FOR CENSUS TRACTS AND METROPOLITAN DISTRICTS

CENSUS TRACTS	Page
Hartford and adjacent areas	186
New Haven	188

METROPOLITAN DISTRICTS	Page
Bridgeport	189
Hartford-New Britain	189
New Haven	190
Waterbury	190

CONNECTICUT

MINOR CIVIL DIVISIONS—TOWNS, CITIES, AND BOROUGHS

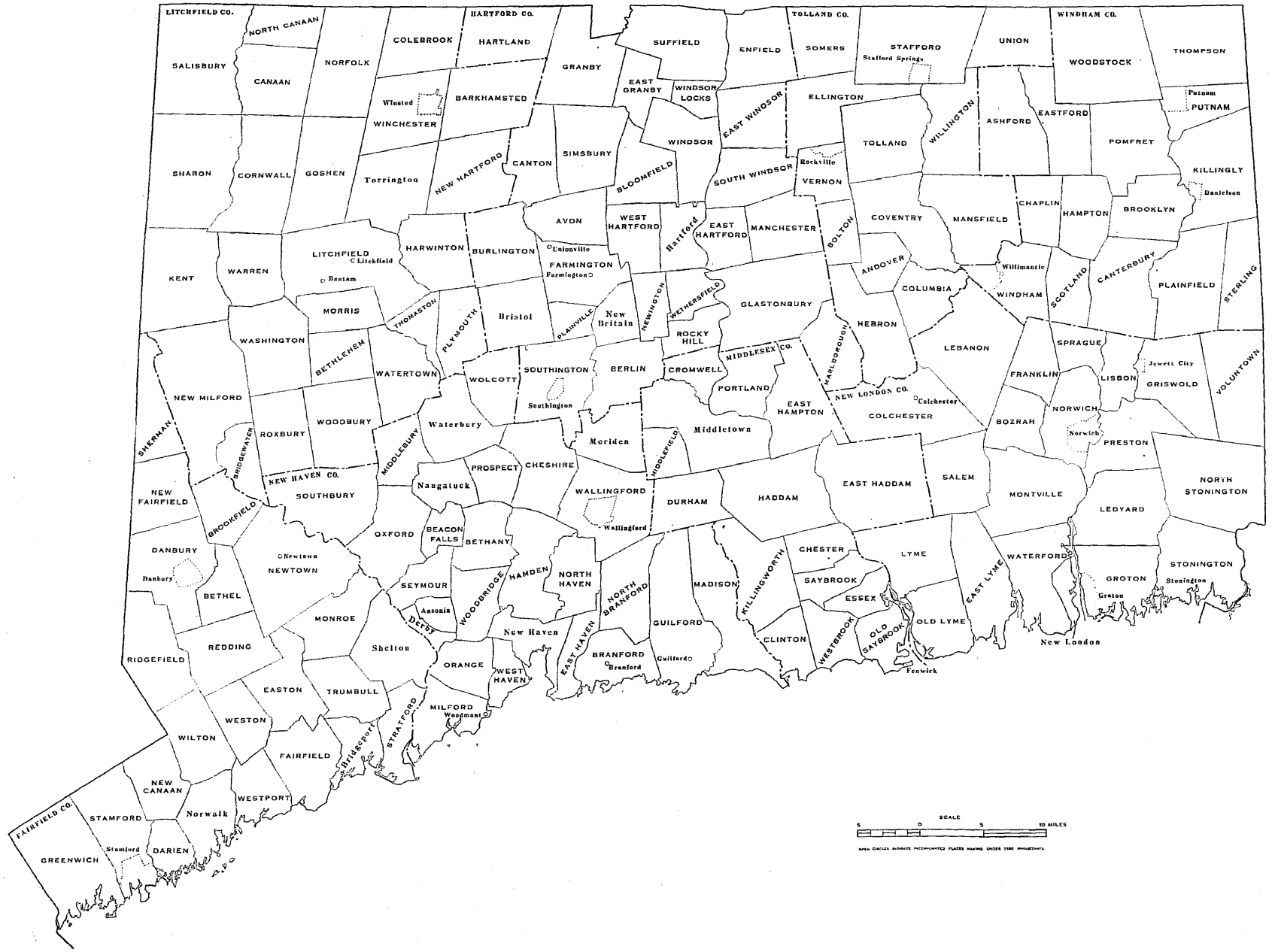

CONNECTICUT

NUMBER OF INHABITANTS

Population of the State.—Connecticut was one of the Thirteen Original States. Its population on April 1, 1940, according to the Sixteenth Census, was 1,709,242, which represents an increase of 102,339, or 6.4 percent, as compared with the population on April 1, 1930. The total land area of the State, as shown in table 3, is 4,899 square miles. The average number of inhabitants per square mile in 1940 was 348.9, as compared with 328.0 in 1930.

Table 1 shows the population of Connecticut from 1790, the year of the first Federal census, to 1940, together with the increase during each decade. The urban and rural population of the State at each census is presented in this table and is also shown graphically in the accompanying chart. The urban population of Connecticut, as defined by the Census Bureau, consists mainly of those persons living in incorporated places of 2,500 or more. It also includes the population of four towns (not incorporated as municipalities nor containing any areas so incorporated) that had a total population of 10,000 or more and a population density of 1,000 or more per square mile. The remainder of the population is classified as rural. The urban and rural areas are not necessarily constant from one census to the next, since new places are added to the urban list from time to time as they meet the requirements. Places are likewise taken off the urban list when, through decline in population, they no longer meet the requirements.

TABLE 1.—POPULATION OF CONNECTICUT, URBAN AND RURAL: 1790 TO 1940

[Urban-rural classification in accordance with 1940 definitions. A minus sign (—) denotes decrease]

CENSUS YEAR	THE STATE			URBAN PLACES				RURAL TERRITORY			PERCENT OF TOTAL	
	Population	Increase over preceding census		Number of places	Population	Increase over preceding census		Population	Increase over preceding census		Urban	Rural
		Number	Percent			Number	Percent		Number	Percent		
1940	1,709,242	102,339	6.4	32	1,158,162	26,392	2.3	551,080	75,947	16.0	67.8	32.2
1930	1,606,903	226,272	16.4	33	1,131,770	195,431	20.9	475,133	30,841	6.9	70.4	29.6
1920	1,380,631	265,875	23.9	30	936,339	204,542	28.0	444,292	61,333	16.0	67.8	32.2
1910	1,114,756	206,336	22.7	32	731,797	188,042	34.6	382,959	18,294	5.0	65.6	34.4
1900	908,420	162,162	21.7	28	543,755	163,902	43.1	364,665	−1,740	−0.5	59.9	40.1
1890	746,258	123,558	19.8	21	379,853	119,135	45.7	366,405	4,423	1.2	50.9	49.1
1880	622,700	85,246	15.9	20	260,718	83,565	47.2	361,982	1,681	0.5	41.9	58.1
1870	537,454	77,307	16.8	11	177,153	55,032	45.1	360,301	22,275	6.6	33.0	67.0
1860	460,147	89,355	24.1	8	122,121	62,800	105.9	338,026	26,555	8.5	26.5	73.5
1850	370,792	60,814	19.6	6	59,321	20,369	52.3	311,471	40,445	14.9	16.0	84.0
1840	309,978	12,303	4.1	6	38,952	11,105	39.9	271,026	1,198	0.4	12.6	87.4
1830	297,675	22,427	8.1	5	27,847	7,043	33.9	269,828	15,384	6.0	9.4	90.6
1820	275,248	13,306	5.1	5	20,804	4,863	30.5	254,444	8,443	3.4	7.6	92.4
1810	261,942	10,940	4.4	4	15,941	3,219	25.3	246,001	7,721	3.2	6.1	93.9
1800	251,002	13,056	5.5	3	12,722	5,552	77.4	238,280	7,504	3.3	5.1	94.9
1790	237,946			2	7,170			230,776			3.0	97.0

URBAN AND RURAL POPULATION OF CONNECTICUT: 1790 TO 1940

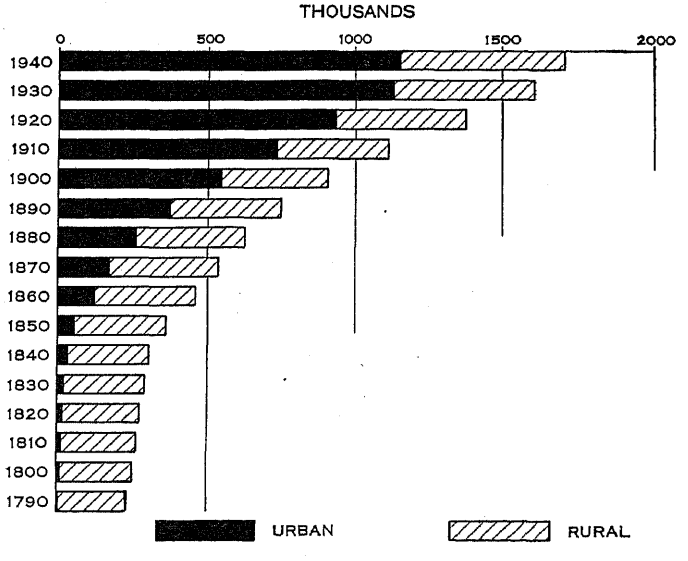

Geographic subdivisions.—In tables 2 to 5 the population of Connecticut is shown by counties, towns, cities, and boroughs, with some comparative figures from previous censuses. Table 6 gives the population of incorporated places by wards. Data for the metropolitan districts are presented in tables 7 to 7–C and for the census tracts of Hartford and its adjacent areas, and of New Haven in tables 8 and 8–A, respectively.

Incorporated places of 10,000 or more.—There are 20 incorporated places in the State that had a population of 10,000 or more in 1940. Table 2 shows the population of these incorporated places at each census for which figures are available, together with the increase or decrease during each decade. Hartford, the capital and largest city, had a population in 1940 of 166,267.

TABLE 2.—POPULATION OF INCORPORATED PLACES OF 10,000 OR MORE FROM EARLIEST CENSUS TO 1940

[A minus sign (−) denotes decrease. Percent not shown where less than 0.1]

CITY OR BOROUGH AND CENSUS YEAR	Population	INCREASE OVER PRECEDING CENSUS	
		Number	Percent
Ansonia city:			
1940	19,210	−688	−3.5
1930	19,898	2,255	12.8
1920	17,643	2,491	16.4
1910	15,152	2,471	19.5
1900	12,681	2,339	22.6
1890	[1] 10,342	6,487	168.3
1880	3,855	1,106	40.2
1870	2,749	-------	-------
Bridgeport city:			
1940	147,121	405	0.3
1930	146,716	3,161	2.2
1920	143,555	41,501	40.7
1910	102,054	31,058	43.7
1900	70,996	22,130	45.3
1890	48,866	21,223	76.8
1880	27,643	8,674	45.7
1870	18,969	6,863	56.7
1860	[1] 12,106	6,026	99.1
1850	[1] 6,080	2,786	84.6
1840	3,294	-------	-------
Bristol city:			
1940	30,167	1,716	6.0
1930	28,451	7,831	38.0
1920	20,620	11,093	116.4
1910	9,527	3,259	52.0
1900	6,268	-------	-------
Danbury city:			
1940	22,339	78	0.4
1930	22,261	3,318	17.5
1920	18,943	−1,291	−6.4
1910	20,234	3,697	22.4
1900	16,537	−15	−0.1
1890	16,552	7,290	78.7
1880	[2] 9,262	2,720	41.6
1870	6,542	2,060	46.0
1860	[1] 4,482	-------	-------
Derby city:			
1940	10,287	−501	−4.6
1930	10,788	−450	−4.0
1920	11,238	2,247	25.0
1910	8,991	1,061	13.4
1900	7,930	3,517	79.7
1890	[2] 4,413	1,387	45.8
1880	[2] 3,026	-------	-------
Hartford city:			
1940	166,267	2,195	1.3
1930	164,072	26,036	18.9
1920	138,036	39,121	39.6
1910	98,915	19,065	23.9
1900	79,850	26,620	50.0
1890	53,230	11,215	26.7
1880	42,015	4,835	13.0
1870	37,180	10,263	38.1
1860	[1] 26,917	13,362	98.6
1850	[1] 13,555	4,087	43.2
1840	9,468	2,394	33.8
1830	7,074	2,348	49.7
1820	4,726	771	19.5
1810	3,955	432	12.3
1800	[2] 3,523	840	31.3
1790	[2] 2,683	-------	-------
Meriden city:			
1940	39,494	1,013	2.6
1930	38,481	8,614	28.8
1920	29,867	2,602	9.5
1910	27,265	2,969	12.2
1900	24,296	2,644	12.2
1890	21,652	6,112	39.3
1880	15,540	6,647	74.7
1870	[2] 8,893	-------	-------
Middletown city:			
1940	26,495	1,941	7.9
1930	24,554	10,916	80.0
1920	13,638	1,787	15.1
1910	11,851	2,262	23.6
1900	9,589	576	6.4
1890	9,013	2,187	32.0
1880	6,826	−97	−1.4
1870	6,923	1,741	33.6
1860	5,182	971	23.1
1850	4,211	700	19.9
1840	3,511	388	12.4
1830	[2] 3,123	505	19.3
1820	2,618	604	30.0
1810	2,014	-------	-------
Naugatuck borough:			
1940	15,388	1,073	7.5
1930	14,315	−736	−4.9
1920	15,051	2,329	18.3
1910	12,722	2,181	20.7
1900	10,541	-------	-------
New Britain city:			
1940	68,685	557	0.8
1930	68,128	8,812	14.9
1920	59,316	15,400	35.1
1910	43,916	17,918	68.9
1900	25,998	9,479	57.4
1890	16,519	4,719	40.0
1880	11,800	3,798	47.5
1870	[2] 8,002	-------	-------
New Haven city:			
1940	160,605	−2,050	−1.3
1930	162,655	118	0.1
1920	162,537	28,932	21.7
1910	133,605	25,578	23.7
1900	108,027	21,982	25.5
1890	[1] 86,045	23,163	36.8
1880	62,882	12,042	23.7
1870	50,840	11,573	29.5
1860	39,267	18,922	93.0
1850	20,345	7,385	57.0
1840	12,960	2,780	27.3
1830	10,180	3,033	42.4
1820	7,147	1,375	23.8
1810	5,772	1,723	42.6
1800	4,049	−438	−9.8
1790	[1] 4,487	-------	-------
New London city: [4]			
1940	30,456	816	2.8
1930	29,640	3,952	15.4
1920	25,688	6,029	30.7
1910	19,659	2,111	12.0
1900	17,548	3,791	27.6
1890	13,757	3,220	30.6
1880	10,537	961	10.0
1870	9,576	−539	−5.3
1860	10,115	1,124	12.5
1850	8,991	3,472	62.9
1840	5,519	1,184	27.3
1830	4,335	1,005	30.2
1820	3,330	92	2.8
1810	3,238	−1,912	−37.1
1800	5,150	-------	-------
Norwalk city: [4]			
1940	39,849	3,830	10.6
1930	36,019	8,276	29.8
1920	27,743	20,789	299.0
1910	6,954	829	13.5
1900	6,125	299	5.1
Norwalk city—Continued.			
1890	[2] 5,826	518	9.8
1880	5,308	-------	-------
Norwich city:			
1940	23,052	631	2.7
1930	23,021	717	3.2
1920	22,304	1,937	9.5
1910	20,367	3,116	18.1
1900	17,251	1,095	6.8
1890	16,156	1,044	6.9
1880	15,112	−1,541	−9.3
1870	16,653	2,605	18.5
1860	14,048	7,909	128.8
1850	6,139	1,939	46.2
1840	4,200	1,065	34.0
1830	3,135	152	5.1
1820	2,983	7	0.2
1810	2,976	-------	-------
Shelton city:			
1940	10,971	858	8.5
1930	10,113	638	6.7
1920	9,475	4,668	97.1
1910	4,807	1,970	69.4
1900	2,837	885	45.3
1890	1,952	-------	-------
Stamford city:			
1940	47,938	1,592	3.4
1930	46,346	11,250	32.1
1920	35,096	9,958	39.6
1910	25,138	9,141	57.1
1900	15,997	5,601	53.9
1890	[3] 10,396	7,856	309.3
1880	2,540	-------	-------
Torrington city:			
1940	26,988	948	3.6
1930	26,040	5,417	26.3
1920	20,623	5,140	33.2
1910	15,483	7,123	85.2
1900	8,360	4,077	95.2
1890	4,283	-------	-------
Wallingford borough:			
1940	11,425	255	2.3
1930	11,170	1,522	15.8
1920	9,648	958	11.0
1910	8,690	1,953	29.0
1900	6,737	2,507	59.3
1890	4,230	1,213	40.2
1880	3,017	-------	-------
Waterbury city:			
1940	99,314	−588	−0.6
1930	99,902	8,187	8.9
1920	91,715	18,574	25.4
1910	73,141	27,282	59.5
1900	45,859	17,213	60.1
1890	28,646	10,840	60.9
1880	17,806	6,980	64.5
1870	10,826	822	8.2
1860	[1] 10,004	-------	-------
Willimantic city:			
1940	12,101	−1	-------
1930	12,102	−228	−1.8
1920	12,330	1,100	9.8
1910	11,230	2,293	25.7
1900	8,937	289	3.3
1890	8,648	2,040	30.9
1880	6,608	-------	-------

[1] Corrected since publication of vol. I, 1930.
[2] Estimated.
[3] Figures are for Birmingham borough.
[4] Norwalk and South Norwalk cities consolicated as Norwalk City between 1910 and 1920.

Counties.—Table 3 shows the population of the eight counties of Connecticut from 1920 to 1940, together with the land area of each county and its population per square mile in 1940. The land areas given here are the result of new measurements recently compiled and differ somewhat from those published in earlier census reports. All eight of these counties increased in population between 1930 and 1940. No new counties have been organized, and there have been no changes in county boundaries since the census of 1930. This table also presents the urban and rural population of each county for 1940 and 1930.

TABLE 3.—AREA AND POPULATION OF COUNTIES, URBAN AND RURAL: 1920 TO 1940

COUNTY	Land area in square miles, 1940	TOTAL POPULATION						URBAN POPULATION			RURAL POPULATION			PERCENT URBAN	
		1940		1930	1920	Percent of increase		1940	1930	Percent of increase	1940	1930	Percent of increase	1940	1930
		Total	Per square mile			1930 to 1940	1920 to 1930								
Connecticut	4,899	1,709,242	348.9	1,606,903	1,380,631	6.4	16.4	1,158,162	1,131,770	2.3	551,080	475,133	16.0	67.8	70.4
Fairfield	633	418,384	661.0	386,702	320,936	8.2	20.5	290,798	286,648	1.4	127,586	100,054	27.5	69.5	74.1
Hartford	741	450,189	607.5	421,097	336,027	6.9	25.3	322,598	307,842	4.8	127,591	113,255	12.7	71.7	73.1
Litchfield	938	87,041	92.8	82,556	76,262	5.4	8.3	34,662	33,923	2.2	52,379	48,633	7.7	39.8	41.1
Middlesex	374	55,999	149.7	51,388	47,550	9.0	8.1	26,495	24,554	7.9	29,504	26,834	10.0	47.3	47.8
New Haven	609	484,316	795.3	463,449	415,214	4.5	11.6	385,744	383,017	0.7	98,572	80,432	22.6	79.6	82.6
New London	672	125,224	186.3	118,966	104,611	5.3	13.7	62,509	61,219	2.1	62,715	57,747	8.6	49.9	51.5
Tolland	416	31,866	76.6	28,659	27,216	11.2	5.3	10,973	10,937	0.3	20,893	17,722	17.9	34.4	38.2
Windham	516	56,223	109.0	54,086	52,815	4.0	2.4	24,383	23,630	3.2	31,840	30,456	4.5	43.4	43.7

Minor civil divisions.—To the primary political divisions into which the counties are subdivided the Census Bureau applies the general term "minor civil divisions." The primary divisions of the counties in Connecticut are the towns. The incorporated cities and boroughs in some cases form secondary subdivisions of the minor civil divisions in which they are located and in other cases are coextensive with them. There are 21 cities and 17 boroughs. Ordinarily, each of these secondary divisions forms a part of some town. Fourteen cities and one borough are coextensive with the towns in which they are located.

Table 4 shows the population of each county by towns, cities, and boroughs for the last three censuses. The population of the cities and boroughs is shown in *italics* under the population of the primary divisions in which the places are respectively located.

TABLE 4.—POPULATION OF COUNTIES BY MINOR CIVIL DIVISIONS: 1920 TO 1940

[For changes in boundaries, etc., between 1930 and 1940, see footnotes; for those between 1920 and 1930, see Reports of the Fifteenth Census (1930), vol. I, pp. 176, 177]

MINOR CIVIL DIVISION	1940	1930	1920
Fairfield County	418,384	386,702	320,936
Bethel town	4,105	3,886	3,201
Bridgeport town	147,121	146,716	143,555
Bridgeport city	*147,121*	*146,716*	*143,555*
Brookfield town	1,345	926	896
Danbury town	27,921	26,955	22,325
Danbury city	*22,339*	*22,261*	*18,943*
Darien town	9,222	6,951	4,184
Easton town	1,262	1,013	1,017
Fairfield town	21,135	17,218	11,475
Greenwich town	35,509	33,112	22,123
Monroe town	1,728	1,221	1,161
New Canaan town	6,221	5,456	3,895
New Fairfield town	608	434	468
Newtown town	4,023	2,635	2,751
Newtown borough	*603*	*432*	*426*
Norwalk town	39,849	36,019	27,743
Norwalk city	*33,849*	*36,019*	*27,743*
Redding town	1,758	1,599	1,315
Ridgefield town	3,900	3,580	2,707
Shelton town	10,971	10,113	9,475
Shelton city	*10,971*	*10,113*	*9,475*
Sherman town	477	391	533
Stamford town	61,215	56,765	40,067
Stamford city	*47,938*	*46,346*	*35,096*
Stratford town	22,580	19,212	12,347
Trumbull town	5,294	3,624	2,597
Weston town	1,053	670	703
Westport town	8,258	6,073	5,114
Wilton town	2,829	2,133	1,284
Hartford County	450,189	421,097	336,027
Avon town	2,258	1,738	1,534
Berlin town	5,230	4,875	4,298
Bloomfield town [1]	4,309	3,247	2,394
Bristol town	30,167	28,451	20,620
Bristol city	*30,167*	*28,451*	*20,620*
Burlington town	1,246	1,082	1,109
Canton town	2,769	2,397	2,549
East Granby town	1,225	1,003	1,056
East Hartford town	18,615	17,125	11,648
East Windsor town	3,967	3,815	3,741
Enfield town	13,561	13,404	11,719
Farmington town	5,313	4,548	3,844
Farmington borough	*1,523*	*1,131*	*1,021*
Unionville borough	*2,084*	*2,155*	-------
Glastonbury town	6,632	5,783	5,592
Granby town	1,544	1,388	1,342
Hartford town	166,267	164,072	138,036
Hartford city [1]	*166,267*	*164,072*	*138,036*
Hartland town	300	296	448
Manchester town	23,799	21,973	18,370
Marlborough town	476	319	303
New Britain town	68,685	68,128	59,316
New Britain city	*68,685*	*68,128*	*59,316*
Newington town	5,449	4,572	2,381
Plainville town	6,935	6,301	4,114
Rocky Hill town	2,679	2,021	1,633
Simsbury town	3,941	3,625	2,958
Southington town	9,649	9,237	8,440
Southington borough	*5,088*	*5,125*	*5,085*
Hartford County—Con.			
South Windsor town	2,863	2,535	2,142
Suffield town	4,475	4,346	4,070
West Hartford town [1]	33,776	24,941	8,854
Wethersfield town	9,644	7,512	4,342
Windsor town	10,068	8,290	5,620
Windsor Locks town	4,347	4,073	3,554
Litchfield County	87,041	82,556	76,262
Barkhamsted town	724	697	719
Bethlehem town	715	544	536
Bridgewater town	537	432	481
Canaan town	555	565	561
Colebrook town	547	564	492
Cornwall town	907	878	834
Goshen town	778	683	675
Harwinton town	1,112	949	2,020
Kent town	1,245	1,054	1,086
Litchfield town	4,029	3,574	3,180
Bantam borough	*564*	*546*	*608*
Litchfield borough	*1,234*	*1,075*	*707*
Morris town	606	481	499
New Hartford town	1,836	1,834	1,781
New Milford town	5,559	4,700	4,781
Norfolk town	1,333	1,298	1,229
North Canaan town	2,304	2,287	1,933
Plymouth town	6,043	6,070	5,942
Roxbury town	660	553	647
Salisbury town	3,030	2,767	2,497
Sharon town	1,611	1,710	1,585

[1] HARTFORD.—Parts of Bloomfield and West Hartford towns annexed to Hartford city in 1939.

TABLE 4.—POPULATION OF COUNTIES BY MINOR CIVIL DIVISIONS: 1920 TO 1940—Continued

MINOR CIVIL DIVISION	1940	1930	1920
Litchfield County—Con.			
Thomaston town	4,238	4,188	3,993
Torrington town	26,988	26,040	22,055
Torrington city	*26,988*	*26,040*	*20,623*
Warren town	328	303	350
Washington town	2,089	1,775	1,619
Watertown town	8,787	8,192	6,050
Winchester town	8,482	8,674	9,019
Winsted city	*7,674*	*7,883*	*8,248*
Woodbury town	1,998	1,744	1,698
Middlesex County	55,999	51,388	47,550
Chester town	1,676	1,463	1,675
Clinton town	1,791	1,574	1,217
Cromwell town	3,281	2,814	2,454
Durham town	1,098	1,044	959
East Haddam town	2,217	2,114	2,312
East Hampton town	2,955	2,616	2,394
Essex town	2,859	2,777	2,815
Haddam town	2,069	1,755	1,736
Killingworth town	531	482	531
Middlefield town	1,230	1,204	1,047
Middletown town	26,495	24,554	22,129
Middletown city	*26,495*	*24,554*	*18,688*
Old Saybrook town	1,985	1,643	1,463
Fenwick borough [2]	-------	*6*	*13*
Portland town	4,321	3,930	3,644
Saybrook town	2,332	2,381	2,325
Westbrook town	1,159	1,037	849
New Haven County	484,316	463,449	415,214
Ansonia town	19,210	19,898	17,643
Ansonia city	*19,210*	*19,898*	*17,643*
Beacon Falls town	1,756	1,693	1,593
Bethany town	706	480	411
Branford town	8,060	7,022	6,627
Branford borough	*2,235*	*2,365*	*2,619*
Cheshire town	4,352	3,263	2,855
Derby town	10,287	10,788	11,238
Derby city	*10,287*	*10,788*	*11,238*
East Haven town	9,094	7,815	3,520
Guilford town	3,544	3,117	2,803
Guilford borough	*1,986*	*1,880*	*1,612*
Hamden town	23,373	19,020	8,611
Madison town	2,245	1,918	1,857
New Haven County—Con.			
Meriden town	39,494	38,481	34,764
Meriden city	*39,494*	*38,481*	*29,867*
Middlebury town	2,173	1,449	1,067
Milford town	16,439	12,660	10,193
Woodmont borough	*748*	*631*	*220*
Naugatuck town	15,388	14,315	15,051
Naugatuck borough	*15,388*	*14,315*	*15,051*
New Haven town	160,605	162,655	162,537
New Haven city	*160,605*	*162,655*	*162,537*
North Branford town	1,438	1,329	1,110
North Haven town	5,326	3,730	1,968
Orange town	2,009	1,530	16,614
Oxford town	1,375	1,141	998
Prospect town	1,006	531	266
Seymour town	6,754	6,890	6,781
Southbury town	1,532	1,134	1,093
Wallingford town	14,788	14,278	12,010
Wallingford borough	*11,425*	*11,170*	*9,648*
Waterbury town	99,314	99,902	91,715
Waterbury city	*99,314*	*99,902*	*91,715*
West Haven town	30,021	25,808	-------
Wolcott town	1,765	972	719
Woodbridge town	2,262	1,630	1,170
New London County	125,224	118,966	104,611
Bozrah town	904	859	858
Colchester town	2,338	2,134	2,050
Colchester borough	*1,234*	*987*	*913*
East Lyme town	3,338	2,575	2,291
Franklin town	667	611	552
Griswold town	5,343	6,010	4,220
Jewett City borough	*3,682*	*4,436*	*3,196*
Groton town [3]	10,910	10,770	9,227
Groton borough [3]	*4,719*	*4,122*	*4,226*
Lebanon town	1,467	1,436	1,343
Ledyard town	1,426	1,144	1,161
Lisbon town	1,131	1,097	867
Lyme town	717	546	674
Montville town	4,135	3,970	3,411
New London town	30,456	29,640	25,688
New London city	*30,456*	*29,640*	*25,688*
North Stonington town	1,236	1,135	1,144
Norwich town	34,140	32,438	29,685
Norwich city	*23,652*	*23,021*	*22,304*
Old Lyme town	1,702	1,313	946
New London County—Con.			
Preston town	4,206	3,928	2,743
Salem town	504	403	424
Sprague town	2,285	2,539	2,500
Stonington town	11,002	11,025	10,236
Stonington borough	*1,826*	*2,006*	*2,100*
Voluntown town	723	651	655
Waterford town	6,594	4,742	3,935
Tolland County	31,866	28,659	27,216
Andover town	560	430	389
Bolton town	728	504	448
Columbia town	853	648	706
Coventry town	2,102	1,554	1,582
Ellington town	2,479	2,253	2,127
Hebron town	999	879	915
Mansfield town	4,559	3,349	2,574
Somers town	2,114	1,917	1,673
Stafford town	5,835	5,949	5,407
Stafford Springs borough	*3,401*	*3,492*	*3,383*
Tolland town	1,192	1,064	1,040
Union town	234	196	257
Vernon town	8,978	8,703	8,898
Rockville city	*7,672*	*7,445*	*7,726*
Willington town	1,233	1,213	1,200
Windham County	56,223	54,086	52,815
Ashford town	704	726	673
Brooklyn town	2,403	2,250	1,655
Canterbury town	992	942	896
Chaplin town	489	414	385
Eastford town	496	529	496
Hampton town	535	511	475
Killingly town	9,547	8,852	8,178
Danielson borough	*4,507*	*4,210*	*3,150*
Plainfield town	7,613	8,027	7,926
Pomfret town	1,710	1,617	1,454
Putnam town	8,692	8,099	8,397
Putnam city	*7,775*	*7,818*	*7,711*
Scotland town	478	402	391
Sterling town	1,251	1,233	1,266
Thompson town	5,577	4,999	5,055
Windham town	13,824	13,773	13,801
Willimantic city	*12,101*	*12,102*	*12,330*
Woodstock town	1,912	1,712	1,767

[2] MIDDLESEX.—No population reported in 1940 for Fenwick borough.

[3] NEW LONDON.—Part of Groton town annexed to Groton borough in 1933.

Incorporated and urban places.—Table 5 shows the population in 1940 and 1930 of the incorporated places (cities and boroughs) and the urban towns in Connecticut. In this table the places are arranged in alphabetical order, each followed by the name of the county in which it is located. In table 6 the population of the incorporated places of 5,000 or more that are subdivided into wards is shown by wards. (Bridgeport city is shown by voting districts.)

TABLE 5.—POPULATION OF INCORPORATED AND URBAN PLACES: 1940 AND 1930

[The population of these places in 1920 is given in table 4. Places marked with an asterisk (*) were classified as urban in 1940; those having two asterisks (**) were classified as urban under special rule]

CITY, BOROUGH, OR URBAN TOWN	County	1940	1930
Ansonia*	New Haven	19,210	19,898
Bantam	Litchfield	564	545
Branford	New Haven	2,235	2,365
Bridgeport*	Fairfield	147,121	146,716
Bristol*	Hartford	30,167	28,451
Colchester	New London	1,234	937
Danbury*	Fairfield	22,339	22,261
Danielson*	Windham	4,507	4,210
Derby*	New Haven	10,287	10,788
East Hartford town.**	Hartford	18,615	17,125
Farmington	Hartford	1,323	1,131
Fenwick	Middlesex	(1)	6
Groton*	New London	4,719	4,122
Guilford	New Haven	1,986	1,880
Hartford*	Hartford	166,267	164,072
Jewett City*	New London	3,682	4,436
Litchfield	Litchfield	1,234	1,075
Meriden*	New Haven	39,494	38,481
Middletown*	Middlesex	26,495	24,554
Naugatuck*	New Haven	15,388	14,315
New Britain*	Hartford	68,685	68,128
New Haven*	New Haven	160,605	162,655
New London*	New London	30,456	29,640
Newtown	Fairfield	603	482
Norwalk*	Fairfield	39,849	36,019
Norwich*	New London	23,652	23,021
Putnam*	Windham	7,775	7,318
Rockville*	Tolland	7,572	7,445
Shelton*	Fairfield	10,971	10,113
Southington*	Hartford	5,088	5,125
Stafford Springs*	Tolland	3,401	3,492
Stamford*	Fairfield	47,938	46,346
Stonington	New London	1,826	2,006
Stratford town**	Fairfield	22,580	19,212
Torrington*	Litchfield	26,988	26,040
Unionville	Hartford	2,084	2,135
Wallingford*	New Haven	11,425	11,170
Waterbury*	New Haven	99,314	99,902
West Hartford town.**	Hartford	33,776	24,941
West Haven town.**	New Haven	30,021	25,808
Willimantic*	Windham	12,101	12,102
Winsted*	Litchfield	7,674	7,883
Woodmont	New Haven	748	531

[1] No population reported in 1940.

TABLE 6.—POPULATION OF INCORPORATED PLACES OF 5,000 OR MORE BY WARDS: 1940

CITY OR BOROUGH AND WARD OR VOTING DISTRICT	Population
Ansonia city	**19,210**
Ward 1	3,363
Ward 2	5,000
Ward 3	3,179
Ward 4	4,378
Ward 5	3,290
Bridgeport city	**147,121**
Voting dist. 1	4,279
Voting dist. 2	8,972
Voting dist. 3	13,519
Voting dist. 4	7,311
Voting dist. 5A	7,016
Voting dist. 5B	7,622
Voting dist. 6A	7,500
Voting dist. 6B	14,032
Voting dist. 7	7,054
Voting dist. 8	12,947
Voting dist. 9A	7,564
Voting dist. 9B	9,979
Voting dist. 10	8,927
Voting dist. 11	6,053
Voting dist. 12A	14,001
Voting dist. 12B	10,345
Danbury city	**22,339**
Ward 1	5,411
Ward 2	4,933
Ward 3	6,484
Ward 4	5,511
Derby city	**10,287**
Ward 1	3,670
Ward 2	3,825
Ward 3	2,792
Hartford city	**166,267**
Ward 1	14,727
Ward 2	15,251
Hartford city—Continued.	
Ward 3	14,125
Ward 4	9,363
Ward 5	12,330
Ward 6	6,870
Ward 7	13,529
Ward 8	11,102
Ward 9	14,720
Ward 10	6,740
Ward 11	8,689
Ward 12	11,306
Ward 13	7,389
Ward 14	8,588
Ward 15	11,538
Meriden city	**39,494**
Ward 1	3,812
Ward 2	8,682
Ward 3	8,814
Ward 4	7,462
Ward 5	10,724
Naugatuck borough	**15,388**
Ward 1	5,676
Ward 2	4,164
Ward 3	5,548
New Britain city	**68,685**
Ward 1	9,630
Ward 2	7,610
Ward 3	7,634
Ward 4	6,551
Ward 5	19,339
Ward 6	17,921
New Haven city	**160,605**
Ward 1	1,949
Ward 2	3,973
New Haven city—Continued.	
Ward 3	5,513
Ward 4	5,776
Ward 5	3,936
Ward 6	7,037
Ward 7	7,170
Ward 8	5,049
Ward 9	4,213
Ward 10	4,720
Ward 11	6,251
Ward 12	8,380
Ward 13	4,055
Ward 14	4,016
Ward 15	3,642
Ward 16	5,789
Ward 17	5,865
Ward 18	3,407
Ward 19	5,075
Ward 20	2,494
Ward 21	3,175
Ward 22	4,348
Ward 23	5,027
Ward 24	4,952
Ward 25	7,889
Ward 26	3,657
Ward 27	5,968
Ward 28	5,852
Ward 29	4,848
Ward 30	4,985
Ward 31	3,682
Ward 32	5,340
Ward 33	2,572
New London city	**30,456**
Ward 1	6,629
Ward 2	6,465
Ward 3	4,631
Ward 4	5,080
Ward 5	7,642
Norwalk city	**39,849**
Ward 1	10,066
Ward 2	11,575
Ward 3	5,964
Ward 4	8,185
Ward 5	4,059
Putnam city	**7,775**
Ward 1	1,446
Ward 2	1,874
Ward 3	2,867
Ward 4	1,588
Rockville city	**7,572**
Ward 1	726
Ward 2	1,271
Ward 3	2,915
Ward 4	2,660
Shelton city	**10,971**
Ward 1	3,894
Ward 2	6,188
Ward 3	889
Waterbury city	**99,314**
Ward 1	19,245
Ward 2	21,161
Ward 3	22,104
Ward 4	16,251
Ward 5	20,553
Willimantic city	**12,101**
Ward 1	2,746
Ward 2	4,063
Ward 3	2,831
Ward 4	2,461

NOTE.—Other places of more than 5,000 (Bristol, Middletown, Norwich, Stamford, Torrington, and Winsted cities, and Southington and Wallingford boroughs) have no wards.

Metropolitan districts.—Metropolitan districts have been set up for use in the 1940 Census of Population in connection with each city of 50,000 or more, two or more such cities sometimes being in one district. The general plan is to include in the district, in addition to the central city or cities, all adjacent and contiguous minor civil divisions having a population of 150 or more per square mile. In some metropolitan districts a few less densely populated contiguous divisions are included on the basis of special qualifications. A metropolitan district is thus not a political unit but rather an area including all the thickly settled territory in and around a city or group of cities. It tends to be a more or less integrated area with common economic, social, and, often, administrative interests. The following tables give data for the four metropolitan districts with central cities in Connecticut. Parts of the New York-Northeastern New Jersey and Springfield-Holyoke metropolitan districts are also situated in Connecticut; data for these districts are presented in the bulletins for New York and Massachusetts, respectively.

Table 7 shows the population of the Bridgeport metropolitan district and its constituent political units in 1940 and 1930, together with the increase during the decade. In 1940 the Bridgeport metropolitan district had 216,621 inhabitants, whereas in 1930 the district had a population of 203,969. The metropolitan district in 1940 had exactly the same area as in 1930.

TABLE 7.—POPULATION OF THE BRIDGEPORT METROPOLITAN DISTRICT: 1940 AND 1930

AREA	POPULATION		INCREASE	
	1940	1930	Number	Percent
The metropolitan district	**216,621**	**203,969**	**12,652**	**6.2**
Bridgeport city	147,121	146,716	405	0.3
Outside city	69,500	57,253	12,247	21.4
Incorporated cities	**10,971**	**10,113**	**858**	**8.5**
Shelton city	10,971	10,113	858	8.5
Towns	58,529	47,140	11,389	24.2
District includes following minor civil divisions (towns):				
In Fairfield County	**216,621**	**203,969**	**12,652**	**6.2**
Bridgeport town (comprising Bridgeport city)	147,121	146,716	405	0.3
Easton town	1,262	1,013	249	24.6
Fairfield town	21,135	17,218	3,917	22.7
Shelton town (comprising Shelton city)	10,971	10,113	858	8.5
Stratford town	22,580	19,212	3,368	17.5
Trumbull town	5,294	3,624	1,670	46.1
Westport town	8,258	6,073	2,185	36.0

Table 7–A shows the population of the Hartford-New Britain metropolitan district (called the Hartford metropolitan district in 1930) and its constituent political units in 1940 and 1930, together with the increase or decrease during the decade. In 1940 the Hartford-New Britain metropolitan district had 502,193 inhabitants, whereas in 1930 the district had a population of 471,185. The metropolitan district in 1940 had exactly the same area as in 1930.

TABLE 7.-A.—POPULATION OF THE HARTFORD-NEW BRITAIN METROPOLITAN DISTRICT: 1940 AND 1930

[A minus sign (−) denotes decrease]

AREA	POPULATION		INCREASE	
	1940	1930	Number	Percent
The metropolitan district	**502,193**	**471,185**	**31,008**	**6.6**
In central cities	**234,952**	**[1] 232,200**	**2,752**	**1.2**
Hartford city [2]	166,267	164,072	2,195	1.3
New Britain city [1]	68,685	68,128	557	0.8
Outside central cities	267,241	[1] 238,985	28,256	11.8
Incorporated cities and boroughs	**112,223**	**[1] 107,322**	**4,901**	**4.6**
Bristol city	30,167	28,451	1,716	6.0
Farmington borough	1,323	1,131	192	17.0
Meriden city	39,494	38,481	1,013	2.6
Middletown city	26,495	24,554	1,941	7.9
Rockville city	7,572	7,445	127	1.7
Southington borough	5,088	5,125	−37	−0.7
Unionville borough	2,084	2,135	−51	−2.4
Towns	155,018	131,663	23,355	17.7
District includes following minor civil divisions (towns):				
In Hartford County	**418,394**	**391,499**	**26,895**	**6.9**
Berlin town	5,230	4,875	355	7.3
Bloomfield town [2]	4,309	3,247	1,062	32.7
Bristol town (comprising Bristol city)	30,167	28,451	1,716	6.0
East Hartford town	18,615	17,125	1,490	8.7
East Windsor town	3,967	3,815	152	4.0
Farmington town (incl. Farmington and Unionville boroughs)	5,313	4,548	765	16.8
Glastonbury town	6,632	5,783	849	14.7
Hartford town [2] (comprising Hartford city)	166,267	164,072	2,195	1.3
Manchester town	23,799	21,973	1,826	8.3
New Britain town (comprising New Britain city)	68,685	68,128	557	0.8
Newington town	5,449	4,572	877	19.2
Plainville town	6,935	6,301	634	10.1
Rocky Hill town	2,679	2,021	658	32.6
Southington town (incl. Southington borough)	9,649	9,237	412	4.5
South Windsor town	2,863	2,535	328	12.9
West Hartford town [2]	33,776	24,941	8,835	35.4
Wethersfield town	9,644	7,512	2,132	28.4
Windsor town	10,068	8,290	1,778	21.4
Windsor Locks town	4,347	4,073	274	6.7
In Middlesex County	**35,327**	**32,502**	**2,825**	**8.7**
Cromwell town	3,281	2,814	467	16.6
Middlefield town	1,230	1,204	26	2.2
Middletown town (comprising Middletown city)	26,495	24,554	1,941	7.9
Portland town	4,321	3,930	391	9.9
In New Haven County	**39,494**	**38,481**	**1,013**	**2.6**
Meriden town (comprising Meriden city)	39,494	38,481	1,013	2.6
In Tolland County	**8,978**	**8,703**	**275**	**3.2**
Vernon town (incl. Rockville city)	8,978	8,703	275	3.2

[1] New Britain not designated as a central city in 1930; consequent changes made in indicated subtotals.
[2] Parts of Bloomfield and West Hartford towns annexed to Hartford city in 1939.

Table 7–B shows the population of the New Haven metropolitan district and its constituent political units in 1940 and 1930, together with the increase or decrease during the decade. In 1940 the New Haven metropolitan district had 308,228 inhabitants, whereas in 1930 the district had a population of 293,724. The metropolitan district in 1940 had exactly the same area as in 1930.

TABLE 7–B.—POPULATION OF THE NEW HAVEN METROPOLITAN DISTRICT: 1940 AND 1930

[A minus sign (−) denotes decrease]

AREA	POPULATION		INCREASE	
	1940	1930	Number	Percent
The metropolitan district	**308,228**	**293,724**	**14,504**	**4.9**
New Haven city	160,605	162,655	−2,050	−1.3
Outside city	147,623	131,069	16,554	12.6
Incorporated cities and boroughs	**43,905**	**44,752**	**−847**	**−1.9**
Ansonia city	19,210	19,898	−688	−3.5
Branford borough	2,235	2,365	−130	−5.5
Derby city	10,287	10,788	−501	−4.6
Wallingford borough	11,425	11,170	255	2.3
Woodmont borough	748	531	217	40.9
Towns	103,718	86,317	17,401	20.2
District includes following minor civil divisions (towns):				
In New Haven County	**308,228**	**293,724**	**14,504**	**4.9**
Ansonia town (comprising Ansonia city)	19,210	19,898	−688	−3.5
Branford town (incl. Branford borough)	8,060	7,022	1,038	14.8
Derby town (comprising Derby city)	10,287	10,788	−501	−4.6
East Haven town	9,094	7,815	1,279	16.4
Hamden town	23,378	19,020	4,353	22.9
Milford town (incl. Woodmont borough)	16,439	12,660	3,779	29.8
New Haven town (comprising New Haven city)	160,605	162,655	−2,050	−1.3
North Haven town	5,326	3,730	1,596	42.8
Orange town	2,009	1,530	479	31.3
Seymour town	6,754	6,890	−136	−2.0
Wallingford town (incl. Wallingford borough)	14,788	14,278	510	3.6
West Haven town	30,021	25,808	4,213	16.3
Woodbridge town	2,262	1,630	632	38.8

Table 7–C shows the population of the Waterbury metropolitan district and its constituent political units in 1940 and 1930, together with the increase or decrease during the decade. In 1940 the metropolitan district had 144,822 inhabitants, whereas in 1930 the district had a population of 140,575. The metropolitan district in 1940 had exactly the same area as in 1930.

TABLE 7-C.—POPULATION OF THE WATERBURY METROPOLITAN DISTRICT: 1940 AND 1930

[A minus sign (−) denotes decrease]

AREA	POPULATION		INCREASE	
	1940	1930	Number	Percent
The metropolitan district	144,822	140,575	4,247	3.0
Waterbury city	99,314	99,902	−588	−0.6
Outside city	45,508	40,673	4,835	11.9
Incorporated boroughs	15,388	14,315	1,073	7.5
Naugatuck borough	15,388	14,315	1,073	7.5
Towns	30,120	26,358	3,762	14.3
District includes following minor civil divisions (towns):				
In Litchfield County	19,068	18,450	618	3.3
Plymouth town	6,043	6,070	−27	−0.4
Thomaston town	4,238	4,188	50	1.2
Watertown town	8,787	8,192	595	7.3
In New Haven County	125,754	122,125	3,629	3.0
Beacon Falls town	1,756	1,693	63	3.7
Cheshire town	4,352	3,263	1,089	33.4
Middlebury town	2,173	1,449	724	50.0
Naugatuck town (comprising Naugatuck borough)	15,388	14,315	1,073	7.5
Prospect town	1,006	531	475	89.5
Waterbury town (comprising Waterbury city)	99,314	99,902	−588	−0.6
Wolcott town	1,765	972	793	81.6

Census tracts.—Census tracts are small areas into which certain large cities and sometimes their adjacent areas are subdivided for statistical and local administrative purposes, through cooperation with a local committee in each case. Through the use of census tract data comparisons may be made from census to census. Tracts are laid out with a view to approximate uniformity in population and with some regard for uniformity in area, and each is designed to include an area fairly homogeneous in population characteristics. In table 8 the 1940 population of Hartford and some adjacent areas in Hartford County is shown by census tracts. Since these tracts were not established until after 1930, there are no comparative figures for earlier censuses. In table 8-A the 1940 and 1930 population of New Haven is shown by census tracts. The tracted areas are shown on the accompanying maps.

TABLE 8.—POPULATION OF HARTFORD AND ADJACENT AREAS BY CENSUS TRACTS: 1940

AREA	Population	AREA	Population
Hartford city	166,267	**Hartford city—Continued.**	
Tract 1	4,036	Tract 34	4,515
Tract 2	2,585	Tract 35	6,791
Tract 3	8,106	Tract 36	2,232
Tract 4	2,105	Tract 37	5,157
Tract 5	4,048	Tract 38	3,989
Tract 6	3,148	Tract 39	4,599
Tract 7	4,323	Tract 40	7,523
Tract 8	1,627	Tract 41	4,015
Tract 9	3,967		
Tract 10	3,387	**West Hartford town**	33,776
Tract 11	6,771	Tract C-1	3,160
Tract 12	4,053	Tract C-2	4,553
Tract 13	5,310	Tract C-3	5,992
Tract 14	2,601	Tract C-4	7,213
Tract 15	3,481	Tract C-5	7,108
Tract 16	6,248	Tract C-6	5,750
Tract 17	1,719		
Tract 18	2,317	**East Hartford town**	18,615
Tract 19	2,834	Tract C-10	3,391
Tract 20	4,155	Tract C-11	6,406
Tract 21	7,052	Tract C-12	4,750
Tract 22	2,322	Tract C-13	4,068
Tract 23	5,486		
Tract 24	5,545	**Other tracted area in Hartford County:**	
Tract 25	5,965	Tract C-7	4,309
Tract 26	4,364	Tract C-8	6,860
Tract 27	4,462	Tract C-9	3,208
Tract 28	5,001	Tract C-14	3,923
Tract 29	1,739	Tract C-15	5,721
Tract 30	2,145	Tract C-16	5,449
Tract 31	3,670		
Tract 32	2,238		
Tract 33	636		

TABLE 8-A.—POPULATION OF NEW HAVEN BY CENSUS TRACTS: 1940 AND 1930

[A minus sign (−) denotes decrease]

TRACT	1940	1930	Percent of increase	TRACT	1940	1930	Percent of increase
The city	160,605	162,655	−1.3	Tract 16	5,789	5,068	[1] 1.0
				Tract 17	5,865	5,709	
				Tract 23	5,027	4,805	
Tract 1	1,949	1,513	28.8	Tract 24	4,952	4,781	
Tract 2	3,973	3,793	4.7	Tract 29	4,848	5,732	
Tract 3	5,513	5,766	−4.4	Tract 30	4,985	5,052	
Tract 4	5,776	5,856	−1.4	Tract 18	3,407	3,496	−2.5
Tract 5	3,936	4,960	−20.6	Tract 19	5,075	5,017	1.2
Tract 6	7,037	7,117	−1.1	Tract 20	2,494	2,658	−6.2
Tract 7	7,170	6,888	4.1	Tract 21	3,175	3,133	1.3
Tract 8	5,049	5,288	−4.5	Tract 22	4,348	4,299	1.1
Tract 9	4,213	4,130	2.0	Tract 25	7,889	8,131	−3.0
Tract 10	4,720	5,309	−11.1	Tract 26	3,657	3,589	1.9
Tract 11	6,251	6,478	−3.5	Tract 27	5,968	6,230	−4.2
Tract 12	8,380	8,983	−6.7	Tract 28	5,852	6,010	−2.6
Tract 13	4,055	4,262	−4.9	Tract 31	3,682	3,588	2.6
Tract 14	4,016	4,219	−4.8	Tract 32	5,340	4,900	9.0
Tract 15	3,642	3,703	−1.6	Tract 33	2,572	2,192	17.3

[1] The percent of increase in population between 1930 and 1940 for these individual tracts is not shown, because of revisions of tract boundaries within the area since 1930.

HARTFORD AND ADJACENT AREAS BY CENSUS TRACTS

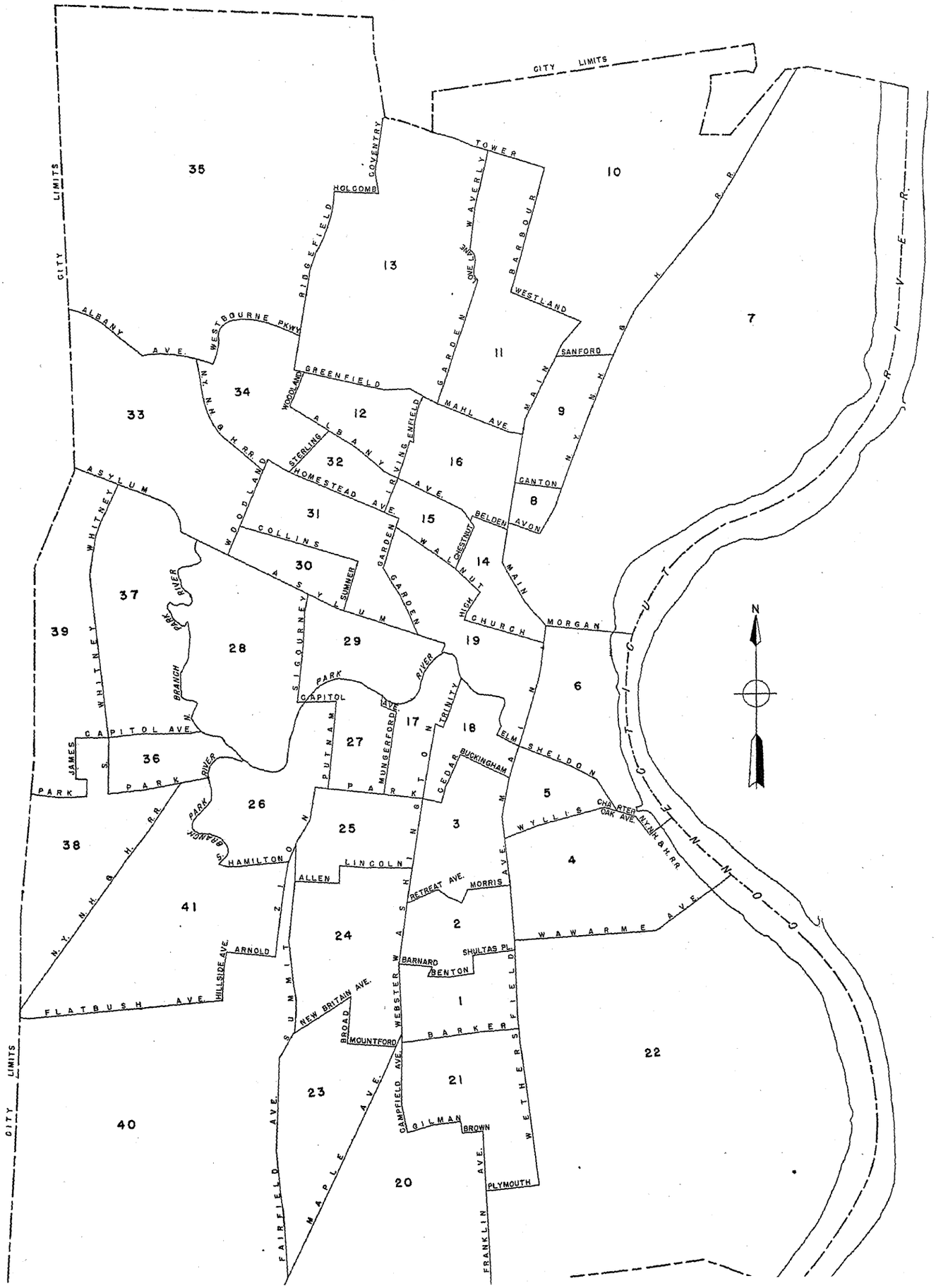

HARTFORD AND ADJACENT AREAS BY CENSUS TRACTS

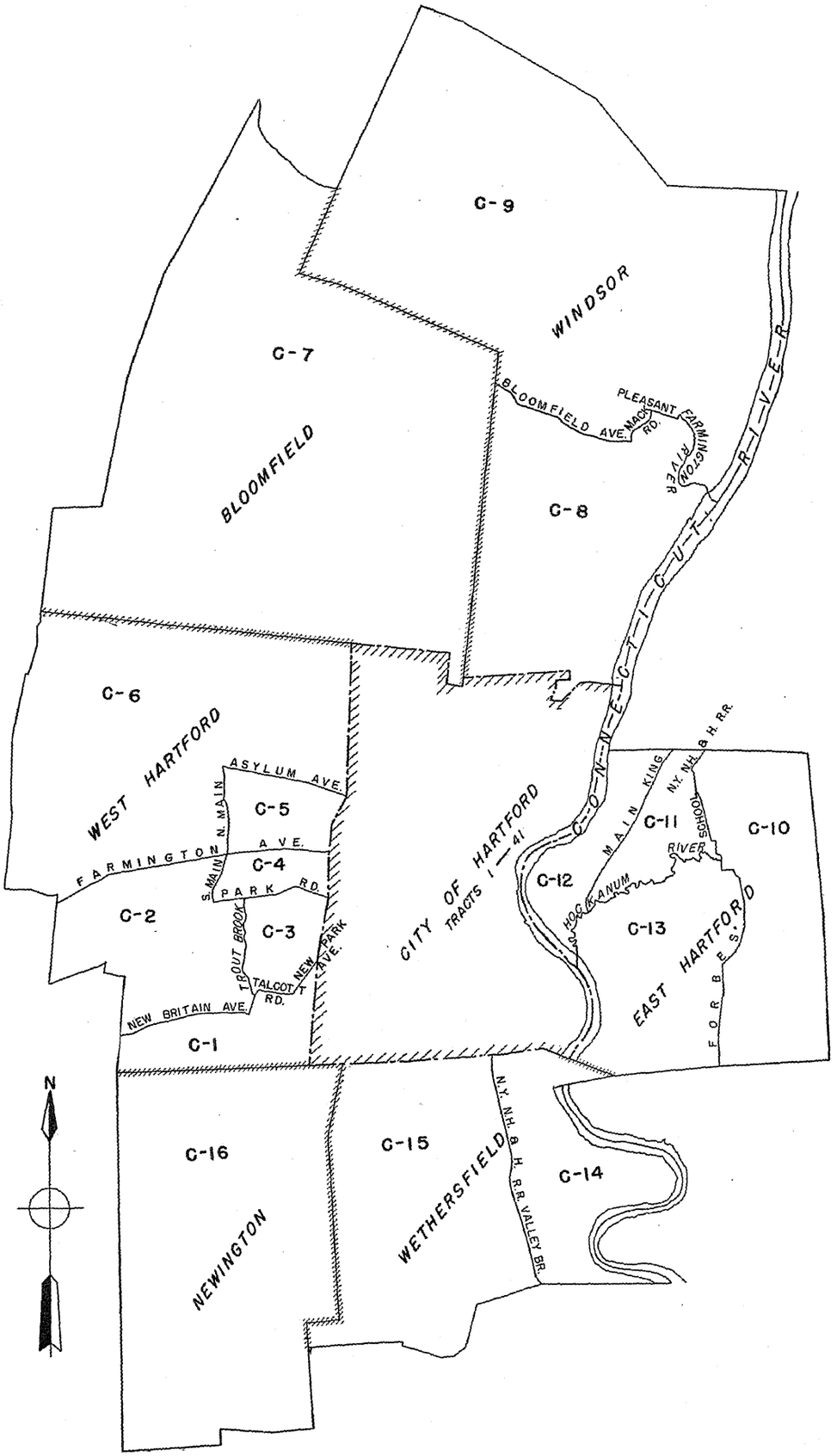

467750—42——13

NEW HAVEN BY CENSUS TRACTS

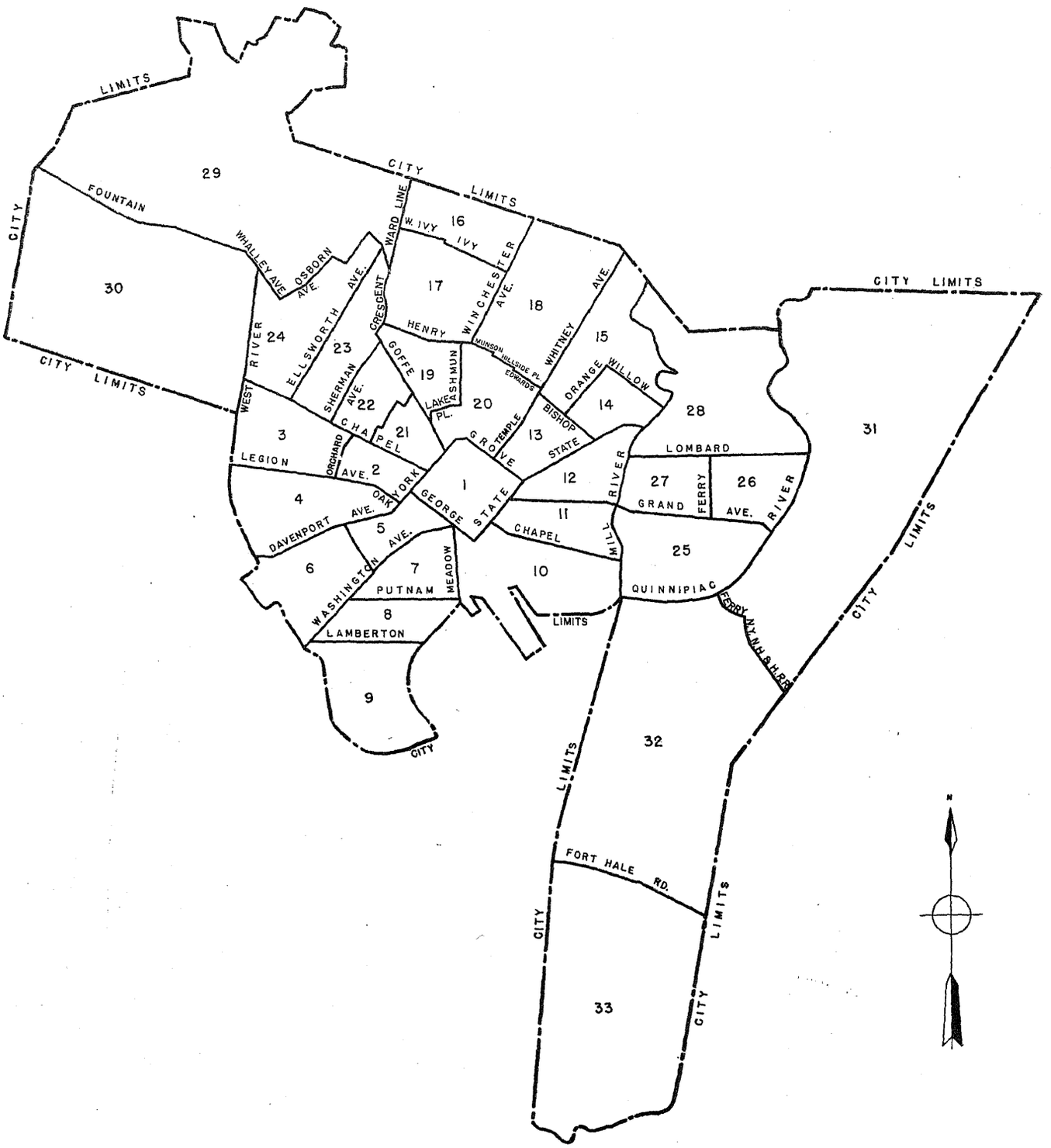

BRIDGEPORT METROPOLITAN DISTRICT

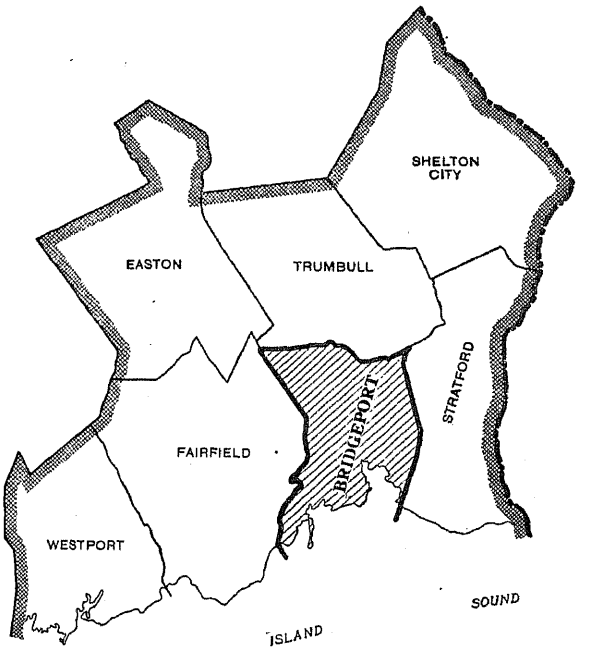

HARTFORD-NEW BRITAIN METROPOLITAN DISTRICT

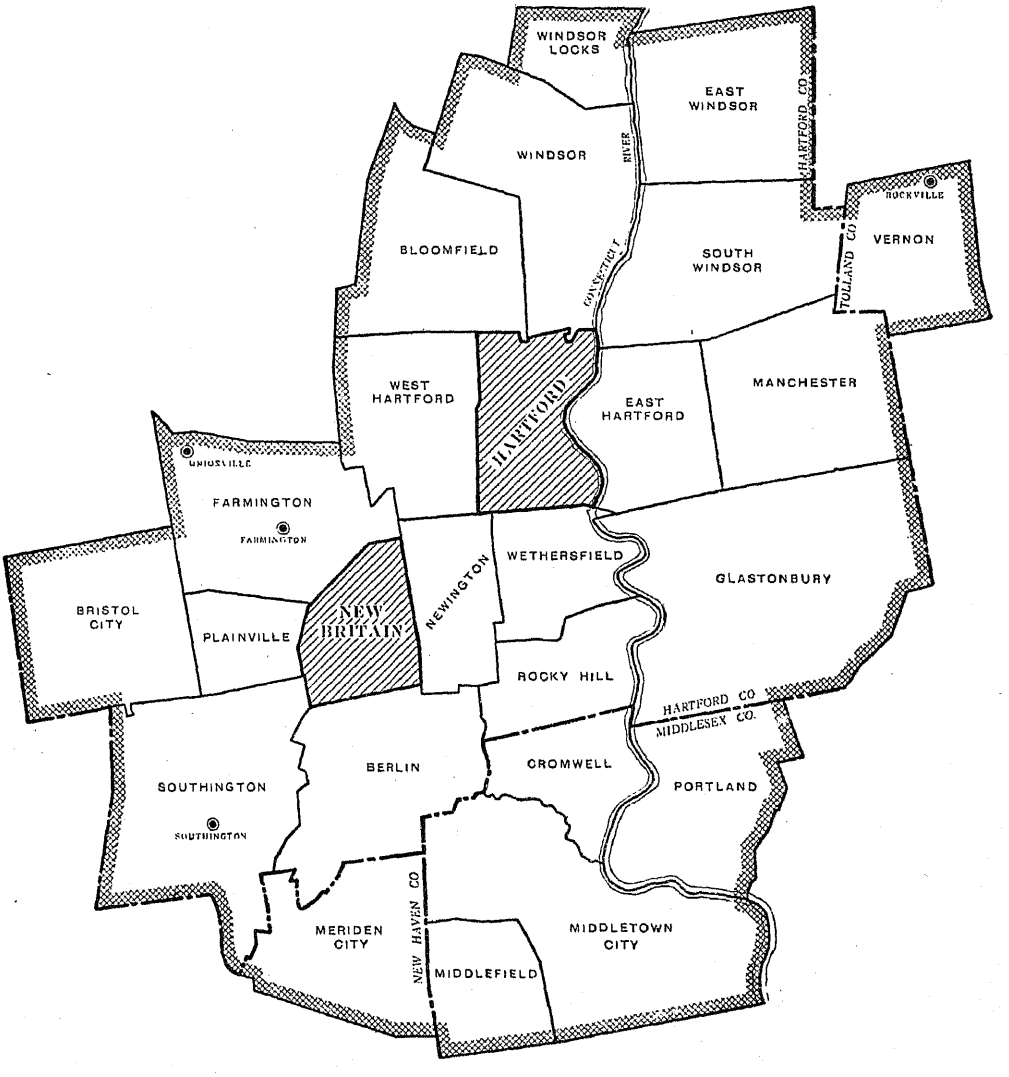

NEW HAVEN METROPOLITAN DISTRICT

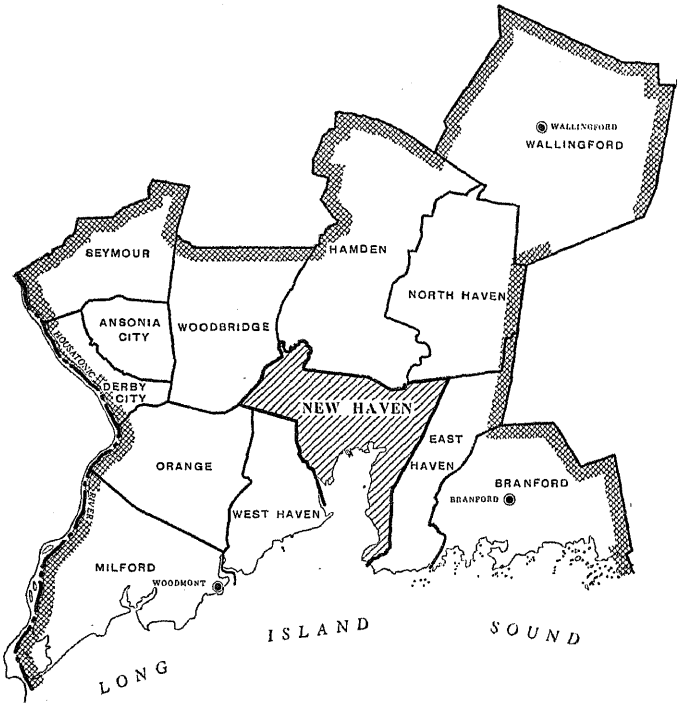

WATERBURY METROPOLITAN DISTRICT

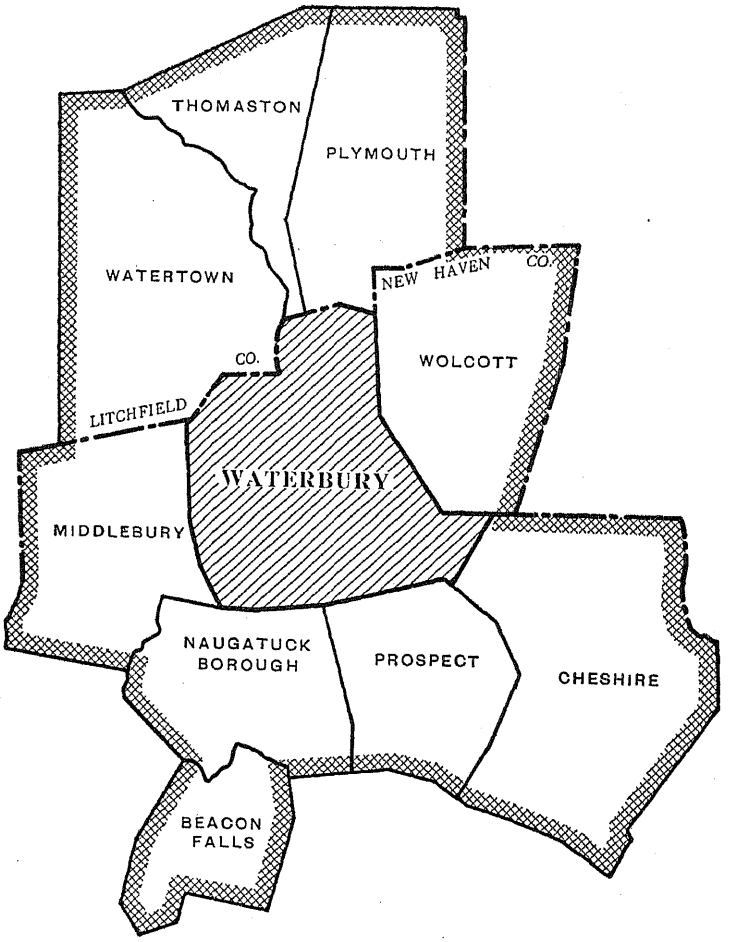

DELAWARE

CONTENTS

	Page
MAP.—Delaware by minor civil divisions	192
DIAGRAM.—Urban and rural population of Delaware: 1790 to 1940	193
TABLE 1.—Population of Delaware, urban and rural: 1790 to 1940	193
TABLE 2.—Population of Wilmington: 1840 to 1940	194
TABLE 3.—Area and population of counties, urban and rural: 1920 to 1940	194
TABLE 4.—Population of counties by minor civil divisions: 1920 to 1940	195
TABLE 5.—Population of incorporated places: 1940 and 1930	195
TABLE 6.—Population of Wilmington by wards: 1940	196
TABLE 7.—Population of the Wilmington metropolitan district: 1940 and 1930	196
MAP.—Wilmington metropolitan district	197

DELAWARE

MINOR CIVIL DIVISIONS—REPRESENTATIVE DISTRICTS

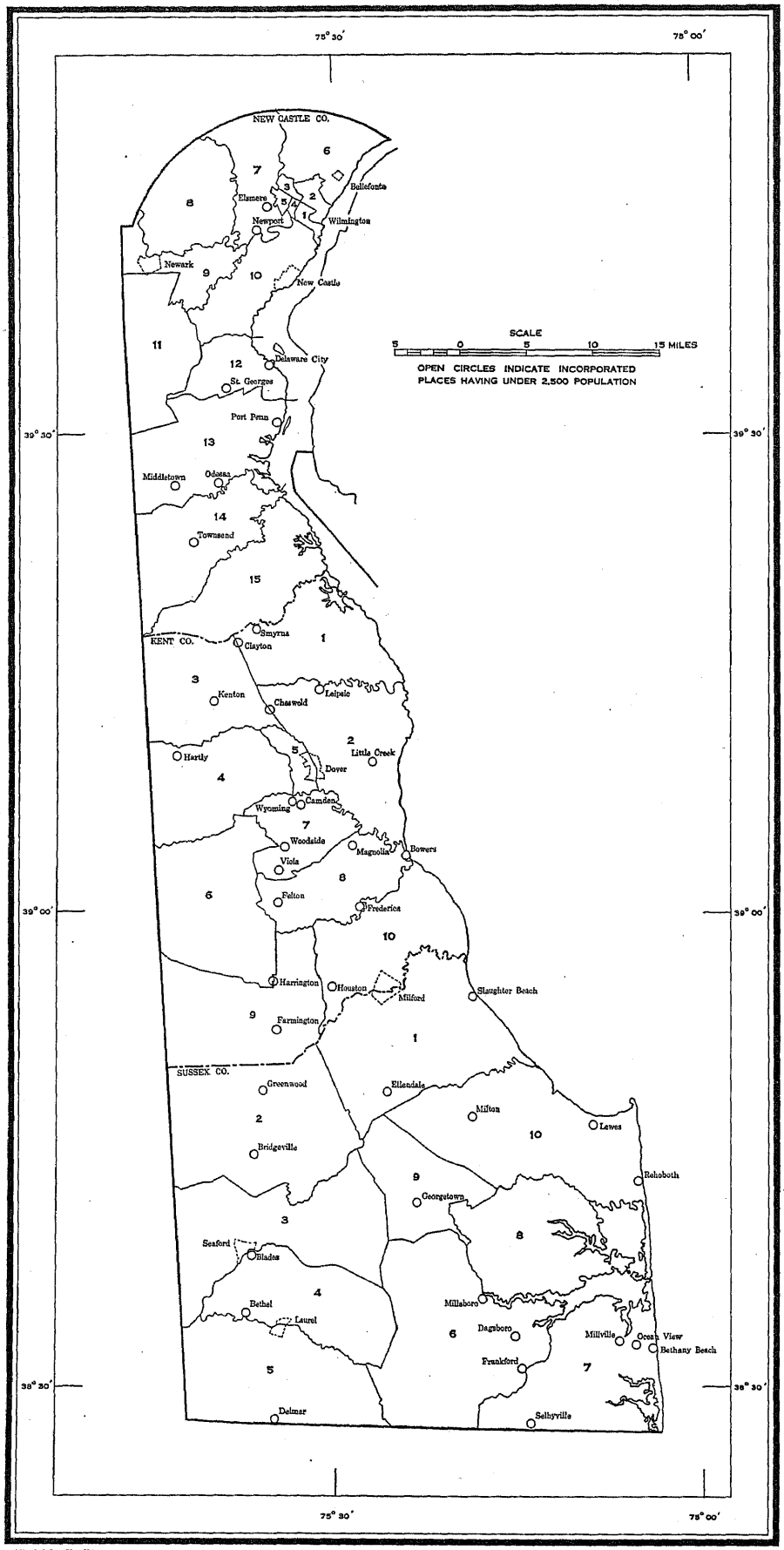

DELAWARE

NUMBER OF INHABITANTS

Population of the State.—Delaware was one of the Thirteen Original States. Its population on April 1, 1940, according to the Sixteenth Census, was 266,505, which represents an increase of 28,125, or 11.8 percent, as compared with the population on April 1, 1930. The total land area of the State, as shown in table 3, is 1,978 square miles. The average number of inhabitants per square mile in 1940 was 134.7, as compared with 120.5 in 1930.

Table 1 shows the population of Delaware from 1790, the year of the first Federal census, to 1940, together with the increase during each decade. The urban and rural population of the State at each census is also presented in this table and is shown graphically in the accompanying chart.

The urban population of Delaware consists of all persons living in incorporated places of 2,500 or more, the remainder of the population being classified as rural.

TABLE 1.—POPULATION OF DELAWARE, URBAN AND RURAL: 1790 TO 1940

[A minus sign (−) denotes decrease. Percent not shown where base is less than 100]

CENSUS YEAR	THE STATE			URBAN PLACES				RURAL TERRITORY			PERCENT OF TOTAL	
	Population	Increase over preceding census		Number of places	Population	Increase over preceding census		Population	Increase over preceding census		Urban	Rural
		Number	Percent			Number	Percent		Number	Percent		
1940	266,505	28,125	11.8	8	139,432	16,286	13.2	127,073	11,839	10.3	52.3	47.7
1930	238,380	15,377	6.9	5	123,146	2,379	2.0	115,234	12,998	12.7	51.7	48.3
1920	223,003	20,681	10.2	4	120,767	23,682	24.4	102,236	−3,001	−2.9	54.2	45.8
1910	202,322	17,587	9.5	4	97,085	11,368	13.3	105,237	6,219	6.3	48.0	52.0
1900	184,735	16,242	9.6	4	85,717	14,650	20.6	99,018	1,592	1.6	46.4	53.6
1890	168,493	21,885	14.9	4	71,067	22,078	45.1	97,426	−193	−0.2	42.2	57.8
1880	146,608	21,593	17.3	3	48,989	18,148	58.8	97,619	3,445	3.7	33.4	66.6
1870	125,015	12,799	11.4	1	30,841	9,583	45.1	94,174	3,216	3.5	24.7	75.3
1860	112,216	20,684	22.6	1	21,258	7,279	52.1	90,958	13,405	17.3	18.9	81.1
1850	91,532	13,447	17.2	1	13,979	5,612	67.1	77,553	7,835	11.2	15.3	84.7
1840	78,085	1,337	1.7	1	8,367	8,367		69,718	−7,030	−9.2	10.7	89.3
1830	76,748	3,999	5.5					76,748	3,999	5.5		100.0
1820	72,749	75	0.1					72,749	75	0.1		100.0
1810	72,674	8,401	13.1					72,674	8,401	13.1		100.0
1800	64,273	5,177	8.8					64,273	5,177	8.8		100.0
1790	59,096							59,096				100.0

URBAN AND RURAL POPULATION OF DELAWARE: 1790 TO 1940

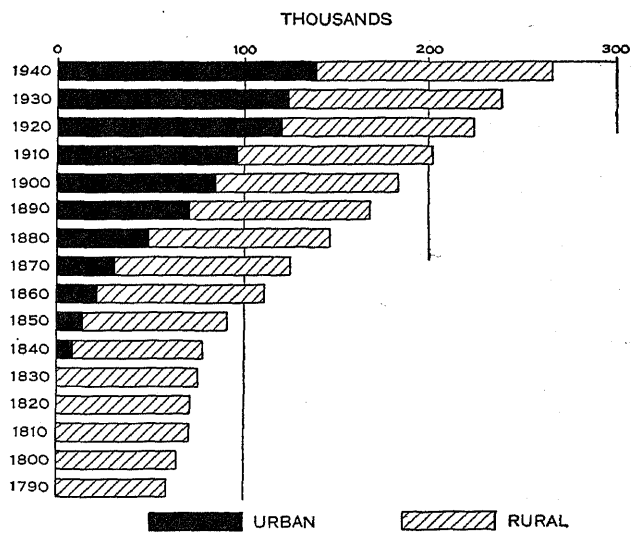

The urban and rural areas are not constant from one census to the next, since new places are added to the urban list from time to time as they attain a population of 2,500 or more; for example, Bellefonte was classified as urban in 1940 for the first time. Places are likewise taken off the urban list when, through decline in population, they fall below this limit.

Geographic subdivisions.—In the tables that follow (tables 2 to 5) the population of Delaware is shown by counties, representative districts, cities, and towns, with some comparative figures from previous censuses. Table 6 gives the population of the city of Wilmington by wards, and table 7 presents data for the Wilmington metropolitan district.

Cities of 10,000 or more.—Table 2 shows the population of Wilmington, the only city in Delaware with more than 10,000 inhabitants, from 1840, the first census

subsequent to its incorporation, to 1940, together with the increase during each decade. Wilmington had a population in 1940 of 112,504.

Counties.—Table 3 shows the population of the three counties of Delaware from 1920 to 1940, together with the land area of each county and its population per square mile in 1940. The land areas given here are the result of new measurements recently compiled and differ somewhat from those published in earlier census reports. All three of these counties increased in population between 1930 and 1940. This table also presents the urban and rural population of each county for 1940 and 1930.

TABLE 2.—POPULATION OF WILMINGTON: 1840 TO 1940

[A minus sign (—) denotes decrease]

CENSUS YEAR	Population	INCREASE OVER PRECEDING CENSUS	
		Number	Percent
The city:			
1940	112,504	5,907	5.5
1930	106,597	—3,571	—3.2
1920	110,168	22,757	26.0
1910	87,411	10,903	14.3
1900	76,508	15,077	24.5
1890	61,431	18,953	44.6
1880	42,478	11,637	37.7
1870	30,841	9,583	45.1
1860	21,258	7,279	52.1
1850	13,979	5,612	67.1
1840	8,367		

TABLE 3.—AREA AND POPULATION OF COUNTIES, URBAN AND RURAL: 1920 TO 1940

COUNTY	Land area in square miles, 1940	TOTAL POPULATION						URBAN POPULATION			RURAL POPULATION			PERCENT URBAN	
		1940		1930	1920	Percent of increase		1940	1930	Percent of increase	1940	1930	Percent of increase	1940	1930
		Total	Per square mile			1930 to 1940	1920 to 1930								
Delaware	**1,978**	**266,505**	**134.7**	**238,380**	**223,003**	**11.8**	**6.9**	**139,432**	**123,146**	**13.2**	**127,073**	**115,234**	**10.3**	**52.3**	**51.7**
Kent	595	34,441	57.9	31,841	31,023	8.2	2.6	7,467	6,525	14.4	26,974	25,316	6.5	21.7	20.5
New Castle	437	179,562	410.9	161,032	148,239	11.5	8.6	124,013	114,627	8.2	55,549	46,405	19.7	69.1	71.2
Sussex	946	52,502	55.5	45,507	43,741	15.4	4.0	7,952	1,994	298.8	44,550	43,513	2.4	15.1	4.4

Minor civil divisions.—To the primary political divisions into which the counties are subdivided the Census Bureau applies the general term "minor civil divisions." The primary subdivisions of the counties in Delaware are called representative districts. The incorporated cities and towns form secondary subdivisions of the minor civil divisions in which they are located. There are 5 cities and 47 towns. Ordinarily, each of these secondary divisions, or incorporated places, forms a part of some representative district (or districts).

Table 4 shows the population of each county by districts, cities, and towns for the last three censuses. The population of cities and towns is shown in *italics* under the population of the districts in which the places are respectively located. Where an incorporated place is located in two districts in the same county, the total population of the place is given in connection with the presentation for the first district. Where the place is situated in two counties, the total population is given in connection with each county. The population of Wilmington, which comprises several entire districts, is presented in roman type, followed by the district population in *italic* type.

TABLE 4.—POPULATION OF COUNTIES BY MINOR CIVIL DIVISIONS: 1920 TO 1940

[The "districts" shown in the table are representative districts. For changes in boundaries, etc., between 1930 and 1940, see footnotes; for those between 1920 and 1930, see Reports of the Fifteenth Census (1930), vol. I, pp. 181, 185]

MINOR CIVIL DIVISION	1940	1930	1920
Kent County	34,441	31,841	31,023
District 1	3,506	3,229	3,521
Clayton town, total	890	824	872
In District 1	319	238	340
In District 3	571	586	532
Smyrna town	1,870	1,958	1,963
District 2	3,530	3,133	2,623
Cheswold town, total	232	211	287
In District 2	45	62	41
In District 3	187	149	246
Dover city, total	5,517	4,800	4,042
In District 2	1,131	941	603
In District 5	4,386	3,859	3,439
Leipsic town	210	254	244
Little Creek town	242	223	156
District 3	2,527	2,586	2,831
Cheswold town (part)	187	149	246
Clayton town (part)	571	586	532
Kenton town	283	175	212
District 4	2,502	2,292	2,439
Hartly town	125	101	905
District 5	5,169	4,363	3,927
Dover city (part)	4,386	3,859	3,439
District 6	2,274	2,352	2,500
Harrington city, total [1]	2,113	1,812	1,617
In District 6	368	336	262
In District 9	1,745	1,476	1,355
District 7	3,745	3,393	3,229
Camden town	682	464	531
Viola town	113	104	114
Woodside town	189	140	140
Wyoming town	870	684	661
District 8	3,200	3,040	3,000
Bowers town	328	246	174
Felton town	442	463	771
Frederica town	645	589	611
Magnolia town	218	173	177
District 9	4,288	4,043	3,920
Farmington town	120	117	124
Harrington city (part)	1,745	1,476	1,355
Kent County—Continued.			
District 10	3,700	3,410	3,033
Houston town	295	254	
Milford city, total [1]	4,214	3,719	2,703
In Kent Co.	1,950	1,725	1,294
In Sussex Co.	2,264	1,994	1,409
New Castle County	179,562	161,032	148,239
Wilmington city, total [2]	112,504	106,597	110,168
District 1	13,262	13,278	
District 2 [2]	35,083	31,299	
District 3	22,843	21,222	
District 4	9,877	9,362	
District 5	32,440	31,440	
District 6 [2]	14,426	10,917	6,451
Bellefonte town	2,593	761	291
District 7	18,696	14,317	6,298
Elsmere town	1,630	1,323	620
Newport town	987	947	676
District 8	5,662	4,453	4,052
District 9	6,398	5,476	3,921
Newark town, total [2]	4,502	3,899	2,183
In District 9	4,424	3,899	2,183
In District 11	78		
District 10	10,245	8,261	6,386
New Castle city	4,414	4,131	3,854
District 11	1,970	1,881	1,692
Newark town (part)	78		
District 12	2,771	2,635	2,351
Delaware City town	1,163	1,005	1,064
St. Georges town	339	265	245
District 13	3,685	3,457	3,596
Middletown town	1,529	1,247	1,260
Odessa town	391	385	435
Port Penn town	271	252	273
District 14	2,035	1,939	2,099
Townsend town	544	421	453
District 15	1,170	1,099	1,225
Sussex County	52,502	45,507	43,741
District 1	5,936	5,276	5,079
Ellendale town	287	268	250
Milford city, total [3]	4,214	3,719	2,703
In Sussex Co.	2,264	1,994	1,409
In Kent Co.	1,950	1,725	1,294
Slaughter Beach town [3]	46		
District 2	5,315	4,329	4,589
Bridgeville town	1,180	987	945
Greenwood town	573	527	500
District 3	6,350	5,182	5,346
Seaford town	2,804	2,468	2,141
District 4	3,448	2,955	2,761
Bethel town	245	219	222
Blades town	601	466	388
Laurel town, total [3]	2,884	[3] 2,542	2,253
In District 4	331	265	
In District 5	2,553	2,277	2,253
District 5	6,804	6,319	6,362
Delmar town [3]	881	838	780
Laurel town (part)	2,553	2,277	2,253
District 6	5,779	4,836	4,513
Dagsboro town	222	198	228
Frankford town	563	450	443
Millsboro town	432	479	432
District 7	5,415	4,755	4,016
Bethany Beach town	152	118	56
Millville town	184	198	112
Ocean View town	406	371	279
Selbyville town	882	661	462
District 8	1,864	1,803	1,821
District 9	3,456	3,062	3,071
Georgetown town	1,820	1,763	1,710
District 10	8,135	6,990	6,183
Lewes town	2,246	1,923	2,074
Milton town	1,198	1,130	898
Rehoboth town	1,247	795	389

[1] KENT.—Harrington town and Milford town incorporated as cities in 1936 and 1932, respectively.
[2] NEW CASTLE.—Parts of district 6 annexed to Wilmington city (district 2) in 1933. Newark town returned in 1930 and 1920 as in district 9 only.
[3] SUSSEX.—Milford town incorporated as a city in 1932. Slaughter Beach town incorporated in 1931. Laurel town reported in 1930 as in district 5 only, with a population of 2,277. North Laurel town (population 265 in 1930; 182 in 1920) was annexed to Laurel in 1929, but information as to this annexation was not received until after the 1930 reports were completed. Laurel was therefore not classified as an urban place in the 1930 reports; and no change has been made in the 1930 urban figures because of the correction in the population of this town, as here indicated, to 2,542. For population of Delmar town in Maryland, see footnote on table 5.

Incorporated places.—Table 5 shows the population in 1940 and 1930 of incorporated places (cities and towns) in Delaware. In this table, the places are arranged in alphabetical order, each followed by the name of the county in which it is located. In table 6 the population of Wilmington is presented by wards.

TABLE 5.—POPULATION OF INCORPORATED PLACES: 1940 AND 1930

[The population of these places in 1920 is given in table 4; places marked with an asterisk (*) were classified as urban in 1940]

CITY OR TOWN	County	1940	1930
Bellefonte*	New Castle	2,593	761
Bethany Beach	Sussex	152	118
Bethel	Sussex	245	219
Blades	Sussex	601	466
Bowers	Kent	328	246
Bridgeville	Sussex	1,180	987
Camden	Kent	682	464
Cheswold	Kent	232	211
Clayton	Kent	890	824
Dagsboro	Sussex	222	198
Delaware City	New Castle	1,163	1,005
Delmar [1]	Sussex	881	838
Dover*	Kent	5,517	4,800
Ellendale	Sussex	287	268
Elsmere	New Castle	1,630	1,323
Farmington	Kent	120	117
Felton	Kent	442	463
Frankford	Sussex	563	450
Frederica	Kent	645	589
Georgetown	Sussex	1,820	1,763
Greenwood	Sussex	573	527
Harrington	Kent	2,113	1,812
Hartly	Kent	125	101
Houston	Kent	296	254
Kenton	Kent	233	175
Laurel*	Sussex	2,884	[2] 2,542
Leipsic	Kent	210	254
Lewes	Sussex	2,246	1,923
Little Creek	Kent	242	223
Magnolia	Kent	218	173
Middletown	New Castle	1,529	1,247
Milford*	Kent / Sussex	4,214	3,719
Millsboro	Sussex	432	479
Millville	Sussex	184	193
Milton	Sussex	1,198	1,130
Newark*	New Castle	4,502	3,899
New Castle*	New Castle	4,414	4,131
Newport	New Castle	987	947
Ocean View	Sussex	406	371
Odessa	New Castle	391	385
Port Penn	New Castle	271	252
Rehoboth	Sussex	1,247	795
St. Georges	New Castle	339	265
Seaford*	Sussex	2,804	2,468
Selbyville	Sussex	882	661
Slaughter Beach	Sussex	46	
Smyrna	Kent	1,870	1,958
Townsend	New Castle	544	421
Viola	Kent	113	104
Woodside	Kent	189	140
Wilmington*	New Castle	112,504	106,597
Wyoming	Kent	870	684

[1] Population of Delmar town, Wicomico County, Maryland, 1,184 in 1940, 1,180 in 1930, and 1,291 in 1920.
[2] Corrected figure; see footnote on Sussex County, table 4.

TABLE 6.—POPULATION OF WILMINGTON BY WARDS: 1940

WARD	1940	WARD	1940
The city	112,504		
Ward 1	2,268	Ward 7	18,172
Ward 2	5,286	Ward 8	8,303
Ward 3	4,532	Ward 9	25,340
Ward 4	3,438	Ward 10	6,875
Ward 5	12,837	Ward 11	9,001
Ward 6	4,977	Ward 12	11,475

NOTE.—Dover, the only other city of more than 5,000, has no wards.

Metropolitan districts.—Metropolitan districts have been set up for use in the 1940 Census of Population in connection with each city of 50,000 or more, two or more such cities sometimes being in one district. The general plan is to include in the district, in addition to the central city or cities, all adjacent and contiguous minor civil divisions having a population of 150 or more per square mile. In some metropolitan districts, a few less densely populated contiguous divisions are included on the basis of special qualifications. A metropolitan district is thus not a political unit but rather an area including all the thickly settled territory in and around a city or group of cities. It tends to be a more or less integrated area with common economic, social, and, often, administrative interests.

The Wilmington metropolitan district is the only one in Delaware. Like several other districts it occupies some territory in more than one State. New Garden township and Avondale borough, both in Chester County, Pennsylvania, were included in the Wilmington metropolitan district in 1940 for the first time.

Table 7 shows the population of the Wilmington metropolitan district and its constituent political units in 1940 and 1930, together with the increase during the decade. In 1940 the metropolitan district had 188,974 inhabitants, whereas in 1930 the district as then constituted had a population of 163,592. It may also be noted that the political units that made up the district in 1940 had a population of 166,746 in 1930.

TABLE 7.—POPULATION OF THE WILMINGTON METROPOLITAN DISTRICT: 1940 AND 1930

[See table 4 for interrelationship of districts and incorporated places, townships, etc. A minus sign (—) denotes decrease]

AREA	POPULATION			
	1940	1930	Increase	
			Number	Percent
The metropolitan district	188,974	163,592	25,382	15.5
Wilmington city	112,504	106,597	5,907	5.5
Outside city	76,470	56,995	19,475	34.2
Incorporated places	21,368	16,956	4,412	26.0
Avondale borough, Pa.	754	(1)		
Bellefonte town, Del.	2,593	761	1,832	240.7
Elsmere town, Del.	1,630	1,323	307	23.2
Newark town, Del.	4,502	3,899	603	15.5
New Castle city, Del.	4,414	4,131	283	6.9
Newport town, Del.	987	947	40	4.2
Penns Grove borough, N. J.	6,488	5,895	593	10.1
Unincorporated areas	55,102	40,039	15,063	37.6
District includes following minor civil divisions (representative districts, townships, and boroughs):				
DELAWARE				
In New Castle County	168,009	150,021	17,988	12.0
Wilmington city	112,504	106,597	5,907	5.5
District 1	12,262	13,278	—1,016	—7.7
District 2	35,082	31,299	3,783	12.1
District 3	22,843	21,222	1,621	7.6
District 4	9,877	9,352	525	5.6
District 5	32,440	31,446	994	3.2
District 6	14,426	10,917	3,509	32.1
District 7	18,696	14,317	4,379	30.6
District 8	5,662	4,453	1,209	27.2
District 9	6,398	5,476	922	16.8
District 10	10,245	8,261	1,984	24.0
District 11 (part) [2]	78	(1)		
NEW JERSEY				
In Salem County	16,406	12,707	3,699	29.1
Lower Penns Neck township	5,113	2,933	2,180	74.3
Penns Grove borough	6,488	5,895	593	10.1
Upper Penns Neck township	4,805	3,879	926	23.9
PENNSYLVANIA				
In Chester County	3,470			
Avondale borough	754	(1)		
New Garden township	2,716	(1)		
In Delaware County	1,089	864	225	26.0
Bethel township	1,089	864	225	26.0

[1] Not included in metropolitan district in 1930.
[2] Comprises part of Newark town, reported in 1930 as in district 9 only.

WILMINGTON METROPOLITAN DISTRICT

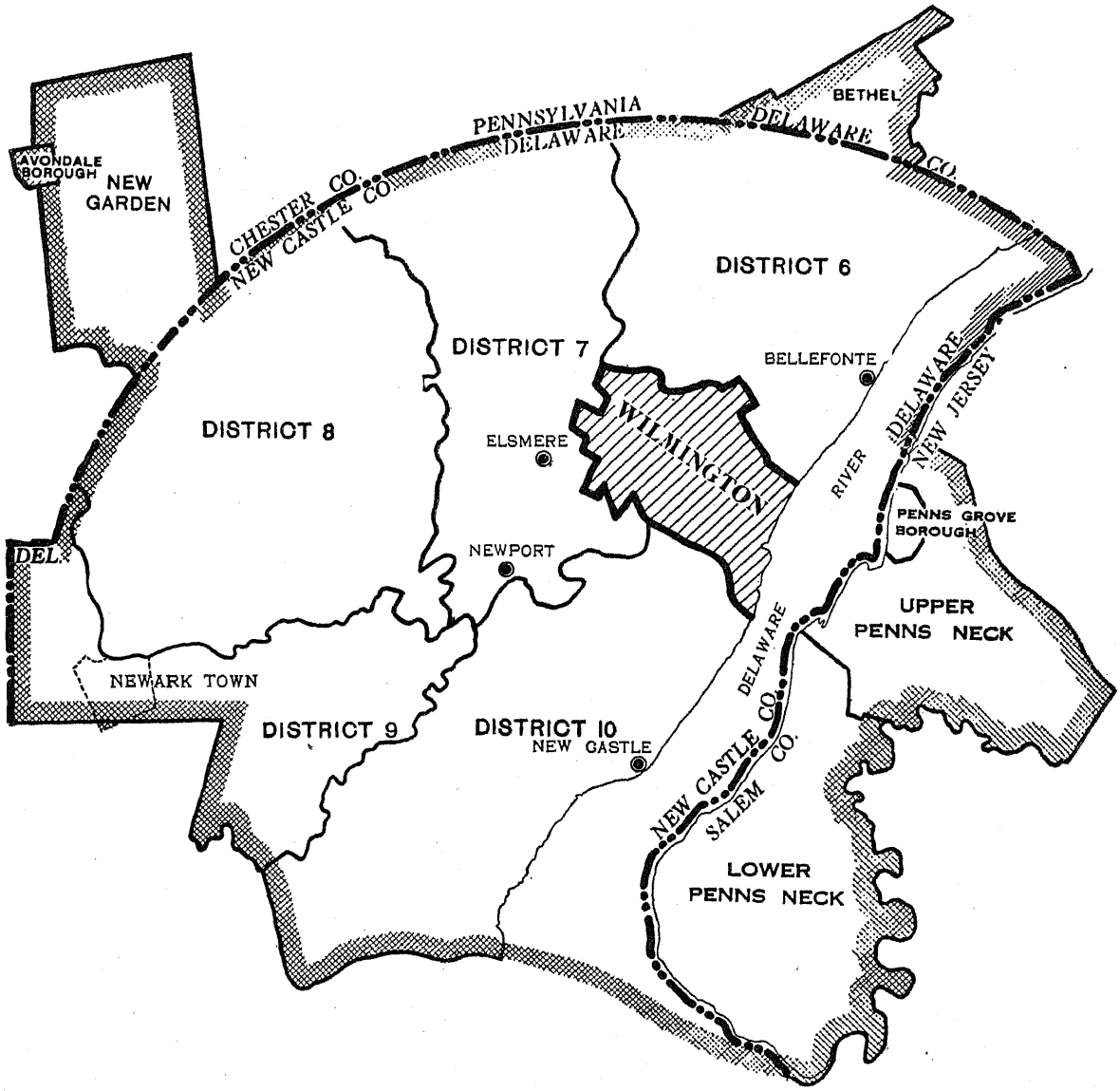

DISTRICT OF COLUMBIA

CONTENTS

	Page
MAPS: District of Columbia by police precincts	200
Washington, D. C., metropolitan district	203
District of Columbia by census tracts	206
DIAGRAM.—Urban and rural population of the District of Columbia: 1800 to 1940	202
TABLE 1.—Population of the District of Columbia, urban and rural: 1800 to 1940	201
TABLE 2.—Population of the city of Washington: 1800 to 1940	202
TABLE 3.—Population of the District of Columbia by police precincts: 1940	202
TABLE 4.—Population of the Washington, D. C., metropolitan district: 1940 and 1930	204
TABLE 5.—Population of the District of Columbia by census tracts: 1940 and 1930	205

DISTRICT OF COLUMBIA BY POLICE PRECINCTS

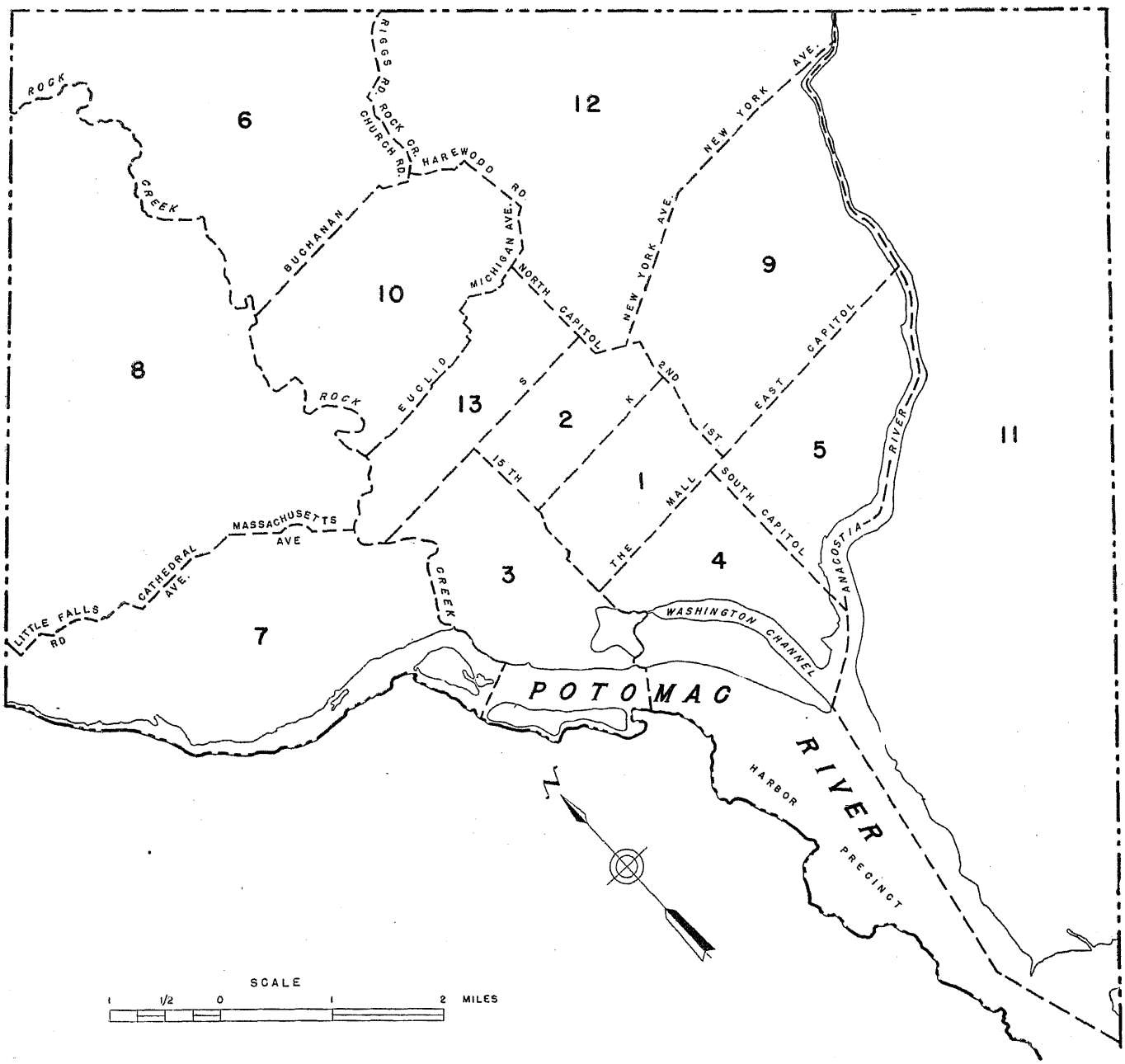

DISTRICT OF COLUMBIA

NUMBER OF INHABITANTS

Population of the District.—The District of Columbia, formed from territory ceded by Maryland and Virginia, was established as the seat of the Federal Government in accordance with acts of Congress passed in 1790 and 1791. In 1791 the boundaries of the District were defined as including the present area, together with about 30 square miles on the Virginia side of the Potomac; Georgetown and Alexandria were thus both included. The city of Washington was incorporated in 1802. In 1846 the area south of the Potomac (including Alexandria) was retroceded to Virginia, leaving the District of Columbia with its present limits. The city of Washington has been coextensive with the District of Columbia since 1895.

The population of the District of Columbia on April 1, 1940, according to the Sixteenth Census, was 663,091, which represents an increase of 176,222, or 36.2 percent, as compared with the population on April 1, 1930. The total land area of the District is 61 square miles. The average number of inhabitants per square mile in 1940 was 10,870.3, as compared with 7,981.5 in 1930.

Table 1 shows the population of the District of Columbia from 1800, the year in which its area was first separately enumerated, to 1940, together with the increase during each decade. The figures for the censuses prior to 1850 include the population of the area south of the Potomac, which was retroceded to Virginia in 1846. The urban and rural population of the District at each census is presented in this table and is also shown graphically in the accompanying chart. The urban population consists of those persons living in incorporated places of 2,500 or more, the remainder of the population being classified as rural. The District has been entirely urban since 1890.

TABLE 1.—POPULATION OF THE DISTRICT OF COLUMBIA, URBAN AND RURAL: 1800 TO 1940

[Urban-rural classification in accordance with 1940 definitions. A minus sign (−) denotes decrease]

CENSUS YEAR	THE DISTRICT			URBAN PLACES				RURAL TERRITORY			PERCENT OF TOTAL	
	Population	Increase over preceding census		Number of places	Population	Increase over preceding census		Population	Increase over preceding census		Urban	Rural
		Number	Percent			Number	Percent		Number	Percent		
1940	663,091	176,222	36.2	1	663,091	176,222	36.2	----------	----------	----------	100.0	----------
1930	486,869	49,298	11.3	1	486,869	49,298	11.3	----------	----------	----------	100.0	----------
1920	437,571	106,502	32.2	1	437,571	106,502	32.2	----------	----------	----------	100.0	----------
1910	331,069	52,351	18.8	1	331,069	52,351	18.8	----------	----------	----------	100.0	----------
1900	278,718	48,326	21.0	1	278,718	48,326	21.0	----------	----------	----------	100.0	----------
1890	230,392	52,768	29.7	1	[1] 230,392	70,521	44.1	----------	−17,753	−100.0	100.0	----------
1880	177,624	45,924	34.9	2	159,871	39,288	32.6	17,753	6,636	59.7	90.0	10.0
1870	131,700	56,620	75.4	2	120,583	50,728	72.6	11,117	5,892	112.8	91.6	8.4
1860	75,080	23,393	45.3	2	69,855	21,488	44.4	5,225	1,905	57.4	93.0	7.0
1850	51,687	7,975	18.2	2	48,367	9,232	23.6	3,320	−1,257	−27.5	93.6	6.4
1840	43,712	3,878	9.7	3	39,135	3,627	10.2	4,577	251	5.8	89.5	10.5
1830	39,834	6,795	20.6	3	35,508	6,683	23.2	4,326	112	2.7	89.1	10.9
1820	33,039	9,016	37.5	3	28,825	8,442	41.4	4,214	574	15.8	87.2	12.8
1810	24,023	9,930	70.5	3	20,383	9,209	82.4	3,640	721	24.7	84.8	15.2
1800	14,093	----------	----------	3	11,174	----------	----------	2,919	----------	----------	79.3	20.7

[1] District of Columbia not coextensive with Washington city until 1895 but considered as definitely urban in 1890.

URBAN AND RURAL POPULATION OF THE DISTRICT OF COLUMBIA: 1800 TO 1940

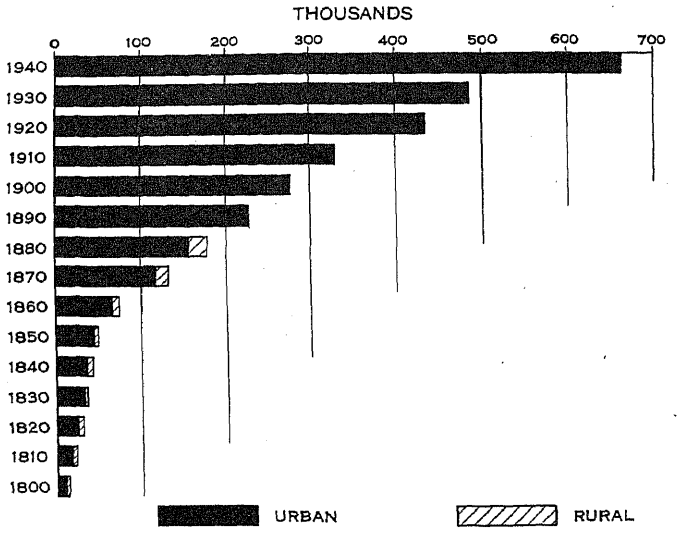

Subdivisions.—Tables 2 and 4 present data, respectively, for the city of Washington and the Washington metropolitan district; and tables 3 and 5 present data for the District of Columbia by police precincts and census tracts, respectively.

Population of Washington.—Table 2 shows the population of the city of Washington from 1800 to 1940, together with the increase during each decade. The figures for the censuses prior to 1900 are for the city before it became coextensive with the District.

TABLE 2.—POPULATION OF THE CITY OF WASHINGTON: 1800 TO 1940

CENSUS YEAR	Population	INCREASE OVER PRECEDING CENSUS	
		Number	Percent
1940	663,091	176,222	36.2
1930	486,869	49,298	11.3
1920	437,571	106,502	32.2
1910	331,069	52,351	18.8
1900 [1]	278,718	89,786	47.5
1890	188,932	41,639	28.3
1880	147,293	38,094	34.9
1870	109,199	48,077	78.7
1860	61,122	21,121	52.8
1850	40,001	16,637	71.2
1840	23,364	4,538	24.1
1830	18,826	5,579	42.1
1820	13,247	5,039	61.4
1810	8,208	4,998	155.7
1800	[2] 3,210		

[1] Washington city became coextensive with the District of Columbia in 1895.
[2] Population prior to incorporation.

Precincts.—The District has no wards or other local governmental subdivisions; the only officially recognized subdivisions are police precincts. In table 3 the 1940 population of the District of Columbia is shown by police precincts.

TABLE 3.—POPULATION OF THE DISTRICT OF COLUMBIA BY POLICE PRECINCTS: 1940

PRECINCT	Population	PRECINCT	Population
The District	663,091	Precinct 7	31,660
		Precinct 8	46,050
Precinct 1	22,408	Precinct 9	76,405
Precinct 2	62,824	Precinct 10	78,855
Precinct 3	55,257	Precinct 11	51,839
Precinct 4	29,343	Precinct 12	42,097
Precinct 5	51,072	Precinct 13	60,316
Precinct 6	54,965		

Metropolitan districts.—Metropolitan districts have been set up for use in the 1940 Census of Population in connection with each city of 50,000 or more, two or more such cities sometimes being in one district. The general plan is to include in the district, in addition to the central city or cities, all adjacent and contiguous minor civil divisions having a population of 150 or more per square mile. In some metropolitan districts a few less densely populated contiguous divisions are included on the basis of special qualifications. A metropolitan district is thus not a political unit but rather an area including all the thickly settled territory in and around a city or group of cities. It tends to be a more or less integrated area with common economic, social, and, often, administrative interests.

Table 4 shows the population of the Washington metropolitan district and its constituent political units in 1940 and 1930, together with the increase or decrease during the decade. Since all of the metropolitan district outside the city of Washington is in Maryland or Virginia, a map of the metropolitan district is presented herewith. In 1940 the Washington metropolitan district had 907,816 inhabitants, while in 1930 the district as then constituted had a population of 621,059. District 10, Laurel, in Prince Georges County, Maryland, and that part of Falls Church district, Fairfax County, Virginia, outside Falls Church town, were included in the metropolitan district in 1940 for the first time. The population of this new area was 9,089 in 1940 and 5,999 in 1930.

WASHINGTON, D. C., METROPOLITAN DISTRICT

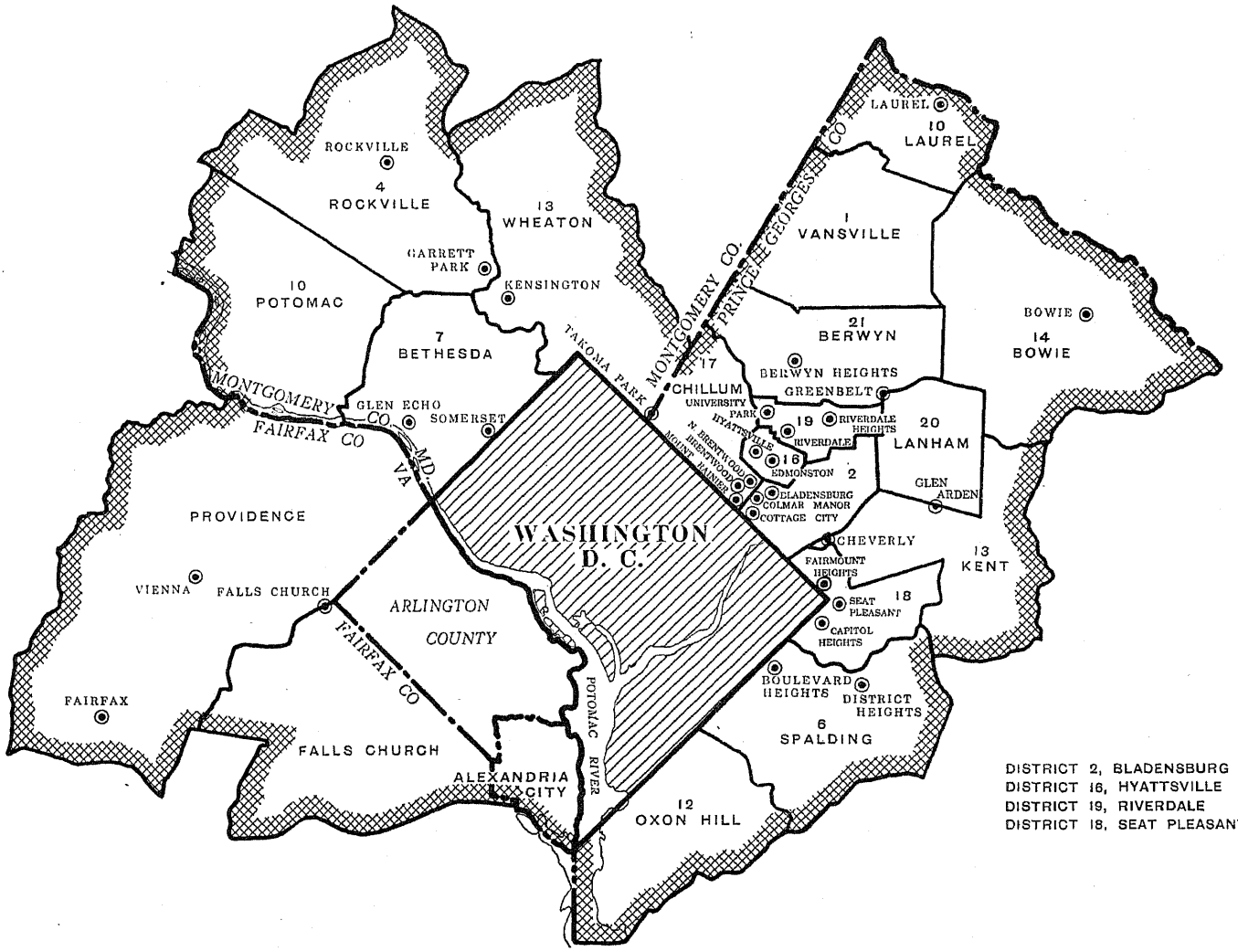

DISTRICT 2, BLADENSBURG
DISTRICT 16, HYATTSVILLE
DISTRICT 19, RIVERDALE
DISTRICT 18, SEAT PLEASANT

TABLE 4.—POPULATION OF THE WASHINGTON, D. C., METROPOLITAN DISTRICT: 1940 AND 1930

[A minus sign (−) denotes decrease]

AREA	POPULATION		INCREASE	
	1940	1930	Number	Percent
The metropolitan district	907,816	621,059	286,757	46.2
Washington, D. C	663,091	486,869	176,222	36.2
Outside city	244,725	134,190	110,535	82.4
Incorporated places	88,240	[1] 57,635	30,605	53.1
Alexandria city, Va	33,523	24,149	9,374	38.8
Berwyn Heights town, Md	453	228	225	98.7
Bladensburg town, Md	1,220	816	404	49.5
Boulevard Heights town, Md	384	227	157	69.2
Bowie town, Md	767	694	73	10.5
Brentwood town, Md	2,433	1,842	591	32.1
Capitol Heights town, Md	2,036	1,611	425	26.4
Cheverly town, Md [2]	996			
Colmar Manor town, Md	1,480	1,225	255	20.8
Cottage City town, Md	1,044	938	106	11.3
District Heights town, Md [2]	392			
Edmonston town, Md	934	717	217	30.3
Fairfax town, Va	979	640	339	53.0
Fairmount Heights town, Md	1,391	1,218	173	14.2
Falls Church town, Va. [3]	2,576	[3] 2,019	557	27.6
Garrett Park town, Md	406	295	111	37.6
Glen Echo town, Md	395	222	173	77.9
Greenbelt town, Md [2]	2,831			
Hyattsville town, Md	6,575	4,264	2,311	54.2
Kensington town, Md	931	948	−17	−1.8
Laurel town, Md	2,823	[4]		
Mount Rainier town, Md	4,830	3,832	998	26.0
North Brentwood town, Md	822	641	181	28.2
Riverdale town, Md	2,330	1,533	797	52.0
Riverdale Heights town, Md	637	405	232	57.3
Rockville town, Md	2,047	[5] 1,460	587	40.2
Seat Pleasant town, Md [2]	1,553			
Somerset town, Md	399	298	101	33.9
Takoma Park town, Md. [6]	8,938	6,415	2,523	39.3
University Park town, Md [2]	878			
Vienna town, Va	1,237	903	334	37.0
Unincorporated areas	156,485	[7] 76,555	79,930	104.4
District includes the following minor civil divisions (election districts, magisterial districts, and cities):				
Washington, D. C	663,091	486,869	176,222	36.2
MARYLAND				
In Montgomery County	62,814	31,214	31,600	101.2
District 4, Rockville [8] (incl. Garrett Park and Rockville towns)	5,995	4,684	1,311	28.0
District 7, Bethesda [8] (incl. Glen Echo and Somerset towns)	26,114	12,018	14,096	117.3
District 10, Potomac	1,828	1,135	693	61.1
District 13, Wheaton (incl. Kensington town and part of Takoma Park town)	28,877	13,377	15,500	115.9
In Prince Georges County	73,211	43,669	29,542	67.6
District 1, Vansville (incl. part of Greenbelt town)	1,923	1,521	402	26.4
District 2, Bladensburg (incl. Bladensburg, Colmar Manor, and Cottage City towns, and part of Cheverly town)	6,103	4,318	1,785	41.3

[1] Includes population (133) of Northwest Park village, in district 7, Montgomery County, Maryland, returned in 1930 as incorporated; exclusive of population (38) of Chestnut Lodge Sanitarium in Rockville town, erroneously reported as in district 4, outside the town.
[2] Incorporated since 1930.
[3] In Arlington and Fairfax Counties in 1930; figure for 1930 includes population (550) of that part in Arlington County, disincorporated and reverted to the county in 1936.
[4] Not included in the metropolitan district in 1930 (population, 2,532 in 1930).
[5] Figure for 1930 for Rockville town corrected by inclusion of population (38) of Chestnut Lodge Sanitarium, erroneously reported as in district 4, outside the town.
[6] Part of district 17, Prince Georges County, annexed to Takoma Park town in 1933; part of Takoma Park town reverted to district 17 in 1939.
[7] Exclusive of population (133) of Northwest Park village, in district 7, Montgomery County, Maryland, returned in 1930 as incorporated. Includes population (38) of Chestnut Lodge Sanitarium, erroneously reported as in district 4, outside of Rockville town.
[8] Part of district 7, including that part of Garrett Park town in district 7, annexed to district 4 in 1933.

TABLE 4.—POPULATION OF THE WASHINGTON, D. C., METROPOLITAN DISTRICT: 1940 AND 1930—Continued

[A minus sign (−) denotes decrease]

AREA	POPULATION		INCREASE	
	1940	1930	Number	Percent
MARYLAND—Continued.				
In Prince Georges county—Continued.				
District 6, Spalding (incl. Boulevard Heights and District Heights towns)	7,605	3,921	3,684	94.0
District 10, Laurel (incl. Laurel town)	3,691	(9)		
District 12, Oxon Hill	2,802	1,809	993	54.9
District 13, Kent [10] (incl. parts of Cheverly and Glen Arden towns)	2,264	1,816	448	24.7
District 14, Bowie (incl. Bowie town)	3,600	2,672	928	34.7
District 16, Hyattsville (incl. Edmonston and Hyattsville towns)	7,923	5,198	2,725	52.4
District 17, Chillum [6] (incl. Brentwood, Mount Rainier, and North Brentwood towns, and part of Takoma Park town)	10,864	8,214	2,650	32.3
District 18, Seat Pleasant (incl. Capitol Heights, Fairmount Heights, and Seat Pleasant towns, and part of Cheverly town)	10,750	7,022	3,728	53.1
District 19, Riverdale (incl. Riverdale, Riverdale Heights, and University Park towns)	6,187	2,895	3,292	113.7
District 20, Lanham [10] (incl. parts of Glen Arden and Greenbelt towns)	1,758	1,135	623	54.9
District 21, Berwyn (incl. Berwyn Heights town and part of Greenbelt town)	7,741	3,148	4,593	145.9
VIRGINIA				
Alexandria city	33,523	24,149	9,374	38.8
Arlington County [11]	57,040	26,615	30,425	114.3
In Fairfax County	18,137	8,543	9,594	112.3
Falls Church district [12] (incl. part of Falls Church town)	7,614	1,325	6,289	
Providence district (incl. Fairfax and Vienna towns and part of Falls Church town)	10,523	7,218	3,305	45.8

[9] Not included in the metropolitan district in 1930 (population 3,151 in 1930).
[10] Glen Arden town incorporated in 1939, but not returned separately in 1940.
[11] Arlington, Jefferson, and Washington magisterial districts (population for 1930: 17,845, 3,104, and 5,666, respectively), abolished in 1932.
[12] Only that part comprising part of Falls Church town in Falls Church district was included in the metropolitan district in 1930; the population of that part outside Falls Church town was 5,398 in 1940 and 2,848 in 1930; increase shown is due mainly to extension of territory included in metropolitan district.

Census tracts.—Census tracts are small areas into which certain large cities have been subdivided for statistical and local administrative purposes, through cooperation with a local committee in each case. Through the use of census tract data comparisons may be made from census to census. Tracts are laid out with a view to approximate uniformity in population and with some regard for uniformity in area, and each is designed to include an area fairly homogeneous in population characteristics. In table 5 the 1940 and 1930 population of the District of Columbia is shown by census tracts. The census tract boundaries were radically changed in 1935, but a special tabulation of the 1930 data was made for the new tracts, from which are taken the 1930 figures in table 5. These tracts are shown on the accompanying map.

TABLE 5.—POPULATION OF THE DISTRICT OF COLUMBIA BY CENSUS TRACTS: 1940 AND 1930

[A minus sign (—) denotes decrease]

TRACT	POPULATION				TRACT	POPULATION				TRACT	POPULATION			
	1940	1930	Increase			1940	1930	Increase			1940	1930	Increase	
			Number	Percent				Number	Percent				Number	Percent
The District	**663,091**	**486,869**	**176,222**	**36.2**	Tract 32	7,859	7,087	772	10.9	Tract 65	7,057	5,693	1,364	24.0
					Tract 33	9,487	8,089	1,398	17.3	Tract 66	4,311	4,012	299	7.5
Tract 1	8,278	7,889	389	4.9	Tract 34	6,802	6,146	656	10.7	Tract 67	7,028	6,070	958	15.8
Tract 2	6,680	6,250	430	6.9	Tract 35	4,753	4,538	215	4.7	Tract 68	8,869	7,043	1,826	25.9
Tract 3	6,117	3,175	2,942	92.7	Tract 36	6,138	5,066	1,072	21.2	Tract 69	5,393	5,012	381	7.6
Tract 4	1,490	1,278	212	16.6	Tract 37	5,585	4,352	1,233	28.3	Tract 70	6,779	6,108	671	11.0
Tract 5	7,531	5,698	1,833	32.2	Tract 38	5,714	3,925	1,789	45.6	Tract 71	4,452	3,573	879	24.6
Tract 6	5,509	4,906	603	12.3	Tract 39	5,009	4,575	524	11.5	Tract 72	7,183	4,938	2,245	45.5
Tract 7	4,908	2,091	2,817	134.7	Tract 40	8,528	6,377	2,151	33.7	Tract 73	7,379	4,056	3,323	81.9
Tract 8	4,552	2,850	1,702	59.7	Tract 41	4,042	3,526	516	14.6	Tract 74	3,962	3,636	326	9.0
Tract 9	3,514	1,687	1,827	108.3	Tract 42	10,785	6,970	3,815	54.7	Tract 75	5,646	3,869	1,777	45.9
Tract 10	6,493	2,316	4,177	180.4	Tract 43	5,751	4,499	1,252	27.8	Tract 76	9,853	4,328	5,525	127.7
Tract 11	5,423	5,240	183	3.5	Tract 44	5,594	4,996	598	12.0	Tract 77	5,976	1,548	4,428	286.0
Tract 12	4,242	2,974	1,268	42.6	Tract 45	3,639	3,219	420	13.0	Tract 78	12,379	7,544	4,835	64.1
Tract 13	3,298	2,209	1,089	49.3	Tract 46	8,235	6,706	1,529	22.8	Tract 79	8,865	3,422	5,443	159.1
Tract 14	5,754	3,119	2,635	84.5	Tract 47	11,118	8,276	2,842	34.3	Tract 80	11,533	9,664	1,869	19.3
Tract 15	3,921	951	2,970	312.3	Tract 48	12,721	9,558	3,163	33.1	Tract 81	5,021	4,448	573	12.9
Tract 16	3,684	1,440	2,244	155.8	Tract 49	12,491	9,245	3,246	35.1	Tract 82	6,903	6,253	650	10.4
Tract 17	5,251	3,527	1,724	48.9	Tract 50	10,363	7,778	2,585	33.2	Tract 83	10,753	9,233	1,520	16.5
Tract 18	5,204	1,906	3,298	173.0	Tract 51	3,956	3,513	443	12.6	Tract 84	8,326	7,385	941	12.7
Tract 19	8,648	4,260	4,388	103.0	Tract 52	9,456	6,628	2,828	42.7	Tract 85	8,196	7,002	1,194	17.1
Tract 20	7,275	5,209	2,066	39.7	Tract 53	10,833	6,552	4,281	65.3	Tract 86	5,261	4,099	1,162	28.3
Tract 21	13,278	6,258	7,020	112.2	Tract 54	10,307	7,561	2,746	36.3	Tract 87	6,978	5,908	1,070	18.1
Tract 22	9,685	5,936	3,749	63.2	Tract 55	8,776	6,476	2,300	35.5	Tract 88	12,533	6,740	5,793	85.9
Tract 23	6,007	5,910	97	1.6	Tract 56	6,240	4,670	1,570	33.6	Tract 89	3,944	1,360	2,584	190.0
Tract 24	5,394	5,239	155	3.0	Tract 57	11,249	9,988	1,261	12.6	Tract 90	2,333	1,849	484	26.2
Tract 25	9,036	7,825	1,211	15.5	Tract 58	4,927	4,752	175	3.7	Tract 91	5,861	3,751	2,110	56.3
Tract 26	1,952	1,312	640	48.8	Tract 59	9,013	9,126	—113	—1.2	Tract 92	7,032	4,364	2,668	61.1
Tract 27	10,341	8,125	2,216	27.3	Tract 60	10,106	7,359	2,747	37.3	Tract 93	7,758	6,393	1,365	21.4
Tract 28	7,398	6,210	1,188	19.1	Tract 61	6,632	5,547	1,085	19.6	Tract 94	5,619	3,371	2,248	66.7
Tract 29	5,580	4,797	783	16.3	Tract 62	5,169	5,731	—562	—9.8	Tract 95	7,764	3,473	4,291	123.6
Tract 30	4,980	3,441	1,539	44.7	Tract 63	4,808	3,655	1,153	31.5	Tract 96	6,644	4,455	2,189	49.1
Tract 31	5,267	4,082	1,185	29.0	Tract 64	2,634	1,673	961	57.4					

DISTRICT OF COLUMBIA BY CENSUS TRACTS

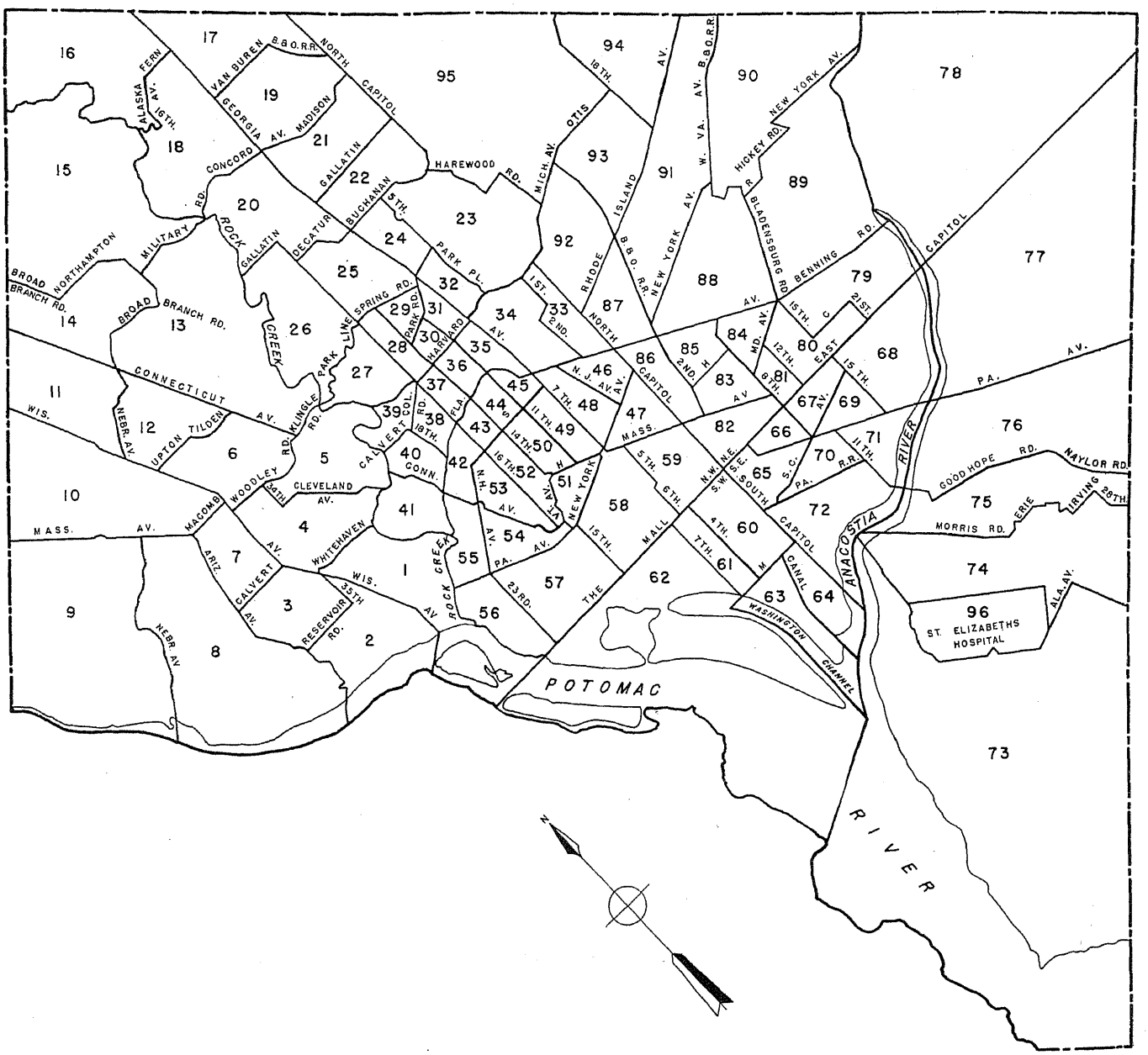

FLORIDA

CONTENTS

	Page
MAP.—Florida by minor civil divisions (3 sections)	208
DIAGRAM.—Urban and rural population of Florida: 1830 to 1940	211
TABLE 1.—Population of Florida, urban and rural: 1830 to 1940	211
TABLE 2.—Population of cities of 10,000 or more from earliest census to 1940	212
TABLE 3.—Area and population of counties urban and rural: 1920 to 1940	213
TABLE 4.—Population of counties by minor civil divisions: 1920 to 1940	214
TABLE 5.—Population of incorporated places: 1940 and 1930	224
TABLE 6.—Population of cities of 5,000 or more by wards: 1940	226
TABLE 7.—Population of the Jacksonville metropolitan district: 1940 and 1930	226
TABLE 7–A.—Population of the Miami metropolitan district: 1940 and 1930	227
TABLE 7–B.—Population of the Tampa-St. Petersburg metropolitan district: 1940 and 1930	228
Maps of metropolitan districts:	
Jacksonville	229
Miami	230
Tampa-St. Petersburg	231

FLORIDA—NORTHWESTERN PART

MINOR CIVIL DIVISIONS—PRECINCTS

[The precincts appearing along the eastern edge of this section are repeated on the western edge of the northeastern section for convenience in reference]

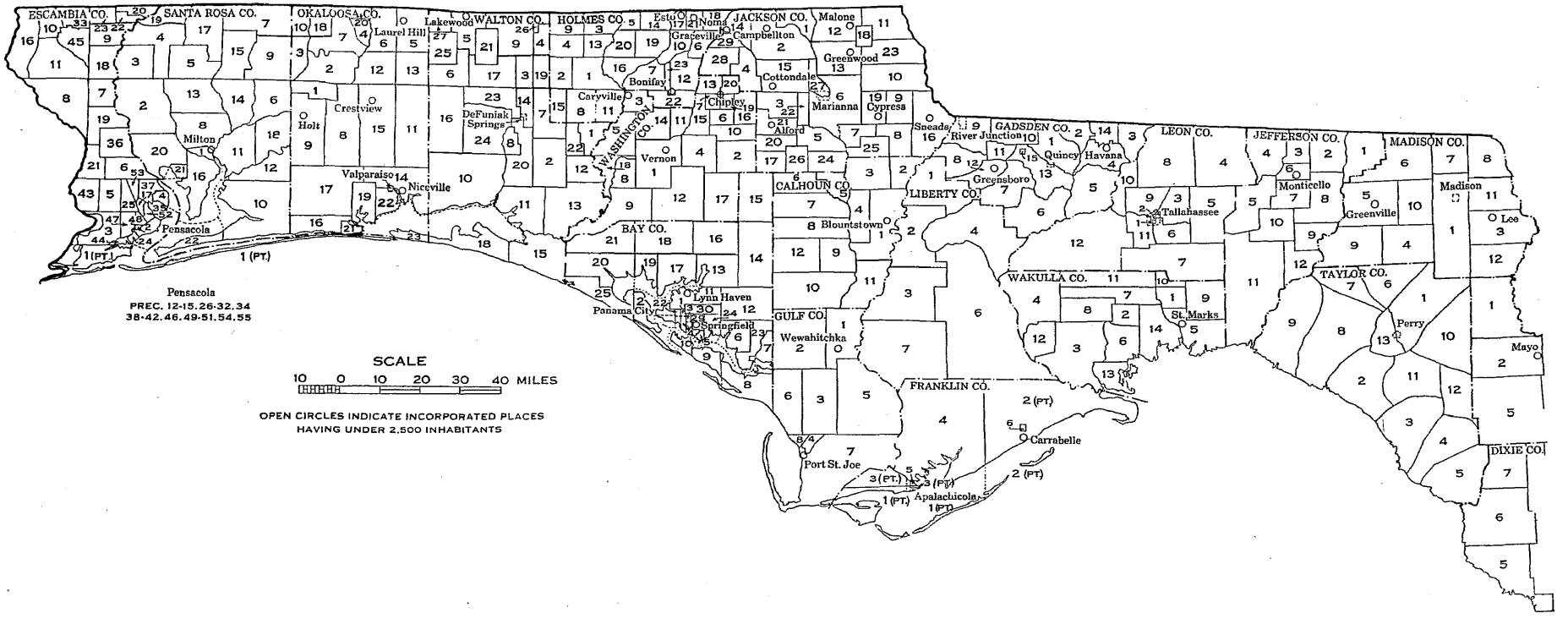

FLORIDA—NORTHEASTERN PART

MINOR CIVIL DIVISIONS—PRECINCTS

[Some of the precincts appearing along the western edge of this section are repeated on the eastern edge of the northwestern section for convenience in reference]

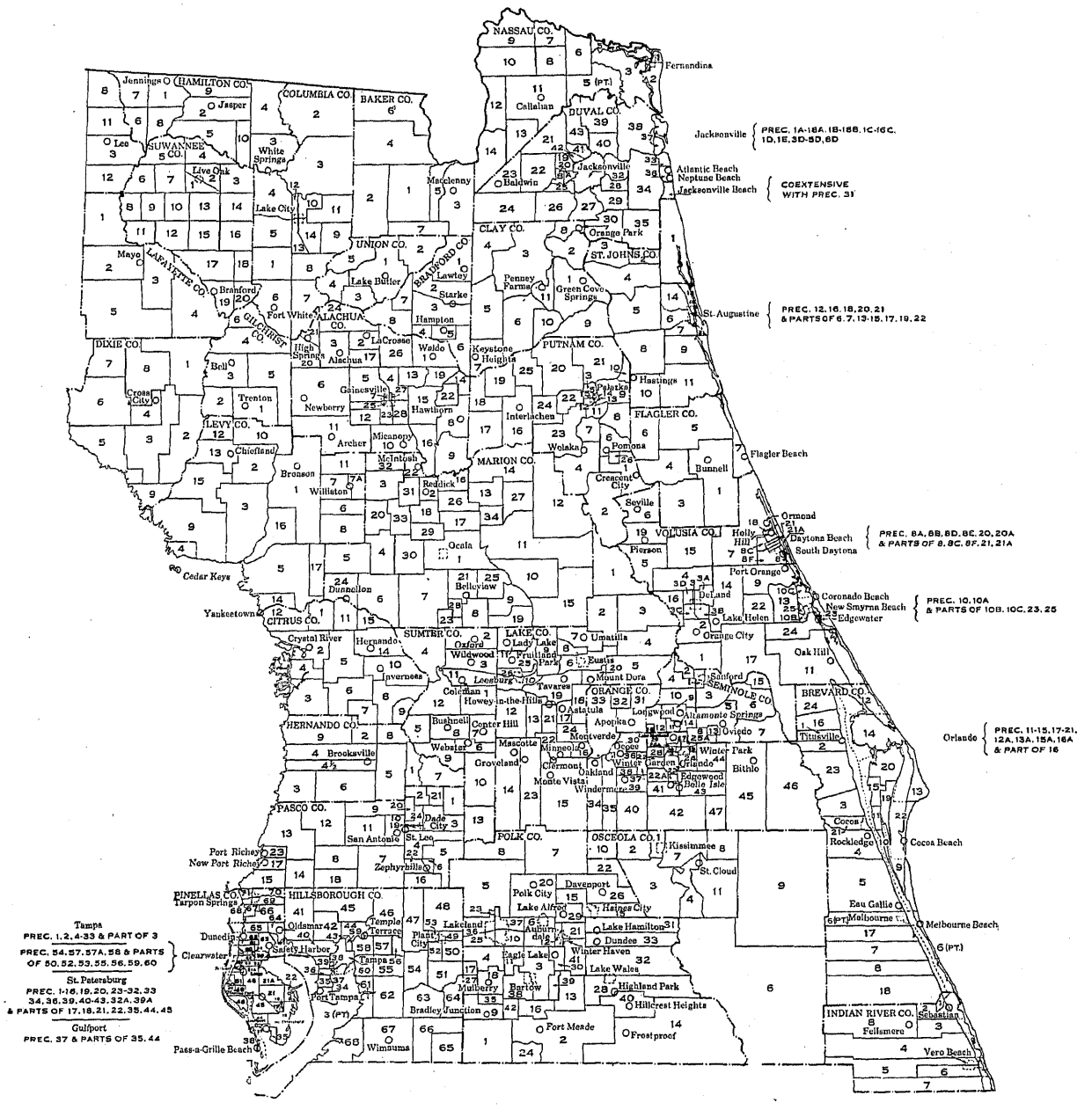

FLORIDA—SOUTHERN PART

MINOR CIVIL DIVISIONS—PRECINCTS

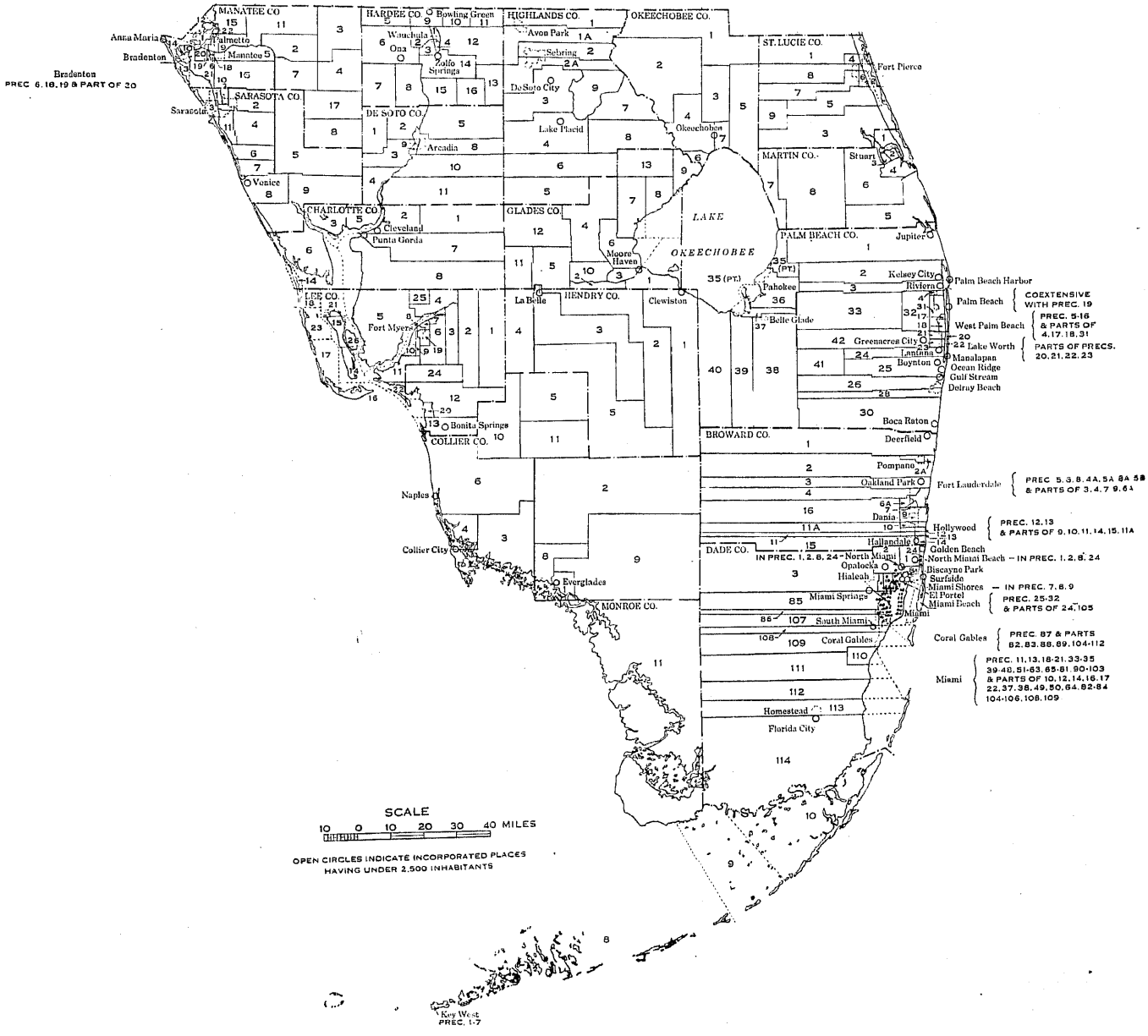

FLORIDA

NUMBER OF INHABITANTS

Population of the State.—Florida was organized as a Territory in 1822, with boundaries as at present, from area purchased from Spain in 1819 and transferred to the United States in 1821. It was admitted to the Union in 1845 as the twenty-seventh State. The population of Florida on April 1, 1940, according to the Sixteenth Census, was 1,897,414, which represents an increase of 429,203, or 29.2 percent, as compared with the population on April 1, 1930. The total land area of the State, as shown in table 3, is 54,262 square miles. The average number of inhabitants per square mile in 1940 was 35.0, as compared with 27.1 in 1930.

Table 1 shows the population of Florida from 1830, the year in which the Territory of Florida was first enumerated, to 1940, together with the increase during each decade. The urban and rural population of the State at each census is presented in this table and is also shown graphically in the accompanying chart. The urban population of Florida consists of those persons living in incorporated places of 2,500 or more, the remainder of the population being classified as rural. The urban and rural areas are not necessarily constant from one census to the next, since new places are added to the urban list from time to time as they attain a population of 2,500 or more; for example, Auburndale was classified as urban in 1940 for the first time. Places are likewise taken off the urban list when, through decline in population, they fall below this limit.

TABLE 1.—POPULATION OF FLORIDA, URBAN AND RURAL: 1830 TO 1940

[Urban-rural classification in accordance with 1940 definitions. Percent not shown where base is less than 100]

CENSUS YEAR	THE STATE			URBAN PLACES				RURAL TERRITORY			PERCENT OF TOTAL	
	Population	Increase over preceding census		Number of places	Population	Increase over preceding census		Population	Increase over preceding census		Urban	Rural
		Number	Percent			Number	Percent		Number	Percent		
1940	1,897,414	429,203	29.2	70	1,045,791	286,013	37.6	851,623	143,190	20.2	55.1	44.9
1930	1,468,211	499,741	51.6	58	759,778	406,263	114.9	708,433	93,478	15.2	51.7	48.3
1920	968,470	215,851	28.7	30	353,515	134,435	61.4	614,955	81,416	15.3	36.5	63.5
1910	752,619	224,077	42.4	23	219,080	112,049	104.7	533,539	112,028	26.6	29.1	70.9
1900	528,542	137,120	35.0	12	107,031	29,673	38.4	421,511	107,447	34.2	20.3	79.7
1890	391,422	121,929	45.2	12	77,358	50,411	187.1	314,064	71,518	29.5	19.8	80.2
1880	269,493	81,745	43.5	4	26,947	11,672	76.4	242,546	70,073	40.6	10.0	90.0
1870	187,748	47,324	33.7	3	15,275	9,567	167.6	172,473	37,757	28.0	8.1	91.9
1860	140,424	52,979	60.6	2	5,708	5,708	----	134,716	47,271	54.1	4.1	95.9
1850	87,445	32,968	60.5	----	----	----	----	87,445	32,968	60.5	----	100.0
1840	54,477	19,747	56.9	----	----	----	----	54,477	19,747	56.9	----	100.0
1830	34,730	----	----	----	----	----	----	34,730	----	----	----	100.0

URBAN AND RURAL POPULATION OF FLORIDA: 1830 TO 1940

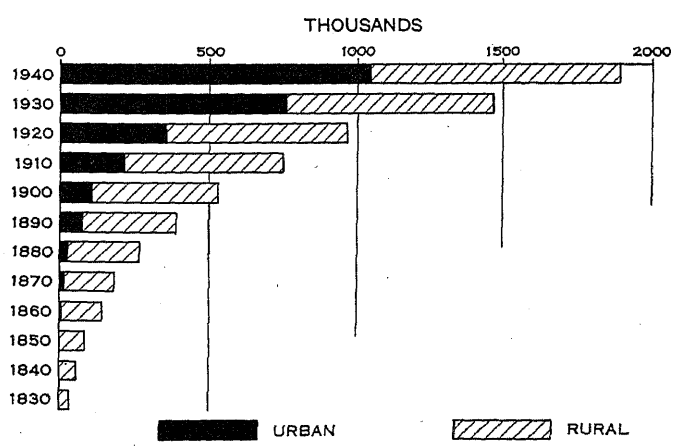

Geographic subdivisions.—In tables 2 to 5 the population of Florida is shown by counties, election precincts, cities, towns, and villages, with some comparative figures from previous censuses. Table 6 gives the population of cities by wards. Data for the metropolitan districts are presented in tables 7, 7–A, and 7–B.

Cities of 10,000 or more.—There are 20 cities in the State that had a population of 10,000 or more in 1940. Table 2 shows the population of these cities at each census for which figures are available, together with the increase or decrease during each decade. Jacksonville, the largest city, had a population in 1940 of 173,065; and Tallahassee, the capital of the State, had a population of 16,240.

TABLE 2.—POPULATION OF CITIES OF 10,000 OR MORE FROM EARLIEST CENSUS TO 1940

[A minus sign (−) denotes decrease]

CITY AND CENSUS YEAR	Population	INCREASE OVER PRECEDING CENSUS	
		Number	Percent
Clearwater:			
1940	10,136	2,529	33.2
1930	7,607	5,180	213.4
1920	2,427	1,256	107.3
1910	1,171	828	241.4
1900	343		
Daytona Beach:[1]			
1940	22,584	5,986	36.1
1930	16,598	15,773	
1920	825	494	149.2
1910	331		
Fort Lauderdale:			
1940	17,996	9,330	107.7
1930	8,666	6,601	319.7
1920	2,065		
Fort Myers:[2]			
1940	10,604	1,522	16.8
1930	9,082	5,404	146.9
1920	3,678	1,215	49.3
1910	2,463	1,520	161.2
1900	943	368	64.0
1890	575		
Gainesville:			
1940	13,757	3,292	31.5
1930	10,465	3,605	52.6
1920	6,860	677	10.9
1910	6,183	2,550	70.2
1900	3,633	843	30.2
1890	2,790		
Jacksonville:			
1940	173,065	43,516	33.6
1930	129,549	37,991	41.5
1920	91,558	33,859	58.7
1910	57,699	29,270	103.0
1900	28,429	11,228	65.3
1890	17,201	9,551	124.8
1880	7,650	738	10.7
1870	6,912	4,794	226.3
1860	2,118	1,073	102.7
1850	1,045		
Key West:			
1940	12,927	96	0.7
1930	12,831	−5,918	−31.6
1920	18,749	−1,196	−6.0
1910	19,945	2,831	16.5
1900	17,114	−966	−5.3
1890	18,080	8,190	82.8
1880	9,890	4,874	97.2
1870	[3] 5,016	2,184	77.1
1860	2,832	465	19.6
1850	[3] 2,367	1,679	244.0
1840	688		
Lakeland:			
1940	22,068	3,514	18.9
1930	18,554	11,492	162.7
1920	7,062	3,343	89.9
1910	3,719	2,539	215.2
1900	1,180	628	113.8
1890	552		
Miami:			
1940	172,172	61,535	55.6
1930	110,637	81,066	274.1
1920	29,571	24,100	440.5
1910	5,471	3,790	225.5
1900	1,681		
Miami Beach:			
1940	28,012	21,518	331.4
1930	6,494	5,850	908.4
1920	644		
Orlando:			
1940	36,736	9,406	34.4
1930	27,330	18,048	194.4
1920	9,282	5,388	138.4
1910	3,894	1,413	57.0
1900	2,481	−375	−13.1
1890	2,856		
Panama City:			
1940	11,610	6,208	114.9
1930	5,402	3,680	213.7
1920	1,722	1,300	308.1
1910	422		
Pensacola:			
1940	37,449	5,870	18.6
1930	31,579	544	1.8
1920	31,035	8,053	35.0
1910	22,982	5,235	29.5
1900	17,747	5,997	51.0
1890	11,750	4,905	71.7
1880	6,845	3,498	104.5
1870	3,347	471	16.4
1860	2,876	712	32.9
1850	2,164		
St. Augustine:			
1940	12,090	−21	−0.2
1930	12,111	5,919	95.6
1920	6,192	698	12.7
1910	5,494	1,222	28.6
1900	4,272	−470	−9.9
1890	4,742	2,449	106.8
1880	2,293	576	33.5
1870	1,717	−197	−10.3
1860	1,914	−20	−1.0
1850	1,934	−516	−21.1
St. Augustine—Con.			
1840	2,450	742	43.4
1830	1,708		
St. Petersburg:			
1940	60,812	20,387	50.4
1930	40,425	26,188	183.9
1920	14,237	10,110	245.0
1910	4,127	2,552	162.0
1900	1,575	1,302	476.9
1890	273		
Sanford:			
1940	10,217	117	1.2
1930	10,100	4,512	80.7
1920	5,588	2,018	56.5
1910	3,570	2,120	146.2
1900	1,450	−566	−28.1
1890	2,016		
Sarasota:			
1940	11,141	2,743	32.7
1930	8,398	6,249	290.8
1920	2,149	1,309	155.8
1910	840		
Tallahassee:			
1940	16,240	5,540	51.8
1930	10,700	5,063	89.8
1920	5,637	619	12.3
1910	5,018	2,037	68.3
1900	2,981	47	1.6
1890	2,934	440	17.6
1880	2,494	471	23.3
1870	2,023	91	4.7
1860	1,932		
1850	[4]		
1840	1,616		
Tampa:			
1940	108,391	7,230	7.1
1930	101,161	49,553	96.0
1920	51,608	13,826	36.6
1910	37,782	21,943	138.5
1900	15,839	10,307	186.3
1890	5,532	4,812	668.3
1880	720	−76	−9.5
1870	796		
West Palm Beach:			
1940	33,693	7,083	26.6
1930	26,610	17,951	207.2
1920	8,659	6,916	396.3
1910	1,743	1,179	209.0
1900	564		

[1] Daytona Beach, Daytona, and Seabreeze cities consolidated as Daytona Beach city in 1925. Combined population for 1920 and 1910 is as follows: 1920, 6,841; 1910, 3,721.
[2] Returned as Myers in 1900 and 1890.
[3] Corrected since publication of vol. I, 1930.
[4] Not returned separately.

Counties.—Table 3 shows the population of the 67 counties of Florida from 1920 to 1940, together with the land area of each county and its population per square mile in 1940. The land areas given here are the result of new measurements recently compiled and differ somewhat from those published in earlier census reports. Of the 65 counties whose boundaries remained unchanged since 1930, 52 increased in population between 1930 and 1940, and 13 decreased. Part of Glades County was annexed to Hendry County in 1937. This table also presents the urban and rural population of each county for 1940 and 1930.

TABLE 3.—AREA AND POPULATION OF COUNTIES, URBAN AND RURAL: 1920 TO 1940

[A minus sign (−) denotes decrease. Percent not shown where base is less than 100]

COUNTY	Land area in square miles, 1940	TOTAL POPULATION						URBAN POPULATION			RURAL POPULATION			PERCENT URBAN	
		1940		1930	1920	Percent of increase		1940	1930	Percent of increase	1940	1930	Percent of increase	1940	1930
		Total	Per square mile			1930 to 1940	1920 to 1930								
Florida	54,262	1,897,414	35.0	1,468,211	968,470	29.2	51.6	1,045,791	758,778	37.8	851,623	708,433	20.2	55.1	51.7
Alachua [1]	892	38,607	43.3	34,365	31,689	12.3	8.4	13,757	10,465	31.5	24,850	23,900	4.0	35.6	30.5
Baker	585	6,510	11.1	6,273	5,622	3.8	11.6				6,510	6,273	3.8		
Bay	753	20,686	27.5	12,091	11,407	71.1	6.0	11,610	5,402	114.9	9,076	6,689	35.7	56.1	44.7
Bradford [2]	293	8,717	29.8	9,405	12,503	−7.3	−24.8				8,717	9,405	−7.3		
Brevard	1,032	16,142	15.6	13,283	8,505	21.5	56.2	5,720	2,677	113.7	10,422	10,606	−1.7	35.4	20.2
Broward	1,218	39,794	32.7	20,094	5,135	98.0	291.3	31,564	14,149	123.1	8,230	5,945	38.4	79.3	70.4
Calhoun [3]	557	8,218	14.8	7,298	8,775	12.6	−16.8				8,218	7,298	12.6		
Charlotte [4]	705	3,663	5.2	4,013		−8.7					3,663	4,013	−8.7		
Citrus	570	5,846	10.3	5,516	5,220	6.0	5.7				5,846	5,516	6.0		
Clay [5]	598	6,468	10.8	6,859	5,621	−5.7	22.0				6,468	6,859	−5.7		
Collier [6]	2,032	5,102	2.5	2,883		77.0					5,102	2,883	77.0		
Columbia	786	16,859	21.4	14,638	14,290	15.2	2.4	5,836	4,416	32.2	11,023	10,222	7.8	34.6	30.2
Dade	2,054	267,739	130.4	142,955	42,753	87.3	234.4	215,590	125,428	71.9	52,149	17,527	197.5	80.5	87.7
De Soto [4]	648	7,792	12.0	7,745	25,434	0.6	−69.5	4,055	4,082	−0.7	3,737	3,663	2.0	52.0	52.7
Dixie [7]	688	7,018	10.2	6,419		9.3					7,018	6,419	9.3		
Duval	777	210,143	270.5	155,503	113,540	35.1	37.0	176,631	135,146	30.7	33,512	20,357	64.6	84.1	86.9
Escambia	663	74,667	112.6	53,594	49,386	39.3	8.5	37,449	31,579	18.6	37,218	22,015	69.1	50.2	58.9
Flagler	483	3,008	6.2	2,466	2,442	22.0	1.0				3,008	2,466	22.0		
Franklin	544	5,991	11.0	6,283	5,318	−4.6	18.1	3,268	3,150	3.7	2,723	3,133	−13.1	54.5	50.1
Gadsden	508	31,450	61.9	29,890	23,539	5.2	27.0	10,998	9,412	16.9	20,452	20,478	−0.1	35.0	31.5
Gilchrist [1]	339	4,250	12.5	4,137		2.7					4,250	4,137	2.7		
Glades [4]	746	2,745	3.7	2,762		−0.6					2,745	2,762	−0.6		
Gulf [3]	557	6,951	12.5	3,182		118.4					6,951	3,182	118.4		
Hamilton	514	9,778	19.0	9,454	9,873	3.4	−4.2				9,778	9,454	3.4		
Hardee [4]	630	10,158	16.1	10,348		−1.8		2,710	2,574	5.3	7,448	7,774	−4.2	26.7	24.9
Hendry [6]	1,187	5,237	4.4	3,492		50.0					5,237	3,492	50.0		
Hernando	488	5,641	11.6	4,948	4,548	14.0	8.8				5,641	4,948	14.0		
Highlands [4]	1,041	9,246	8.9	9,192		0.6		6,280	6,267	0.2	2,966	2,925	1.4	67.9	68.2
Hillsborough	1,040	180,148	173.2	153,519	88,257	17.3	73.9	115,882	107,961	7.3	64,266	45,558	41.1	64.3	70.3
Holmes	483	15,447	32.0	12,924	12,850	19.5	0.6				15,447	12,924	19.5		
Indian River [8]	511	8,957	17.5	6,724		33.2		3,050			5,907	6,724	−12.2	34.1	
Jackson	942	34,428	36.5	31,969	31,224	7.7	2.4	5,079	3,372	50.6	29,349	28,597	2.6	14.8	10.5
Jefferson [9]	598	12,032	20.1	13,408	14,502	−10.3	−7.5				12,032	13,408	−10.3		
Lafayette [7]	543	4,405	8.1	4,361	6,242	1.0	−30.1				4,405	4,361	1.0		
Lake	996	27,255	27.4	23,161	12,744	17.7	81.7	7,617	6,948	9.6	19,638	16,213	21.1	27.9	30.0
Lee [6]	786	17,488	22.2	14,990	9,540	16.7	57.1	10,604	9,082	16.8	6,884	5,908	16.5	60.6	60.6
Leon	685	31,646	46.2	23,476	18,059	34.8	30.0	16,240	10,700	51.8	15,406	12,776	20.6	51.3	45.6
Levy	1,103	12,550	11.4	12,456	9,921	0.8	25.6				12,550	12,456	0.8		
Liberty	838	3,752	4.5	4,067	5,006	−7.7	−18.8				3,752	4,067	−7.7		
Madison [9]	702	16,190	23.1	15,614	16,516	3.7	−5.5	2,730			13,460	15,614	−13.8	16.9	
Manatee [10]	701	26,098	37.2	22,502	18,712	16.0	20.3	14,530	12,248	18.6	11,568	10,254	12.8	55.7	54.4
Marion	1,617	31,243	19.3	29,578	23,908	5.6	23.4	8,986	7,281	23.4	22,257	22,297	−0.2	28.8	24.6
Martin [8]	559	6,295	11.3	5,111		23.2					6,295	5,111	23.2		
Monroe	994	14,078	14.2	13,624	10,550	3.3	−30.3	12,927	12,831	0.7	1,151	793	45.1	91.8	94.2
Nassau	650	10,826	16.7	9,375	11,340	15.5	−17.3	3,492	3,023	15.5	7,334	6,352	15.5	32.3	32.2
Okaloosa	938	12,900	13.8	9,897	9,360	30.3	5.7				12,900	9,897	30.3		
Okeechobee	780	3,000	3.8	4,129	2,132	−27.3	93.7				3,000	4,129	−27.3		
Orange	916	70,074	76.5	49,737	19,890	40.9	150.1	44,511	31,016	43.5	25,563	18,721	36.5	63.5	62.4
Osceola	1,325	10,119	7.6	10,699	7,195	−5.4	48.7	3,225	3,163	2.0	6,894	7,536	−8.5	31.9	29.6
Palm Beach [8]	1,978	79,989	40.4	51,781	18,654	54.5	177.6	57,157	32,550	75.6	22,832	19,231	18.7	71.5	62.9
Pasco	751	13,981	18.6	10,574	8,802	32.2	20.1	2,561			11,420	10,574	8.0	18.3	
Pinellas	264	91,852	347.9	62,149	28,265	47.8	119.9	74,350	51,446	44.5	17,502	10,703	63.5	80.9	82.8
Polk	1,861	86,665	46.6	72,291	38,661	19.9	87.0	46,062	37,391	23.2	40,603	34,900	16.3	53.1	51.7
Putnam [5]	803	18,698	23.3	18,096	14,568	3.3	24.2	7,140	6,500	9.8	11,558	11,596	−0.3	38.2	35.9
St. Johns	609	20,012	32.9	18,676	13,061	7.2	43.0	12,090	12,111	−0.2	7,922	6,565	20.7	60.4	64.8
St. Lucie [8]	588	11,871	20.2	7,057	7,886	68.2	−10.5	8,040	4,803	67.4	3,831	2,254	70.0	67.7	68.1
Santa Rosa	1,024	16,085	15.7	14,083	13,670	14.2	3.0				16,085	14,083	14.2		
Sarasota [10]	586	16,106	27.5	12,440		29.5		11,141	8,398	32.7	4,965	4,042	22.8	69.2	67.5
Seminole	321	22,304	69.5	18,735	10,986	19.0	70.5	10,217	10,100	1.2	12,087	8,635	40.0	45.8	53.9
Sumter	561	11,041	19.7	10,644	7,851	3.7	35.6				11,041	10,644	3.7		
Suwannee	677	17,073	25.2	15,731	19,789	8.5	−20.5	3,427	2,734	25.3	13,646	12,997	5.0	20.1	17.4
Taylor	1,032	11,565	11.2	13,136	11,219	−12.0	17.1	2,668	2,744	−2.8	8,897	10,392	−14.4	23.1	20.9
Union [2]	240	7,094	29.6	7,428		−4.5					7,094	7,428	−4.5		
Volusia	1,115	53,710	48.2	42,757	23,374	25.6	82.9	34,027	25,993	30.9	19,683	16,764	17.4	63.4	60.8
Wakulla	614	5,463	8.9	5,468	5,129	−0.1	6.6				5,463	5,468	−0.1		
Walton	1,046	14,246	13.6	14,576	12,119	−2.3	20.3	2,570	2,636	−2.5	11,676	11,940	−2.2	18.0	18.1
Washington	597	12,302	20.6	12,180	11,828	1.0	3.0				12,302	12,180	1.0		

[1] Gilchrist organized from part of Alachua in 1926.
[2] Part of Bradford taken to form Union in 1921; part annexed to Putnam in 1927.
[3] Part of Calhoun taken to form Gulf in 1925.
[4] Charlotte, Glades, Hardee, and Highlands organized from parts of De Soto in 1921. Part of Glades annexed to Hendry in 1937.
[5] Parts of Bradford and Clay annexed to Putnam in 1927.
[6] Collier and Hendry organized from parts of Lee in 1923, part of Glades annexed to Hendry in 1937.
[7] Dixie organized from part of Lafayette in 1921.
[8] Indian River organized from part of St. Lucie, and Martin organized from parts of Palm Beach and St. Lucie, in 1925.
[9] Part of Jefferson annexed to Madison, and part of Madison annexed to Jefferson, in 1923.
[10] Sarasota organized from part of Manatee in 1921.

Minor civil divisions.—To the primary political divisions into which the counties are subdivided the Census Bureau applies the general term "minor civil divisions." The primary divisions of the counties in Florida are called election precincts. The incorporated cities, towns, and villages form secondary subdivisions of the minor civil divisions in which they are located. There are 125 cities, 145 towns, and 3 villages. Ordinarily, each of these secondary divisions forms a part of some election precinct (or precincts).

Table 4 shows the population of each county by election precincts, cities, towns, and villages for the last three censuses. The population of the cities, towns, and villages is shown in *italics* under the population of the primary divisions in which the places are respectively located. Where an incorporated place is located in two or more election precincts in the same county, the total population of the place is given in connection with the presentation for the first precinct. Where the place is situated in two or more counties, the total population is given in connection with each county. The population of Jacksonville and Key West cities, which comprise several entire precincts, is shown in roman type, followed by the precinct population in italics.

TABLE 4.—POPULATION OF COUNTIES BY MINOR CIVIL DIVISIONS: 1920 TO 1940

[The "precincts" shown in the table are election precincts. Where few comparative figures are shown, the counties have been organized at some time between the censuses or have been redistricted. For other changes in boundaries, etc., see footnotes; for those between 1920 and 1930, see Reports of the Fifteenth Census (1930), vol. I, pp. 199–215]

MINOR CIVIL DIVISION	1940	1930	1920
Alachua County	38,607	34,365	[1] 31,689
Prec. 1, Waldo	1,100	1,488	1,181
Waldo city	567	703	571
Prec. 2, La Crosse	639	889	1,131
La Crosse town	192	374	
Prec. 3, Alachua	2,415	2,362	2,006
Alachua city	1,081	865	778
Prec. 4, Gainesville [1]	1,947		
Gainesville city, total [1]	13,757	10,465	6,860
In Prec. 4	984		
In Prec. 5	1,091		
In Prec. 23	1,662		
In Prec. 27	1,494		
In Prec. 28	2,474		
Precs. 7 and 25, entire	6,152		
Prec. 5, Gainesville [1]	2,591		
Gainesville city (part)	1,091		
Prec. 6, Newberry	2,869	2,461	3,321
Newberry town	755	766	917
Prec. 7, Gainesville [1]	4,991	[1] 5,388	4,277
Gainesville city (part)	4,991		
Prec. 8, Hawthorn	1,403	1,369	1,403
Hawthorn town	741	609	543
Prec. 9, Island Grove	607	582	559
Prec. 10, Micanopy	1,330	1,274	1,257
Micanopy town	720	725	546
Prec. 11, Archer	1,805	2,015	1,866
Archer city	517	576	420
Prec. 12, Arredondo	611	596	551
Prec. 13, Fairbanks	352	346	380
Prec. 14, Melrose	284	354	302
Prec. 15, Rochelle	778	755	787
Prec. 16, Evinston	71	52	124
Prec. 17, Hague	453	526	723
Prec. 19, Orange Heights	320	311	364
Prec. 20, High Springs [1]	1,139	2,587	2,615
High Springs city, total [1]	2,010	1,864	1,719
In Prec. 20	908	1,864	1,719
In Prec. 21	1,102		
Prec. 21, High Springs [1]	1,809		
High Springs city (part)	1,102		
Prec. 22, Campville	412	421	422
Prec. 23, Gainesville [1]	2,608		
Gainesville city (part)	1,562		
Prec. 24, Bland	1,340	1,431	763
Prec. 25, Gainesville [1]	1,161	2,358	2,997
Gainesville city (part)	1,161		
Prec. 26, Mounteocha	637	772	930
Prec. 27, Gainesville [1]	1,868	[1] 3,435	
Gainesville city (part)	1,494		
Prec. 28, Gainesville	3,067	2,593	
Gainesville city (part)	2,474		
Baker County	6,510	6,273	5,622
Prec. 1, Sanderson	1,318	1,261	1,130
Prec. 2, Olustee	705	1,355	545
Prec. 3, Macclenny	2,144	1,482	1,250
Macclenny town	771	619	350
Prec. 4, Taylor	735	669	1,232
Prec. 5, Glen St. Mary	966	965	1,215
Prec. 6, Baxter	373	315	250
Prec. 7, Manning	269	226	
Bay County	20,686	12,091	11,407
Prec. 1, Panama City [2]	4,758	1,504	1,812
Panama City, total [2]	11,610	5,402	1,722
In Prec. 1	4,714	1,504	
In Prec. 2	1,939	1,051	
In Prec. 3	2,813	1,905	
In Prec. 4	280		
In Prec. 22	1,864	942	
Prec. 2, St. Andrews	2,252	1,247	1,361
Panama City (part)	1,939	1,051	
Prec. 3, Millville [2]	2,956	2,029	1,983
Panama City (part)	2,813	1,905	
Prec. 4, Bay Harbor [2]	1,768	435	590
Panama City (part)	280		
Prec. 5, Parker	462	245	191
Prec. 6, Cook	17	218	38
Prec. 7, Wetappo	35	193	128
Prec. 8, Farmdale	182	194	276
Prec. 9, San Blas	87	55	75
Prec. 10, Cromanton	193	189	195
Prec. 11, Lynn Haven [2]	1,441	1,087	958
Lynn Haven city	1,246	923	874
Prec. 12, Majette	33	85	241
Prec. 13, Bay Head	113	514	151
Prec. 14, Youngstown	617	666	655
Prec. 15, Fountain	197	367	978
Prec. 16, Econfina	159	137	232
Prec. 17, Southport	677	545	662
Prec. 18, Merial	27	326	126
Prec. 19, Murfee	24	11	54
Prec. 20, West Bay [2]	370	437	701
Prec. 21, Pine Log	88	266	
Prec. 22, Panama City [2]	1,864	1,135	
Panama City (part)	1,864	942	
Prec. 23, Allanton	52	42	
Prec. 24, Callaway [2]	497	164	
Prec. 25, Sunny Side [2]	121		
Prec. 29, Springfield [2]	1,219		
Springfield town [2]	1,133		
Precinct 30 [2]	477		
Bradford County	8,717	9,405	[3] 12,503
Prec. 1, Lawtey [3]	2,251	2,377	1,787
Lawtey city [3]	427	554	372
Prec. 2, North Starke	2,645	2,721	
Starke city, total	1,480	1,339	1,023
In Prec. 2	1,005	872	
In Prec. 3	475	467	
Prec. 3, South Starke	1,434	1,619	
Starke city (part)	475	467	
Prec. 4, Graham	219	324	322
Prec. 5, Hampton	567	669	595
Hampton city	478	511	286
Prec. 6, Theressa	285	318	343
Prec. 7, New River	378	415	336
Prec. 8, Brooker	938	962	697
Brevard County	16,142	13,283	8,505
Prec. 1, La Grange	277	179	97
Prec. 2, Titusville	2,299	2,227	1,689
Titusville city	2,220	2,089	1,561
Brevard County—Con.			
Prec. 3, City Point	642	385	414
Cocoa city, total [4]	3,098	2,164	1,446
In Prec. 3	120		
In Prec. 21	2,972	2,164	1,446
Prec. 4, Rockledge	826	698	1,092
Rockledge city	725	551	455
Prec. 5, Eau Gallie	1,114	943	730
Eau Gallie city	873	871	507
Melbourne city, total [4]	2,622	2,077	533
In Prec. 5	180		
In Prec. 6	2,402	2,077	533
Prec. 6, Melbourne	3,332	3,118	1,142
Melbourne city (part)	2,402	2,077	533
Melbourne Beach town	90	72	
Prec. 7, Malabar	422	353	291
Prec. 8, Grant	140	209	97
Prec. 9, Lotus [4]	140	86	156
Prec. 10, Georgiana	183	117	170
Prec. 11, Merritt	666	355	306
Prec. 12, Haulover	147	159	138
Prec. 13, Canaveral	137	148	91
Prec. 14, Wilson	92	96	106
Prec. 15, Courtenay	170	117	271
Prec. 16, Mims	932	791	571
Prec. 17, Tillman	349	207	110
Prec. 18, Micco	194	274	119
Prec. 19, Audubon	160	98	
Prec. 20, Orsino	86	112	
Prec. 21, Cocoa	3,196	2,197	
Cocoa city (part)	2,972	2,164	1,446
Prec. 22, Cocoa Beach [4]	127	79	
Cocoa Beach town	49	31	
Prec. 23, Indian River	297	248	
Prec. 24, Aurantia	208	[4] 87	
Broward County [5]	39,794	20,094	5,135
Prec. 1, Deerfield	2,353	1,556	
Deerfield town	1,850	1,488	
Prec. 2, Pompano	2,610		
Pompano city, total	4,427	2,614	636
In Prec. 2	1,818		
In Prec. 2 A	2,609		
Precinct 2 A	2,737		
Pompano city (part)	2,609		
Prec. 3, Floranada	1,470	617	
Fort Lauderdale city, total [5]	17,996	8,666	2,065
In Prec. 3	4		
In Prec. 4	2,072		
In Prec. 6 A	418		
In Prec. 7	966		
In Prec. 9	138		
Precincts 4 A, 5, 5 A, 5 B, 6, 8, and 8 A, entire	14,398		
Oakland Park city [5]	815	488	
Prec. 4, Fort Lauderdale	2,102		
Fort Lauderdale city (part)	2,072		
Precinct 4 A	1,027		
Fort Lauderdale city (part)	1,027		
Precinct 5	740		
Fort Lauderdale city (part)	740		

[1] ALACHUA.—County total for 1920 includes population (3,730) of precincts 4, 5, 18, 21, and 23, taken, together with parts of precincts 6, 11, and 20, to form Gilchrist County in 1926. Precinct 4 organized from part of 27, precinct 5, from part of 7, and precinct 23, from part of 25, each including part of Gainesville city; and precinct 21 organized from part of 20, including part of High Springs city, in 1938. The 1930 figures for precincts 7 and 27 have been corrected by transfer of population (500) of the Florida Farm Colony, incorrectly returned as in precinct 7.

[2] BAY.—Precinct 25 organized from part of 20, and precinct 29 from parts of 3, 4, and 24, in 1936; precinct 30 organized from parts of 1, 3, 11, 24, and 29 in 1940. Panama City returned in 1930 as in precincts 1, 2, 3, and 22 only. Springfield town incorporated in 1935. No population reported in 1940 for that part of precinct 22 outside Panama City.

[3] BRADFORD.—County total for 1920 includes population (5,333) of old precincts 2, 3, 4, 8, and 9, taken to form Union County, and population (3,090) of old precinct 6, taken to form 2 and 3, in 1921; remaining precincts renumbered. Lawtey town incorporated as a city, and part reverted to precinct 1, in 1931.

[4] BREVARD.—Cocoa city returned in 1930 as in precinct 21 only, and Melbourne city, as in precinct 6 only. Name of precinct 9, Lotus, changed from Banyan, and precinct 22, Cocoa Beach, from Artesia, since 1930. The 1930 figure for precinct 24 has been corrected to include population (51) of precinct 25, Scottsmoor, annexed to 24 between 1920 and 1930, but returned separately in 1930.

[5] BROWARD.—County partially redistricted in 1934; comparative figures shown wherever possible. Parts of Fort Lauderdale city reverted to precincts 9 and 16 in 1931, and parts of Hollywood city to precincts 9 and 10 in 1937. Part of Oakland Park city returned in 1930 as in precinct 2.

TABLE 4.—POPULATION OF COUNTIES BY MINOR CIVIL DIVISIONS: 1920 TO 1940—Continued

MINOR CIVIL DIVISION	1940	1930	1920
Broward County—Con.			
Precinct 5 A	2,058		
Fort Lauderdale city (part)	*2,058*		
Precinct 5 B	1,656		
Fort Lauderdale city (part)	*1,656*		
Precinct 6	6,483		
Fort Lauderdale city (part)	*6,483*		
Precinct 6 A	505		
Fort Lauderdale city (part)	*418*		
Precinct 7	1,118	615	
Fort Lauderdale city (part)	*966*		
Precinct 8	1,360		
Fort Lauderdale city (part)	*1,360*		
Precinct 8 A	1,074		
Fort Lauderdale city (part)	*1,074*		
Precinct 9 [5]	2,386	1,357	
Dania city, total	*2,902*	*1,674*	*762*
In Prec. 9	*2,025*	*1,145*	
In Prec. 10	*877*	*529*	
Fort Lauderdale city (part)	*138*		
Hollywood city, total [5]	*6,239*	*2,869*	
In Prec. 9	*59*		
In Prec. 10	*488*		
In Prec. 11	*1,611*		
In Prec. 11 A	*725*		
In Prec. 14	*311*		
In Prec. 15	*62*		
Precincts 12 and 13, entire	*2,983*		
Precinct 10 [5]	1,375	793	
Dania city (part)	*877*	*529*	
Hollywood city (part)	*488*		
Prec. 11, Hollywood	1,653		
Hollywood city (part)	*1,611*		
Prec. 11 A, Hollywood	862		
Hollywood city (part)	*725*		
Precinct 12	1,195	371	
Hollywood city (part)	*1,195*		
Precinct 13	1,788	798	
Hollywood city (part)	*1,788*		
Precinct 14	806	443	
Hallandale town, total	*1,827*	*1,012*	
In Prec. 14	*495*	*170*	
In Prec. 15	*1,332*	*842*	
Hollywood city (part)	*311*		
Prec. 15, Hallandale	1,539	999	
Hallandale town (part)	*1,332*	*842*	
Hollywood city (part)	*62*		
Prec. 16, Davie [5]	897	457	
Calhoun County	8,218	7,298	8,775
Prec. 1, Blountstown	3,332	2,058	
Blountstown city	*1,931*	*1,270*	*863*
Prec. 2, Henderson Mill	868	869	
Prec. 3, Altha	1,244	1,129	
Prec. 4, Traylors Mill	551	363	
Prec. 5, Chason	228	202	
Prec. 6, Camphead	170	181	
Prec. 7, Carr [6]	458	403	
Prec. 8, Clarksville	266	284	
Prec. 9, Frink	332	467	
Prec. 10, Kinard	478	750	
Prec. 11, Shiloh	187	320	
Prec. 12, Broad Branch	104	272	
Charlotte County	3,663	4,013	(7)
Prec. 1, Bermont	48	152	
Prec. 2, Cleveland [7]	276	232	
Cleveland town	*52*	*95*	
Prec. 3, Murdock	126	100	
Prec. 4, Gasparilla	144	167	
Prec. 5, Charlotte Harbor	277	299	
Prec. 6, Sancassa-McCall	266	364	
Prec. 7, Punta Gorda	1,418	1,579	
Punta Gorda city, total [7]	*1,889*	*1,833*	*1,295*
In Prec. 7	*1,005*	*948*	
In Prec. 8	*884*	*885*	
Prec. 8, Punta Gorda	1,108	1,120	
Punta Gorda city (part)	*884*	*885*	
Citrus County	5,846	5,516	5,220
Prec. 1, Citronelle	132	112	126
Prec. 2, Crystal River	1,239	1,168	1,229
Crystal River town	*927*	*869*	*944*
Prec. 3, Homosassa	597	487	316
Prec. 4, Ozello	162	49	34
Prec. 5, Lecanto	271	319	244
Prec. 6, Oak Grove	106	119	91
Prec. 7, Pleasant Grove	154	168	152
Prec. 8, Floral City	535	485	351

MINOR CIVIL DIVISION	1940	1930	1920
Citrus County—Con.			
Prec. 9, New Hope	88	187	41
Prec. 10, Inverness	1,352	1,417	1,198
Inverness town	*1,075*	*1,215*	*1,132*
Prec. 11, South Dunnellon	233	128	464
Dunnellon town, total [8]	*1,217*	*1,194*	*1,185*
In Citrus Co	*151*		
In Marion Co	*1,066*	*1,194*	*1,185*
Prec. 12, Red Level	301	214	370
Yankeetown town, total	*255*	*157*	
In Citrus Co	*16*	*43*	
In Levy Co	*239*	*114*	
Prec. 14, Hernando	506	440	471
Hernando city	*402*	*365*	
Prec. 15, Holder (Hartshorn)	170	214	133
Clay County	6,468	6,859	[9] 5,621
Prec. 1, Green Cove Springs [9]	2,493	3,128	2,780
Green Cove Springs town	*1,752*	*1,719*	*2,093*
Prec. 2, Doctors Inlet	591	552	130
Prec. 3, Middleburg [9]	610	922	851
Prec. 4, Highland	623	632	470
Prec. 5, Kingsley	99	91	87
Prec. 6, Fouts Mill	139	99	174
Prec. 7, Lake Geneva	437	320	78
Keystone Heights town	*145*	*107*	
Prec. 8, Orange Park	773	757	412
Orange Park town	*668*	*661*	*333*
Prec. 9, Shiloh [9]	232	305	342
Prec. 10, Sharon	47	53	79
Prec. 11, Penney Farms [9]	424		
Penney Farms town [9]	*370*	*325*	
Collier County	5,102	2,883	
Prec. 1, Everglades [10]	521	692	
Everglades town	*518*	*173*	
Prec. 2, Deep Lake	262	380	
Prec. 3, Caxambas [10]	236	120	
Collier City town, total	*343*	*250*	
In Prec. 3	*155*	*80*	
In Prec. 4	*207*	*170*	
Prec. 4, Marco [10]	276	194	
Collier City town (part)	*207*	*170*	
Prec. 5, Immokalee [10]	993	380	
Prec. 6, Naples	1,386	595	
Naples town	*1,253*	*390*	
Prec. 7, Chokoloskee	185	131	
Prec. 8, Copeland [10]	196	391	
Prec. 9, Ochopee [10]	758		
Prec. 10, Corkscrew [10]	148		
Prec. 11, Sunniland [10]	141		
Columbia County	16,859	14,638	14,290
Prec. 1, Columbia	641	639	753
Prec. 2, Benton	623	411	406
Prec. 3, Suwanee Shoals	898	850	1,207
Prec. 4, Bells Mills	1,285	1,262	1,131
Prec. 5, Shalmanezer	857	915	1,460
Prec. 6, Fort White	1,265	1,220	1,758
Fort White town	*317*	*272*	*360*
Prec. 7, Mikesville	964	935	806
Prec. 8, Mason	908	1,000	1,050
Prec. 9, Lulu	726	450	496
Prec. 10, Lake City	2,352	1,682	4,396
Lake City, total	*5,836*	*4,416*	*3,341*
In Prec. 10	*1,763*	*1,239*	
In Prec. 12	*2,101*	*1,543*	
In Prec. 13	*846*	*698*	
In Prec. 14	*1,126*	*936*	
Prec. 11, Watertown	974	796	827
Precinct 12	2,273	1,603	
Lake City (part)	*2,101*	*1,543*	
Precinct 13	1,369	1,376	
Lake City (part)	*846*	*698*	
Precinct 14	1,724	1,499	
Lake City (part)	*1,126*	*936*	
Dade County [11]	267,739	142,955	42,753
Precinct 1	2,780		
North Miami town, total [11]	*1,979*		
In Prec. 1	*526*		
In Prec. 2	*178*		
In Prec. 8	*1,269*		
North Miami Beach city, total [11]	*871*		
In Prec. 1	*625*		
In Prec. 2	*33*		
In Prec. 8	*51*		
In Prec. 24	*162*		

MINOR CIVIL DIVISION	1940	1930	1920
Dade County—Con.			
Precinct 2	1,221		
North Miami town (part)	*178*		
North Miami Beach city (part)	*33*		
Opalocka city	*497*	*339*	
Precinct 3	1,741		
Hialeah city, total [11]	*3,958*	*2,600*	
In Prec. 3	*1,417*		
In Prec. 4	*1,970*		
In Prec. 37	*571*		
Miami Springs town, total	*898*	*402*	
In Prec. 3	*33*		
In Prec. 35	*866*		
Precinct 4 [11]	1,970		
Hialeah city (part)	*1,970*		
Precinct 5	2,517		
Precinct 6	1,262		
Precinct 7	1,740		
Miami Shores village, total [11]	*1,956*	*612*	
In Prec. 7	*462*		
In Prec. 8	*224*		
In Prec. 9	*1,270*		
Precinct 8	2,735		
Biscayne Park village [11]	*509*		
Miami Shores village (part)	*224*		
North Miami town (part)	*1,269*		
North Miami Beach city (part)	*51*		
Precinct 9	2,061		
El Portel town [11]	*365*		
Miami Shores village (part)	*1,270*		
Precinct 10	1,702		
Miami city, total [11]	*172,172*	*110,637*	*29,571*
In Prec. 10	*1,686*		
In Prec. 12	*1,205*		
In Prec. 14	*8*		
In Prec. 16	*17*		
In Prec. 17	*1,329*		
In Prec. 22	*2,218*		
In Prec. 37	*124*		
In Prec. 38	*1,360*		
In Prec. 49	*656*		
In Prec. 50	*1,053*		
In Prec. 64	*1,246*		
In Prec. 82	*1,540*		
In Prec. 83	*1,420*		
In Prec. 84	*1,710*		
In Prec. 104	*3,752*		
In Prec. 105	*3,748*		
In Prec. 106	*225*		
In Prec. 108	*132*		
Precincts 11, 18, 18 to 21, 33 to 35, 39 to 48, 51 to 63, 65 to 81, and 90 to 103, entire	*148,713*		
Precinct 11	2,003		
Miami city (part)	*2,003*		
Precinct 12	2,078		
Miami city (part)	*1,205*		
Precinct 13	1,331		
Miami city (part)	*1,331*		
Precinct 14	1,102		
Miami city (part)	*8*		
Precinct 15	3,285		
Precinct 16	830		
Miami city (part)	*17*		
Precinct 17	3,049		
Miami city (part)	*1,329*		
Precinct 18	1,847		
Miami city (part)	*1,847*		
Precinct 19	1,646		
Miami city (part)	*1,646*		
Precinct 20	2,324		
Miami city (part)	*2,324*		
Precinct 21	1,954		
Miami city (part)	*1,954*		
Precinct 22	2,899		
Miami city (part)	*2,248*		
Precinct 23	2,371		
Precinct 24 [11]	1,105		
Golden Beach town	*83*	*36*	
Miami Beach city, total	*28,012*	*6,494*	*644*
In Prec. 24	*565*		
In Prec. 105	*3*		
Precincts 25 to 32, entire	*27,444*		
North Miami Beach city (part)	*162*		
Surfside town [11]	*295*		

[5] BROWARD.—For footnote, see preceding page.

[6] CALHOUN.—Name of precinct 7, Carr, changed from Pippins Mill since 1930.

[7] CHARLOTTE.—Place for which 1920 population is shown was in De Soto County. Punta Gorda city, geographically located in precincts 2, 7, and 8, had no population in 1940 in precinct 2; returned in 1930 as in precincts 7 and 8 only.

[8] CITRUS.—Dunnellon town returned in 1930 and 1920 as in Marion County only.

[9] CLAY.—County total for 1920 includes population (218) of old precinct 11, parts annexed to precinct 7 and Putnam County in 1927. New precinct 11 organized from part of 1, including Penney Farms town, in 1930. Part of Penney Farms town returned in 1930 as in precinct 3. Name of precinct 9, Shiloh, changed from Rivers Mill since 1930

[10] COLLIER.—Precinct 9 organized from part of 1 in 1932, and precincts 10 and 11, from parts of 5 in 1932 and 1936, respectively. Name of precinct 8, Copeland, changes from Port Dupont since 1930. Precincts 3 and 4 returned in 1930 by number only.

[11] DADE.—For footnote, see following page.

TABLE 4.—POPULATION OF COUNTIES BY MINOR CIVIL DIVISIONS: 1920 TO 1940—Continued

MINOR CIVIL DIVISION	1940	1930	1920
Dade County—Con.			
Precinct 25	2,157		
Miami Beach city (part)	*2,157*		
Precinct 26	3,301		
Miami Beach city (part)	*3,301*		
Precinct 27	3,416		
Miami Beach city (part)	*3,416*		
Precinct 28	5,102		
Miami Beach city (part)	*5,102*		
Precinct 29	5,014		
Miami Beach city (part)	*5,014*		
Precinct 30	3,511		
Miami Beach city (part)	*3,511*		
Precinct 31	2,006		
Miami Beach city (part)	*2,006*		
Precinct 32	2,937		
Miami Beach city (part)	*2,937*		
Precinct 33	1,965		
Miami city (part)	*1,965*		
Precinct 34	1,941		
Miami city (part)	*1,941*		
Precinct 35	2,638		
Miami city (part)	*2,638*		
Precinct 36	1,539		
Precinct 37	2,508		
Hialeah city (part)	*671*		
Miami city (part)	*124*		
Precinct 38	2,451		
Miami city (part)	*1,360*		
Precinct 39	2,694		
Miami city (part)	*2,694*		
Precinct 40	1,917		
Miami city (part)	*1,917*		
Precinct 41	1,639		
Miami city (part)	*1,639*		
Precinct 42	1,684		
Miami city (part)	*1,684*		
Precinct 43	1,905		
Miami city (part)	*1,905*		
Precinct 44	1,749		
Miami city (part)	*1,749*		
Precinct 45	2,450		
Miami city (part)	*2,450*		
Precinct 46	1,913		
Miami city (part)	*1,913*		
Precinct 47	1,932		
Miami city (part)	*1,932*		
Precinct 48	1,425		
Miami city (part)	*1,425*		
Precinct 49	1,348		
Miami city (part)	*656*		
Precinct 50	2,413		
Miami city (part)	*1,053*		
Precinct 51	2,172		
Miami city (part)	*2,172*		
Precinct 52	1,726		
Miami city (part)	*1,726*		
Precinct 53	2,522		
Miami city (part)	*2,522*		
Precinct 54	3,972		
Miami city (part)	*3,972*		
Precinct 55	1,842		
Miami city (part)	*1,842*		
Precinct 56	1,831		
Miami city (part)	*1,831*		
Precinct 57	8,210		
Miami city (part)	*8,210*		
Precinct 58	9,925		
Miami city (part)	*9,925*		
Precinct 59	9,038		
Miami city (part)	*9,038*		
Precinct 60	2,058		
Miami city (part)	*2,058*		
Precinct 61	1,796		
Miami city (part)	*1,796*		
Precinct 62	5,011		
Miami city (part)	*5,011*		
Precinct 63	1,917		
Miami city (part)	*1,917*		
Precinct 64	1,293		
Miami city (part)	*1,246*		
Precinct 65	2,141		
Miami city (part)	*2,141*		
Precinct 66	1,682		
Miami city (part)	*1,682*		
Precinct 67	1,924		
Miami city (part)	*1,924*		
Precinct 68	1,624		
Miami city (part)	*1,624*		
Precinct 69	1,590		
Miami city (part)	*1,590*		

MINOR CIVIL DIVISION	1940	1930	1920
Dade County—Con.			
Precinct 70	2,916		
Miami city (part)	*2,916*		
Precinct 71	1,915		
Miami city (part)	*1,915*		
Precinct 72	1,991		
Miami city (part)	*1,991*		
Precinct 73	1,693		
Miami city (part)	*1,693*		
Precinct 74	1,761		
Miami city (part)	*1,761*		
Precinct 75	2,200		
Miami city (part)	*2,200*		
Precinct 76	2,036		
Miami city (part)	*2,036*		
Precinct 77	1,863		
Miami city (part)	*1,863*		
Precinct 78	2,062		
Miami city (part)	*2,062*		
Precinct 79	1,618		
Miami city (part)	*1,618*		
Precinct 80	3,513		
Miami city (part)	*3,513*		
Precinct 81	1,471		
Miami city (part)	*1,471*		
Precinct 82 [11]	1,540		
Miami city (part)	*1,540*		
Precinct 83	2,492		
Coral Gables city, total [11]	*8,294*	*5,697*	
In Prec. 83	*67*		
Prec. 87, entire	*2,113*		
In Prec. 88	*1,249*		
In Prec. 89	*1,570*		
In Prec. 104	*358*		
In Prec. 105	*300*		
In Prec. 106	*1,491*		
In Prec. 107	*852*		
In Prec. 108	*260*		
In Prec. 109	*31*		
In Prec. 110	*3*		
Miami city (part)	*1,420*		
Precinct 84	2,170		
Miami city (part)	*1,710*		
Precinct 85	1,496		
Miami Springs town (part)	*866*		
Precinct 86	1,581		
Precinct 87	2,113		
Coral Gables city (part)	*2,113*		
Precinct 88	1,635		
Coral Gables city (part)	*1,249*		
Precinct 89	2,293		
Coral Gables city (part)	*1,570*		
Precinct 90	1,850		
Miami city (part)	*1,850*		
Precinct 91	1,781		
Miami city (part)	*1,781*		
Precinct 92	2,062		
Miami city (part)	*2,062*		
Precinct 93	1,609		
Miami city (part)	*1,609*		
Precinct 94	2,001		
Miami city (part)	*2,001*		
Precinct 95	1,835		
Miami city (part)	*1,835*		
Precinct 96	1,606		
Miami city (part)	*1,606*		
Precinct 97	2,075		
Miami city (part)	*2,075*		
Precinct 98	1,934		
Miami city (part)	*1,934*		
Precinct 99	1,717		
Miami city (part)	*1,717*		
Precinct 100	1,406		
Miami city (part)	*1,406*		
Precinct 101	2,071		
Miami city (part)	*2,071*		
Precinct 102	2,055		
Miami city (part)	*2,055*		
Precinct 103	1,734		
Miami city (part)	*1,734*		
Precinct 104	4,110		
Coral Gables city (part)	*358*		
Miami city (part)	*3,752*		
Precinct 105 [11]	4,051		
Coral Gables city (part)	*300*		
Miami city (part)	*3,748*		
Miami Beach city (part)	*3*		
Precinct 106	1,716		
Coral Gables city (part)	*1,491*		
Miami city (part)	*225*		

MINOR CIVIL DIVISION	1940	1930	1920
Dade County—Con.			
Precinct 107	3,109		
Coral Gables city (part)	*852*		
South Miami city, total [11]	*2,408*	*1,160*	
In Prec. 107	*645*		
In Prec. 108	*1,763*		
Precinct 108	3,107		
Coral Gables city (part)	*260*		
Miami city (part)	*132*		
South Miami city (part)	*1,763*		
Precinct 109 [11]	999		
Coral Gables city (part)	*31*		
Precinct 110	1,858		
Coral Gables city (part)	*3*		
Precinct 111 [11]	1,701		
Precinct 112 [11]	2,383		
Precinct 113	3,888		
Homestead city	*3,154*	*2,319*	*1,507*
Precinct 114	1,190		
Florida City town [11]	*752*	*452*	*355*
De Soto County	7,792	[12] 7,745	25,434
Prec. 1, Pine Level	152	152	
Prec. 2, Bunker	245	226	
Prec. 3, Owens	371	349	
Arcadia city, total [12]	*4,055*	*4,082*	*3,479*
In Prec. 3	*2*		
In Prec. 8	*1,226*	*1,251*	
In Prec. 9	*2,827*	*2,831*	
Prec. 4, Fort Winder	34	65	
Prec. 5, Brownville	264	302	
Prec. 8, East Arcadia [12]	1,802	1,706	
Arcadia city (part)	*1,226*	*1,251*	
Prec. 9, West Arcadia	2,850	2,831	
Arcadia city (part)	*2,827*	*2,831*	
Prec. 10, Nocatee	1,447	1,512	
Prec. 11, Fort Ogden	528	408	
Dixie County	7,018	6,410	
Prec. 1, Fletcher	540	352	
Prec. 2, Oldtown [13]	306	693	
Prec. 3, Eugene [13]	325	329	
Prec. 4, Cross City	2,080	1,291	
Cross City town	*1,860*	*1,071*	
Prec. 5, Horse Shoe [13]	248	772	
Prec. 6, Jena [13]	510	319	
Prec. 7, Hines	202	391	
Prec. 8, Shamrock	2,021	2,272	
Prec. 9, Demory Hill [13]	177		
Duval County [14]	210,143	155,503	113,540
Jacksonville city, total [14]	173,065	129,549	91,558
Precinct 1 A	*2,010*		
Precinct 1 B	*2,382*		
Precinct 1 C	*2,048*		
Precinct 1 D	*3,440*		
Precinct 1 E	*1,911*		
Precinct 2 A	*1,648*		
Precinct 2 B	*4,003*		
Precinct 2 C	*4,060*		
Precinct 3 A	*1,903*		
Precinct 3 B	*1,954*		
Precinct 3 C	*2,592*		
Precinct 3 D	*2,754*		
Precinct 4 A	*5,792*		
Precinct 4 B	*3,945*		
Precinct 4 C	*2,270*		
Precinct 4 D	*3,014*		
Precinct 5 A	*2,956*		
Precinct 5 B	*6,431*		
Precinct 5 C	*5,324*		
Precinct 5 D	*6,140*		
Precinct 6 A	*3,218*		
Precinct 6 B	*3,283*		
Precinct 6 C	*2,649*		
Precinct 7 A	*3,211*		
Precinct 7 B	*2,422*		
Precinct 7 C	*2,688*		
Precinct 8 A	*10,139*		
Precinct 8 B	*2,769*		
Precinct 8 C	*1,777*		
Precinct 8 D	*1,412*		
Precinct 9 A	*2,829*		
Precinct 9 B	*2,109*		
Precinct 9 C	*4,052*		
Precinct 10 A	*2,826*		
Precinct 10 B	*2,810*		
Precinct 10 C	*1,829*		
Precinct 11 A	*2,766*		

[11] DADE.—County redistricted in 1939; comparative figures shown wherever possible. North Miami Beach city incorporated in 1931, Biscayne Park village and North Miami town, in 1932, Surfside town, in 1935, and El Portel town, in 1937. Corporate limits of Hialeah city extended in 1932, and part detached in 1933. Part of Miami city detached in 1932, and corporate limits extended in 1937. Parts of Coral Gables and South Miami cities and Florida City town detached since 1930. Miami Shores town changed in 1931 to North Miami town; name changed back to Miami Shores, and also changed from town to village, in 1932. No population reported in 1940 for those parts of North Miami town in precinct 24, Miami city in precinct 109, Coral Gables city in precincts 82, 111, and 112, for that part of precinct 105 outside Coral Gables, Miami and Miami Beach cities, and for that part of precinct 4 outside Hialeah city.

[12] DE SOTO.—County total for 1930 includes population (104) of precinct 6, Avant, annexed to 8 since 1930. Arcadia city returned in 1930 as in precincts 8 and 9 only.

[13] DIXIE.—Precinct 9 organized from part of 2 in 1932. Name of precinct 5, Horse Shoe, changed from Shelton since 1930. Precincts 3 and 6 returned in 1930 by number only.

[14] DUVAL.—County redistricted in 1940; comparative figures shown wherever possible. South Jacksonville city and part of precinct 40 annexed to Jacksonville city in 1932, parts of precincts 20A and 25 annexed in 1933, and part of precinct 29 in 1937. Neptune Beach town incorporated in 1931.

TABLE 4.—POPULATION OF COUNTIES BY MINOR CIVIL DIVISIONS: 1920 TO 1940—Continued

MINOR CIVIL DIVISION	1940	1930	1920
Duval County—Con.			
Jacksonville city, total—Con.			
Precinct 11 B	*3,776*		
Precinct 11 C	*5,010*		
Precinct 12 A	*2,799*		
Precinct 12 B	*2,310*		
Precinct 12 C	*2,161*		
Precinct 13 A	*2,503*		
Precinct 13 B	*2,706*		
Precinct 13 C	*2,412*		
Precinct 14 A	*1,923*		
Precinct 14 B	*4,226*		
Precinct 14 C	*1,396*		
Precinct 15 A	*2,513*		
Precinct 15 B	*2,108*		
Precinct 15 C	*1,937*		
Precinct 16 A	*1,272*		
Precinct 16 B	*1,735*		
Precinct 16 C	*2,655*		
Precinct 17 A	*1,665*		
Precinct 17 B	*3,371*		
Precinct 18 A	*1,915*		
Precinct 18 B	*3,562*		
Precinct 19	1,273		
Precinct 20 A [14]	1,889		
Precinct 20 B, Hart Haven	1,045		
Precinct 21, Dinsmore	1,007		
Precinct 22, White House	824		
Precinct 23, Baldwin	1,488		
Baldwin town	*1,002*	*749*	*470*
Precinct 24, Maxville	389		
Precinct 25 [14]	2,235		
Precinct 26	1,945		
Precinct 27	804		
Precinct 28, Hogan	2,364		
Precinct 29 [14]	3,277		
Precinct 30, Mandarin	1,605		
Precinct 31, Jacksonville Beach	3,566		
Jacksonville Beach city	*3,566*	*409*	*367*
Precinct 32, Arlington	1,869		
Precinct 33, Mayport	1,290		
Precinct 34	295		
Precinct 35, Bayard	311		
Precinct 36	1,892		
Atlantic Beach town	*468*	*164*	
Neptune Beach town [14]	*1,363*		
Precinct 37, Fort George	98		
Precinct 38, New Berlin	584		
Precinct 39, Duval Station	1,175		
Precinct 40 [14]	1,282		
Precinct 41	2,828		
Precinct 42	871		
Precinct 43	872		
Escambia County	**74,667**	**53,594**	**49,386**
Prec. 1, Pleasant Grove [15]	4,914	3,231	3,772
Prec. 2, Kupfrians Park [15]	2,939	2,360	1,262
Prec. 3, Millview	983	639	513
Prec. 4, Gull Point [15]	464	203	376
Prec. 5, Klondyke	986	459	669
Prec. 6, Gonzales	845	769	554
Prec. 7, Pine Barren	431	378	447
Prec. 8, McKinnonville	790	778	756
Prec. 9, Bluff Springs	628	508	597
Prec. 10, Reillys Old Field [15]	815	587	541
Prec. 11, Walnut Hill [15]	666	845	881
Precinct 12	2,223	2,127	3,154
Pensacola city, total [15]	*37,449*	*31,579*	*31,035*
Precincts 12 to 15, 26 to 32, 34, 38 to 42, 46, 49 to 51, 54, and 55, entire	*37,449*		
Precinct 13	2,325	2,425	2,970
Pensacola city (part)	*2,325*	*2,425*	*2,970*
Precinct 14	1,274	1,414	1,865
Pensacola city (part)	*1,274*	*1,414*	*1,865*
Precinct 15	1,042	1,082	2,859
Pensacola city (part)	*1,042*	*1,082*	*2,859*
Prec. 16, Pineville	510	432	514
Prec. 17, Brents [15]	1,240	1,051	494
Prec. 18, McDavids	505	582	530
Prec. 19, Molino	1,332	1,076	948
Prec. 20, Flomaton	1,054	747	599
Prec. 21, Muscogee	399	295	904
Prec. 22, Century	1,818	1,549	1,495
Prec. 23, Creamers Mill	519	375	296
Prec. 24, Careys Lane [15]	742	1,010	523
Prec. 25, Van Pelts Place	768	481	200
Precinct 26	830	831	2,483
Pensacola city (part)	*830*	*831*	*2,483*
Escambia County—Con.			
Precinct 27 [15]	1,272	1,640	2,548
Pensacola city (part)	*1,272*	*1,640*	*2,548*
Precinct 28 [15]	2,148	3,095	2,978
Pensacola city (part)	*2,148*	*3,095*	*2,978*
Precinct 29	3,426	2,628	2,998
Pensacola city (part)	*3,426*	*2,628*	*2,998*
Precinct 30	769	655	490
Pensacola city (part)	*769*	*655*	*490*
Precinct 31	2,726	2,135	2,102
Pensacola city (part)	*2,726*	*2,135*	*2,102*
Precinct 32	2,959	2,345	3,811
Pensacola city (part)	*2,959*	*2,345*	*3,811*
Prec. 33, Bratts [15]	1,069	829	649
Precinct 34 [15]	2,157	2,581	2,777
Pensacola city (part)	*2,157*	*2,581*	*2,777*
Prec. 35, East Pensacola	1,300	1,029	361
Prec. 36, Cottage Hill	623	633	470
Prec. 37, Ferry Pass [15]	1,384	860	
Precinct 38 [15]	1,169	2,339	
Pensacola city (part)	*1,169*	*2,339*	
Precinct 39 [15]	1,164	2,009	
Pensacola city (part)	*1,164*	*2,009*	
Precinct 40	1,651	881	
Pensacola city (part)	*1,651*	*881*	
Precinct 41	1,330	1,245	
Pensacola city (part)	*1,330*	*1,245*	
Precinct 42	1,956	2,147	
Pensacola city (part)	*1,956*	*2,147*	
Precinct 43	378	309	
Prec. 44, New Warrington [15]	2,690		
Prec. 45, Oak Grove [15]	663		
Precinct 46 [15]	1,402		
Pensacola city (part)	*1,402*		
Precinct 47 [15]	2,600		
Precinct 48 [15]	1,768		
Precinct 49 [15]	1,925		
Pensacola city (part)	*1,925*		
Precinct 50 [15]	798		
Pensacola city (part)	*798*		
Precinct 51 [15]	1,154		
Pensacola city (part)	*1,154*		
Precinct 52 [15]	905		
Precinct 53 [15]	490		
Precinct 54 [15]	915		
Pensacola city (part)	*915*		
Precinct 55 [15]	834		
Pensacola city (part)	*834*		
Flagler County	**3,008**	**[16] 2,466**	**[16] 2,442**
Prec. 1, Bunnell [16]	1,641	1,103	865
Bunnell town	*1,050*	*671*	*682*
Prec. 3, Haw Creek	241	162	342
Prec. 4, St. Johns	399	157	578
Prec. 5, Espanola	426	472	385
Prec. 6, Shell Bluff	121	124	
Prec. 7, Flagler Beach	180	266	
Flagler Beach town	*133*	*198*	
Franklin County	**5,991**	**[17] 6,283**	**5,318**
Precinct 1	974	1,087	1,588
Apalachicola city, total	*3,268*	*3,150*	*3,066*
In Prec. 1	*953*	*1,062*	*1,091*
In Prec. 3	*1,580*	*1,172*	*1,975*
Prec. 5, entire	*735*	*916*	
Precinct 2 [17]	1,202	1,019	1,296
Carrabelle city [17]	*1,019*	*920*	*1,055*
Precinct 3	2,304	1,600	2,434
Apalachicola city (part)	*1,580*	*1,172*	*1,975*
Precinct 4 [17]	575		
Precinct 5	785	915	
Apalachicola city (part)	*785*	*915*	
Prec. 6, Harbeson City [17]	151		
Gadsden County	**31,450**	**29,890**	**23,539**
Prec. 1, Quincy	3,880	4,560	3,620
Quincy city, total	*3,888*	*3,733*	*3,118*
In Prec. 1	*1,273*	*1,123*	*1,040*
In Prec. 13	*2,615*	*2,665*	*2,078*
Prec. 2, Hinson School House	492	500	773
Prec. 3, Concord	597	400	599
Prec. 4, Havana	2,837	2,617	2,062
Havana town	*1,221*	*1,169*	*448*
Prec. 5, Midway	1,341	1,701	997
Prec. 6, Wetumpka	533	742	837
Prec. 7, Sawdust	1,121	1,081	1,033
Prec. 8, Sycamore	616	592	709
Prec. 9, River Junction	8,397	7,101	3,377
River Junction town	*7,110*	*5,624*	
Gadsden County—Con.			
Prec. 10, Mount Pleasant	1,398	1,173	1,362
Prec. 11, Hardaway [18]	593	573	541
Prec. 12, Greensboro	1,151	1,001	990
Greensboro town	*443*	*360*	*302*
Prec. 13, Quincy [18]	6,445	6,749	5,638
Quincy city (part)	*2,615*	*2,665*	*2,078*
Prec. 14, Hinson	1,314	1,100	1,001
Prec. 15, Gretna [18]	735		
Gilchrist County	**4,250**	**4,137**	**[19]**
Prec. 1, Trenton	1,416	1,714	
Trenton city	*773*	*706*	*400*
Prec. 2, Donnie	669	599	
Prec. 3, Bell	1,124	911	
Bell town	*183*	*168*	*146*
Prec. 4, Williford	536	453	
Prec. 5, Osceola	353	331	
Prec. 6, Leggett	152	129	
Glades County [20]	**2,745**	**2,762**	**[20]**
Prec. 1, Moore Haven	823	864	
Moore Haven city, total	*831*	*612*	*623*
In Prec. 1	*19*	*27*	
In Prec. 3	*128*	*121*	
In Prec. 6	*684*	*464*	
Prec. 2, Goodno [20]	45	81	
Prec. 3, Moore Haven	154	386	
Moore Haven city (part)	*128*	*121*	
Prec. 4, Palmdale	153	104	
Prec. 5, North La Belle [20]	68	244	
Prec. 6, Moore Haven	716	489	
Moore Haven city (part)	*684*	*464*	
Prec. 7, Lakeport	206	141	
Prec. 8, Elderberry	73	83	
Prec. 9, Buckhead	29		
Prec. 10, Citrus Center	139	89	
Prec. 11, Muse	52	84	
Prec. 12, Tasmania	124	106	
Prec. 13, Brighton	163	91	
Gulf County	**6,951**	**[21] 3,182**	
Prec. 1, Wewahitchka	1,530	912	
Wewahitchka town	*1,022*	*584*	
Prec. 2, Ewings Still	110	208	
Prec. 3, White City	155	129	
Prec. 4, Kenney Mill [21]	823		
Port St. Joe town, total [21]	*2,393*	*851*	
In Prec. 4	*19*		
In Prec. 7	*2,374*	*851*	
Prec. 5, Dalkeith [21]	443	409	
Prec. 6, Overstreet	307	117	
Prec. 7, Port St. Joe [21]	3,019	1,131	
Port St. Joe town (part)	*2,374*	*851*	
Prec. 8, Highland View [21]	564		
Hamilton County	**9,778**	**9,454**	**9,873**
Prec. 1, Jennings	1,323	1,449	1,837
Jennings town	*499*	*561*	*628*
Prec. 2, Jasper	3,184	2,944	2,300
Jasper city	*1,722*	*1,748*	*1,260*
Prec. 3, White Springs	1,496	1,397	1,782
White Springs town	*600*	*618*	*984*
Prec. 4, Belmont	387	514	503
Prec. 5, Marion	759	613	614
Prec. 6, Corinth	468	466	500
Prec. 7, Bellville	780	812	838
Prec. 8, Westlake	593	429	567
Prec. 9, Bakers Mill	388	321	424
Prec. 10, Genoa	400	509	508
Hardee County	**10,158**	**10,348**	**[22]**
Prec. 1, Wauchula [22]	525	440	
Wauchula city, total	*2,710*	*2,574*	*2,081*
In Prec. 1	*378*	*312*	
In Prec. 2	*1,044*	*1,100*	
In Prec. 3	*1,046*	*959*	
In Prec. 4	*242*	*203*	
Prec. 2, Wauchula [22]	1,524	1,539	
Wauchula city (part)	*1,044*	*1,100*	
Prec. 3, Wauchula [22]	1,673	1,739	
Wauchula city (part)	*1,046*	*959*	
Prec. 4, Wauchula [22]	389	356	
Wauchula city (part)	*242*	*203*	
Prec. 5, Fort Green [22]	568	716	
Prec. 6, Ona [22]	501	521	
Ona city	*77*	*85*	

[14] DUVAL.—For footnote, see preceding page.

[15] ESCAMBIA.—Precinct 45 organized from parts of 10, 11, and 33, and precinct 44, from part of 24, in 1932; precincts 47 and 48, from parts of 2 in 1938 and 1940, respectively; precinct 52, from part of 17, and precinct 53, from parts of 17 and 37, in 1940. Within Pensacola city, precinct 46 was organized from part of 38 in 1936, and precinct 49 organized from part of 28, precinct 50 from part of 27, precinct 51 from part of 39, precinct 54 from part of 34, and precinct 55 from part of 38, in 1940. Names of precincts 1, 4, and 24 returned in 1930 and 1920 as Warrenton, Old Roberts, and Palmetto Beach, respectively.

[16] FLAGLER.—County totals for 1930 and 1920 include population (182 in 1930; 272 in 1920) of precinct 2, Dupont, annexed to 1 in 1930.

[17] FRANKLIN.—County total for 1930 includes population (819) of old precincts 4 and 8, annexed to 2, and population (843) of old precincts 6 and 7, taken to form new 4, in 1932. New precinct 6 organized from part of 2 in 1935. Carrabelle town incorporated as a city in 1931.

[18] GADSDEN.—Precinct 15 organized from part of 13 in 1938. Name of precinct 11 returned in 1930 as Blue Spring.

[19] GILCHRIST.—Places for which 1920 population is shown were in Alachua County.

[20] GLADES.—Place for which 1920 population is shown was in De Soto County. Part of precinct 5 annexed to Hendry County in 1937. Name of precinct 2 returned in 1930 as Citrus Center.

[21] GULF.—County total for 1930 includes population (276) of old precinct 4, Camp Parkwood, annexed to 5 in 1938. New precinct 4 organized from part of 7, including part of Port St. Joe town, and precinct 8 organized from part of 7, in 1940.

[22] HARDEE.—Places for which 1920 population is shown were in De Soto County. Parts of precincts 1, 4, and 13 annexed to 12; part of precinct 3, to 2; parts of precincts 3 and 4, to 14; part of precinct 5, to 6; parts of precinct 6, to 7 and 8, and part of precinct 14, to 8, in 1940.

TABLE 4.—POPULATION OF COUNTIES BY MINOR CIVIL DIVISIONS: 1920 TO 1940—Continued

MINOR CIVIL DIVISION	1940	1930	1920
Hardee County—Con.			
Prec. 7, Lily [22]	253	258	-------
Prec. 8, Limestone [22]	372	317	-------
Prec. 9, Bowling Green	1,870	1,732	-------
Bowling Green city	*950*	*1,025*	*692*
Prec. 10, Lake Branch	139	234	-------
Prec. 11, Maude	118	161	-------
Prec. 12, Popash [22]	991	954	-------
Prec. 13, Crewsville [22]	96	183	-------
Prec. 14, Zolfo Springs [22]	724	802	-------
Zolfo Springs town	*223*	*272*	*256*
Prec. 15, Gardner	246	240	-------
Prec. 16, Sweetwater	169	156	-------
Hendry County [23]	5,237	[23] 3,492	([23])
Prec. 1, Clewiston	2,883	2,284	-------
Clewiston city [23]	*1,338*	-------	-------
Prec. 2, East La Belle [23]	593	203	-------
La Belle city, total	*837*	*397*	*377*
In Prec. 2	*337*	*200*	-------
In Prec. 3	*500*	*197*	-------
Prec. 3, West La Belle [23]	872	305	-------
La Belle city (part)	*500*	*197*	-------
Prec. 4, Ford Denaud	231	258	-------
Prec. 5, Felda	658	333	-------
Hernando County	5,641	4,948	[24] 4,548
Prec. 1, Croom	94	228	240
Prec. 2, Add	278	277	213
Prec. 3, Aripeka	60	33	35
Prec. 4, North Brooksville	1,574	1,257	1,871
Brooksville city, total	*1,607*	*1,405*	*1,011*
In Prec. 4	*732*	*747*	-------
In Prec. 4½	*875*	*658*	-------
Prec. 4½, South Brooksville	1,895	1,469	-------
Brooksville city (part)	*875*	*658*	-------
Prec. 5, Spring Lake	862	700	526
Prec. 6, Powell	359	396	737
Prec. 7, Kaylon	104	147	148
Prec. 8, Istachatta	201	227	136
Prec. 9, Harris Pond	214	214	225
Highlands County	9,246	9,192	([25])
Prec. 1, Avon Park [25]	1,256	3,528	-------
Avon Park city, total [25]	*3,125*	*3,355*	*890*
In Prec. 1	*876*	*3,355*	*890*
In Prec. 1A	*2,249*	-------	-------
Prec. 1A, Avon Park [25]	2,496	-------	-------
Avon Park city (part)	*2,249*	-------	-------
Prec. 2, Sebring [25]	1,126	3,227	-------
Sebring city, total [25]	*2,155*	*2,912*	*812*
In Prec. 2	*1,017*	*2,912*	*812*
In Prec. 2A	*2,138*	-------	-------
Prec. 2A, Sebring [25]	2,180	-------	-------
Sebring city (part)	*2,138*	-------	-------
Prec. 3, De Soto City	351	380	-------
De Soto City town	*131*	*231*	-------
Prec. 4, Lake Stearns	968	819	-------
Lake Placid city	*340*	*532*	-------
Prec. 5, Venus	354	302	-------
Prec. 6, Hicoria	129	587	-------
Prec. 7, Bassenger	125	158	-------
Prec. 8, Brighton	60	92	-------
Prec. 9, Istokpoga	201	99	-------
Hillsborough County [26]	180,148	153,519	88,257
Precinct 1	2,585	-------	-------
Tampa city, total	*108,391*	*101,161*	*51,608*
Precincts 1, 2, and 4 to 38, entire	*106,026*	-------	-------
In Prec. 3	*2,365*	-------	-------
Precinct 2	2,726	-------	-------
Tampa city (part)	*2,726*	-------	-------
Precinct 3	2,376	-------	-------
Tampa city (part)	*2,365*	-------	-------
Precinct 4	1,348	-------	-------
Tampa city (part)	*1,348*	-------	-------
Precinct 5	2,163	-------	-------
Tampa city (part)	*2,163*	-------	-------
Precinct 6	2,350	-------	-------
Tampa city (part)	*2,350*	-------	-------
Precinct 7	4,320	-------	-------
Tampa city (part)	*4,320*	-------	-------
Precinct 8	1,416	-------	-------
Tampa city (part)	*1,416*	-------	-------
Precinct 9	4,093	-------	-------
Tampa city (part)	*4,093*	-------	-------
Hillsborough County—Con.			
Precinct 10	6,777	-------	-------
Tampa city (part)	*6,777*	-------	-------
Precinct 11	9,359	-------	-------
Tampa city (part)	*9,359*	-------	-------
Precinct 12	6,287	-------	-------
Tampa city (part)	*6,287*	-------	-------
Precinct 13	3,315	-------	-------
Tampa city (part)	*3,315*	-------	-------
Precinct 14	2,917	-------	-------
Tampa city (part)	*2,917*	-------	-------
Precinct 15	2,554	-------	-------
Tampa city (part)	*2,554*	-------	-------
Precinct 16	3,440	-------	-------
Tampa city (part)	*3,440*	-------	-------
Precinct 17	3,383	-------	-------
Tampa city (part)	*3,383*	-------	-------
Precinct 18	5,010	-------	-------
Tampa city (part)	*5,010*	-------	-------
Precinct 19	3,697	-------	-------
Tampa city (part)	*3,697*	-------	-------
Precinct 20	3,473	-------	-------
Tampa city (part)	*3,473*	-------	-------
Precinct 21	2,384	-------	-------
Tampa city (part)	*2,384*	-------	-------
Precinct 22	2,912	-------	-------
Tampa city (part)	*2,912*	-------	-------
Precinct 23	2,654	-------	-------
Tampa city (part)	*2,654*	-------	-------
Precinct 24	3,341	-------	-------
Tampa city (part)	*3,341*	-------	-------
Precinct 25	2,941	-------	-------
Tampa city (part)	*2,941*	-------	-------
Precinct 26	3,278	-------	-------
Tampa city (part)	*3,278*	-------	-------
Precinct 27	3,264	-------	-------
Tampa city (part)	*3,264*	-------	-------
Precinct 28	2,677	-------	-------
Tampa city (part)	*2,677*	-------	-------
Precinct 29	2,681	-------	-------
Tampa city (part)	*2,681*	-------	-------
Precinct 30	2,387	-------	-------
Tampa city (part)	*2,387*	-------	-------
Precinct 31	1,200	-------	-------
Tampa city (part)	*1,200*	-------	-------
Precinct 32	2,499	-------	-------
Tampa city (part)	*2,499*	-------	-------
Precinct 33	2,595	-------	-------
Tampa city (part)	*2,595*	-------	-------
Precinct 34	1,219	-------	-------
Port Tampa city	*1,124*	*1,242*	*1,050*
Precinct 35	2,754	-------	-------
Precinct 36	2,886	-------	-------
Precinct 37	1,396	-------	-------
Precinct 38	2,846	-------	-------
Precinct 39	1,952	-------	-------
Precinct 40	1,696	-------	-------
Precinct 41	612	-------	-------
Precinct 42	4,412	-------	-------
Precinct 43	1,674	-------	-------
Precinct 44	2,489	-------	-------
Temple Terrace city [26]	*215*	-------	-------
Precinct 45	1,494	-------	-------
Precinct 46 [26]	1,100	-------	-------
Precinct 47	3,815	-------	-------
Precinct 48	2,215	-------	-------
Precinct 49	5,125	-------	-------
Plant City, total [26]	*7,491*	*6,800*	*3,729*
In Prec. 49	*3,949*	-------	-------
In Prec. 50	*633*	-------	-------
In Prec. 52	*1,765*	-------	-------
In Prec. 53	*1,144*	-------	-------
Precinct 50	2,849	-------	-------
Plant City (part)	*633*	-------	-------
Precinct 51	2,201	-------	-------
Precinct 52	3,035	-------	-------
Plant City (part)	*1,765*	-------	-------
Precinct 53 [26]	1,800	-------	-------
Plant City (part)	*1,144*	-------	-------
Precinct 54	2,627	-------	-------
Precinct 55	1,574	-------	-------
Precinct 56	968	-------	-------
Precinct 57	1,325	-------	-------
Precinct 58 [26]	4,290	-------	-------
Precinct 59	4,081	-------	-------
Precinct 60	1,907	-------	-------
Precinct 61	791	-------	-------
Precinct 62	1,024	-------	-------
Precinct 63	675	-------	-------
Precinct 64	1,013	-------	-------
Precinct 65	384	-------	-------
Hillsborough County—Con.			
Precinct 66	518	-------	-------
Precinct 67	1,188	-------	-------
Wimauma city	*557*	*400*	-------
Precinct 68	1,811	-------	-------
Holmes County	15,447	12,924	12,850
Prec. 1, Hickory Hill	876	812	718
Prec. 2, Sandy Creek	216	265	215
Prec. 3, New Hope Church	601	463	554
Prec. 4, Leonia Church	631	369	340
Prec. 5, White Water	464	505	421
Prec. 6, Mount Zion Church	615	650	580
Prec. 7, Live Oak	638	455	697
Prec. 8, Ponce de Leon	982	951	746
Prec. 9, Hurricane Creek	702	603	555
Prec. 10, Newton	636	570	624
Prec. 11, Westville	677	582	621
Prec. 12, Bonifay	1,631	1,051	2,084
Bonifay town, total	*1,924*	*1,292*	*1,250*
In Prec. 12	*1,006*	*664*	*1,250*
In Prec. 23	*918*	*628*	-------
Prec. 13, Moores Mill	440	416	482
Prec. 14, Bay View	538	476	255
Prec. 15, Bridge Creek	241	206	225
Prec. 16, Union	426	479	630
Prec. 17, Esto	466	471	497
Esto town	*218*	*190*	*269*
Prec. 18, Eleanor	585	558	522
Prec. 19, Williams School House	997	673	609
Prec. 20, Izagora	438	323	189
Prec. 21, Noma	814	614	1,026
Noma town	*344*	*274*	*847*
Prec. 22, St. Johns Church	569	369	260
Precinct 23	1,264	1,063	-------
Bonifay town (part)	*918*	*628*	-------
Indian River County	8,957	6,724	([27])
Prec. 1, Roseland	125	83	-------
Prec. 2, Sebastian	564	464	-------
Sebastian town	*425*	*386*	-------
Prec. 3, Wabasso	1,201	977	-------
Prec. 4, Quay	1,661	1,215	-------
Vero Beach city, total [27]	*3,050*	*2,268*	*793*
In Prec. 4	*5*	-------	-------
In Prec. 5	*1,372*	*933*	-------
In Prec. 6	*1,673*	*1,335*	-------
Prec. 5, North Vero	1,740	1,172	-------
Vero Beach city (part)	*1,372*	*933*	-------
Prec. 6, Vero	2,505	2,056	-------
Vero Beach city (part)	*1,673*	*1,335*	-------
Prec. 7, Oslo	282	216	-------
Prec. 8, Fellsmere	879	541	-------
Fellsmere town	*643*	*356*	*333*
Jackson County	34,428	31,969	[28] 31,224
Prec. 1, Forks Creek	337	388	375
Prec. 2, Campbellton	1,962	2,445	2,487
Campbellton town	*311*	*314*	*277*
Prec. 3, Kynesville	1,077	963	1,360
Prec. 4, Richter [28]	755	1,265	902
Prec. 5, Mulberry Grove	449	415	478
Precinct 6 [28]	5,355	4,098	4,891
Marianna city, total [28]	*5,079*	*3,372*	*2,499*
In Prec. 6	*2,601*	*1,654*	*2,499*
In Prec. 27	*2,478*	*1,718*	-------
Prec. 7, Rocky Creek	325	344	318
Prec. 8, Shady Grove	658	707	694
Prec. 9, Grand Ridge [28]	1,103	809	868
Prec. 10, Dellwood	1,322	1,356	1,246
Prec. 11, Neals Landing	1,155	950	1,137
Prec. 12, Malone [28]	2,194	1,989	2,099
Malone town	*442*	*418*	-------
Prec. 13, Greenwood	1,376	1,416	1,779
Greenwood town	*293*	*256*	-------
Prec. 14, North Graceville [28]	1,981	3,373	2,716
Graceville city, total [28]	*1,181*	*1,012*	*840*
In Prec. 14	*1,004*	*1,012*	*840*
In Prec. 29	*177*	-------	-------
Prec. 15, Cottondale	2,104	1,869	1,888
Cottondale town	*719*	*550*	*438*
Prec. 16, Sneads	2,082	2,436	2,152
Sneads town	*727*	*687*	*492*
Prec. 17, Compass Lake	170	238	450
Prec. 18, Bascom	575	397	698
Prec. 19, Cypress	621	620	825
Cypress town	*212*	*240*	*295*

[22] HARDEE.—For footnote, see preceding page.

[23] HENDRY.—Place for which 1920 population is shown was in Lee County. Part of Glades County annexed to precinct 2 in 1937. County total for 1930 includes population (109) of precinct 6, Sears, annexed to 3 in 1932. Precincts 2 and 3 returned in 1930 by number only. Clewiston city incorporated in 1931.

[24] HERNANDO.—County total for 1920 includes population (417) of precinct 10, annexed to 9 in 1922.

[25] HIGHLANDS.—Places for which 1920 population is shown were in De Soto County. Part of precinct 1, including part of Avon Park city, taken to form 1A since 1930, and part of Avon Park city reverted to precinct 1 in 1934; part of precinct 2, including part of Sebring city, taken to form 2A since 1930, and part of Sebring city reverted to precinct 2 in 1934.

[26] HILLSBOROUGH.—County redistricted in 1938 and 1940; comparative figures shown wherever possible. Part of Plant City reverted to new precinct 53 in 1939. Temple Terrace city, geographically located in precincts 44, 46, and 58, had no population in 1940 for those parts in precincts 46 and 58; not returned separately in 1930.

[27] INDIAN RIVER.—Places for which 1920 population is shown were in St. Lucie County. Vero Beach city returned in 1930 as in precincts 5 and 6 only.

[28] JACKSON.—County total for 1920 includes population (260) of old precinct 22, annexed to 15 in 1921. Precinct 28 organized from parts of 4 and 14 in 1934, and precinct 29 from part of 14, including part of Graceville city, in 1935. Parts of precincts 6 and 27 annexed to Marianna city in 1937. Since 1930, name of precinct 9 changed from Carpenter, precinct 12 from Friendship, precinct 14 from Graceville, precinct 23 from Parramore, and precinct 26 from Silver Lake.

TABLE 4.—POPULATION OF COUNTIES BY MINOR CIVIL DIVISIONS: 1920 TO 1940—Continued

MINOR CIVIL DIVISION	1940	1930	1920
Jackson County—Con.			
Prec. 20, Round Lake	252	310	308
Prec. 21, Alford	1,044	882	835
Alford town	*288*	*221*	*207*
Prec. 22, Cave Springs [28]	422	367	
Prec. 23, Central [28]	1,166	970	1,285
Prec. 24, Hasty Pond	178	259	323
Prec. 25, Alliance	729	709	850
Prec. 26, Cherokee [28]	142	68	
Prec. 27, North Marianna [28]	2,848	2,126	
Marianna city (part)	*2,478*	*1,718*	
Prec. 28, Union [28]	998		
Prec. 29, South Graceville [28]	1,048		
Graceville city (part)	*177*		
Jefferson County	12,032	13,408	14,502
Prec. 1, Ashville	763	721	1,109
Prec. 2, Lintons Mill	854	1,180	1,486
Prec. 3, Bethel [29]	613	631	777
Prec. 4, Wheeler	811	910	1,315
Prec. 5, Lloyd	1,103	1,180	1,641
Prec. 6, Monticello	2,761	2,686	2,203
Monticello town	*2,042*	*1,901*	*1,704*
Prec. 7, Drifton	1,158	922	912
Prec. 8, Aucilla	926	982	1,421
Prec. 9, Lamont	550	796	711
Prec. 10, Waukeenah	1,055	906	1,391
Prec. 11, Wacissa	1,105	1,757	1,128
Prec. 12, Walker Springs [29]	333	737	408
Lafayette County	4,405	4,361	6,242
Prec. 1, Day	1,266	1,130	
Prec. 2, Mayo	1,371	1,108	
Mayo town	*915*	*555*	*531*
Prec. 3, Airline [30]	776	1,112	
Prec. 4, Branford	873	689	
Prec. 5, Steinhatchee	119	322	
Lake County	27,255	23,161	[31] 12,744
Prec. 1, Astor	235	197	276
Prec. 2, Altoona	416	399	328
Prec. 3, Paisley	306	307	183
Prec. 4, Cassia	137	181	76
Prec. 5, Sorrento	1,172	488	431
Prec. 6, Eustis	3,635	3,529	1,564
Eustis city, total [31]	*2,930*	*2,835*	*1,193*
In Prec. 6	*2,907*	*2,835*	*1,193*
In Prec. 8	*23*		
Prec. 7, Umatilla	2,232	1,522	996
Umatilla town	*1,149*	*907*	*640*
Prec. 8, Grand Island	248	259	101
Eustis city (part)	*25*		
Prec. 9, Lisbon	479	453	340
Prec. 10, Leesburg South [31]	3,414	5,149	2,588
Leesburg city, total [31]	*4,687*	*4,113*	*1,895*
In Prec. 10	*2,670*	*4,113*	*1,895*
In Prec. 26	*2,017*		
Prec. 11, Lady Lake	509	338	327
Lady Lake town	*309*	*233*	
Prec. 12, Okahumpka	580	530	600
Prec. 13, Yalaha	598	496	358
Howey-in-the-Hills town, total [31]	*203*	*338*	
In Prec. 18	*16*		
In Prec. 21	*187*	*338*	
Prec. 14, Mascotte	913	799	568
Mascotte town	*239*	*260*	
Prec. 15, Clermont	1,955	1,698	*552*
Clermont city, total [31]	*1,631*	*1,086*	*496*
In Prec. 15	*1,612*	*1,086*	*496*
In Prec. 22	*19*		
Monte Vista town [31]	*26*		
Prec. 16, Montverde [31]	347	591	300
Montverde town	*313*	*297*	
Prec. 17, Astatula	180	194	125
Astatula town	*158*	*167*	
Prec. 18, Lake Gem	120	142	61
Prec. 19, Tavares	1,557	1,192	478
Tavares town	*1,119*	*1,090*	*359*
Prec. 20, Mount Dora	2,232	1,882	773
Mount Dora town	*1,880*	*1,613*	*725*
Prec. 21, Howey	340	399	
Howey-in-the-Hills town (part)	*187*	*338*	
Lake County—Continued.			
Prec. 22, Minneola	473	271	107
Clermont city (part)	*19*		
Minneola town	*269*	*185*	
Prec. 23, Groveland	1,268	1,507	993
Groveland town	*411*	*470*	
Prec. 24, Ferndale [31]	215		
Prec. 25, Fruitland Park	790	638	499
Fruitland Park town	*362*	*270*	
Prec. 26, Leesburg North [31]	2,904		
Leesburg city (part)	*2,017*		
Lee County	17,488	[32]14,990	9,540
Prec. 1, Alva	503	612	
Prec. 2, Olga	163	190	
Prec. 3, Buckingham	180	253	
Prec. 4, Bayshore [32]	313	723	
Prec. 5, New Prospect	599	626	
Prec. 6, Tice	742	642	
Precinct 7	2,136	1,892	
Fort Myers city, total	*10,604*	[32] *9,082*	*3,678*
In Prec. 7	*1,938*	*1,697*	
Prec. 8, entire	*1,397*	*1,287*	
In Prec. 9	*1,254*	*1,290*	
In Prec. 10	*1,650*	*1,407*	
In Prec. 19	*4,365*	*835*	
Precinct 8	1,397	1,287	
Fort Myers city (part)	*1,397*	*1,287*	
Precinct 9	1,370	1,369	
Fort Myers city (part)	*1,254*	*1,290*	
Precinct 10	1,857	1,657	
Fort Myers city (part)	*1,650*	*1,407*	
Prec. 11, Iona [32]	614	488	
Prec. 12, Estero [32]	182	341	
Prec. 13, Bonita Springs [32]	542	465	
Bonita Springs town	*356*	*315*	
Prec. 14, St. James	77	99	
Prec. 15, Pineland [32]	43	50	
Prec. 16, Sanibel	166	127	
Prec. 17, Captiva	94	27	
Prec. 18, Boca Grande [32]	499	555	
Precinct 19 [32]	4,417	881	
Fort Myers city (part)	*4,365*	*855*	
Precinct 20 [32]	63		
Prec. 21, Bokeelia	94	64	
Prec. 22, Fort Myers Beach [32]	473		
Prec. 23, South Boca Grande [32]	300		
Prec. 24, Hendry Creek [32]	121		
Prec. 25, Slater [32]	503		
Prec. 26, Pine Island Bridge [32]	40		
Leon County [33]	31,646	23,476	18,059
Precinct 1	3,302		
Tallahassee city, total	*16,240*	*10,700*	*5,637*
Precincts 1 and 2, entire	*5,952*		
In Prec. 3	*1,259*		
In Prec. 6	*1,905*		
In Prec. 9	*3,586*		
In Prec. 11	*3,558*		
Precinct 2	2,630		
Tallahassee city (part)	*2,630*		
Precinct 3	3,532		
Tallahassee city (part)	*1,259*		
Precinct 4	2,347		
Precinct 5	1,868		
Precinct 6	3,097		
Tallahassee city (part)	*1,905*		
Precinct 7	974		
Precinct 8	2,142		
Precinct 9	4,436		
Tallahassee city (part)	*3,586*		
Precinct 10	470		
Precinct 11	6,158		
Tallahassee city (part)	*3,558*		
Precinct 12	690		
Levy County	12,550	12,456	9,921
Prec. 1, Bronson	1,137	961	773
Bronson town	*758*	*694*	
Prec. 2, Levyville	688	697	518
Prec. 3, Otter Creek (Ellzey)	1,037	799	399
Prec. 4, Cedar Keys	998	1,085	759
Cedar Keys city	*988*	*1,066*	*695*
Prec. 5, Lebanon	182	85	769
Prec. 6, Montbrook	359	447	387
Levy County—Continued.			
Prec. 7, Williston [34]	1,048	2,356	1,786
Williston town, total [34]	*890*	*940*	*823*
In Prec. 7	*871*	*940*	*823*
In Prec. 7A	*519*		
Prec. 7A, Williston [34]	1,126		
Williston town (part)	*519*		
Prec. 8, Morriston	598	647	619
Prec. 9, Sumner	222	405	640
Prec. 10, Judson	796	797	669
Prec. 11, Raleigh (Shell Pond)	676	748	617
Prec. 12, Red Hollow	225	165	193
Prec. 13, Chiefland	1,077	902	790
Chiefland town	*572*	*421*	
Prec. 14, Inglis	490	533	394
Yankeetown town, total	*255*	*157*	
In Levy Co	*239*	*114*	
In Citrus Co	*16*	*43*	
Prec. 15, Janney	502	372	440
Prec. 16, Gunntown (Gulf Hammock)	1,291	1,193	168
Prec. 17, Tidewater	98	264	
Liberty County	3,752	[35] 4,067	[35] 5,006
Prec. 1, Rock Bluff (Oak Grove)	408	522	417
Prec. 2, Bristol	1,339	1,175	950
Prec. 3, Orange	216	294	561
Prec. 4, Hosford (Coe Mills)	885	744	1,471
Prec. 6, Telogia [35]	545	376	200
Prec. 7, Sumatra	299	625	804
Madison County	16,190	[36]15,614	[36] 16,516
Prec. 1, Madison	4,999	5,157	5,091
Madison town	*2,730*	*2,189*	*1,952*
Prec. 3, Norton Creek [36]	1,122	770	1,097
Lee town	*258*	*185*	*199*
Prec. 4, Moseley Hall	695	842	1,149
Prec. 5, Greenville	2,645	2,712	2,621
Greenville town	*1,114*	*904*	*668*
Prec. 6, Hamburg	1,435	1,283	1,636
Prec. 7, Cherry Lake	1,497	1,036	1,170
Prec. 8, Pinetta (Withlacoochee)	1,275	1,118	1,280
Prec. 9, Tuten (Harmony)	894	1,228	523
Prec. 10, Hixtown	586	321	693
Prec. 11, Macedonia	832	611	834
Prec. 12, Winquepin	210	258	288
Manatee County	28,098	22,502	18,712
Prec. 1, Palmetto Library [37]	1,652	3,995	
Palmetto city, total [37]	*3,491*	*3,043*	*2,046*
In Prec. 1	*1,196*	*3,043*	*2,046*
In Prec. 22	*2,295*		
Prec. 2, Oak Knoll	99	180	
Prec. 3, Duette (Dry Prairie)	305	341	
Prec. 4, Myakka Head	145	241	
Prec. 5, Manatee [37]	4,003	4,048	
Manatee town	*3,595*	*3,219*	*1,076*
Prec. 6, Court House [37]	4,582	4,072	
Bradenton city, total [37]	*7,444*	*5,986*	*3,868*
Precincts 6, 18, and 19, entire	*6,579*	*5,986*	
In Prec. 20	*865*		
Prec. 7, Verna [37]	96	201	
Prec. 8, Sandy	66	157	
Prec. 9, Ellenton	1,174	1,387	
Prec. 10, Palma Sola [37]	489	473	
Prec. 11, Parrish	967	823	
Prec. 12, Terra Ceia	977	979	
Prec. 13, Cortez	534	310	
Prec. 14, Anna Maria	531	141	
Anna Maria city	*158*	*77*	
Prec. 15, Gillette	649	710	
Prec. 16, Oneco [37]	2,187	1,428	
Prec. 17, Myakka City	290	451	
Prec. 18, City Hall [37]	761	581	
Bradenton city (part)	*761*	*581*	
Prec. 19, Womans Club [37]	1,236	1,984	
Bradenton city (part)	*1,236*	*1,984*	
Prec. 20, Rosedale [37]	1,444		
Bradenton city (part)	*865*		
Prec. 21, Cedar Hammock [37]	945		
Prec. 22, Palmetto Armory [37]	2,966		
Palmetto city (part)	*2,295*		

[28] JACKSON.—For footnote, see preceding page.

[29] JEFFERSON.—Name of precinct 3, Bethel, changed from Barnes, and name of precinct 12, Walker Springs, from Strickland, since 1930.

[30] LAFAYETTE.—Name of precinct 3 returned in 1930 as Alton.

[31] LAKE.—County total for 1920 includes population (81) of old precinct 21, annexed to 9, and population (39) of precinct 24, annexed to 5, between 1920 and 1930. Precinct 26 organized from part of 10, including part of Leesburg city, in 1932, and precinct 24, from part of 16 in 1934. Part of Leesburg city reverted to precinct 10 in 1931. Eustis city returned in 1930 and 1920 as in precinct 6 only; Howey-in-the-Hills town, as in precinct 21 only; and Clermont city, as in precinct 15 only. Name of precinct 10, Leesburg South, changed from Leesburg since 1930. Monte Vista town incorporated in 1925; no population reported in 1930.

[32] LEE.—County total for 1930 includes population (2,642) of old precinct 20, annexed to 19 since 1930. Part of precinct 13 annexed to 12 in 1932. New precinct 20 organized from parts of 12 and 13, and precinct 22, from part of 11, in 1932; precinct 23, from part of 18 in 1934, precinct 24, from part of 12, and precinct 25, from part of 4, in 1936; and precinct 26 from part of 15 in 1940. The 1930 total for Fort Myers city includes population (2,566) of that part of the city in old precinct 20.

[33] LEON.—County redistricted in 1940; comparative figures shown wherever possible.

[34] LEVY.—Part of precinct 7, including part of Williston town, taken to form precinct 7A in 1938.

[35] LIBERTY.—County totals for 1930 and 1920 include population (62 in 1930; 200 in 1920) of precinct 9, annexed to 6 since 1930; and population (269 in 1930; 403 in 1920) of precincts 5 and 8, annexed to 6 in 1930, but returned separately in that year.

[36] MADISON.—County totals for 1930 and 1920 include population (278 in 1930; 134 in 1920) of precinct 2, Ellaville, annexed to 3 since 1930.

[37] MANATEE.—Precinct 20 organized from part of 10 and part of 19, including part of Bradenton city; precinct 21, from parts of 6 and 19; and precinct 22, from part of 1, including part of Palmetto city, in 1937. Part of precinct 5 annexed to 16 in 1938. Name of precinct 1 changed from Palmetto, precinct 6 from Bradenton, precinct 7 from Waterbury, and precinct 19 from Bradenton, in 1938. Bradenton city returned in 1930 as Bradentown city, and precinct 18, returned by number only.

TABLE 4.—POPULATION OF COUNTIES BY MINOR CIVIL DIVISIONS: 1920 TO 1940—Continued

MINOR CIVIL DIVISION	1940	1930	1920
Marion County	31,243	29,578	23,968
Prec. 1, Ocala	12,827	9,508	6,017
Ocala city	*8,986*	*7,281*	*4,914*
Prec. 2, Reddick	1,215	1,157	1,313
Reddick town	*392*	*363*	*312*
Prec. 3, Flemington	655	845	1,069
Prec. 4, Cotton Plant	474	506	591
Prec. 5, Romeo	273	334	364
Prec. 6, Camp Izard	111	225	177
Prec. 7, Shady Grove	692	717	355
Prec. 8, Summerfield	576	785	550
Prec. 9, Lake Weir	480	517	239
Prec. 10, Moss Bluff	215	242	264
Prec. 11, Grahamville	543	490	345
Prec. 12, Salt Springs	57	58	15
Prec. 13, Fort McCoy [38]	358	562	396
Prec. 14, Orange Springs	268	421	369
Prec. 15, Linadale	259	188	114
Prec. 16, Citra	651	986	799
Prec. 17, Anthony	929	862	1,112
Prec. 18, Martin	700	886	457
Prec. 19, Weirsdale	947	854	537
Prec. 20, Blitchton	478	621	708
Prec. 21, Belleview	1,210	1,371	1,102
Belleview town	*433*	*400*	*257*
Prec. 22, McIntosh	907	1,118	906
McIntosh town	*397*	*272*	*440*
Prec. 23, Pedro	264	225	264
Prec. 24, Dunnellon	1,545	1,708	1,520
Dunnellon town, total [38]	*1,217*	*1,194*	*1,185*
In Marion Co	*1,066*	*1,194*	*1,185*
In Citrus Co	*151*		
Prec. 25, Candler	180	203	140
Prec. 26, Sparr	706	660	693
Prec. 27, Eureka	127	100	16
Prec. 28, Levon	220	157	262
Prec. 29, Kendrick	1,156	921	795
Prec. 30, Martel	611	812	900
Prec. 31, Fairfield	639	665	615
Prec. 32, Geiger	321	323	315
Prec. 33, Amathla	540	551	649
Prec. 34, Burbank [38]	109		
Martin County	6,295	[39] 5,111	[39]
Prec. 1, Jensen [39]	817	614	
Stuart city, total [39]	*2,438*	*1,924*	*778*
In Prec. 1	*49*		
In Prec. 2	*1,464*	*1,112*	
In Prec. 3	*925*	*812*	
Prec. 2, Stuart	1,524	1,119	
Stuart city (part)	*1,464*	*1,112*	
Prec. 3, Stuart	959	839	
Stuart city (part)	*925*	*812*	
Prec. 4, Salerno	704	635	
Prec. 5, Hobe Sound	874	552	
Prec. 6, Palm City [39]	460	230	
Prec. 7, Port Mayaca [39]	289		
Prec. 8, Indian Town [39]	668		
Monroe County [40]	14,078	13,624	19,550
Key West city, total	12,927	12,831	18,749
Precinct 1	*1,237*		
Precinct 2	*833*		
Precinct 3	*1,132*		
Precinct 4	*1,660*		
Precinct 5	*2,776*		
Precinct 6	*2,886*		
Precinct 7	*2,353*		
Precinct 8	358		
Prec. 9, Upper and Lower Metacumbe	183		
Prec. 10, Key Largo	469		
Precinct 11	141		
Nassau County	10,826	9,375	[41] 11,340
Precinct 1	1,872	1,640	[41] 6
Fernandina city, total	*3,482*	*3,023*	*3,147*
In Prec. 1	*1,781*	*1,582*	
In Prec. 2	*1,711*	*1,441*	
Precinct 2	2,373	1,791	[41] 250
Fernandina city (part)	*1,711*	*1,441*	
Prec. 3, Chester	704	548	393
Prec. 5, Yulee	677	697	238
Prec. 6, Evergreen	202	276	229
Prec. 7, Kings Ferry	546	460	603
Nassau County—Con.			
Prec. 8, Lessie	148	66	135
Prec. 9, Boulogne	331	327	341
Prec. 10, Hilliard	1,050	1,033	973
Prec. 11, Callahan	2,102	1,664	1,410
Callahan town	*685*	*687*	*511*
Prec. 12, Kent	435	404	448
Prec. 13, Bryceville	241	345	416
Prec. 14, Brandy Branch	145	124	161
Okaloosa County	12,900	9,897	[42] 9,360
Prec. 1, South Baker	944	686	488
Prec. 2, North Baker	907	725	720
Prec. 3, Beaver Creek	279	264	229
Prec. 4, Old Walton	119	110	399
Prec. 5, Laurel Hill	1,384	1,423	1,352
Laurel Hill town	*350*	*302*	*291*
Prec. 6, Yellow River	471	447	434
Prec. 7, Blackman	629	360	294
Prec. 8, Milligan	728	492	563
Prec. 9, Holt	751	929	1,023
Holt town	*303*	*278*	*522*
Prec. 10, Rock Creek	58	85	
Prec. 11, Deerland	66	119	249
Prec. 12, Garden City	604	433	517
Prec. 13, Dorcas	229	228	360
Prec. 14, Niceville	1,295	823	786
Niceville town [42]	*948*		
Valparaiso city, total [42]	*221*	*99*	
In Prec. 14	*88*		
In Prec. 22	*133*	*99*	
Prec. 15, Crestview	2,678	1,619	938
Crestview town	*2,252*	*930*	*500*
Prec. 16, Mary Esther	82	70	160
Prec. 17, Wright	115	183	105
Prec. 18, Franklin	302	152	494
Prec. 19, Garniers	120	137	108
Prec. 20, Brick	170	155	
Prec. 21, Fort Walton [42]	458	192	
Prec. 22, New Valparaiso	193	99	
Valparaiso city (part)	*133*	*99*	
Prec. 23, Destin	318	166	
Okeechobee County	3,000	4,129	[42a] 2,132
Prec. 1, Fort Drum	80	114	118
Prec. 2, Bassenger	174	148	138
Prec. 3, Potters	63	72	132
Prec. 4, Okeechobee	1,247	1,270	1,517
Okeechobee city, total	*1,658*	*1,795*	*900*
In Prec. 4	*756*	*728*	
In Prec. 7	*902*	*1,067*	
Prec. 5, Utopia	264	1,201	193
Prec. 6, Eagle Bay	91	68	
Prec. 7	1,081	1,256	
Okeechobee city (part)	*902*	*1,067*	
Orange County [43]	70,074	49,737	19,890
Prec. 11	2,332		
Orlando city, total [43]	*36,736*	*27,330*	*9,282*
Precincts 11, 12, 12A, 13, 13A, 14, 15, 15A, and 16A to 21, entire	*34,600*	*27,330*	*9,282*
In Prec. 16	*2,136*		
Prec. 12	2,330		
Orlando city (part)	*2,330*		
Precinct 12A	1,671		
Orlando city (part)	*1,671*		
Prec. 13	1,721		
Orlando city (part)	*1,721*		
Prec. 13A	1,993		
Orlando city (part)	*1,993*		
Prec. 14	1,746		
Orlando city (part)	*1,746*		
Prec. 15	1,508		
Orlando city (part)	*1,508*		
Prec. 15A	1,966		
Orlando city (part)	*1,966*		
Prec. 16	2,160		
Orlando city (part)	*2,136*		
Prec. 16A	1,681		
Orlando city (part)	*1,681*		
Prec. 17	2,771		
Orlando city (part)	*2,771*		
Prec. 18	3,681		
Orlando city (part)	*3,681*		
Orange County—Con.			
Prec. 19	3,912		
Orlando city (part)	*3,912*		
Prec. 20	2,546		
Orlando city (part)	*2,546*		
Prec. 21	4,742		
Orlando city (part)	*4,742*		
Prec. 22, Lake Mann	1,226		
Prec. 22A	1,449		
Prec. 23, Drennen	1,245		
Prec. 24, Lake Underhill	1,457		
Prec. 25, East Winter Park	1,027		
Winter Park city, total [43]	*4,715*	*3,686*	*1,078*
In Prec. 25	*777*		
In Prec. 25A	*581*		
In Prec. 26	*2,403*		
In Prec. 26A	*954*		
Prec. 25A	604		
Winter Park city (part)	*581*		
Prec. 26, West Winter Park	3,627		
Winter Park city (part)	*2,403*		
Precinct 26 A	1,166		
Winter Park city (part)	*954*		
Prec. 27, Maitland [43]	855		
Lake Maitland town [43]	*463*	[43] *647*	[43] *297*
Prec. 28, Fairvilla	491		
Prec. 29, Lockhart	1,139		
Prec. 30, Clarcona	384		
Prec. 31, Apopka	3,199		
Apopka city [43]	*1,512*	*1,134*	*708*
Prec. 32, Bay Ridge	158		
Prec. 33, Zellwood	1,049		
Prec. 34, Oakland	1,020		
Oakland town [43]	*518*	*379*	*323*
Prec. 35, Winter Garden	4,816		
Winter Garden city	*3,060*	*2,023*	*1,021*
Prec. 36, Ocoee	1,645		
Ocoee city [43]	*702*	*794*	
Prec. 37, Orlo Vista	566		
Prec. 38, Gotha	259		
Prec. 39, Windermere	433		
Windermere town	*165*	*181*	
Prec. 40, Vineland	290		
Prec. 41, Pinecastle	1,075		
Belle Isle town, total	*178*	*160*	
In Prec. 41	*176*		
In Prec. 43	*2*		
Edgewood town	*84*	*103*	
Prec. 42, Taft	538		
Prec. 43, Conway	2,166		
Belle Isle town (part)	*2*		
Prec. 44, Union Park	505		
Prec. 45, Bithlo	474		
Bithlo town	*79*	*128*	
Prec. 46, Christmas	388		
Prec. 47, Barton Lake	63		
Osceola County	10,119	[44] 10,699	[44] 7,195
Prec. 1, Kissimmee	2,391	2,336	1,974
Kissimmee city, total	*3,225*	*3,163*	*2,722*
In Prec. 1	*2,111*	*2,027*	*1,765*
In Prec. 7	*1,114*	*1,136*	*957*
Prec. 2, Shingle Creek	277	175	97
Prec. 3, Campbell Station	532	359	247
Prec. 4, St. Cloud	1,540	1,321	2,609
St. Cloud city, total	*2,042*	*1,863*	*2,011*
In Prec. 4	*1,089*	*891*	
In Prec. 11	*953*	*972*	
Prec. 6, Kenansville [44]	458	801	272
Prec. 7, Kissimmee	1,697	1,677	1,318
Kissimmee city (part)	*1,114*	*1,136*	*957*
Prec. 8, Narcoossee	215	212	182
Prec. 9, Holopaw [44]	1,369		
Prec. 10, Lake Wilson	127	131	72
Prec. 11, St. Cloud	1,513	1,443	
St. Cloud city (part)	*953*	*972*	
Palm Beach County	79,989	[45] 51,781	18,654
Prec. 1, Jupiter	832	776	
Jupiter town	*215*	*176*	
Prec. 2, Kelsey City	623	710	
Kelsey City town	*379*	*470*	
Palm Beach Harbor town, total [45]	*27*	*10*	
In Prec. 2	*10*	*10*	
In Prec. 3	*17*		

[38] MARION.—Precinct 34 organized from part of 13 in 1932. Dunnellon town returned in 1930 and 1920 as in Marion County only.

[39] MARTIN.—Place for which 1920 population is shown was in Palm Beach County. County total for 1930 includes population (82) of old precinct 7, Tropical Farms, annexed to 6 in 1932, and population (1,040) of old precinct 8, parts taken to form new 7 and 8 in 1937. Part of precinct 1 annexed to Stuart city in 1931.

[40] MONROE.—County partially redistricted in 1932; comparative figures shown wherever possible.

[41] NASSAU.—County total for 1920 includes population (3,147) of Fernandina city, not returned by precincts in 1920; population (2,490) erroneously included in Fernandina city, and population (100) of precinct 4, annexed to 5 in 1920. The 1920 figures for precincts 1 and 2 are exclusive of parts of Fernandina city located therein.

[42] OKALOOSA.—County total for 1920 includes population (141) of old precinct 10, annexed to 17 in 1920. Name of precinct 21, Fort Walton, changed from Camp Walton in 1932. Valparaiso city returned in 1930 as in precinct 22 only. Niceville town incorporated in 1938.

[42a] OKEECHOBEE.—County total for 1920 includes population (34) of part of Seminole Indian Reservation in this county, not returned by precincts.

[43] ORANGE.—County partially redistricted in 1930 and 1940; comparative figures shown wherever possible. Part of Lake Maitland town reverted to precinct 27 since 1930. The figures for 1930 and 1920 for Lake Maitland town have been corrected to include population (136 in 1930; 125 in 1920) of Eatonville town, annexed in 1909, but returned separately in those years. Parts of Orlando, Apopka, Ocoee, and Winter Park cities, and Oakland town detached since 1930.

[44] OSCEOLA.—County totals for 1930 and 1920 include population (370 in 1930; 57 in 1920) of old precinct 9, Lokosee, annexed to 6; population (172 in 1930; 367 in 1920) of precinct 5, Deer Park, and population (1,702 in 1930) of precinct 12, Holopaw, taken to form new 9, since 1930.

[45] PALM BEACH.—For footnote, see following page.

TABLE 4.—POPULATION OF COUNTIES BY MINOR CIVIL DIVISIONS: 1920 TO 1940—Continued

MINOR CIVIL DIVISION	1940	1930	1920
Palm Beach County—Con.			
Prec. 3, Riviera	1,998	1,204	----
Palm Beach Harbor town (part)	*17*	----	----
Riviera town	*1,981*	*811*	----
Precinct 4 [45]	1,747	1,269	----
West Palm Beach city, total [45]	*33,693*	*26,610*	*8,659*
In Prec. 4	*1,691*	*1,269*	----
In Prec. 17	*2,837*	*2,181*	----
In Prec. 18	*3,316*	*2,567*	----
In Prec. 31	*22*	*534*	----
Precincts 5 to 16, entire	*25,827*	*20,059*	----
Precinct 5	2,711	2,197	----
West Palm Beach city (part)	*2,711*	*2,197*	----
Precinct 6	3,300	2,832	----
West Palm Beach city (part)	*3,300*	*2,832*	----
Precinct 7	4,378	2,608	----
West Palm Beach city (part)	*4,378*	*2,608*	----
Precinct 8	3,092	2,700	----
West Palm Beach city (part)	*3,092*	*2,700*	----
Precinct 9	1,511	1,325	----
West Palm Beach city (part)	*1,511*	*1,325*	----
Precinct 10	1,632	1,452	----
West Palm Beach city (part)	*1,632*	*1,452*	----
Precinct 11	511	384	----
West Palm Beach city (part)	*511*	*384*	----
Precinct 12	1,320	904	----
West Palm Beach city (part)	*1,320*	*904*	----
Precinct 13 [45]	1,246	533	----
West Palm Beach city (part)	*1,246*	*533*	----
Precinct 14	1,635	1,379	----
West Palm Beach city (part)	*1,635*	*1,379*	----
Precinct 15 [45]	2,275	1,944	----
West Palm Beach city (part)	*2,275*	*1,944*	----
Precinct 16	2,216	1,801	----
West Palm Beach city (part)	*2,216*	*1,801*	----
Precinct 17 [45]	2,839	2,181	----
West Palm Beach city (part)	*2,837*	*2,181*	----
Precinct 18 [45]	3,330	2,567	----
West Palm Beach city (part)	*3,316*	*2,567*	----
Precinct 19	3,747	1,707	1,135
Palm Beach town	*3,747*	*1,707*	*1,135*
Precinct 20 [45]	2,345	1,751	----
Lake Worth city, total [45]	*7,408*	*5,940*	*1,106*
In Prec. 20	*2,345*	*1,751*	----
In Prec. 21	*1,886*	*1,534*	----
In Prec. 22	*1,722*	*1,561*	----
In Prec. 23	*1,455*	*1,094*	----
Precinct 21 [45]	2,168	[45] 2,051	----
Lake Worth city (part)	*1,886*	*1,534*	----
Precinct 22 [45]	1,723	1,561	----
Lake Worth city (part)	*1,722*	*1,561*	----
Precinct 23 [45]	1,679	1,291	----
Lake Worth city (part)	*1,455*	*1,094*	----
Prec. 24, Lantana and Hypoluxo	713	326	----
Lantana town	*234*	*188*	----
Manalapan town [45]	*40*	----	----
Prec. 25, Boynton [45]	1,930	1,242	----
Boynton town [45]	*1,326*	*1,058*	----
Gulf Stream town, total [45]	*93*	----	----
In Prec. 25	*40*	----	----
In Prec. 26	*53*	----	----
Ocean Ridge town [45]	*37*	----	----
Prec. 26, North Delray Beach [45]	2,277	1,300	----
Delray Beach city, total [45]	*3,737*	*2,333*	*1,051*
In Prec. 26	*2,027*	*1,188*	----
In Prec. 28	*1,710*	*1,145*	----
Gulf Stream town (part)	*53*	----	----
Prec. 28, South Delray Beach [45]	2,364	1,178	----
Delray Beach city (part)	*1,710*	*1,145*	----
Prec. 30, Boca Raton	1,364	668	----
Boca Raton town	*723*	*447*	----

MINOR CIVIL DIVISION	1940	1930	1920
Palm Beach County—Con.			
Precinct 31 [45]	907	978	----
West Palm Beach city (part)	*22*	*534*	----
Precinct 32	1,217	[45] 537	----
Prec. 33, Loxahatchee [45]	214	123	----
Prec. 35, Canal Point	3,131	2,509	----
Pahokee town, total	*4,766*	*2,256*	----
In Prec. 35	*191*	*343*	----
In Prec. 36	*4,575*	*1,913*	----
Prec. 36, Pahokee	6,325	2,735	----
Pahokee town (part)	*4,575*	*1,913*	----
Prec. 37, Chosen	1,448	700	----
Prec. 38, Belle Glade	4,429	1,043	----
Belle Glade town	*3,806*	*926*	----
Prec. 39, South Bay	2,062	754	----
Prec. 40, Ritta	1,787	345	----
Prec. 41, Shawano	90	205	----
Prec. 42, Greenacres [45]	873	----	----
Greenacres City town [45]	*804*	*329*	----
Pasco County	13,981	10,574	8,802
Prec. 1, Slaughter	84	171	244
Prec. 2, Trilby	787	506	514
Prec. 3, Dade City	2,107	1,298	2,167
Dade City, total [46]	*2,661*	*1,811*	*1,296*
In Prec. 3	*1,514*	*934*	*1,296*
In Prec. 19	*588*	*877*	----
In Prec. 24	*459*	----	----
Prec. 4, Pasadena	644	463	370
St. Leo town, total [46]	*211*	*158*	----
In Prec. 4	*6*	----	----
In Prec. 10	*191*	*158*	----
In Prec. 19	*14*	----	----
Prec. 5, Richland	465	389	467
Prec. 6, Zephyrhills	1,055	636	955
Zephyrhills town, total	*1,252*	*748*	*577*
In Prec. 6	*913*	*516*	*577*
In Prec. 22	*339*	*232*	----
Prec. 7, Wesley Chapel	244	188	300
Prec. 8, Ehren	379	303	423
Prec. 9, Bay Head	212	173	169
Prec. 10, San Antonio	910	780	696
St. Leo town (part)	*191*	*158*	----
San Antonio city [46]	*267*	*322*	*262*
Prec. 11, Pasco	217	145	256
Prec. 12, Greenfield	209	173	265
Prec. 13, Hudson	380	200	181
Prec. 14, Odessa	93	161	700
Prec. 15, Elfers	524	522	395
Prec. 16, Crystal Springs	229	218	150
Prec. 17, New Port Richey	1,115	873	550
New Port Richey city	*920*	*758*	----
Prec. 18, Myrtle	305	82	----
Prec. 19, Dade City [46]	757	1,024	----
Dade City (part)	*588*	*877*	----
St. Leo town (part)	*14*	----	----
Prec. 20, Blanton	142	157	----
Prec. 21, Lacoochee	1,592	1,427	----
Prec. 22, Zephyrhills	636	480	----
Zephyrhills town (part)	*339*	*232*	----
Prec. 23, Port Richey	173	205	----
Port Richey city	*124*	*104*	----
Prec. 24, Dade City [46]	722	----	----
Dade City (part)	*459*	----	----
Pinellas County [47]	91,852	62,149	28,265
Precinct 1	1,032	----	----
St. Petersburg city, total	*60,812*	*40,425*	*14,237*
Precincts 1 to 16, 19, 20, 23 to 34, 36, 39 to 43, entire	*56,297*	----	----
In Prec. 17	*268*	----	----
In Prec. 18	*1,209*	----	----
In Prec. 21	*13*	----	----
In Prec. 22	*255*	----	----
In Prec. 35	*1,263*	----	----
In Prec. 44	*770*	----	----
In Prec. 45	*757*	----	----
Precinct 2	938	----	----
St. Petersburg city (part)	*938*	----	----
Precinct 3	528	----	----
St. Petersburg city (part)	*528*	----	----
Precinct 4	452	----	----
St. Petersburg city (part)	*452*	----	----
Precinct 5	774	----	----
St. Petersburg city (part)	*774*	----	----
Precinct 6	1,090	----	----
St. Petersburg city (part)	*1,090*	----	----

MINOR CIVIL DIVISION	1940	1930	1920
Pinellas County—Con.			
Precinct 7	3,487	----	----
St. Petersburg city (part)	*3,487*	----	----
Precinct 8	1,231	----	----
St. Petersburg city (part)	*1,231*	----	----
Precinct 9	1,183	----	----
St. Petersburg city (part)	*1,183*	----	----
Precinct 10	1,201	----	----
St. Petersburg city (part)	*1,201*	----	----
Precinct 11	1,537	----	----
St. Petersburg city (part)	*1,537*	----	----
Precinct 12	968	----	----
St. Petersburg city (part)	*968*	----	----
Precinct 13	1,054	----	----
St. Petersburg city (part)	*1,054*	----	----
Precinct 14	1,007	----	----
St. Petersburg city (part)	*1,007*	----	----
Precinct 15	1,494	----	----
St. Petersburg city (part)	*1,494*	----	----
Precinct 16	1,438	----	----
St. Petersburg city (part)	*1,438*	----	----
Precinct 17	1,589	----	----
St. Petersburg city (part)	*268*	----	----
Precinct 18 [47]	1,209	----	----
St. Petersburg city (part)	*1,209*	----	----
Precinct 19	843	----	----
St. Petersburg city (part)	*843*	----	----
Precinct 20	1,071	----	----
St. Petersburg city (part)	*1,071*	----	----
Precinct 21	884	----	----
Pinellas Park town, total	*691*	*465*	*134*
In Prec. 21	*591*	*430*	*134*
In Prec. 45	*100*	*35*	----
St. Petersburg city (part)	*18*	----	----
Precinct 21 A	267	----	----
Precinct 22	251	----	----
St. Petersburg city (part)	*235*	----	----
Precinct 23	1,372	----	----
St. Petersburg city (part)	*1,372*	----	----
Precinct 24	1,153	----	----
St. Petersburg city (part)	*1,153*	----	----
Precinct 25	903	----	----
St. Petersburg city (part)	*903*	----	----
Precinct 26	1,371	----	----
St. Petersburg city (part)	*1,371*	----	----
Precinct 27	1,781	----	----
St. Petersburg city (part)	*1,781*	----	----
Precinct 28	1,256	----	----
St. Petersburg city (part)	*1,256*	----	----
Precinct 29	555	----	----
St. Petersburg city (part)	*555*	----	----
Precinct 30	1,838	----	----
St. Petersburg city (part)	*1,838*	----	----
Precinct 31	5,565	----	----
St. Petersburg city (part)	*5,565*	----	----
Precinct 32	2,871	----	----
St. Petersburg city (part)	*2,871*	----	----
Precinct 32 A	1,446	----	----
St. Petersburg city (part)	*1,446*	----	----
Precinct 33	2,071	----	----
St. Petersburg city (part)	*2,071*	----	----
Precinct 34	1,138	----	----
St. Petersburg city (part)	*1,138*	----	----
Precinct 35	1,297	----	----
Gulfport town, total [47]	*1,581*	*851*	----
In Prec. 35	*34*	----	----
Prec. 37, entire	*1,547*	----	----
St. Petersburg city (part)	*1,263*	----	----
Precinct 36	1,880	----	----
St. Petersburg city (part)	*1,880*	----	----
Precinct 37	1,547	----	----
Gulfport town (part)	*1,547*	----	----
Precinct 38	533	----	----
Pass-a-Grille Beach town [47]	*398*	*238*	----
Precinct 39	1,537	----	----
St. Petersburg city (part)	*1,537*	----	----
Precinct 39 A	2,373	----	----
St. Petersburg city (part)	*2,373*	----	----
Precinct 40	1,274	----	----
St. Petersburg city (part)	*1,274*	----	----
Precinct 41	1,703	----	----
St. Petersburg city (part)	*1,703*	----	----
Precinct 42	1,897	----	----
St. Petersburg city (part)	*1,897*	----	----
Precinct 43	985	----	----
St. Petersburg city (part)	*985*	----	----
Precinct 44 [47]	770	----	----
St. Petersburg city (part)	*770*	----	----

[45] PALM BEACH.—County total for 1930 includes population (11) of precinct 34, Gladeview, annexed to 33 in 1930. Precinct 42 organized from part of precinct 21, including Greenacres City town, and from precinct 23 in 1930. Changes in precincts within the area of West Palm Beach city are as follows: Part of precinct 15 annexed to 13, part of 31 annexed to 15, and parts of the city reverted to precincts 4, 17, 18, and 31, in 1933. Parts of Delray Beach city reverted to precincts 26 and 28, in 1931 and 1933, respectively. Palm Beach Harbor town returned in 1930 as in precinct 2 only, and precincts 20 and 22 as entirely within Lake Worth city. Boynton town returned in 1930 as Boynton Beach. Ocean Ridge town incorporated as Boynton Beach from part of Boynton town in 1931; name changed in 1937. Manalapan town incorporated in 1931; no population reported in 1940 for that part in precinct 25. Gulf Stream town not returned separately in 1930. The 1930 figures for precincts 21 and 32 have been corrected by transfer of population (329) of Greenacres City town, erroneously returned as in precinct 32. No population reported in 1940 for that part of precinct 20 outside Lake Worth city.

[46] PASCO.—Precinct 24 organized from part of 19, including part of Dade City, in 1934. St. Leo town returned in 1930 as in precinct 10 only. Name of San Antonio city changed from Lake Jovita in 1931.

[47] PINELLAS.—For footnote, see following page.

TABLE 4.—POPULATION OF COUNTIES BY MINOR CIVIL DIVISIONS: 1920 TO 1940—Continued

MINOR CIVIL DIVISION	1940	1930	1920
Pinellas County—Con.			
Precinct 45	1,401	-------	-------
Pinellas Park town (part)	*100*	*35*	-------
St. Petersburg city (part)	*757*	-------	-------
Precinct 46	1,061	-------	-------
Precinct 47	583	-------	-------
Precinct 48	936	-------	-------
Largo city, total	*1,031*	*1,429*	*599*
In Prec. 48	*351*	-------	-------
In Prec. 51	*271*	-------	-------
In Prec. 51 A	*409*	-------	-------
Precinct 49	489	-------	-------
Precinct 50 [47]	591	-------	-------
Belleair town, total	*218*	*212*	-------
In Prec. 50	*1*	-------	-------
In Prec. 51 A	*86*	-------	-------
In Prec. 53	*131*	-------	-------
Precinct 51	766	-------	-------
Largo city (part)	*271*	-------	-------
Precinct 51 A	1,295	-------	-------
Belleair town (part)	*86*	-------	-------
Largo city (part)	*409*	-------	-------
Precinct 52	1,107	-------	-------
Clearwater city, total [47]	*10,136*	*7,607*	*2,427*
In Prec. 52	*928*	-------	-------
In Prec. 53	*756*	-------	-------
In Prec. 55	*1,254*	-------	-------
In Prec. 56	*655*	-------	-------
In Prec. 59	*44*	-------	-------
In Prec. 60	*541*	-------	-------
Precincts 54, 57, 57 A, and 58, entire	*5,958*	-------	-------
Precinct 53	887	-------	-------
Belleair town (part)	*131*	-------	-------
Clearwater city (part)	*756*	-------	-------
Precinct 54	1,386	-------	-------
Clearwater city (part)	*1,386*	-------	-------
Precinct 55 [47]	1,254	-------	-------
Clearwater city (part)	*1,254*	-------	-------
Precinct 56	712	-------	-------
Clearwater city (part)	*655*	-------	-------
Precinct 57	1,225	-------	-------
Clearwater city (part)	*1,225*	-------	-------
Precinct 57 A	2,149	-------	-------
Clearwater city (part)	*2,149*	-------	-------
Precinct 58	1,198	-------	-------
Clearwater city (part)	*1,198*	-------	-------
Precinct 59	250	-------	-------
Clearwater city (part)	*44*	-------	-------
Precinct 60	1,106	-------	-------
Clearwater city (part)	*541*	-------	-------
Precinct 61	1,025	-------	-------
Dunedin city, total [47]	*1,758*	*1,435*	*642*
In Prec. 61	*913*	-------	-------
In Prec. 62	*845*	-------	-------
Precinct 62	1,229	-------	-------
Dunedin city (part)	*845*	-------	-------
Precinct 63	1,056	-------	-------
Safety Harbor city	*694*	*765*	*429*
Precinct 64	332	-------	-------
Oldsmar city [47]	*315*	*280*	-------
Precinct 65 [47]	586	-------	-------
Precinct 66	507	-------	-------
Precinct 67	349	-------	-------
Precinct 68	519	-------	-------
Tarpon Springs city, total	*3,402*	*3,414*	*2,105*
In Prec. 68	*493*	*354*	-------
In Prec. 69	*762*	*822*	-------
In Prec. 70	*1,164*	*1,149*	-------
In Prec. 71	*983*	*1,089*	-------
Precinct 69	821	-------	-------
Tarpon Springs city (part)	*762*	*822*	-------
Precinct 70	1,205	-------	-------
Tarpon Springs city (part)	*1,164*	*1,149*	-------
Precinct 71	1,183	-------	-------
Tarpon Springs city (part)	*983*	*1,089*	-------
Polk County	86,665	72,291	38,661
Prec. 1, Brewster	1,036	1,262	-------
Prec. 2, Fort Meade	3,809	3,761	-------
Fort Meade city	*1,992*	*1,981*	*2,029*
Prec. 3, North Bartow	3,779	2,519	-------
Bartow city, total	*6,158*	*5,269*	*4,203*
In Prec. 3	*3,045*	*1,933*	-------
In Prec. 38	*3,113*	*3,336*	-------
Prec. 4, Medulla [48]	1,247	1,074	-------
Prec. 5, Kathleen [48]	1,820	2,501	-------
Prec. 6, Auburndale [48]	4,070	2,455	-------
Auburndale city, total [48]	*2,723*	*1,849*	*715*
In Prec. 6	*2,629*	*1,849*	*715*
In Prec. 20	*94*	-------	-------
Polk County—Continued.			
Prec. 7, Green Pond	241	380	-------
Prec. 8, Rockledge [48]	125	-------	-------
Prec. 9, Bradley Junction	464	393	-------
Bradley Junction town	*361*	*312*	-------
Prec. 10, Southeast Lakeland [48]	6,937	6,125	-------
Lakeland city, total [48]	*22,068*	*18,554*	*7,062*
In Prec. 10	*6,137*	*5,600*	-------
In Prec. 25	*4,864*	*4,177*	-------
In Prec. 36	*7,660*	*5,847*	-------
In Prec. 37	*3,417*	*2,930*	-------
Prec. 11, Haskell	944	689	313
Prec. 12, Winter Haven [48]	2,301	2,312	-------
Winter Haven city, total [48]	*6,199*	[48] *7,130*	*1,597*
In Prec. 12	*1,483*	*2,312*	-------
In Prec. 21	*2,540*	*2,567*	-------
In Prec. 41	*2,176*	*1,951*	-------
Prec. 13, Alturas	701	339	354
Prec. 14, Frostproof	2,735	2,468	-------
Frostproof town	*1,704*	*1,406*	-------
Prec. 15, Haines City	3,976	3,260	-------
Haines City, total [48]	*3,890*	*3,037*	*651*
In Prec. 15	*3,847*	*3,037*	*651*
In Prec. 31	*43*	-------	-------
Prec. 16, Homeland	575	675	-------
Prec. 17, Willowoak [48]	243	-------	-------
Prec. 18, Mulberry	2,384	2,728	-------
Mulberry city	*1,502*	*2,029*	*1,499*
Prec. 20, Polk City	1,034	944	-------
Auburndale city (part)	*94*	-------	-------
Polk City town	*195*	*222*	-------
Prec. 21, Winter Haven [48]	4,257	2,948	-------
Winter Haven city (part)	*2,540*	*2,567*	-------
Prec. 22, Loughman	406	806	-------
Precinct 23 [48]	325	-------	-------
Prec. 24, Tilghman	374	364	-------
Prec. 25, Southwest Lakeland [48]	5,358	4,416	-------
Lakeland city (part)	*4,864*	*4,177*	-------
Prec. 26, Davenport	1,139	929	-------
Davenport town	*640*	*650*	*117*
Prec. 27, Nichols [48]	570	678	-------
Prec. 28, Lake Wales [48]	4,541	4,742	-------
Lake Wales city, total [48]	*5,024*	*3,401*	*796*
In Prec. 28	*3,228*	*3,401*	*796*
In Prec. 32	*1,796*	-------	-------
Prec. 29, Lake Alfred	1,693	1,123	-------
Lake Alfred city	*920*	*629*	*517*
Prec. 30, Eagle Lake [48]	2,151	1,187	-------
Eagle Lake town	*862*	*600*	-------
Prec. 31, Lake Hamilton	368	519	-------
Haines City (part)	*43*	-------	-------
Lake Hamilton town, total [49]	*344*	*399*	-------
In Prec. 31	*325*	*399*	-------
In Prec. 33	*19*	-------	-------
Prec. 32, Starr Lake	3,240	953	-------
Lake Wales city (part)	*1,796*	-------	-------
Prec. 33, Dundee	713	727	-------
Dundee town	*694*	*615*	-------
Lake Hamilton town (part)	*19*	-------	-------
Prec. 35, Pierce	1,046	842	-------
Prec. 36, Northwest Lakeland [48]	9,060	6,772	-------
Lakeland city (part)	*7,660*	*5,847*	-------
Prec. 37, Northeast Lakeland [48]	4,032	3,274	-------
Lakeland city (part)	*3,417*	*2,930*	-------
Prec. 38, South Bartow	3,527	3,699	-------
Bartow city (part)	*3,113*	*3,336*	-------
Prec. 39, Lake Garfield	710	1,049	-------
Prec. 40, Babson Park	798	702	-------
Highland Park village [48]	*75*	-------	-------
Hillcrest Heights town	*98*	*71*	-------
Prec. 41, Winter Haven [48]	3,579	2,428	-------
Winter Haven city (part)	*2,176*	*1,951*	-------
Prec. 42, Agricola	357	248	-------
Putnam County	18,698	18,096	14,568
Precinct 1	2,114	1,915	-------
Crescent City town	*1,124*	*955*	*838*
Prec. 2, Georgetown	325	252	-------
Prec. 3, North Palatka	778	683	-------
Palatka city, total	*7,140*	*6,500*	*5,102*
In Prec. 3	*248*	*213*	-------
In Prec. 11	*971*	*997*	-------
Precincts 5 and 12 to 15, entire	*5,921*	*5,290*	-------
Putnam County—Con.			
Prec. 4, Welaka	581	576	-------
Welaka town	*457*	*409*	*350*
Precinct 5	2,593	1,956	-------
Palatka city (part)	*2,593*	*1,956*	-------
Precinct 6	422	503	-------
Pomona town	*316*	*400*	*350*
Prec. 7, Satsuma	202	183	-------
Precinct 8	568	604	-------
Prec. 9, East Palatka	1,516	1,405	-------
Precinct 10	436	459	-------
Precinct 11	1,675	1,686	-------
Palatka city (part)	*971*	*997*	-------
Precinct 12	636	666	-------
Palatka city (part)	*636*	*666*	-------
Precinct 13	444	506	-------
Palatka city (part)	*444*	*506*	-------
Precinct 14	985	1,006	-------
Palatka city (part)	*985*	*1,006*	-------
Precinct 15	1,263	1,156	-------
Palatka city (part)	*1,263*	*1,156*	-------
Precinct 16	557	563	-------
Interlachen town	*251*	*235*	*177*
Prec. 17, Johnson	744	721	-------
Precinct 18	335	464	-------
Prec. 19, Grandin	277	431	-------
Prec. 20, Bardin	354	397	-------
Prec. 21, Bostwick	534	478	-------
Prec. 22, Francis	314	427	-------
Prec. 23, Penial	398	445	-------
Prec. 24, Hollister	207	204	-------
Prec. 25, Florahome	337	299	-------
Prec. 26, Lake Como	103	111	-------
St. Johns County	20,012	[49] 18,676	13,061
Prec. 1, Palm Valley	341	63	-------
Prec. 2, Sampson	187	50	-------
Prec. 3, Fruit Cove	240	204	-------
Prec. 4, Trout Creek	240	111	-------
Prec. 5, Bakerville	583	208	-------
Precinct 6 [49]	2,109	1,750	-------
St. Augustine city, total [49]	*12,090*	[49] *12,111*	*6,192*
In Prec. 6	*1,179*	*1,251*	-------
In Prec. 7	*1,259*	*1,429*	-------
In Prec. 13	*862*	*1,140*	-------
In Prec. 14	*901*	*875*	-------
In Prec. 15	*952*	*914*	-------
In Prec. 17	*984*	*947*	-------
In Prec. 19	*2,467*	-------	-------
In Prec. 22	*554*	*240*	-------
Precincts 12, 16, 18, 20, and 21, entire	*3,802*	*4,474*	-------
Precinct 7 [49]	2,150	1,527	-------
St. Augustine city (part)	*1,259*	*1,429*	-------
Prec. 8, Elkton	1,089	1,190	-------
Prec. 9, Moultrie	676	800	-------
Prec. 10, Hastings	1,936	2,465	-------
Hastings town	*1,035*	*673*	*761*
Prec. 11, Matanzas	152	338	-------
Precinct 12	817	699	-------
St. Augustine city (part)	*817*	*699*	-------
Precinct 13 [49]	1,109	1,306	-------
St. Augustine city (part)	*862*	*1,140*	-------
Precinct 14 [49]	603	746	-------
St. Augustine city (part)	*901*	*875*	-------
Precinct 15 [49]	932	914	-------
St. Augustine city (part)	*932*	*914*	-------
Precinct 16	1,220	1,214	-------
St. Augustine city (part)	*1,220*	*1,214*	-------
Precinct 17 [49]	935	947	-------
St. Augustine city (part)	*934*	*947*	-------
Precinct 18 [49]	527	2,561	-------
St. Augustine city (part)	*527*	*2,561*	-------
Precinct 19 [49]	2,468	-------	-------
St. Augustine city (part)	*2,467*	-------	-------
Precinct 20 [49]	949	-------	-------
St. Augustine city (part)	*949*	-------	-------
Precinct 21 [49]	289	-------	-------
St. Augustine city (part)	*289*	-------	-------
Precinct 22 [49]	460	242	-------
St. Augustine city (part)	*354*	*240*	-------
St. Lucie County	11,871	7,057	7,886
Prec. 1, Indrio [50]	472	319	-------
Prec. 2, Fort Pierce [50]	2,803	2,803	-------
Fort Pierce city, total [50]	*8,040*	*4,805*	*2,115*
In Prec. 2	*2,774*	*2,539*	-------
In Prec. 4	-------	*23*	-------
In Prec. 6	*1,368*	*2,241*	-------
In Prec. 7	*1,790*	-------	-------
In Prec. 8	*2,108*	-------	-------

[47] PINELLAS.—County redistricted in 1936, and partially redistricted in 1940; comparative figures shown wherever possible. Part of Clearwater city detached in 1933. Name of Oldsmar city changed from Tampashores in 1937. Pass-a-Grille Beach town returned in 1930 as Pass-a-Grille. No population reported in 1940 for those parts of Gulfport town in precinct 44, Clearwater city in precinct 50, Dunedin city in precinct 65, for that part of precinct 18 outside St. Petersburg city, and for that part of precinct 55 outside Clearwater city.

[48] POLK.—Precincts 8 and 23 organized from parts of 5 in 1932 and 1936, respectively, and parts of precinct 5 annexed to 36 and 37 in 1936. Precinct 17 organized from parts of 4 and 27 in 1932. Parts of Winter Haven city reverted to precincts 6, 12, 21, 30, and 41 in 1934, and parts of Lakeland city reverted to precincts 10 and 25 in 1933 and 1939. Auburndale city returned in 1930 and 1920 as in precinct 6 only; Haines City, as in precinct 15 only; Lake Wales city, as in precinct 28 only; and Lake Hamilton town, as in precinct 31 only. Highland Park village, geographically located in precincts 28 and 40, had no population in 1940 in precinct 28; not returned separately in 1930. The 1930 total for Winter Haven city includes population (300) of parts of the city which reverted to precincts 6 and 30 in 1934.

[49] ST. JOHNS.—County total for 1930 includes population (1,341) of old precinct 19, taken to form 21 and new 20, in 1933. New precinct 19 organized from part of 18, including part of St. Augustine city. Parts of St. Augustine city reverted to precincts 6, 7, 13, 14, 15, 17, new 19, and 22; and number of precinct 22 changed from 20, in 1933. No population reported in 1940 for that part of precinct 15 outside St. Augustine city. The 1930 total for St. Augustine city includes population (1,341) of old precinct 19, taken to form 21 and new 20, in 1933.

[50] ST. LUCIE.—Changes in precincts, including parts of Fort Pierce city, are as follows: Precinct 8 organized from part of 2, and precincts 7 and 9 from parts of 6, in 1930, but not returned separately in that year. Parts of Fort Pierce city reverted to precincts 1, 4, 6, and 8, and parts of precincts 2, 4, and 6 annexed to Fort Pierce city, in 1939. Names of precincts 2 and 6, Fort Pierce, returned in 1930 as North Fort Pierce and South Fort Pierce, respectively. No population reported in 1940 for that part of Fort Pierce city in precinct 4.

TABLE 4.—POPULATION OF COUNTIES BY MINOR CIVIL DIVISIONS: 1920 TO 1940—Continued

MINOR CIVIL DIVISION	1940	1930	1920
St. Lucie County—Con.			
Prec. 3, Walton	148	239	--------
Prec. 4, St. Lucie [50]	271	178	--------
Fort Pierce city (part)	--------	*23*	--------
Prec. 5, White City	999	674	--------
Prec. 6, Fort Pierce [50]	1,410	2,844	--------
Fort Pierce city (part)	*1,368*	*2,241*	--------
Prec. 7, Fort Pierce [50]	2,997	--------	--------
Fort Pierce city (part)	*1,790*	--------	--------
Prec. 8, Fort Pierce [50]	2,737	--------	--------
Fort Pierce city (part)	*2,108*	--------	--------
Prec. 9, Bluefield [50]	34	--------	--------
Santa Rosa County	16,085	[51]14,083	[51]13,670
Prec. 1, South Milton [51]	1,242	2,543	2,413
Milton town, total [51]	*1,851*	*1,466*	*1,594*
In Prec. 1	*1,043*	*1,466*	*1,594*
In Prec. 8	*808*	--------	--------
Prec. 2, Wallace	1,158	854	394
Prec. 3, Coon Hill	802	485	939
Prec. 4, South Jay [51]	1,780	2,007	1,585
Prec. 5, Milligan Old Mill [51]	657	510	756
Prec. 6, Red Rock	169	170	201
Prec. 7, Kennedy [51]	470	400	129
Prec. 8, North Milton [51]	1,792	--------	--------
Milton town (part)	*808*	--------	--------
Prec. 9, Munson [51]	435	1,135	862
Prec. 10, Holley [51]	462	517	399
Prec. 11, Water Works	963	703	700
Prec. 12, Colley [51]	27	79	99
Prec. 13, Allentown	830	491	--------
Prec. 14, Fleming	372	257	651
Prec. 15, Sullivan [51]	268	359	360
Prec. 16, Bagdad [51]	1,483	1,186	1,505
Prec. 17, Robinson	941	851	740
Prec. 18, Harold [51]	173	235	298
Prec. 19, North Jay [51]	763	--------	--------
Prec. 20, Pace [51]	1,131	825	907
Prec. 21, Mulat [51]	121	129	123
Prec. 22, Town Point [51]	46	83	75
Sarasota County	16,106	12,440	--------
Prec. 1, North Sarasota	3,621	2,965	--------
Sarasota city, total	*11,141*	*8,398*	*2,149*
In Prec. 1	*3,609*	*2,927*	--------
In Prec. 2	*388*	*299*	--------
In Prec. 3	*2,104*	*1,763*	--------
In Prec. 10	*3,451*	*2,441*	--------
In Prec. 11	*1,589*	*968*	--------
Prec. 2, Fruitville	1,586	1,269	--------
Sarasota city (part)	*388*	*299*	--------
Prec. 3, South Sarasota	2,137	1,763	--------
Sarasota city (part)	*2,104*	*1,763*	--------
Prec. 4, Bee Ridge	520	508	--------
Prec. 5, Miakka	205	161	--------
Prec. 6, Osprey	232	275	--------
Precinct 7	607	629	--------
Precinct 8	752	388	--------
Venice city	*507*	*309*	--------
Precinct 9	261	286	--------
Precinct 10	3,485	2,454	--------
Sarasota city (part)	*3,451*	*2,441*	--------
Precinct 11	2,700	1,742	--------
Sarasota city (part)	*1,589*	*968*	--------
Seminole County	22,304	18,735	10,986
Prec. 1, West Sanford [52]	6,183	5,461	3,014
Sanford city, total [52]	*10,217*	*[52]10,100*	*5,588*
In Prec. 1	*5,213*	*5,345*	*2,684*
In Prec. 3	*5,004*	*4,678*	*2,904*
Prec. 2, Lake Monroe [52]	1,210	1,090	351
Prec. 3, East Sanford [52]	8,578	6,852	4,711
Sanford city (part)	*5,004*	*4,678*	*2,904*
Prec. 4, Paola	592	621	260
Prec. 5, Oviedo [52]	1,678	1,436	685
Oviedo town	*1,356*	*1,042*	--------
Prec. 6, Geneva	493	489	718
Prec. 7, Chuluota	212	243	198
Prec. 8, Gabriella [52]	359	274	208
Prec. 9, Longwood [52]	656	561	304
Altamonte Springs town, total [52]	*551*	*281*	--------
In Prec. 9	*9*	--------	--------
In Prec. 11	*542*	*281*	--------
Longwood town	*406*	*318*	*106*
Seminole County—Con.			
Prec. 10, Lake Mary	554	487	96
Prec. 11, Altamonte Springs [52]	762	689	441
Altamonte Springs town (part)	*542*	*281*	--------
Prec. 12, Forest City [52]	185	222	--------
Prec. 13, Slavia [52]	141	--------	--------
Prec. 14, Fern Park [52]	359	--------	--------
Prec. 15, Osceola	229	310	--------
Prec. 16, Bear Lake [52]	113	--------	--------
Sumter County	11,041	10,644	7,851
Prec. 1, Sumterville	281	268	331
Prec. 2, Oxford	1,148	1,414	1,138
Oxford town	*305*	*275*	--------
Prec. 3, Wildwood	2,446	2,305	754
Wildwood city	*1,346*	*1,409*	*480*
Prec. 4, Rutland	150	391	91
Prec. 5, Bay Hill	220	129	125
Prec. 6, Webster	1,010	1,180	1,216
Webster town	*454*	*514*	*361*
Prec. 7, Center Hill	1,020	1,311	1,064
Center Hill city	*545*	*726*	*574*
Prec. 8, Bushnell	1,720	1,364	1,205
Bushnell city	*676*	*591*	*400*
Prec. 9, St. Catherine	640	526	211
Prec. 10, Linden [53]	581	549	432
Prec. 11, Coleman	1,002	1,018	1,089
Coleman city	*764*	*786*	*640*
Prec. 12, Panasoffkee	460	189	195
Prec. 13, Compressco [53]	363	--------	--------
Suwannee County	17,073	15,731	19,789
Precinct 1	2,374	2,015	1,735
Live Oak city, total	*3,427*	*2,734*	*3,108*
In Prec. 1	*1,510*	*1,238*	*1,414*
In Prec. 2	*1,917*	*1,496*	*1,689*
Precinct 2	2,810	2,446	2,466
Live Oak city (part)	*1,917*	*1,496*	*1,689*
Prec. 3, Pine Grove	682	693	961
Prec. 4, Suwannee	545	376	604
Prec. 5, Falmouth	863	731	1,106
Prec. 6, Orange	395	341	439
Prec. 7, Rocky Sink	682	795	1,089
Prec. 8, Dowling Park	664	924	900
Prec. 9, Clayland	597	578	785
Prec. 10, Nebo	275	463	642
Prec. 11, Luraville	402	244	385
Prec. 12, Kirkland	598	595	662
Prec. 13, Padlock	753	630	868
Prec. 14, Wellborn	1,036	837	1,355
Prec. 15, McAlpin	715	976	1,198
Prec. 16, Leona	750	615	905
Prec. 17, O'Brien	932	896	1,353
Prec. 18, Hickory Sink	206	141	462
Prec. 19, Branford	1,417	1,033	1,484
Branford town	*684*	*498*	*708*
Prec. 20, Hildreth	377	402	390
Taylor County	11,565	13,136	11,219
Prec. 1, Perry [54]	2,332	6,304	5,282
Perry town, total [54]	*2,668*	*2,744*	*1,956*
In Prec. 1	*1,252*	*2,744*	*1,956*
In Prec. 13	*1,416*	--------	--------
Prec. 2, McMullen	290	200	305
Prec. 3, Pleasant Hill	131	112	353
Prec. 4, Salem	203	336	280
Prec. 5, Stephensville	414	289	548
Prec. 6, Lake Bird	607	616	949
Prec. 7, Pleasant Grove	194	200	185
Prec. 8, Waylonzo	269	375	1,198
Prec. 9, Cabbage Grove	761	1,069	434
Prec. 10, Fenholloway	1,807	1,840	338
Prec. 11, Spring Warrior	472	564	505
Prec. 12, Carbur	107	1,231	842
Prec. 13, Perry [54]	3,978	--------	--------
Perry town (part)	*1,416*	--------	--------
Union County	7,094	7,428	--------
Prec. 1, Lake Butler	2,057	2,331	--------
Lake Butler city	*923*	*886*	*756*
Prec. 2, Raiford	3,134	2,935	--------
Prec. 3, Worthington Springs	923	1,022	--------
Union County—Con.			
Prec. 4, Providence	704	776	--------
Prec. 5, Palestine	276	364	--------
Volusia County	53,710	[55]42,757	28,374
Prec. 1, Enterprise	709	588	424
Prec. 2, Orange City	768	713	542
Orange City town	*489*	*572*	*497*
Prec. 3, De Land	1,026	1,242	3,946
De Land city, total	*7,041*	*5,246*	*3,324*
In Prec. 3	*955*	*798*	--------
In Prec. 3 A	*1,560*	*1,191*	--------
In Prec. 3 B	*1,054*	*845*	--------
In Prec. 3 C	*2,265*	*1,405*	--------
In Prec. 3 D	*1,227*	*1,012*	--------
Prec. 3 A, De Land	2,337	1,747	--------
De Land city (part)	*1,560*	*1,191*	--------
Prec. 3 B, De Land	1,429	1,351	--------
De Land city (part)	*1,054*	*845*	--------
Prec. 3 C, De Land	3,029	1,434	--------
De Land city (part)	*2,265*	*1,405*	--------
Prec. 3 D, De Land	1,494	1,190	--------
De Land city (part)	*1,227*	*1,012*	--------
Prec. 4, De Leon Springs	1,031	1,185	795
Prec. 5, Emporia	632	684	498
Prec. 6, Seville	989	765	572
Seville city	*515*	*585*	--------
Prec. 7, Ormond [55]	2,239	1,538	1,399
Ormond city	*1,914*	*1,517*	*1,292*
Prec. 8, Daytona [55]	913	1,071	6,270
Daytona Beach city, total [55]	*22,584*	*16,598*	*825*
In Prec. 8	*303*	--------	--------
In Prec. 8 C	*3,275*	--------	--------
In Prec. 8 F	*2,075*	--------	--------
In Prec. 21	*1,799*	--------	--------
In Prec. 21 A	*1,318*	--------	--------
Precincts 8 A, 8 B, 8 D, 8 E, 20, and 20 A, entire	*13,314*	--------	--------
South Daytona town, total [55]	*571*	--------	--------
In Prec. 8	*81*	--------	--------
In Prec. 8 F	*490*	--------	--------
Prec. 8 A, Daytona [55]	1,480	--------	--------
Daytona Beach city (part)	*1,480*	--------	--------
Prec. 8 B, Daytona [55]	2,009	--------	--------
Daytona Beach city (part)	*2,009*	--------	--------
Prec. 8 C, Daytona [55]	3,310	5,530	--------
Daytona Beach city (part)	*3,275*	--------	--------
Prec. 8 D, Daytona [55]	3,970	--------	--------
Daytona Beach city (part)	*3,970*	--------	--------
Prec. 8 E, Daytona [55]	2,628	--------	--------
Daytona Beach city (part)	*2,628*	--------	--------
Prec. 8 F, Daytona [55]	2,700	--------	--------
Daytona Beach city (part)	*2,075*	--------	--------
South Daytona town (part)	*490*	--------	--------
Prec. 9, Port Orange	1,174	1,226	545
Port Orange city	*662*	*678*	*380*
Prec. 10, New Smyrna	980	1,048	2,492
New Smyrna Beach city, total [55]	*4,402*	*4,149*	*2,007*
Prec. 10, entire	*980*	*1,048*	--------
Prec. 10 A, entire	*1,168*	*1,260*	--------
In Prec. 10 B	*1,893*	*1,534*	--------
In Prec. 10 C	*321*	*284*	--------
In Prec. 23	*33*	*33*	--------
In Prec. 25	*7*	--------	--------
Prec. 10 A, New Smyrna	1,168	1,260	--------
New Smyrna Beach city (part)	*1,168*	*1,260*	--------
Prec. 10 B, New Smyrna [55]	1,893	1,732	--------
New Smyrna Beach city (part)	*1,893*	*1,534*	--------
Prec. 10 C, New Smyrna	361	346	--------
New Smyrna Beach city (part)	*321*	*284*	--------
Prec. 11, Oak Hill	911	876	594
Oak Hill town	*509*	*457*	--------
Prec. 13, Glencoe	307	235	279
Prec. 14, Lake Helen	891	1,035	*1,338*
Lake Helen city	*587*	*860*	978
Prec. 15, Clifton	357	409	212
Prec. 16, Beresford	642	857	361
Prec. 17, Osteen	626	621	743
Prec. 18, Holly Hill	2,345	1,329	445
Holly Hill town	*1,665*	*1,146*	*332*

[50] ST. LUCIE.—For footnote, see preceding page.

[51] SANTA ROSA.—County totals for 1930 and 1920 include population (105 in 1930; 247 in 1920) of old precinct 8, Pinewood, annexed to 16, and population (159 in 1930; 226 in 1920) of old precinct 19, Sullivan, annexed to 9 and 15, in 1935. Total for 1920 also includes population (61) of old precinct 13, Indian Springs, annexed to old 8 between 1920 and 1930. Part of precinct 1, including part of Milton town, taken to form new 8, part of precinct 4 taken to form new 19, and part of precinct 15 annexed to 7, in 1935. Names changed since 1930 are as follows: Precinct 1, South Milton, from Milton; precinct 4, South Jay, from Jay; precinct 5, Milligan Old Mill, from Milligan Mills; precinct 10, Holley, from East Bay; precinct 12, Colley, from Cauley; and precinct 15, Sullivan, from Dogwood Grove. Numbers of precincts 18, 20, 21, and 22 changed from 22, 21, 18, and 20, respectively, in 1935.

[51a] SARASOTA.—Place for which 1920 population is shown was in Manatee County.

[52] SEMINOLE.—Precinct 13 organized from parts of 5 and 8 in 1932; precinct 14 from parts of 9 and 11 in 1933; and precinct 16 from part of 12 in 1938. Parts of Sanford city reverted to precinct 1 in 1933 and 1935; parts to precincts 2 and 3 in 1933; and parts of precincts 1 and 3 annexed to Sanford city in 1939. Altamonte Springs town returned in 1930 as in precinct 11 only. The 1930 total for Sanford city includes population (77) of parts of the city, which reverted to precincts 2 and 3 in 1933.

[53] SUMTER.—Precinct 13 organized from part of 10 in 1937.

[54] TAYLOR.—Precinct 13 organized from part of 1, including part of Perry town, in 1936.

[54a] UNION.—Place for which 1920 population is shown was in Bradford County.

[55] VOLUSIA.—County total for 1930 includes population (1,988) of old precinct 8 A, Daytona, taken to form new 8 B and part of new 8 A, population (3,793) of old precinct 8 B, taken to form new 8 E and 8 F, in 1938; and population (167) of precinct 12, Tomoka, annexed to 7 in 1936. Part of precinct 8 taken to form part of new 8 A, and precinct 8 D organized from part of 8 C, including part of Daytona Beach city, in 1938. South Daytona town incorporated in 1935 from area detached from Daytona Beach city. Name of New Smyrna Beach city changed from New Smyrna since 1930; returned in 1930 as in precincts 10, 10 A, 10 B, 10 C, and 23 only. Edgewater town returned in 1930 as in precinct 24 only. No population reported in 1940 for that part of precinct 10 B, outside New Smyrna Beach city.

TABLE 4.—POPULATION OF COUNTIES BY MINOR CIVIL DIVISIONS: 1920 TO 1940—Continued

MINOR CIVIL DIVISION	1940	1930	1920
Volusia County—Con.			
Prec. 19, Pierson	1,000	890	314
Pierson town	*541*	*624*	-------
Prec. 20, Seabreeze	1,338	1,211	1,421
Daytona Beach city (part)	*1,338*	-------	-------
Prec. 20 A, Seabreeze	1,889	1,153	-------
Daytona Beach city (part)	*1,889*	-------	-------
Prec. 21, Daytona Beach	2,034	1,121	-------
Daytona Beach city (part)	*1,799*	-------	-------
Prec. 21 A, Daytona Beach	1,405	1,048	-------
Daytona Beach city (part)	*1,318*	-------	-------
Prec. 22, Samsula	291	271	-------
Prec. 23, Coronado Beach	364	247	-------
Coronado Beach city	*328*	*214*	-------
Edgewater town, total [55]	*477*	*341*	*133*
In Prec. 23	*3*	-------	-------
In Prec. 24	*474*	*341*	*133*
New Smyrna Beach city (part)	*33*	*33*	-------
Prec. 24, Edgewater	505	354	-------
Edgewater town (part)	*474*	*341*	*133*
Prec. 25, Mission City	536	512	-------
New Smyrna Beach city (part)	*7*	-------	-------
Wakulla County	5,463	5,468	[56] 5,129
Prec. 1, Wakulla [56]	320	497	296
Prec. 2, Crawfordville	579	398	270
Prec. 3, Sopchoppy	1,195	1,188	-------
Prec. 4, Smith Creek	144	193	-------
Prec. 5, St. Marks	371	243	256
St. Marks town	*338*	*217*	-------
Prec. 6, Medart (Pigott)	677	550	837
Prec. 7, Ivan	550	539	461
Prec. 8, Arran	319	369	266
Prec. 9, Newport	165	294	73
Prec. 10, Vereen [56]	128	-------	-------
Prec. 11, River Sink	113	189	402
Prec. 12, Sanborn	118	114	-------
Wakulla County—Con.			
Prec. 13, Panacea	238	192	-------
Prec. 14, Spring Creek [56]	546	702	718
Walton County	14,246	14,576	12,119
Prec. 1, Knox Hill	399	356	860
Prec. 2, Euchee-Anna	420	428	566
Prec. 3, Glendale	620	452	727
Prec. 4, Darlington [57]	510	391	474
Prec. 5, Paxton [57]	847	1,602	1,757
Lakewood town	*123*	*254*	*244*
Prec. 6, Stella [57]	316	381	238
Prec. 7, Argyle	549	414	370
Prec. 8, Alaqua	101	225	677
Prec. 9, Gaskin	716	703	584
Prec. 10, Portland	381	576	429
Prec. 11, Freeport	895	1,239	737
Prec. 12, Red Bay	343	382	349
Prec. 13, Bruce	300	466	377
Prec. 14, East De Funiak Springs [57]	1,611	1,961	1,336
De Funiak Springs town, total [57]	*2,570*	*2,636*	*2,097*
In Prec. 14	*1,193*	*1,510*	*1,059*
In Prec. 20	*1,377*	*1,126*	*1,038*
Prec. 15, Point Washington	290	256	145
Prec. 16, Mossy Head	202	324	166
Prec. 17, Ealum	491	338	493
Prec. 18, Santa Rosa	171	258	193
Prec. 19, Sandy Creek	301	247	134
Prec. 20, West De Funiak Springs	1,774	1,454	1,507
De Funiak Springs town (part)	*1,377*	*1,126*	*1,038*
Prec. 21, Caney Creek	267	259	-------
Prec. 22, New Knox Hill	549	460	-------
Prec. 23, West End De Funiak Springs	841	831	-------
Prec. 24, Upper Alaqua	466	573	-------
Walton County—Con.			
Prec. 25, Childrens Home [57]	258	-------	-------
Prec. 26, Limestone [57]	276	-------	-------
Prec. 27, Clear Springs [57]	352	-------	-------
Washington County	12,302	12,180	11,828
Prec. 1, Vernon	1,340	1,088	1,357
Vernon city	*539*	*331*	-------
Prec. 2, Davis Mills	323	351	465
Prec. 3, Caryville	780	1,684	1,091
Caryville town	*279*	*1,022*	*440*
Prec. 4, Wausau	1,017	949	1,238
Prec. 5, Hinsons Cross Roads	513	409	848
Prec. 6, Duncan	295	669	536
Prec. 7, South Chipley [58]	1,121	1,530	1,126
Chipley town, total [58]	*2,167*	*1,878*	*1,806*
In Prec. 7	*675*	*1,003*	*848*
In Prec. 18	*455*	*875*	*958*
In Prec. 19	*409*	-------	-------
In Prec. 20	*628*	-------	-------
Prec. 8, Millers Ferry [58]	351	468	589
Prec. 9, Ebro	340	633	393
Prec. 10, Alma	536	849	833
Prec. 11, Poplar Head	320	272	377
Prec. 12, Greenhead	219	343	317
Prec. 13, North Chipley [58]	953	1,602	1,518
Chipley town (part)	*455*	*875*	*958*
Prec. 14, Mattox Springs	586	506	385
Prec. 15, Panama	640	326	438
Prec. 16, Midway	780	407	317
Prec. 17, Gap Pond	113	94	-------
Prec. 18, Live Oak [58]	231	-------	-------
Prec. 19, South East Chipley [58]	794	-------	-------
Chipley town (part)	*409*	-------	-------
Prec. 20, North East Chipley [58]	1,050	-------	-------
Chipley town (part)	*628*	-------	-------

[55] VOLUSIA.—For footnote, see preceding page.
[56] WAKULLA.—County total for 1920 includes population (201) of old precinct 10, annexed to 1 in 1923, and population (1,349) of precincts 3, 4, and 12, not returned separately in 1920. Precinct 10 organized from part of 1 in 1929, but not returned separately in 1930. Name of precinct 14 returned in 1930 as Spring Creek (Rehwinkel).
[57] WALTON.—Precinct 26 organized from part of 4, and precinct 25 from parts of 5 and 6, in 1936, and precinct 27 from part of 5 in 1938. Part of precinct 14 annexed to De Funiak Springs town in 1930.
[58] WASHINGTON.—Precinct 18 organized from part of 8 in 1938. Changes in precincts including parts of Chipley town are as follows: Precinct 19 organized from part of 7, and precinct 20 from part of 13, in 1938.

Incorporated places.—Table 5 shows the population in 1940 and 1930 of the incorporated places (cities, towns, and villages) in Florida. In this table the places are arranged in alphabetical order, each followed by the name of the county in which it is located. In table 6 the population of the cities of 5,000 or more that are subdivided into wards is shown by wards.

TABLE 5.—POPULATION OF INCORPORATED PLACES: 1940 AND 1930

[The population of these places in 1920 is given in table 4. Places marked with an asterisk (*) were classified as urban in 1940]

CITY, TOWN, OR VILLAGE	County	1940	1930
Alachua	Alachua	1,081	865
Alford	Jackson	283	221
Altamonte Springs	Seminole	551	281
Anna Maria	Manatee	158	77
Apalachicola*	Franklin	3,268	3,150
Apopka	Orange	1,312	1,134
Arcadia*	De Soto	4,055	4,082
Archer	Alachua	517	576
Astatula	Lake	153	167
Atlantic Beach	Duval	468	164
Auburndale*	Polk	2,723	1,849
Avon Park*	Highlands	3,125	3,355
Baldwin	Duval	1,002	749
Bartow*	Polk	6,158	5,269
Bell	Gilchrist	183	168
Belleair	Pinellas	218	212
Belle Glade*	Palm Beach	3,806	926
Belle Isle	Orange	178	160
Belleview	Marion	433	400
Biscayne Park	Dade	500	-------
Bithlo	Orange	79	128
Blountstown	Calhoun	1,931	1,270
Boca Raton	Palm Beach	723	447
Bonifay	Holmes	1,924	1,292
Bonita Springs	Lee	356	315
Bowling Green	Hardee	950	1,025
Boynton	Palm Beach	1,326	1,053
Bradenton*	Manatee	7,444	5,986
Bradley Junction	Polk	361	312
Branford	Suwannee	684	498
Bronson	Levy	758	694
Brooksville	Hernando	1,607	1,405
Bunnell	Flagler	1,030	671
Bushnell	Sumter	676	591
Callahan	Nassau	685	637
Campbellton	Jackson	311	314
Carrabelle	Franklin	1,019	920
Caryville	Washington	279	1,022
Cedar Keys	Levy	988	1,066
Center Hill	Sumter	545	726
Chiefland	Levy	572	421
Chipley	Washington	2,167	1,878
Clearwater*	Pinellas	10,136	7,607
Clermont	Lake	1,631	1,086
Cleveland	Charlotte	52	95
Clewiston	Hendry	1,338	-------
Cocoa*	Brevard	3,098	2,164
Cocoa Beach	Brevard	49	31
Coleman	Sumter	764	786
Collier City	Collier	342	250
Coral Gables*	Dade	8,294	5,697
Coronado Beach	Volusia	328	214
Cottondale	Jackson	719	550
Crescent City	Putnam	1,124	955
Crestview	Okaloosa	2,252	930
Cross City	Dixie	1,869	1,071
Crystal River	Citrus	927	869
Cypress	Jackson	212	240
Dade City*	Pasco	2,561	1,811
Dania*	Broward	2,902	1,674
Davenport	Polk	640	650
Daytona Beach*	Volusia	22,584	16,598
Deerfield	Broward	1,850	1,483
De Funiak Springs*	Walton	2,570	2,636
De Land*	Volusia	7,041	5,246
Delray Beach*	Palm Beach	3,737	2,333
De Soto City	Highlands	131	231
Dundee	Polk	694	615
Dunedin	Pinellas	1,758	1,435
Dunnellon	Citrus, Marion	1,217	1,194
Eagle Lake	Polk	862	600
Eau Gallie	Brevard	873	871
Edgewater	Volusia	477	341
Edgewood	Orange	34	103
El Portel	Dade	365	-------

TABLE 5.—POPULATION OF INCORPORATED PLACES: 1940 AND 1930—Continued

The population of these places in 1920 is given in table 4. Places marked with an asterisk (*) were classified as urban in 1940]

CITY, TOWN, OR VILLAGE	County	1940	1930
Esto	Holmes	213	190
Eustis*	Lake	2,930	2,835
Everglades	Collier	518	172
Fellsmere	Indian River	643	356
Fernandina*	Nassau	3,492	3,023
Flagler Beach	Flagler	133	198
Florida City	Dade	752	452
Fort Lauderdale*	Broward	17,996	8,666
Fort Meade	Polk	1,992	1,981
Fort Myers*	Lee	10,604	9,082
Fort Pierce*	St. Lucie	8,040	4,803
Fort White	Columbia	317	272
Frostproof	Polk	1,704	1,406
Fruitland Park	Lake	362	270
Gainesville*	Alachua	13,757	10,465
Golden Beach	Dade	83	36
Graceville	Jackson	1,181	1,012
Greenacres City	Palm Beach	304	329
Green Cove Springs	Clay	1,752	1,719
Greensboro	Gadsden	443	350
Greenville	Madison	1,114	904
Greenwood	Jackson	293	235
Groveland	Lake	411	470
Gulfport	Pinellas	1,581	851
Gulf Stream	Palm Beach	93	(1)
Haines City*	Polk	3,890	3,037
Hallandale	Broward	1,827	1,012
Hampton	Bradford	478	311
Hastings	St. Johns	1,035	673
Havana	Gadsden	1,221	1,169
Hawthorn	Alachua	741	600
Hernando	Citrus	402	365
Hialeah*	Dade	3,958	2,600
Highland Park	Polk	75	(1)
High Springs	Alachua	2,010	1,864
Hillcrest Heights	Polk	96	71
Holly Hill	Volusia	1,665	1,146
Hollywood*	Broward	6,239	2,869
Holt	Okaloosa	303	278
Homestead*	Dade	3,154	2,319
Howey-in-the-Hills	Lake	203	338
Interlachen	Putnam	251	235
Inverness	Citrus	1,075	1,215
Jacksonville*	Duval	173,065	129,549
Jacksonville Beach.*	Duval	3,566	409
Jasper	Hamilton	1,722	1,748
Jennings	Hamilton	499	561
Jupiter	Palm Beach	215	176
Kelsey City	Palm Beach	379	470
Keystone Heights	Clay	145	107
Key West*	Monroe	12,927	12,831
Kissimmee*	Osceola	3,225	3,163
La Belle	Hendry	837	397
La Crosse	Alachua	192	374
Lady Lake	Lake	309	233
Lake Alfred	Polk	920	629
Lake Butler	Union	923	886
Lake City*	Columbia	5,836	4,416
Lake Hamilton	Polk	344	399
Lake Helen	Volusia	587	850
Lakeland*	Polk	22,068	18,554
Lake Maitland	Orange	463	[2] 511
Lake Placid	Highlands	340	582
Lake Wales*	Polk	5,024	3,401
Lakewood	Walton	123	254
Lake Worth*	Palm Beach	7,408	5,940
Lantana	Palm Beach	234	188
Largo	Pinellas	1,031	1,429
Laurel Hill	Okaloosa	350	302
Lawtey	Bradford	427	554
Lee	Madison	258	185
Leesburg*	Lake	4,687	4,113
Live Oak*	Suwannee	3,427	2,734
Longwood	Seminole	406	318
Lynn Haven	Bay	1,246	928
Macclenny	Baker	771	519
McIntosh	Marion	397	272
Madison*	Madison	2,730	2,189
Malone	Jackson	442	418
Manalapan	Palm Beach	40	-------
Manatee*	Manatee	3,595	3,219
Marianna*	Jackson	5,079	3,372
Mascotte	Lake	239	260
Mayo	Lafayette	915	555
Melbourne*	Brevard	2,622	2,677
Melbourne Beach	Brevard	90	72
Miami*	Dade	172,172	110,637
Miami Beach*	Dade	28,012	6,494
Miami Shores	Dade	1,956	612
Miami Springs	Dade	898	402
Micanopy	Alachua	720	725
Milton	Santa Rosa	1,851	1,466
Minneola	Lake	269	185
Monte Vista	Lake	36	-------
Monticello	Jefferson	2,042	1,901
Montverde	Lake	312	297
Moore Haven	Glades	831	612
Mount Dora	Lake	1,880	1,613
Mulberry	Polk	1,502	2,029
Naples	Collier	1,253	390
Neptune Beach	Duval	1,363	-------
Newberry	Alachua	735	766
New Port Richey	Pasco	920	758
New Smyrna Beach.*	Volusia	4,402	4,149
Niceville	Okaloosa	948	-------
Noma	Holmes	344	274
North Miami	Dade	1,973	-------
North Miami Beach.	Dade	871	-------
Oak Hill	Volusia	509	457
Oakland	Orange	518	379
Oakland Park	Broward	815	463
Ocala*	Marion	8,986	7,281
Ocean Ridge	Palm Beach	37	-------
Ocoee	Orange	702	794
Okeechobee	Okeechobee	1,658	1,795
Oldsmar [3]	Pinellas	315	280
Ona	Hardee	77	85
Opalocka	Dade	497	339
Orange City	Volusia	489	572
Orange Park	Clay	668	661
Orlando*	Orange	36,736	27,330
Ormond	Volusia	1,914	1,517
Oviedo	Seminole	1,356	1,042
Oxford	Sumter	305	275
Pahokee*	Palm Beach	4,766	2,256
Palatka*	Putnam	7,140	6,500
Palm Beach*	Palm Beach	3,747	1,707
Palm Beach Harbor.	Palm Beach	27	10
Palmetto*	Manatee	3,491	3,043
Panama City*	Bay	11,610	5,402
Pass-a-Grille Beach	Pinellas	398	233
Penney Farms	Clay	370	825
Pensacola*	Escambia	37,449	31,579
Perry*	Taylor	2,668	2,744
Pierson	Volusia	541	624
Pinellas Park	Pinellas	691	465
Plant City*	Hillsborough	7,491	6,800
Polk City	Polk	195	222
Pomona	Putnam	316	400
Pompano *	Broward	4,427	2,614
Port Orange	Volusia	662	678
Port Richey	Pasco	134	104
Port St. Joe	Gulf	2,393	851
Port Tampa	Hillsborough	1,124	1,242
Punta Gorda	Charlotte	1,889	1,833
Quincy*	Gadsden	3,888	3,788
Reddick	Marion	392	363
River Junction*	Gadsden	7,110	5,624
Riviera	Palm Beach	1,981	811
Rockledge	Brevard	725	551
Safety Harbor	Pinellas	694	765
St. Augustine*	St. Johns	12,090	12,111
St. Cloud	Osceola	2,042	1,863
St. Leo	Pasco	211	158
St. Marks	Wakulla	338	217
St. Petersburg*	Pinellas	60,812	40,425
San Antonio [4]	Pasco	267	322
Sanford*	Seminole	10,217	10,100
Sarasota*	Sarasota	11,141	8,398
Sebastian	Indian River	425	386
Sebring*	Highlands	3,155	2,912
Seville	Volusia	515	585
Sneads	Jackson	727	637
South Daytona	Volusia	571	-------
South Miami	Dade	2,408	1,160
Springfield	Bay	1,188	-------
Starke	Bradford	1,480	1,339
Stuart	Martin	2,438	1,924
Surfside	Dade	295	-------
Tallahassee*	Leon	16,240	10,700
Tampa*	Hillsborough	108,391	101,161
Tarpon Springs*	Pinellas	3,402	3,414
Tavares	Lake	1,119	1,090
Temple Terrace	Hillsborough	215	(1)
Titusville	Brevard	2,220	2,089
Trenton	Gilchrist	773	706
Umatilla	Lake	1,149	907
Valparaiso	Okaloosa	221	99
Venice	Sarasota	507	309
Vernon	Washington	539	331
Vero Beach*	Indian River	3,050	2,268
Waldo	Alachua	567	703
Wauchula*	Hardee	2,710	2,574
Webster	Sumter	454	514
Welaka	Putnam	457	409
West Palm Beach*	Palm Beach	33,693	26,610
Wewahitchka	Gulf	1,022	584
White Springs	Hamilton	600	618
Wildwood	Sumter	1,346	1,409
Williston	Levy	890	940
Wimauma	Hillsborough	557	400
Windermere	Orange	163	181
Winter Garden*	Orange	3,060	2,023
Winter Haven*	Polk	6,199	7,130
Winter Park*	Orange	4,715	3,686
Yankeetown	Citrus / Levy	255	157
Zephyrhills	Pasco	1,252	748
Zolfo Springs	Hardee	223	272

[1] Not returned separately
[2] Corrected figures; see footnote on Orange County, table 4.
[3] Name changed from Tampashores in 1937.
[4] Name changed from Lake Jovita in 1931.

TABLE 6.—POPULATION OF CITIES OF 5,000 OR MORE BY WARDS: 1940

CITY AND WARD	Population
Bradenton	7,444
Ward 1	2,101
Ward 2	1,647
Ward 3	3,696
De Land	7,041
Ward 1	2,045
Ward 2	2,196
Ward 3	1,041
Ward 4	1,759
Fort Myers	10,604
Ward 1	2,079
Ward 2	2,763
Ward 3	3,578
Ward 4	1,384
Ward 5	800
Jacksonville	173,065
Ward 1	13,458
Ward 2	9,711
Ward 3	8,206
Ward 4	12,192
Ward 5	20,741
Ward 6	8,982
Ward 7	8,271
Ward 8	16,911
Ward 9	10,005
Ward 10	6,965
Ward 11	11,552
Ward 12	8,353
Ward 13	8,021
Ward 14	7,164
Ward 15	6,358
Ward 16	5,662
Ward 17	5,036
Ward 18	5,477
Key West	12,927
Ward 1	1,337
Ward 2	2,277
Ward 3	1,144
Ward 4	4,245
Ward 5	2,969
Ward 6	955
Ocala	8,986
Ward 1	1,761
Ward 2	2,147
Ward 3	2,474
Ward 4	2,604
Orlando	36,736
Ward 1	6,333
Ward 2	9,337
Ward 3	9,866
Ward 4	11,200
Panama City	11,610
Ward 1	3,041
Ward 2	4,766
Ward 3	2,396
Ward 4	1,407
Pensacola	37,449
Ward 1	4,799
Ward 2	9,569
Ward 3	6,504
Ward 4	9,859
Ward 5	6,718
St. Augustine	12,090
Ward 1	3,315
Ward 2	817
Ward 3	934
Ward 4	2,994
Ward 5	1,238
Ward 6	2,438
Ward 7	354

NOTE.—Other places of more than 5,000 (Bartow, Clearwater, Coral Gables, Daytona Beach, Fort Lauderdale, Fort Pierce, Gainesville, Hollywood, Lake City, Lakeland, Lake Wales, Lake Worth, Marianna, Miami, Miami Beach, Palatka, Plant City, St. Petersburg, Sanford, Sarasota, Tallahassee, Tampa, West Palm Beach, and Winter Haven cities, and River Junction town) have no wards.

Metropolitan districts.—Metropolitan districts have been set up for use in the 1940 Census of Population in connection with each city of 50,000 or more, two or more such cities sometimes being in one district. The general plan is to include in the district, in addition to the central city or cities, all adjacent and contiguous minor civil divisions or incorporated places having a population of 150 or more per square mile. In some metropolitan districts a few less densely populated contiguous divisions are included on the basis of special qualifications. A metropolitan district is thus not a political unit but rather an area including all the thickly settled territory in and around a city or group of cities. It tends to be a more or less integrated area with common economic, social, and, often, administrative interests.

Table 7 shows the population of the Jacksonville metropolitan district and its constituent political units in 1940 and some comparative figures for 1930, together with the increase during the decade. In 1940 the Jacksonville metropolitan district had 195,619 inhabitants, while in 1930 the district as then constituted had a population of 148,713. The redistricting of Duval County in 1940 necessitated a redefinition of the boundaries of the metropolitan district, resulting in a slight increase in the area included in the district; the effect upon the population increase in the district is not ascertainable. Comparative figures for 1930 cannot be shown for the precincts.

TABLE 7.—POPULATION OF THE JACKSONVILLE METROPOLITAN DISTRICT: 1940 AND 1930

AREA	POPULATION		INCREASE	
	1940	1930	Number	Percent
The metropolitan district	195,619	148,713	46,906	**31.5**
Jacksonville city [1]	173,065	129,549	43,516	**33.6**
Outside city	22,554	[2] 19,164	3,390	**17.7**
Unincorporated areas	22,554	13,567	8,987	**66.2**
District includes the following minor civil divisions (election precincts):				
In Duval County [3]	195,619	148,713	46,906	**31.5**
Precincts 1 A to 18 B (constituting Jacksonville city)	173,065	[4] 129,549	43,516	**33.6**
Precinct 19	1,273			
Precinct 20 A [1]	1,889			
Precinct 20 B, Hart Haven	1,045			
Precinct 25 [1]	2,235			
Precinct 26	1,945			
Precinct 27	804			
Precinct 28, Hogan	2,364			
Precinct 29 [1]	3,277			
Precinct 32, Arlington	1,869			
Precinct 40 [1]	1,282			
Precinct 41	2,828			
Precinct 42	871			
Precinct 43	872			

[1] South Jacksonville city and part of precinct 40 annexed to Jacksonville city in 1932; parts of precincts 20A and 25 annexed in 1933; and part of precinct 29 annexed in 1937.

[2] Includes population (5,597) of South Jacksonville city, annexed to Jacksonville city in 1932.

[3] Redistricting of Duval County in 1940 necessitated a redefinition of metropolitan district boundaries, resulting in a slight increase in the area included in the district; the effect upon the population increase in the district is not ascertainable. Comparative figures for the individual election precincts cannot be shown.

[4] Represents population of precincts 1A to 15D, constituting Jacksonville city, in 1930.

Table 7–A shows the population of the Miami metropolitan district and its constituent political units in 1940 and some comparative figures for 1930, together with the increase during the decade. In 1940 the Miami metropolitan district had 250,537 inhabitants, while in 1930 the district as then constituted had a population of 132,189. The redistricting of Dade County in 1939 necessitated a redefinition of the boundaries of the metropolitan district, resulting in a slight increase in the area included in the district; the effect upon the population increase in the district is not ascertainable. Comparative figures for 1930 cannot be shown for the precincts.

TABLE 7–A.—POPULATION OF THE MIAMI METROPOLITAN DISTRICT: 1940 AND 1930

AREA	POPULATION		INCREASE	
	1940	1930	Number	Percent
The metropolitan district	250,537	132,189	118,348	89.5
Miami city [1]	172,172	110,637	61,535	55.6
Outside city	78,365	21,552	56,813	263.6
Incorporated places	50,110	16,965	33,145	195.4
Biscayne Park village	500	(2)		
Coral Gables city [3]	8,294	5,697	2,597	45.6
El Portel town	365	(2)		
Golden Beach town	83	(4)		
Hialeah city [5]	3,958	2,600	1,358	52.2
Miami Beach city	28,012	6,494	21,518	331.4
Miami Shores village	1,956	612	1,344	219.6
Miami Springs town	898	402	496	123.4
North Miami town	1,973	(2)		
North Miami Beach city	871	(2)		
Opalocka city	497	(6)		
South Miami city [7]	2,408	1,160	1,248	107.6
Surfside town	295	(2)		
Unincorporated areas	28,255	4,587	23,668	516.0
District includes the following minor civil divisions (election precincts):				
In Dade County [8]	250,537	132,189	118,348	89.5
Precinct 1 (incl. parts of North Miami town and North Miami Beach city)	2,780			
Precinct 2 (incl. Opalocka city, and parts of North Miami town and North Miami Beach city)	1,221			
Precinct 3 (part, comprising parts of Hialeah city and Miami Springs town)	1,449			
Precinct 4 (incl. part of Hialeah city)	1,970			
Precinct 5	2,517			
Precinct 6	1,262			
Precinct 7 (incl. part of Miami Shores village)	1,740			
Precinct 8 (incl. Biscayne Park village, and parts of Miami Shores village, North Miami town, and North Miami Beach city)	2,735			
Precinct 9 (incl. El Portel town, and part of Miami Shores village)	2,061			
Precinct 10 (incl. part of Miami city)	1,702			
Precinct 11 (comprising part of Miami city)	2,003			
Precinct 12 (incl. part of Miami city)	2,078			
Precinct 13 (comprising part of Miami city)	1,331			
Precinct 14 (incl. part of Miami city)	1,102			
Precinct 15	3,285			
Precinct 16 (incl. part of Miami city)	830			
Precinct 17 (incl. part of Miami city)	3,049			
Precincts 18 to 21 (comprising part of Miami city)	7,771			
Precinct 22 (incl. part of Miami city)	2,899			
Precinct 23	2,371			
Precinct 24 (incl. Golden Beach and Surfside towns, parts of Miami Beach and North Miami Beach cities, and part of North Miami town)	1,105			
Precincts 25 to 32 (comprising part of Miami Beach city)	27,444			
Precincts 33 to 35 (comprising part of Miami city)	6,544			
Precinct 36	1,539			
Precinct 37 (incl. parts of Hialeah and Miami cities)	2,508			
Precinct 38 (incl. part of Miami city)	2,451			
Precincts 39 to 48 (comprising part of Miami city)	19,308			
Precinct 49 (incl. part of Miami city)	1,348			
Precinct 50 (incl. part of Miami city)	2,413			
Precincts 51 to 63 (comprising part of Miami city)	52,020			
Precinct 64 (incl. part of Miami city)	1,293			
Precincts 65 to 81 (comprising part of Miami city)	34,000			
Precinct 82 (comprising parts of Coral Gables and Miami cities)	1,540			
Precinct 83 (incl. parts of Coral Gables and Miami cities)	2,492			
Precinct 84 (incl. part of Miami city)	2,170			
Precinct 85 (part, comprising part of Miami Springs town)	866			
Precinct 87 (comprising part of Coral Gables city)	2,113			
Precinct 88 (incl. part of Coral Gables city)	1,635			
Precinct 89 (incl. part of Coral Gables city)	2,293			
Precincts 90 to 103 (comprising part of Miami city)	25,736			
Precinct 104 (comprising parts of Coral Gables and Miami cities)	4,110			
Precinct 105 (incl. parts of Coral Gables, Miami, and Miami Beach cities)	4,051			
Precinct 106 (comprising parts of Coral Gables and Miami cities)	1,716			
Precinct 107 (part, comprising parts of Coral Gables and South Miami cities)	1,497			
Precinct 108 (part, comprising parts of Coral Gables, Miami, and South Miami cities)	2,155			
Precinct 109 (part, comprising parts of Coral Gables and Miami cities)	31			
Precinct 110 (part, comprising part of Coral Gables city)	3			
Precinct 111 (part, comprising part of Coral Gables city)	(9)			
Precinct 112 (part, comprising part of Coral Gables city)	(9)			

[1] Part of Miami city detached in 1932; corporate limits extended in 1937.
[2] Incorporated since 1930.
[3] Part of Coral Gables city detached in 1934.
[4] Not included in the metropolitan district in 1930 (population 36 in 1930).
[5] Corporate limits of Hialeah city extended in 1932; part detached in 1933.
[6] Not included in the metropolitan district in 1930 (population 339 in 1930).
[7] Part of South Miami city detached since 1930.
[8] Redistricting of Dade County in 1939 necessitated redefinition of metropolitan district boundaries and resulted in a slight net increase in the area included in the district; the effect upon the population increase in the district is not ascertainable. Comparative figures for the election precincts cannot be shown.
[9] No population reported for those parts of Coral Gables city in precincts 111 and 112.

Table 7–B shows the population of the Tampa-St. Petersburg metropolitan district and its constituent political units in 1940 and some comparative figures for 1930, together with the increase or decrease during the decade. In 1940 the Tampa-St. Petersburg metropolitan district had 209,693 inhabitants, while in 1930 the district as then constituted had a population of 169,010. The redistricting of Hillsborough and Pinellas Counties between 1930 and 1940 necessitated a redefinition of the boundaries of the metropolitan district, resulting in a slight change in the area included in the district; the effect upon the population increase in the district is not ascertainable. Comparative figures for 1930 cannot be shown for the precincts.

TABLE 7–B.—POPULATION OF THE TAMPA-ST. PETERSBURG METROPOLITAN DISTRICT: 1940 AND 1930

[A minus sign (—) denotes decrease]

AREA	POPULATION		INCREASE	
	1940	1930	Number	Percent
The metropolitan district	**209,693**	**169,010**	**40,683**	**24.1**
In central cities	169,203	141,586	27,617	19.5
Tampa city	108,391	101,161	7,230	7.1
St. Petersburg city	60,812	40,425	20,387	50.4
Outside central cities	40,490	27,424	13,066	47.6
Incorporated places	**4,009**	**2,791**	**1,218**	**43.6**
Gulfport town	1,581	851	730	85.8
Pass-a-Grille Beach town	398	233	165	70.8
Pinellas Park town	691	465	226	48.6
Port Tampa city	1,124	1,242	—118	—9.5
Temple Terrace city	215	(1)		
Unincorporated areas	36,481	24,633	11,848	48.1
District includes the following minor civil divisions (election precincts):				
In Hillsborough County [2]	**142,004**	**125,725**	**16,279**	**12.9**
Precincts 1 and 2 (comprising part of Tampa city)	5,311			
Precinct 3 (incl. part of Tampa city)	2,376			
Precincts 4 to 33 (comprising part of Tampa city)	100,715			
Precinct 34 (incl. Port Tampa city)	1,219			
Precinct 35	2,754			
Precinct 36	2,886			
Precinct 37	1,396			
Precinct 38	2,846			
Precinct 39	1,952			
Precinct 40	1,696			
Precinct 42	4,412			
Precinct 43	1,674			
Precinct 44 (incl. part of Temple Terrace city)	2,489			
Precinct 46 (part, comprising part of Temple Terrace city)	(3)			
Precinct 58 (incl. part of Temple Terrace city)	4,290			
Precinct 59	4,081			
Precinct 60	1,907			
In Pinellas County [2]	**67,689**	**43,285**	**24,404**	**56.4**
Precincts 1 to 16 (comprising part of St. Petersburg city)	19,414			
Precinct 17 (incl. part of St. Petersburg city)	1,589			
Precinct 18 (incl. part of St. Petersburg city)	1,209			
Precincts 19 and 20 (comprising part of St. Petersburg city)	1,914			
Precinct 21 (incl. parts of Pinellas Park town and St. Petersburg city)	884			
Precinct 21A	267			
Precinct 22 (incl. part of St. Petersburg city)	251			
Precincts 23 to 34 (comprising part of St. Petersburg city)	23,320			
Precinct 35 (incl. parts of Gulfport town and St. Petersburg city)	1,297			
Precinct 36 (comprising part of St. Petersburg city)	1,880			
Precinct 37 (comprising part of Gulfport town)	1,547			
Precinct 38 (incl. Pass-a-Grille Beach town)	533			
Precincts 39 to 43 (comprising part of St. Petersburg city)	9,769			
Precinct 44 (comprising parts of Gulfport town and St. Petersburg city)	770			
Precinct 45 (incl. parts of Pinellas Park town and St. Petersburg city)	1,401			
Precinct 46	1,061			
Precinct 47	583			

[1] Temple Terrace city, in precincts 44, 46, and 58, Hillsborough County, incorporated in 1925 but included as part of old precincts 59 and 70 in 1930; subsequent examination of schedules shows that Temple Terrace city had a population of 253 in 1930.

[2] Redistricting of Hillsborough and Pinellas Counties at various dates since 1930 necessitated redefinition of metropolitan district boundaries, resulting in a slight change in the area included in the district; the effect upon the population increase in the district is not ascertainable. Comparative figures for the election precincts cannot be shown.

[3] No population reported for that part of Temple Terrace city in precinct 46.

JACKSONVILLE METROPOLITAN DISTRICT

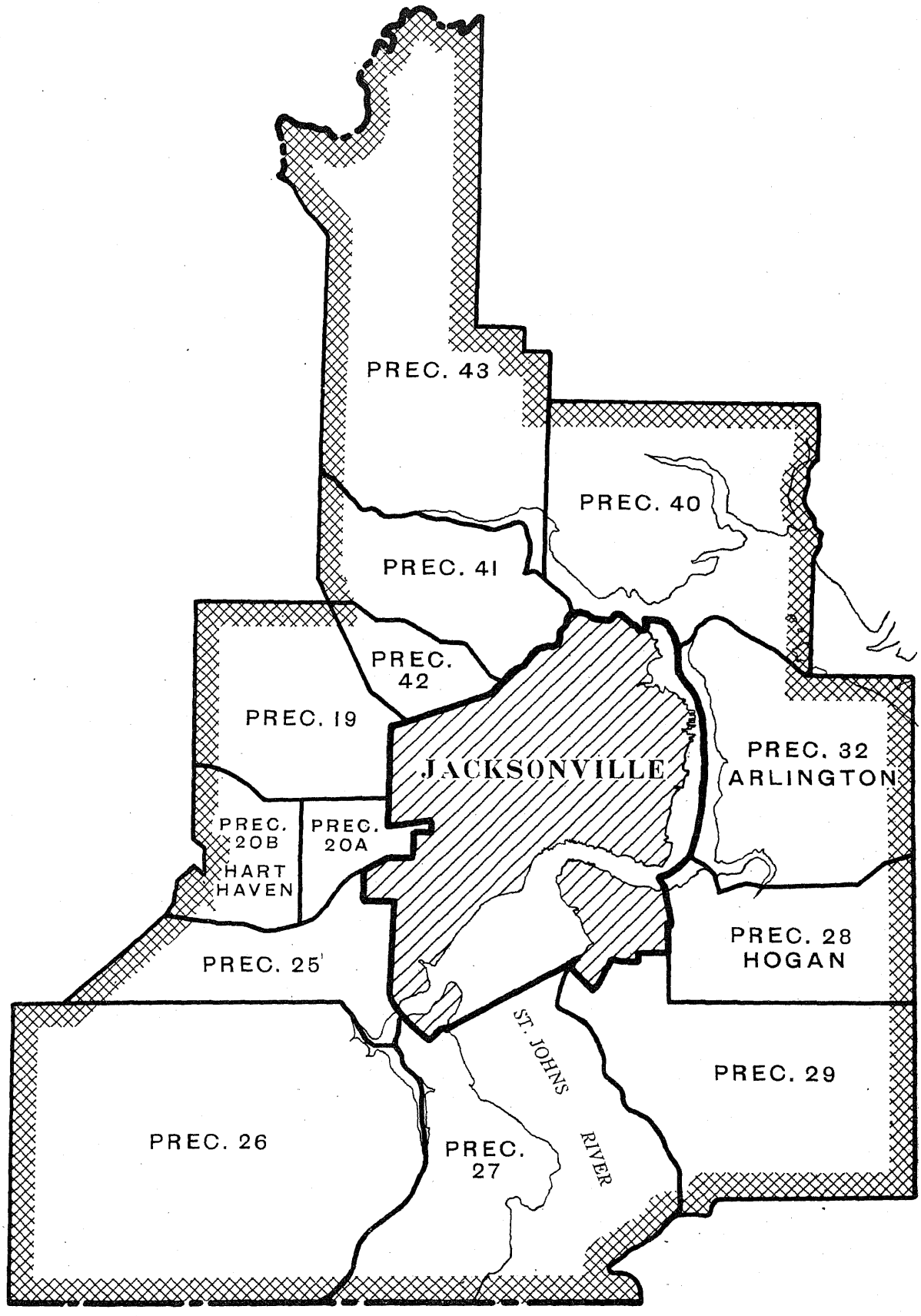

MIAMI METROPOLITAN DISTRICT

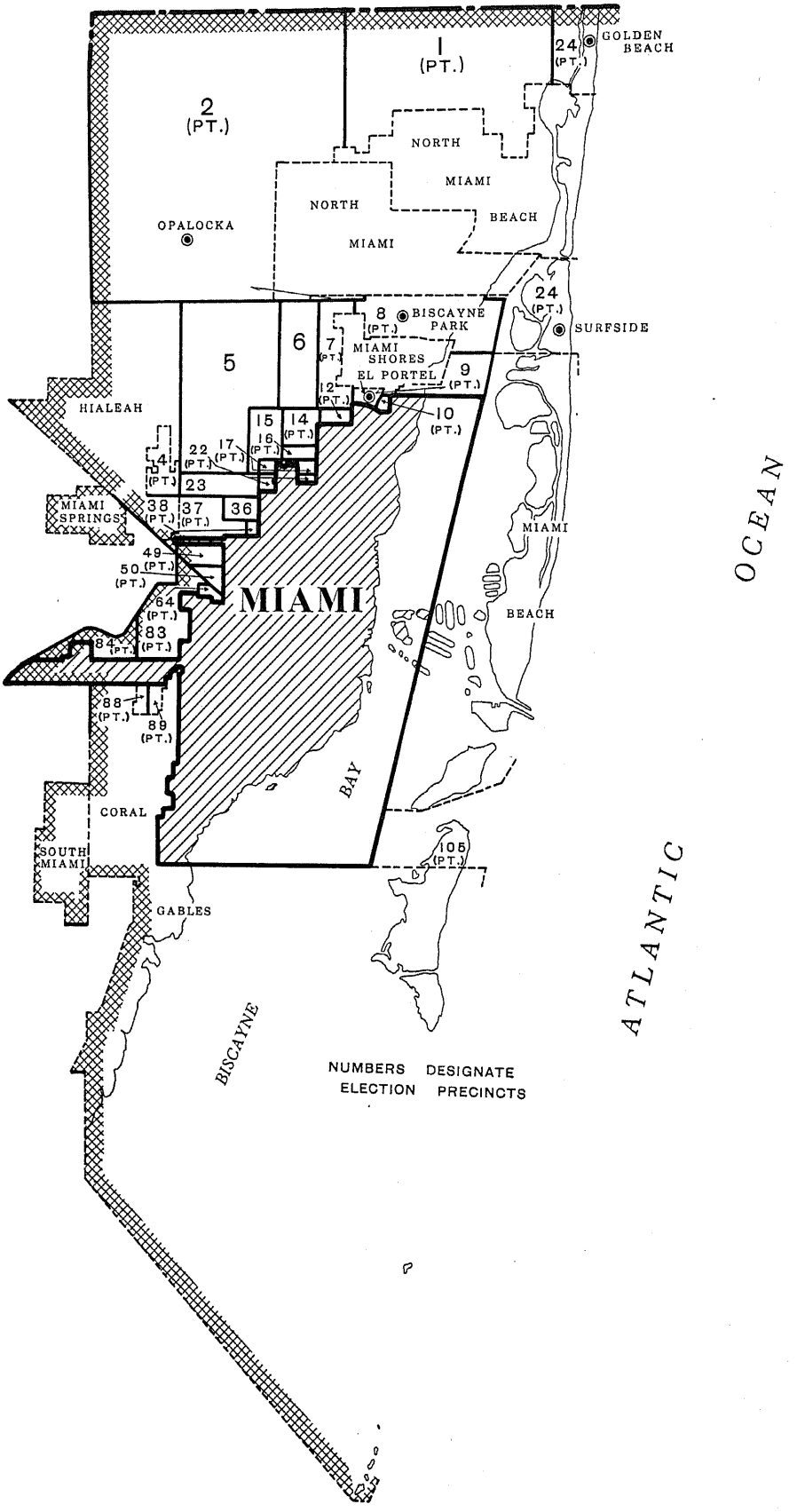
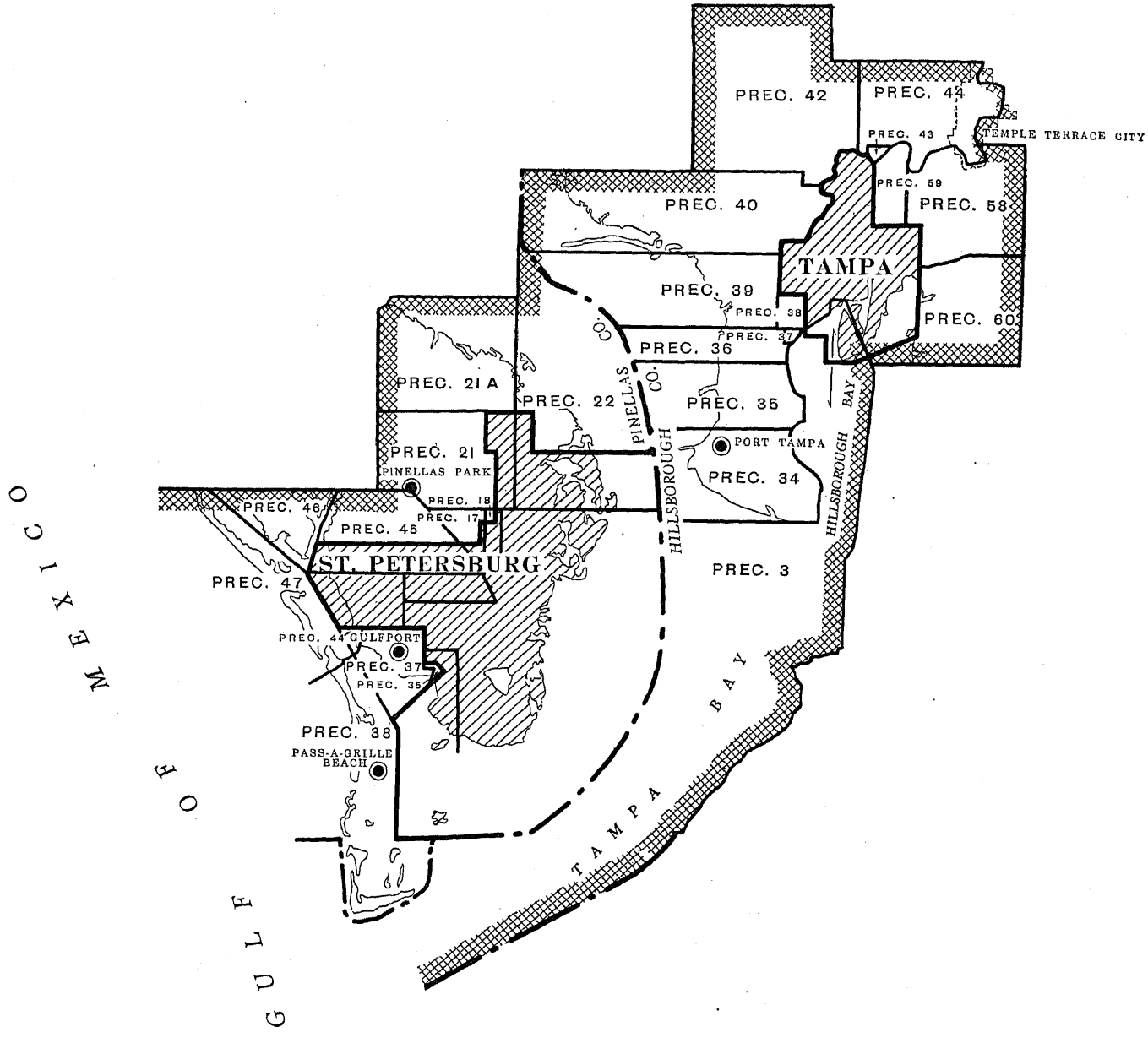
TAMPA-ST. PETERSBURG METROPOLITAN DISTRICT